PAKISTAN BUREAU OF STATISTICS
Government of Pakistan

PSLM - 2019-20

PAKISTAN SOCIAL AND LIVING STANDARDS MEASUREMENT SURVEY

Distirct Level

Government of Pakistan

Pakistan Bureau of Statistics
G-9/1 Islamabad.

Ministry of Planning Development & Special Initiative

PSLM – 2019-20

PAKISTAN SOCIAL AND LIVING STANDARDS MEASUREMENT SURVEY

(2019-20)

District Level Survey

Government of Pakistan
Pakistan Bureau of Statistics
Ministry of Planning Development & Special Initiatives

July - 2021

TABLE OF CONTENT

FOREWORD……..……...…….. 5

PREFACE……..……...…..... 6

ACKNOWLEDGEMENT ……..... 7

LIST OF OFFICERS…….…….. 8

INTRODUCTION……. 9

SUMMARY OF KEY INDICATORS……. 12

SDGs …… … 20

EDUCATION…….. 23

INFORMATION COMMUNICATION AND TECHNOLOGY……. 147

HEALTH…… …… 176

DISABILITY…….…….. 395

MIGRATION …… ……. 432

HOUSING, WATER SUPPLY AND SANITATION …….…….. 439

HOUSEHOLD PERCEPTION AND SATISFACTION …… …….. 542

FOOD INSECURITY EXPERIENCE SCALE ……. 572

CONFIDENCE INTERVALS…….……..……... 581

SITUATION ANALYSIS……...……..…….…. …... 613

Table of Contents 2019-20

LIST OF TABLE

Education

Table 2.1	Population that has ever attended school by- province and districts.	51
Table 2.2	Percentage Distribution Of Population That Has Completed Primary Level Or Higher- By Province & Districts	55
Table 2.3 a	Gross Enrolment Rate At The Primary Level (Age 6-10)- By Province & District (Excluding Katchi Class)	59
Table 2.3 b	Gross Enrolment Rate At The Primary Level (Age 5-9)- By Province & District (Excluding Katchi Class)	63
Table 2.4	Gross Enrolment Rate At The Primary Level (Age 4-9)- By Province & District (Including Katchi Class)	67
Table 2.5	Gross Enrolment Rate For Government Primary Schools (Age 5-9)- By Province & District (Excluding Katchi Class)	71
Table 2.6 (a)	Net Enrolment Rate At The Primary Level (Age 6-10)- By Province & District (Excluding Katchi Class)	75
Table 2.6 (b)	Net Enrolment Rate At The Primary Level (Age 5-9)- By Province & District (Excluding Katchi Class)	79
Table 2.7	Net Enrolment Rate At The Primary Level (Age 4-9)- By Province & District (Including Katchi Class)	83
Table 2.8	Net Enrolment Rate In Government Primary Schools (Age 5-9)- By Province & District (Excluding Katchi Class)	87
Table 2.9 (a)	Primary Level Enrolment In Government Schools A Percentage Of Total Enrolment- By Province And District	91
Table 2.9 (b)	Primary Level Enrolment In Government Schools A Percentage Of Total Primary Enrolment- By Province And District	95
Table 2.10 (a)	Gross Enrolment Rate At The Middle Level (Age 11-13)- By Province & District	99
Table 2.10 (b)	Gross Enrolment Rate At The Middle Level (Age 10-12) – By Province & District	103
Table 2.11 (a)	Net Enrolment Rate At The Middle Level (Age 11-13)- By Province & District	107
Table 2.11 (b)	Net Enrolment Rate At The Middle Level (Age 10-12)- By Province & District	111
Table 2.12 (a)	Gross Enrolment Rate At The Matric Level (Age 14-15)- By Province & District	115
Table 2.12 (b)	Gross Enrolment Rate At The Matric Level (Age 13-14)- By Province & District	119
Table 2.13 (a)	Net Enrolment Rate At The Matric Level (Age 14-15)- By Province & District	123
Table 2.13 (b)	Net Enrolment Rate At The Matric Level (Age 13-14) – By Province & Region	127
Table 2.14 (a)	Literacy-Population 10 Years and Older	131
Table2.14(b)	Adult Literacy-Population 15 Years and Older	135
Table2.14(c)	Youth Literacy-Population 15 -24years	139
Table 2.15	Percentage of Out Of School Age 5-16 Years	143

Information Communication Technology

Table 3.1	Percentage Of Household With Computer/Mobile/Internet	160
Table 3.2	Percentage Of Individual With Mobile Ownership	168
Table 3.3	Percentage Of Individual Using Internet	172

Table of Contents 2019-20

Health

Table 4.1	Percentage Distribution of Population Fallen Sick or Injured During Last Two Weeks of the Interview and By Health Consultation	203
Table 4.2	Percentage Distribution Of Health Consultations In Past Two Week By Type Of Health Provider Consulted	214
Table 4.3 (a)	Percentage Of Children Aged 12-23 Months That Have Been Immunised A: Based On Recall -At Least One Immunisation.	224
Table 4.3 (b)	Percentage Of Children Aged 12-23 Months That Have Been Immunised B: Based On Record - Fully Immunised	228
Table 4.3 (c)	Percentage Of Children Aged 12-23 Months That Have Been Immunised C: Based On Recall And Record - Fully Immunised	232
Table 4.4	Percentage Of Children 12-23 Months That Have Been Immunised By Type Of Antigen-Based On Record	236
Table 4.5	Percentage of children 12-23 months that have been immunised by type Of antigen-based on record and recall.	247
Table 4.6	Children Under 5 Suffering From Diarrhea In Past 30 Days-By Province And District	258
Table 4.7 (a)	Treatment Of Diarrhoea In Children Under 5 Years	262
Table 4.7 (b)	Treatment Of Diarrhoea In Children Under 5 Years	266
Table 4.8	Type Of Practitioner Consulted For Diarrhea Treatment	270
Table 4.9	Pre-Natal Consultation-By Province And Person/Facility	293
Table 4.10	Pregnant Women That Have Received Tetanus Toxoid Injection	320
Table 4.11	Child Delivery-Location And Type Of Assistance	324
Table 4.12	Post-Natal Consultations-By Province And District	368

Disability

Table 5.1	Percentage Distribution Of Disability - By Province District	397
Table 5.2	Percentage Distribution Of Functional Limitation - By Province & District	401
Table 5.3	Degree Of Functional Ability By Age Group, Province & District	405

Migration

Table 6.1	Percentage of Intra and Inter Province Migration with respect to District of Birth by Province and District	435

Housing, Water Supply & Sanitation

Table 7.1	Percentage distribution of household with main source of drinking water by province & district	474
Table 7.2	Percent distribution of households by type of toilet	482
Table 7.3	Percentage of Household by type of Solid waste Management	486
Table 7.4	Percent distribution of households by housing tenure.	494

Table 7.5	Percent distribution of households by Number of Rooms	502
Table 7.6	Percent Distribution Of Households By Material Used For Roof	510
Table 7.7	Percent distribution of households by material used for walls	518
Table 7.8	Percent Distribution Of Households By Fuel Used For Lighting	526
Table 7.9	Percent Distribution Of Households By Fuel Used For Cooking.	534

Perception of Economic Situation

Table 8.1	Percent distribution of households by the perception of the economic situation of the household compared to the year before the survey.	548
Table 8.2	Percent distribution of households by the perception of the economic situation of the community compared to the year before the survey.	556
Table 8.3	Percent distribution of households satisfaction by facilities & services use.	564

FIES

Table 9.1	Moderate or Severe Food insecurity using Food insecurity Experience scale Module	435

Pakistan Social and Living Standards Measurements (PSLM), 2019-20 is the twelveth round of a series of surveys, initiated in 2004. Current round of PSLM District level survey covered 5,893 blocks & 176,790 households and provide district level indicators on Education, Health, Housing, Water Sanitation & Hygiene, Information Communication & Technology (ICT), Food Insecurity Experience Scale (FIES). The additional significance of PSLM District level survey (2019-20) is inclusion of the modules on Functional Limitation (**Disability) and life time Migration for the first time to monitor some of the most important indicators for SDGs.** PSLM section and Data Processing Centre took the initiative of shifting the data collection from laborious method i.e. from paper based questionnaires to the Tablets. For this purpose Android Software for PSLM District level survey was developed by the Data Processing Center in vigorous consultation with the PSLM section under the sample guidance of Member Support Services for timely data collection and to ensure quality.

The Field activities of the twelveth round of PSLM Surveys were carried out during October, 2019 to March, 2020. This report provides information on key socio economic indicators, whereas the main PSLM District report provides detail information of each indicator at national, provincial as well as at district level with urban /rural breakdown.

I would like to congratulate Mr. Muhammad Sarwar Gondal, Member (Support Services/RM), Mr. Ayazuddin Member (Census and Survey) and the whole PBS team for the successful completion of the task. The report is also available on the website of PBS www.pbs.gov.pk. Comments and suggestions are welcome to further improve the survey and this report in future.

(Hamed Yaqoob Sheikh)
Secretary/Chief Statistician

Government of Pakistan
Ministry of Planning Development & Special Initiatives
Pakistan Bureau of Statistics,
Islamabad
May, 2021

PBS being National Statistical office is mandated for collection & compilation of data with transparency & timeliness and its dissemination for evidence based policy making /informed decision making on all social & Economic issues. Data collected by PBS is widely used by Policy makers, National /International agencies, academia, researchers & students. The year 2019 was the ***Year of Change*** for PBS as, keeping in view the Government's vision of "**Digital Pakistan, PBS** has also undergone **"Digital Transformation"** and not only shifted from manual approach to electronic data collection with built-in monitoring systems linked with GIS for reliable, timely and credible data for its major activities but also have paradigm shift on data dissemination from unidimensional mode to interactive customized Dash Boards and Decision Support Systems which provides open access to data with infographics along with time series data for informed decision making and effective management.

PSLM District Level Survey 2019-20 is the flagship survey of PBS designed to cover 195000 households all over country to provide district level estimates in key social sectors along with provision of data for monitoring of **21 SDG indicators.** For the first time in history of PBS, PSLM data has been collected electronically through tablets using android based software exclusively designed by Support services wing of PBS with Enterprise Resource Planning(ERP) solutions for bringing transparency in the process and provision of timely and credible data The successful completion of this survey is only become possible due to cohesive & dedicated efforts of officials of PSLM, Support Services, Field Services, Sample Design, GIS sections and the tireless work of the field teams of PBS.

The survey provides detail insights on the key human development & living standards indicators at district level for monitoring of development plans and resource allocation. The key highlight of report is situation analysis of districts with in provinces based on Education, Health, living Standards and ICT with GIS mapping. It depicts the clear picture and evidence for devising mechanism for resources allocation at district level. For the convenience of data users & planners a customized dash board has been prepared for providing data in interactive way along with time series trends which can be accessed at www.sdgs.pbos.gov.pk. I hope the results of this survey will be highly beneficial for Federal / provincial planners for data driven decision making& monitoring progress of development Plans. Comments & suggestions are highly appreciated for improvement of working of PBS

(**Muhammad Sarwar Gondal**)
Member (Support Services/RM)

Government of Pakistan
Ministry of Planning Development & Special Initiatives
Pakistan Bureau of Statistics,
Islamabad
May, 2021

ACKNOWLEDGEMENT 2019-20

This is the Seventh report of District Level Survey which is being conducted under PSLM project since 2004 to 2015. It provides information at National/ Provincial/District level with urban/ rural breakdown. This Survey has been designed to collect the data from 195000 household based on 6500 urban & rural Primary sampling units (PSUs). The period of field enumeration of PSLM 2019-20 was from October 2019 to March 2020.

I would like to thank Ms. Rabia Awan Director PSLM for her leadership and guidance for taking initiative for introduction of electronic data collection based on android linked with GIS monitoring, for the first time in the history of PBS and inclusion of modules of Disability and Migration in the PSLM survey successfully. The completion of the report would have not been possible without enormous hard work and devotion of PSLM Technical team including Statistical Officers Mr. Saqib Sultan Khawar, Ms. Sana Habib and Ms. Hina Kanwal and their supporting staff. Data Processing Centre, PSLM Field teams and Sample Design Section of the Pakistan Bureau of Statistics (PBS) provided full support for completion of gigantic task. The completion of the survey activity and preparation of the report in a limited time has further added pride to the Pakistan Bureau of Statistics.

Considering the requirements of the policy makers, planners, researchers and other data users, efforts have been made to improve the report in a way that it can meet the expectations. Report along with micro data is also placed at PBS website www.pbs.gov.pk and main results are also available on exclusively designed customized dashboard. It is hoped that the data users will find this report useful and timely. Any further comments and suggestions for future improvement will be highly appreciated.

(Ayazuddin)
Member (Census & Surveys)

Government of Pakistan
Pakistan Bureau of Statistics,
Ministry of Planning Development & Special Initiatives
May, 2021

LIST OF OFFICERS 2019-20

The PSLM District Level report is produced by the efforts of the following officers/officials of Pakistan Bureau of Statistics listed under the specific tasks:

Planning, Execution Of Survey and Finalization of Report: -	
Mr. Muhammad Sarwar Gondal	Member (Support Services/RM)
Mr. Ayazuddin	Member (Census & Survey)
Ms. Rabia Awan	Director
Mr. Tariq Mustafa Awan	Statistical Officer
Ms. Sana Habib Chaudhary	Statistical Officer
Ms. Hina Kanwal	Statistical Officer
Mr. Saqib Sultan Khawar	Statistical Officer
ASSISTED BY	
Ms. Rabail Azeem	Statistical Assistant
Ms. Nadia Iqbal	Statistical Assistant
Ms. Sadaf Toqeer	Statistical Assistant
Mr. Muhammad Ali	Statistical Assistant
MANAGEMENT TEAM	
Ms. Kulsoom Fatima	Statistical Assistant
Mr. Khalid Rafique	Statistical Assistant
Muhammad Irfan Khan	Statistical Assistant
SUPPORT SERVICES TEAM	
Mr. Azizullah Bhatti	Director
Mr. Saad Ullah Khan	Chief System Analyst
Mr. Tahir Mahmood	Data Processing officer
Mr. Muhammad Zubair	Data Processing officer
Mr. Asif Usman Khattak	Data Processing officer
Mr. Saddam Hussain	Data Processing Assistant
Mr. Basit Ali	Data Processing Assistant
Mr. Athar Awan	UNDP Consultant
SAMPLE DESIGN	
Ms. Rumana Sadaf	Chief Statistical Officer
Mr. Muhammad Waseem	Chief Statistical Officer
FIELD SERVICES	
Mr. Munawar Ali Ghanghro	Director
GEOGRAPHIC INFORMATIO SYSTEM (GIS)	
Qazi Ismatullah	Deputy Census Commissioner
Muhammad Nadeem Baig	Geographical Assistant
PRINTING PRESS	
Mr. Majeed Ullah Wazir	Superintendent
Mr. Tajmmul Hussain	Supervisor

1. Introduction

PSLM district level survey is the main source of monitoring developments plans at district level & its data used for **Estimation of Multidimensional Poverty Index (MPI)** by PD&SI. UN has adopted new development plan for post 2015 monitoring called Sustainable Development Goals (SDGs). Under SDGs there are 17 goals, 169 targets and 232 indicators. By considering the ground realities and SDGs, questionnaire of PSLM survey has been reviewed by technical committee. On the recommendations of technical committee changes has been incorporated and Modules regarding Disability, Migration, Information communication technology, Solid Waste Management, FIES and assets has been included in PSLM district level questionnaire for monitoring of related indicators at district level. Further 19 SDGs indicators will be reported through the survey at district level.

In previous rounds of district level PSLM survey, the sample size of approximately 5300 block covering 80,000 households were covered. However, for PSLM 2019-20, sample size has been raised to 6500 blocks covering 195,000 households by considering disability variable, as disability is a rare event and for reliable estimates 30 household has been enumerated from each selected block. Further, AJ&K and GB at district level are covered in this survey; previously, AJ&K and GB were representative at overall province level.

Objectives

The data generated though PSLM Survey is used by the government in formulating the poverty reduction strategy as well as development plans at district level. The indicators are developed at district level in the following sectors.

1. Education
2. Information Communication and Technology
3. Health
4. Disability
5. Migration
6. Housing Water Supply and Sanitation.
7. Household Perception and Satisfaction.
8. Food Insecurity Experience Scale.

1.2 Sample Design of PSLM Survey 2019-20 (District Level)

Universe

The universe for survey consists of all urban and rural areas of four provinces of Pakistan, ICT, Azad Jammu & Kashmir & Gilgit Baltistan excluded military restricted areas. It is worth mentioning here that areas of erstwhile FATA now merged in Khyber Pakhtunkhwa has been covered in this survey.

Sampling Frame

After Census-2017 sample frame of PBS has been updated and now used for sample selection of PSLM 2019-20. Each enumeration block is comprised to 200-250 houses on the average with well-defined

boundaries and maps. In **urban areas** each enumeration block is treated as PSU while in **rural areas** villages are divided into blocks with well-defined boundaries & maps and each separate block within village is considered as PSU.

The numbers of enumeration block in urban and rural areas of the country are:

NUMBER OF ENUMERATION BLOCKS AS PER SAMPLING FRAME 2017

Province	Urban	Rural	Total
Khyber Pakhtunkhwa	3267	22538	**25805**
Punjab	27162	59841	**87003**
Sindh	21892	17239	**39131**
Balochistan	1839	8383	**10222**
Islamabad	726	789	**1515**
Azad Jammu & Kashmir	526	3496	**4022**
Gilgit/Baltistan	148	1098	**1246**
Total	**55560**	**113384**	**168944**

Stratification Plan

Urban and rural part of each administrative district for all four provinces, Azad Jammu & Kashmir and Gilgit Biltistan has been considered as two separate independent stratums. Domain of estimation is district for all provinces.

5. Sample Size and Its Allocation

As already mentioned that disability variable has been added for the first time in district level PSLM survey, therefore, sample size has been estimated keeping in view the coverage and representation of rare event of disability variable.

All socio-economic indicators i.e. Net Enrollment Rate, Prenatal care, Immunization etc. are representative at 5% Margin of Error (MOE) and Disability is representative at 11% MOE district level for four provinces of Pakistan.

Keeping in view the variation observed in the population about the characteristics for which estimates are to be developed, distribution of population in the urban & rural domains, geographical level of estimates required, availability of field resources and cost, and especially for disability variable coverage, the sample size of 195,000 households covering 6500 sampled areas (enumeration blocks & villages) have been considered sufficient to generate variable estimates at district level in respect of four provinces Azad Jammu & Kashmir and GB. Allocation plan at district level and with covered blocks for four provinces of Pakistan Azad Jammu & Kashmir and Gilgit Baltistan is annexed.

6. Dropped Areas

607 sample blocks were not covered due to lockdown restriction implementation to control spread of COVID-19 pandemic, un-approachable/security problems/military restricted areas in the country. Province-wise details of dropped areas are as under:

Province	Urban	Rural	Total
Khyber Pakhtunkhwa	04	26	**30**
Punjab	31	157	**188**
Sindh	82	32	**114**
Balochistan	40	191	**231**
Azad Jammu & Kashmir	02	23	**25**
Gilgit/Baltistan	01	18	**19**
Total	**160**	**447**	**607**

It is worth mentioning here that five districts of Balochistan namely Zhob, Panjgur, Jhal Magsi, Chagai and Musa Khel are completely dropped. Further, complete urban part of four districts namely Kalat, Khuzdar, Qilla Saifullah and Shaheed Sikandarabad are also dropped.

7. Sample Design

A two stage stratified random sample design has been adopted for the survey.

Selection of Primary Sampling Units (PSUS)

Enumeration Blocks in both Urban and Rural domain are taken as Primary Sampling Units (PSUs). Sample PSUs from each ultimate stratum/sub-stratum are selected with probability proportional to size (PPS) method of sampling scheme. In both urban and rural domains, the number of households in an enumeration block has been taken as measure of size (MOS).

Selection of Secondary Sampling Units (SSUS)

The households of sample PSUs have been taken as Secondary Sampling Units (SSUs). 30 households have been selected from urban and rural domains respectively by using systematic sampling technique. It is pertinent to mention here that prevalence of disability variable is rare, therefore, 30 households at the second stage has been selected randomly for true representation and coverage of disability variable. Previously, 12 and 16 households from urban and rural areas were selected respectively.

Key Indicators;-Education						
	2019-20			2014-15		
Province /Gender	**Male**	**Female**	**Total**	**Male**	**Female**	**Total**
LITERACY RATES (10 YEARS AND OLDER)						
Pakistan	**70**	**49**	**60**	**70**	**49**	**60**
Punjab	72	57	64	71	55	63
Sindh	68	47	58	70	49	60
Khyber Pakhtunkhwa Excluding Merged Areas	72	37	55	71	35	53
Balochistan	61	29	46	61	25	44
OUT OF SCHOOL CHILDREN AGED (5-16) YEARS						
Pakistan	**27**	**37**	**32**			
Punjab	22	26	24			
Sindh	39	51	44			
Khyber Pakhtunkhwa Excluding Merged Areas	20	40	30			
Balochistan	38	59	47			
PRIMARY GER (CLASS 1-5 & AGE 6-10)						
Pakistan	**89**	**78**	**84**	**98**	**82**	**91**
Punjab	93	90	92	103	92	98
Sindh	78	62	71	88	69	79
Khyber Pakhtunkhwa Excluding Merged Areas	98	79	89	103	80	92
Balochistan	84	56	72	89	54	73
PRIMARY NER (CLASS 1-5 & AGE 6-10)						
Pakistan	**68**	**60**	**64**	**72**	**62**	**67**
Punjab	71	69	70	73	67	70
Sindh	60	49	55	67	54	61
Khyber Pakhtunkhwa Excluding Merged Areas	73	59	66	78	62	71
Balochistan	65	45	56	67	42	56
MIDDLE GER (CLASS 6-8 & AGE 11-13)						
Pakistan	**65**	**57**	**63**	**68**	**56**	**62**
Punjab	68	66	67	67	62	64
Sindh	60	43	54	61	48	55
Khyber Pakhtunkhwa Excluding Merged Areas	84	53	70	84	54	71
Balochistan	56	34	47	59	34	48

Key Indicators;-Education						
	2019-20			2014-15		
Province /Gender	**Male**	**Female**	**Total**	**Male**	**Female**	**Total**
MIDDLE NER (CLASS 6-8 & AGE 11-13)						
Pakistan	**35**	**35**	**37**	**39**	**34**	**37**
Punjab	40	41	41	39	38	38
Sindh	35	29	32	37	30	34
Khyber Pakhtunkhwa Excluding Merged Areas	48	32	40	48	31	41
Balochistan	31	20	26	31	19	26
MATRIC GER (CLASS 9-10 AGE 14-15)						
Pakistan	**63**	**50**	**57**	**64**	**50**	**58**
Punjab	68	62	65	68	58	63
Sindh	54	39	47	57	44	51
Khyber Pakhtunkhwa Excluding Merged Areas	71	39	56	69	38	55
Balochistan	47	21	36	50	21	39
MATRIC NER (CLASS 9-10 age 14-15)						
Pakistan	**28**	**25**	**27**	**29**	**24**	**27**
Punjab	30	31	30	29	29	29
Sindh	24	20	22	29	20	25
Khyber Pakhtunkhwa Excluding Merged Areas	32	20	27	34	18	27
Balochistan	18	9	14	19	9	15

Key Indicators :ICT			
2019-20			
HOUSEHOLD WITH:	**U**	**R**	**T**
Computer	19	7	12
Internet	48	23	33
Mobile	96	91	93
PERCENTAGE OF THE POPULATION 10 YEARS AND OLDER WITH MOBILE OWNERSHIP			
	M	**F**	**T**
Pakistan	65	25	45
Urban	71	38	55
Rural	61	17	39
PERCENTAGE OF THE POPULATION 10 YEARS AND OLDER USED INTERNET IN LAST THREE MONTHS			
Pakistan	24	14	19
Urban	37	24	31
Rural	16	7	12
PERCENTAGE OF THE POPULATION 10 YEARS AND OLDER WITH ICT SKILLS			
Copy Move	66	57	63
Copy Paste	54	52	53
Send Mail	51	44	48
Spread Sheet	31	20	27
Finding Downloading Software.	33	32	33
Presentation	25	16	21
Transferring Files	35	33	35
Programming	24	15	20
Social Media	46	41	45
Entertainment	60	58	59
Connecting Installing Devices	26	15	22

Key Indicators Health						
	2019-20			2014-15		
Province /Gender	**Male**	**Female**	**Total**	**Male**	**Female**	**Total**
FULL IMMUNIZATION (12-23 MONTHS BASED ON RECORD)						
Pakistan	**70**	**71**	**70**	**70**	**56**	**60**
Punjab	81	81	81	75	68	70
Sindh	51	52	52	62	33	45
Khyber Pakhtunkhwa	68	69	69	74	54	58
Balochistan	36	35	35	48	20	27
FULL IMMUNIZATION (12-23 MONTHS BASED ON RECALL AND RECORD)						
Pakistan	**81**	**82**	**81**	**86**	**80**	**82**
Punjab	88	89	89	88	90	89
Sindh	72	75	73	83	66	77
Khyber Pakhtunkhwa	75	79	77	90	75	78
Balochistan	54	53	53	70	45	51
DIARRHOEA LAST 15 DAYS UNDER 5 YEARS						
Pakistan	7	6	6	-	-	-
Punjab	6	6	6	-	-	-
Sindh	9	7	8	-	-	-
Khyber Pakhtunkhwa	6	6	6	-	-	-
Balochistan	7	7	7	-	-	-
DIARRHOEA CASES WHERE ORS GIVEN(UNDER 5 YEARS)						
Pakistan	**84**	**84**	**84**	-	-	-
Punjab	75	77	76	-	-	-
Sindh	95	93	94	-	-	-
Khyber Pakhtunkhwa	86	88	87	-	-	-
Balochistan	87	88	87	-	-	-

	2019-20			2013-14		
Province /Gender	**Urban**	**Rural**	**Total**	**Urban**	**Rural**	**Total**
PRE NATAL COUNSULTATION						
Pakistan	**86**	**72**	**77**	**86**	**67**	**73**
Punjab	89	80	83	87	75	78
Sindh	84	63	73	87	59	72
Khyber Pakhtunkhwa	82	66	69	80	61	64
Balochistan	75	59	63	65	41	47
SKILLED BIRTH ATTENDANT						
Pakistan	**82**	**62**	**68**	**79**	**49**	**58**
Punjab	82	64	70	79	52	60
Sindh	83	60	70	82	41	59
Khyber Pakhtunkhwa	84	63	66	77	52	56
Balochistan	71	46	52	58	30	38
POST NATAL CONSULTATION						
Pakistan	**48**	**34**	**39**	**38**	**25**	**29**
Punjab	48	39	42	37	25	29
Sindh	48	32	40	40	28	33
Khyber Pakhtunkhwa	45	28	30	33	23	25
Balochistan	36	25	28	32	17	21

Key Indicator :Water Supply & Sanitation						
	2019-20			2014-15		
Province /Region	**U**	**R**	**T**	**U**	**R**	**T**
MAIN SOURCE OF DRINKING WATER (% HOUSEHOLDS)						
Piped Water	36	14	22	51	13	27
Hand Pump	7	33	23	7	38	26
Motor Pump	24	34	30	27	36	33
Dug Well	.7	5	3	.9	5	3
Filtration Plant	19	4	10	6	1	3
Other	7	7	7	8	8	8
Total	**100**	**100**	**100**	**100**	**100**	**100**
TYPE OF TOILET (% HOUSEHOLDS)						
Household Flush	97	74	83	97	60	73
Non-Flush	2	11	8	2	20	13
No Toilet	1	15	10	.8	21	13
Total	**100**	**100**	**100**	**100**	**100**	**100**

Key Indicator :Housing						
	2019-20			2014-15		
Province /Region	**U**	**R**	**T**	**U**	**R**	**T**
MAIN FUEL USED FOR COOKING,LIGHTING / CLEAN FUEL						
Cooking: Gas	88	23	48	85	16	41
Lighting: Electricity	98	86	91	99	90	93
Clean Fuel	73	15	37			
HOUSEHOLD WITH OWN DWELLING UNITS						
	70	89	82	74	90	84

REGION AND PROVINCE	ECONOMIC SITUATION OF THE HOUSEHOLD						
	Much Worse	Worse	Same	Better	Much Better	Don't Know	Total
A. PSLM 2019-20							
OVERALL	**12**	**26**	**46**	**13**	**2**	**1**	**100.00**
Punjab	12	25	46	14	3	.21	100.00
Sindh	11	29	47	9	2	3	100.00
Khyber Pakhtunkhwa	11	27	42	17	3	.68	100.00
Balochistan	20	22	43	13	2	.35	100.00
A. PSLM 2014-15							
OVERALL	**7**	**30**	**44**	**16**	**2**	**0.22**	**100.00**
Punjab	7	31	43	18	2	0.09	100.00
Sindh	6	29	49	13	2	0.49	100.00
Khyber Pakhtunkhwa	12	26	38	19	5	0.22	100.00
Balochistan	11	23	48	16	2	0.15	100.00

REGION AND PROVINCE	ECONOMIC SITUATION OF THE COMMUNITY						
	Much Worse	Worse	Same	Better	Much Better	Don't Know	Total
B. PSLM 2019-20							
OVERALL	**11**	**23**	**48**	**11**	**1**	**6**	**100.00**
Punjab	10	23	51	10	1	5	100.00
Sindh	12	26	45	9	1	8	100.00
Khyber Pakhtunkhwa	11	23	39	17	2	8	100.00
Balochistan	17	21	46	11	1	5	100.00
B. PSLM 2014-15							
OVERALL	**4**	**17**	**62**	**11**	**1**	**5**	**100.0**
Punjab	3	14	67	11	1	4	100.0
Sindh	4	27	56	8	1	5	100.0
Khyber Pakhtunkhwa	4	12	54	19	3	8	100.0
Balochistan	10	16	53	7	1	12	100.0

REGION AND PROVINCE	FACILITIES AND SERVICES USE					
	BASIC HEALTH UNIT	FAMILY PLANNING	SCHOOL	VETERINARY HOSPITAL	AGRICULTURAL (EXT.)	POLICE
C. PSLM 2019-20						
OVERALL	**67**	**86**	**97**	**77**	**76**	**57**
Punjab	72	89	98	81	77	58
Sindh	64	92	95	77	83	49
Khyber Pakhtunkhwa	65	88	96	72	83	71
Balochistan	40	50	83	41	42	56
C. PSLM 2014-15						
OVERALL	**57**	**83**	**94**	**71**	**65**	**48**
Punjab	66	86	96	80	80	50
Sindh	51	81	90	58	58	35
Khyber Pakhtunkhwa	50	82	93	58	57	66
Balochistan	43	62	82	47	55	50

Indicator	Definition	2018-19	2019-20
1.4.1	Proportion of Population living in household with access to basic Services		**Figure 1.4.1**
1.2.2	Proportion of men, woman and children of all ages living in poverty in all its dimensions according to national definition	-	**Will be Reported by PD&SI**
2.1.2	Prevalence of moderate or severe food insecurity in the population, based on the Food Insecurity Experience Scale (FIES)		**16 %**
3.1.2	Proportion of births attended by skilled health personnel.		**68%**
3.b.1	Proportion of the target population covered by all vaccines included in their national programme	**68%**	**70%**
4.1.2	Completion rate (primary education, lower secondary education, upper secondary education) (a) Primary (b) Lower Secondary (c) Upper Secondary	**(a) 66%** **(b) 46%** **(c) 21%**	**(a) 67%** **(b) 47%** **(c) 23%**
4.2.2	Participation rate in organized learning (one year before the official primary entry age), by sex	**32%**	**19%**
4.4.1	Proportion of youth and adults with information and communications technology (ICT) skills, by type of skills.	-	**Graph 4.4.1**
4.5.1	Parity indices for all education indicators	-	**Graph 4.5.1**
4.6.1	Percentage of population in a given age group achieving at least a fixed level of proficiency in functional (a) literacy and (b) numeracy skills, by sex.	**60%**	**60%**
5.b.1	Proportion of individuals who own a mobile telephone, by sex		**45%**
6.1.1	Proportion of population using safely managed drinking water services. (6.1.1(a) percentage of households with improved source of drinking water & 6.1.1(b) Improved Drinking Water source within the premises	**95%** **69%**	**94%** **74%**
6.2.1	Proportion of population using safely managed sanitation services, (a) Improved Facility not Shared (b) Specific Place of hand-washing facility with soap and water.	**(a) 70%** **(b) 50%**	**(a) 68%** **(b)54%**
7.1.1	Proportion of population with access to electricity	**91%**	**91%**
7.1.2	Proportion of population with primary reliance on clean fuels and technology Disaggregation by cooking, heating, lighting, residence	**35%**	**37%**
9.1.1	Proportion of the rural population who live within 2 km of An all season road	**-**	**88%**
11.2.1	Proportion of population that has convenient access to Public transport by sec, age and person either disabilities.		**44%**
16.6.2	Population satisfied with their last experience of public/private services		
17.8.1	Proportion of individuals using the Internet.	**17%**	**19%**

1.4.1: Proportion of Population living in household with access to basic Services.

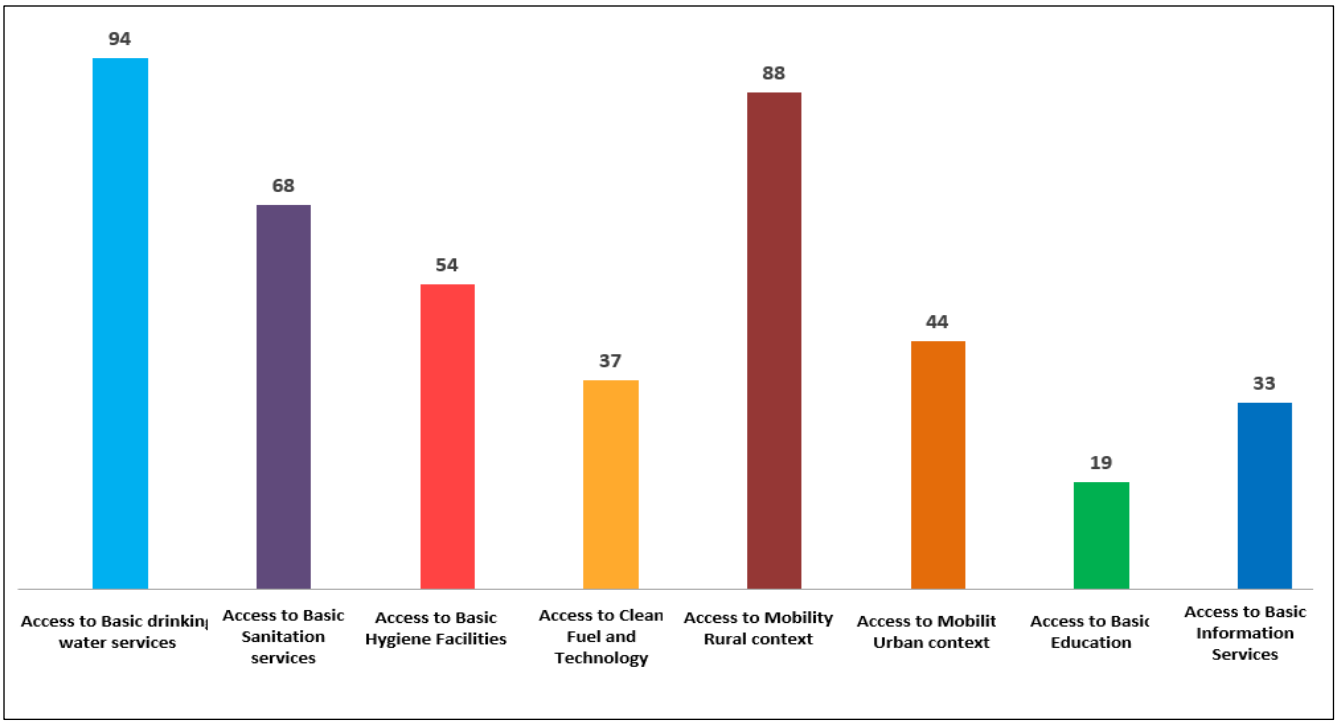

4.4.1: Proportion of youth and adults with information and communications technology (ICT) skills, by type of skills.

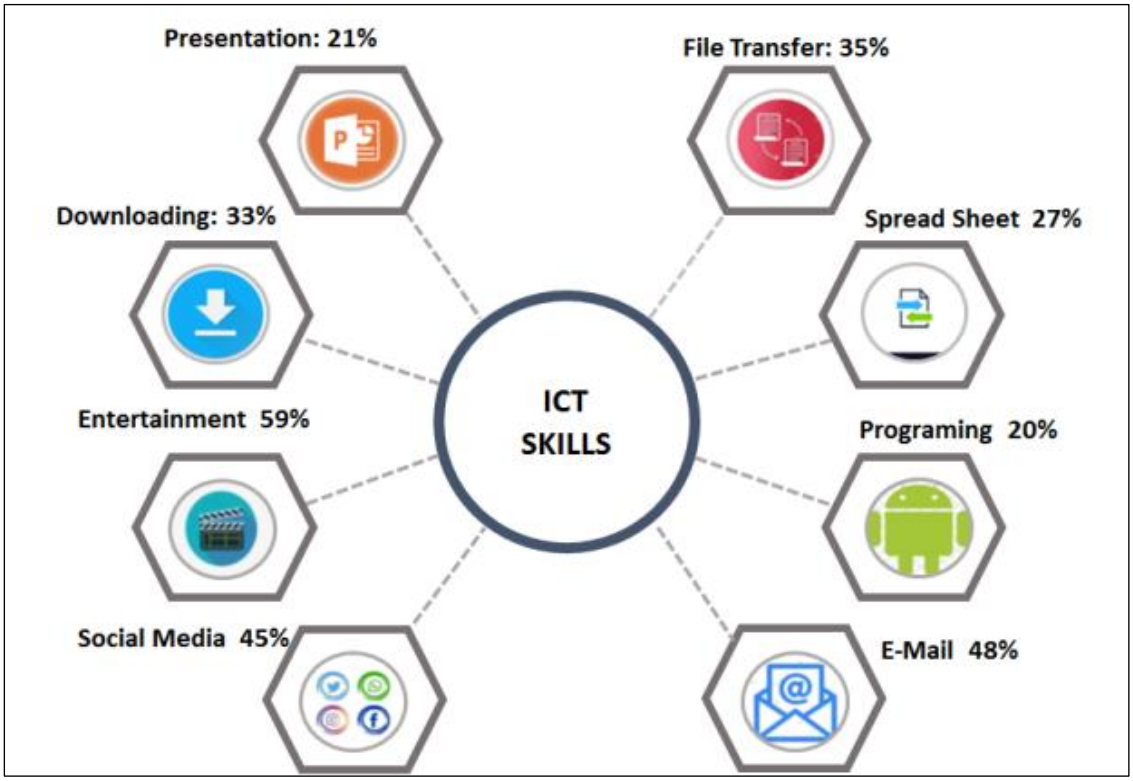

4.5.1: Parity indices for all education indicators.

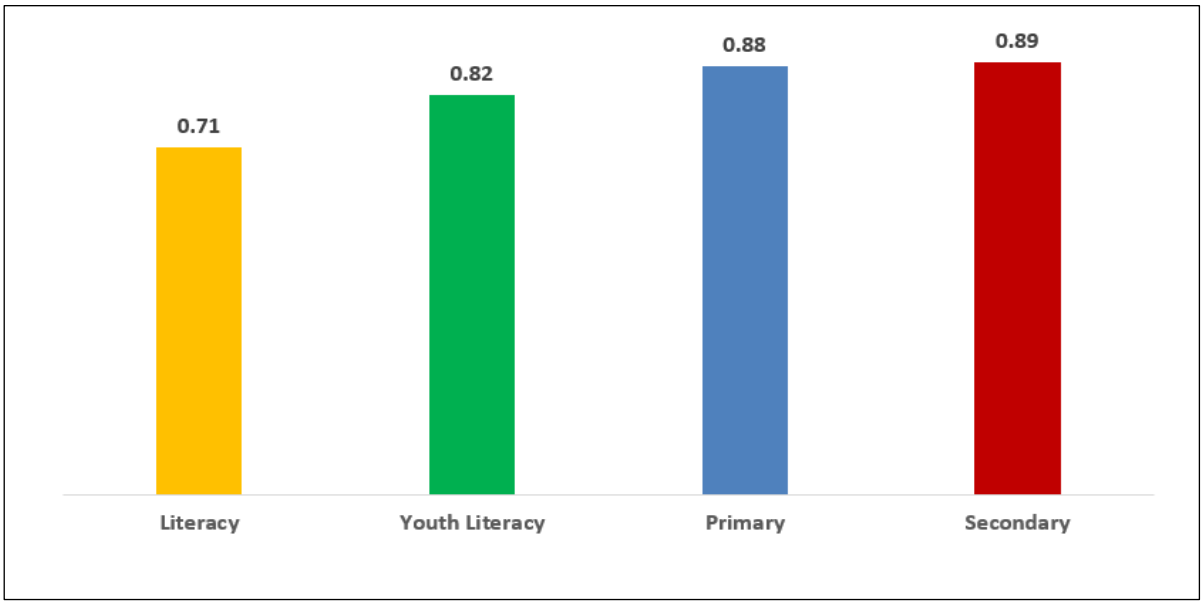

16.6.2 Population satisfied with their last experience of public services/Private Services.



2. EDUCATION

2.1 Introduction

Pakistan is currently the fifth most populous country in the world with 207.68 million populations, and estimated to reach 403 million by 2050 (UN median range projection). Pakistan today than at any point in its history has one of the world's largest youth populations with 64 percent of Pakistanis are now under the age of 30. If Pakistan manages to educate and skill this surging youth population, it could benefit from a tremendous youth dividend that could help to fuel the country's economic growth, prosperity and development. Unlikely, the low economic growth rates, high levels of public debt, high rate of inflation, and budget shortfalls make the situation more worsen. This situation will improve in the near term and have, in fact, resulted in heavy-handed severity in the education sector and elsewhere.

Pakistan's education system has evolved substantially from both its Islamic and British historical roots. It has improved greatly in the 20th and 21st centuries, but still tends to rely too heavily on rote memorization and outdated teaching and examination methods. However, great developments have been made in improving literacy and participation rates in the country. Further, the education system remains largely elitist with access to the best educational opportunities available only to the more affluent or well-connected.

The PSLM data on Education is one of the reliable data source to monitor the progress in education sector; it produces variety of key indicators for all provinces and districts disaggregated by region and gender. In addition, it is also one of the major source for monitoring SDG's (the successor of MDG's), five education indicators under goal 4 is calculated by PSLM data.

According to PSLM survey, educational data results are showing decreasing or stagnant trend when comparing its results with previous rounds. Therefore, it is highly recommended that the government should give a very high priority to develop a high quality, equitable and widely accessible education system in Pakistan. Lastly, it is need of the hour to have such a mechanism to facilitate different level of management of the education sector to achieve the desired goals.

This chapter mainly covers educational indicators such as School Attendance, Completed Primary Level, Out of School, Gross and Net enrolment Rates for Primary, Middle and Matric, Literacy, Youth Literacy, Adult Literacy and Reasons for Leaving School etc.

2.2 School Attendance:

The population age of ten years and older that has ever attended school at National level is 60 percent in 2019-20 as compared to 62 percent in 2014-15. However, regional comparison also shows declining trend in both urban and rural areas with 73 and 52 percent in 2019-20 as compared to 77 and 52 percent in 2014-15.

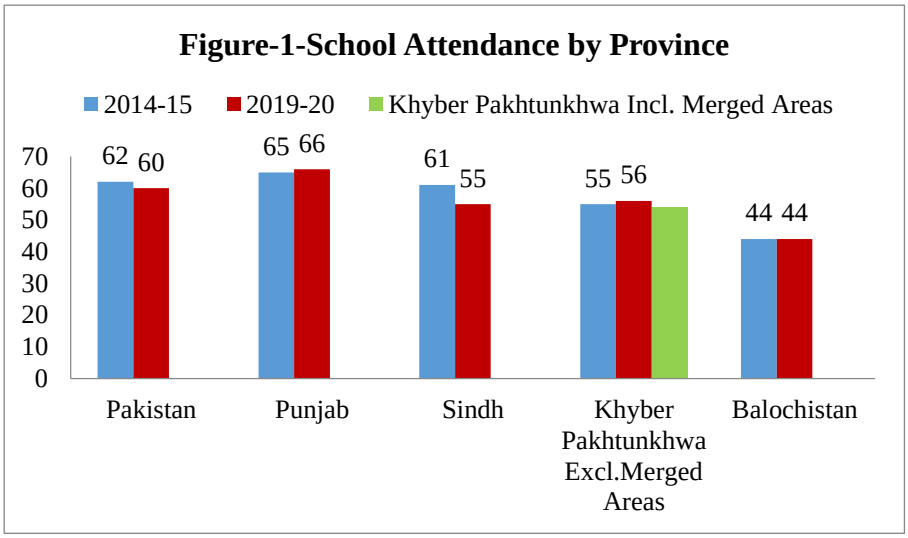

Provincial Picture shows that Punjab has the highest percentage of population that has ever attended school with 66 percent in 2019-20 as compared to 65 percent in 2014-15 followed by Khyber Pakhtunkhwa (Excluding Merged Areas) with 56 percent in 2019-20 as compared to 55 percent in 2014-15. However, Balochistan is at bottom with 44 percent as shown in Figure-1and this proportion is higher in males with 70 percent than in female with 50 percent. (Table 2.1)

The Islamabad capital city has the highest percentage of ever attended school population with 85 percent. Moreover, the district wise comparison shows that Rawalpindi with 83 percent, Korangi with 82 percent, Abbottabad with 77 percent, Pishin with 59 percent are the top districts in their respective provinces. Furthermore, District Rajanpur with 40 percent, Thatta with 26 percent, Mohmand with 28 percent, Dera Bugti, Shaheed Sikandarabad and Sherani with 14 percent are at bottom in their respective provinces. Figure-2

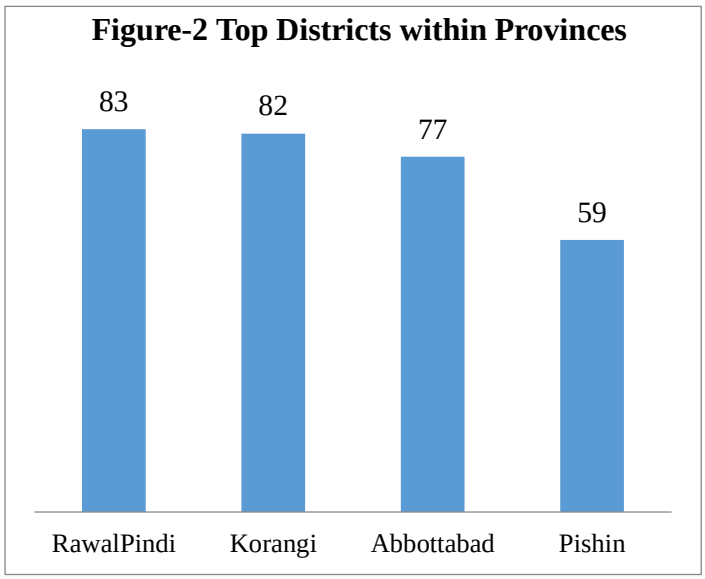

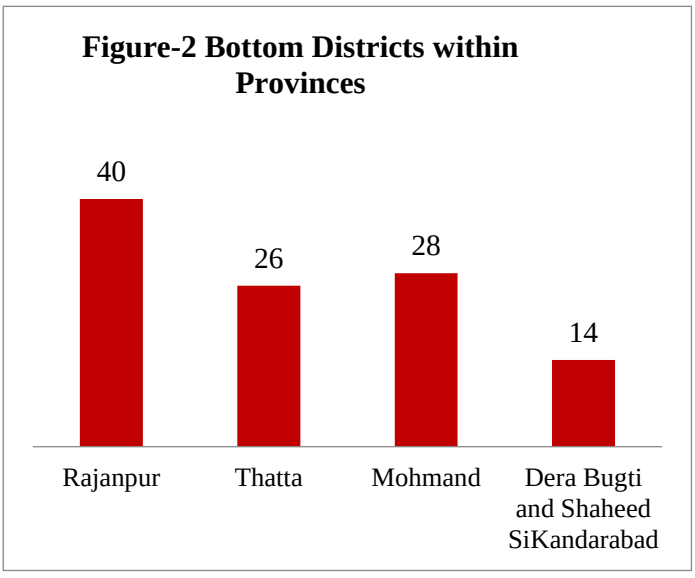

2.2.1 Completed Primary Level or higher

At national level population that has completed primary level or higher shows slight decline with 51 percent in 2019-20 as compared to 52 percent in 2014-15. Such as this percentage shows decline in urban areas with 65 percent in 2019-20 as compared to 68 percent in 2014-15 while, in rural areas it remains stagnant at 42 percent in 2019-20 as in 2014-15. Further, gender comparison shows that males who have completed primary level or higher are higher with 60 percent than females with 42 percent in 2019-20. The province wise comparison reveals that Punjab has increased to 56 percent during the period 2019-20 from 54 percent in 2014-15 and have the highest proportion of population that has completed primary level followed by Sindh with 49 percent in 2019-20 as compared to 53percent in 2014-15, Khyber Pakhtunkhwa with 43 percent in 2019-20 as compared to 44 percent in 2014-15 and Balochistan has the lowest percentage of population who has completed primary level or higher with 36 percent in 2019-20 as compared to 35 percent in 2014-15. However, Islamabad shows increasing trend in completing primary level or higher by 2 percent with 79 percent in 2019-20. Furthermore, district comparison reveals that Rawalpindi with 74 percent, Korangi with 76 percent, Abbottabad with 65 percent and Gwadar with 53 percent are the highest performing districts in their respective provinces. However, Rajanpur with 30 percent, Thatta with 20 percent, Mohmand and Bajur with 18 percent and Dera Bugti with 8 percent are at lowest districts. Table 2.2

2.3 Out of School Children

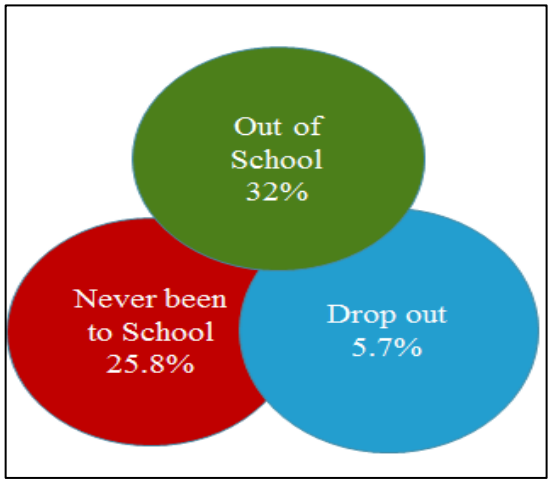

Pakistan is ranked amongst the top three countries in the world that have the highest number of out-of-school children. It is crucial to understand that huge socioeconomic disparities exist in Pakistan not only between rural and urban regions, but also between the country's diverse provinces. Further, these disparities have a big impact on educational outcomes, including vast gaps in access to education and overall educational attainment (UNESCO's Education for All Global Monitoring Report). According to PSLM Survey, Out of School consists of children age 5-16 years who have never been to school and those children who attended school and left afterwards, shows that out of school children at national level is 32 percent in 2019-20. Further, out of school children is calculated first time at district level in PSLM 2014-15. So for the overall regional comparison shows that out of school children are higher in rural areas with 37 percent as compared to 22 percent in urban areas. The overall Punjab has the lowest out of School children with 24 percent while; Balochistan has the highest out of school children with 47 percent, Table 2.15. Regional comparison of provinces is shown in Figure 3.

Figure -3 Out of School by Region

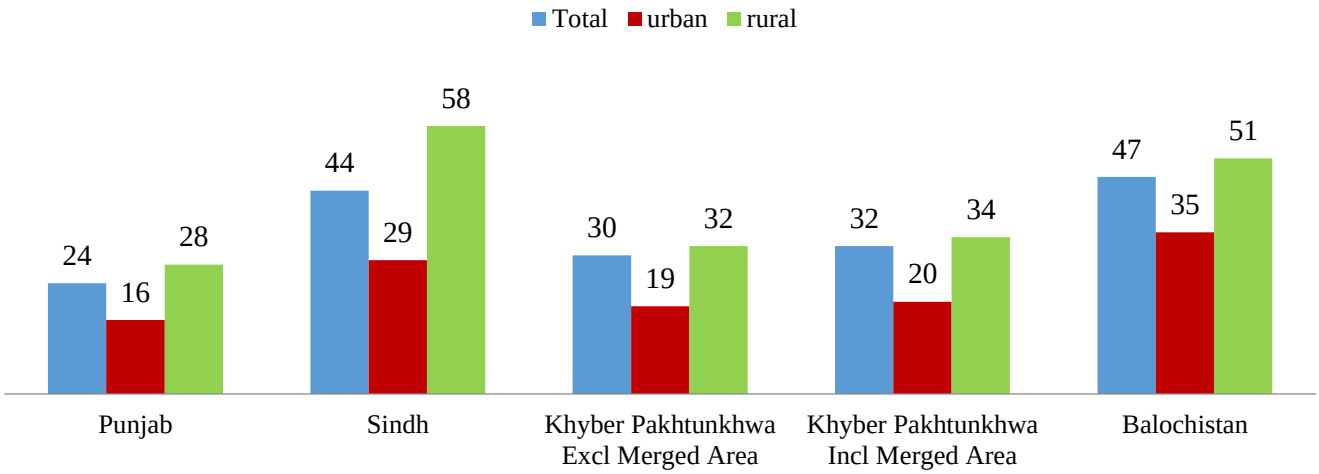

District wise comparison shows that almost two third of the districts of Punjab have less than 25 percent out of school children, Rajanpur is at top with highest out of school children i.e. 48 percent however Chakwal & Narowal is at bottom with the lowest number of out of school children with 9 percent. Secondly, in Sindh, Thatta with 71 percent is at top district in out of school children while; Karachi central with 21 percent is at bottom. Thirdly, in Khyber Pakhtunkhwa Mohmand with 57 percent is at top in out of school children and Abbottabad with 9 percent is at bottom. Lastly, in Balochistan, Shaheed Sikandarabad with 76 percent is the top most out of school district and Nushki with 23 percent is the bottom district with less than 25 percent of out of school children.

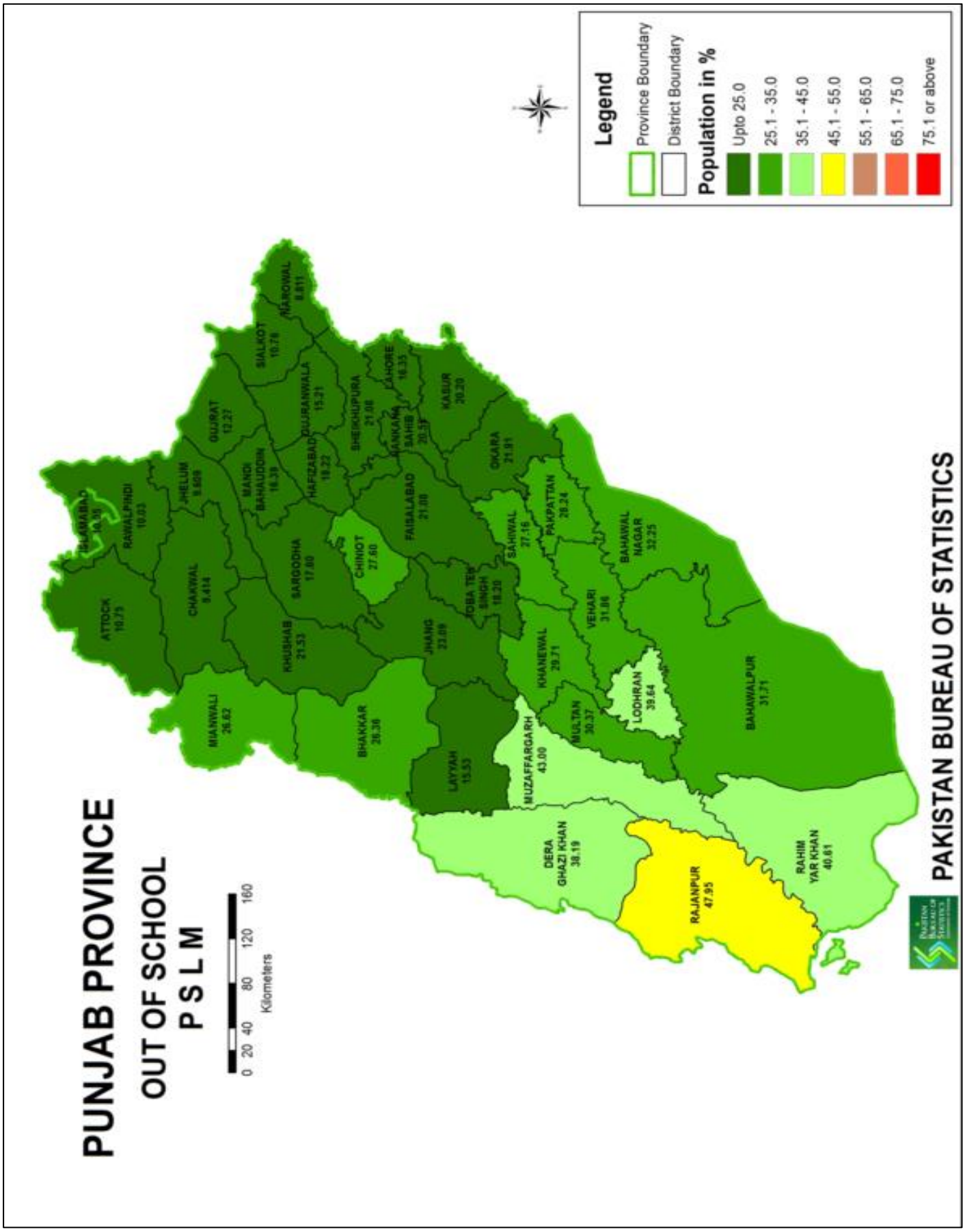
Legend
Province Boundary
District Boundary
Population in %
Upto 25.0
25.1 - 35.0
35.1 - 45.0
45.1 - 55.0
55.1 - 65.0
65.1 - 75.0
75.1 or above
PUNJAB PROVINCE
OUT OF SCHOOL
P S L M
0 20 40 80 120 160
Kilometers
PAKISTAN BUREAU OF STATISTICS
NAROWAL 8.811
SIALKOT 10.78
LAHORE 16.33
KASUR 20.20
OKARA 21.91
GUJRAT 12.27
GUJRANWALA 13.21
SHEIKHUPURA 21.08
NANKANA SAHIB 20.59
JHELUM 9.569
MANDI BAHAUDDIN 16.39
HAFIZABAD 18.22
FAISALABAD 21.08
PAKPATTAN 28.24
SAHIWAL 27.16
BAHAWAL NAGAR 32.25
RAWALPINDI 10.03
ISLAMABAD 10.39
CHAKWAL 9.414
SARGODHA 17.60
CHINIOT 27.60
TOBA TEK SINGH 18.20
VEHARI 31.86
ATTOCK 10.75
KHUSHAB 21.53
JHANG 23.69
KHANEWAL 29.71
BAHAWALPUR 31.71
MIANWALI 26.62
BHAKKAR 29.30
LODHRAN 39.64
MULTAN 30.37
LAYYAH 15.53
MUZAFFARGARH 43.00
DERA GHAZI KHAN 38.19
RAJANPUR 47.95
RAHIM YAR KHAN 40.61

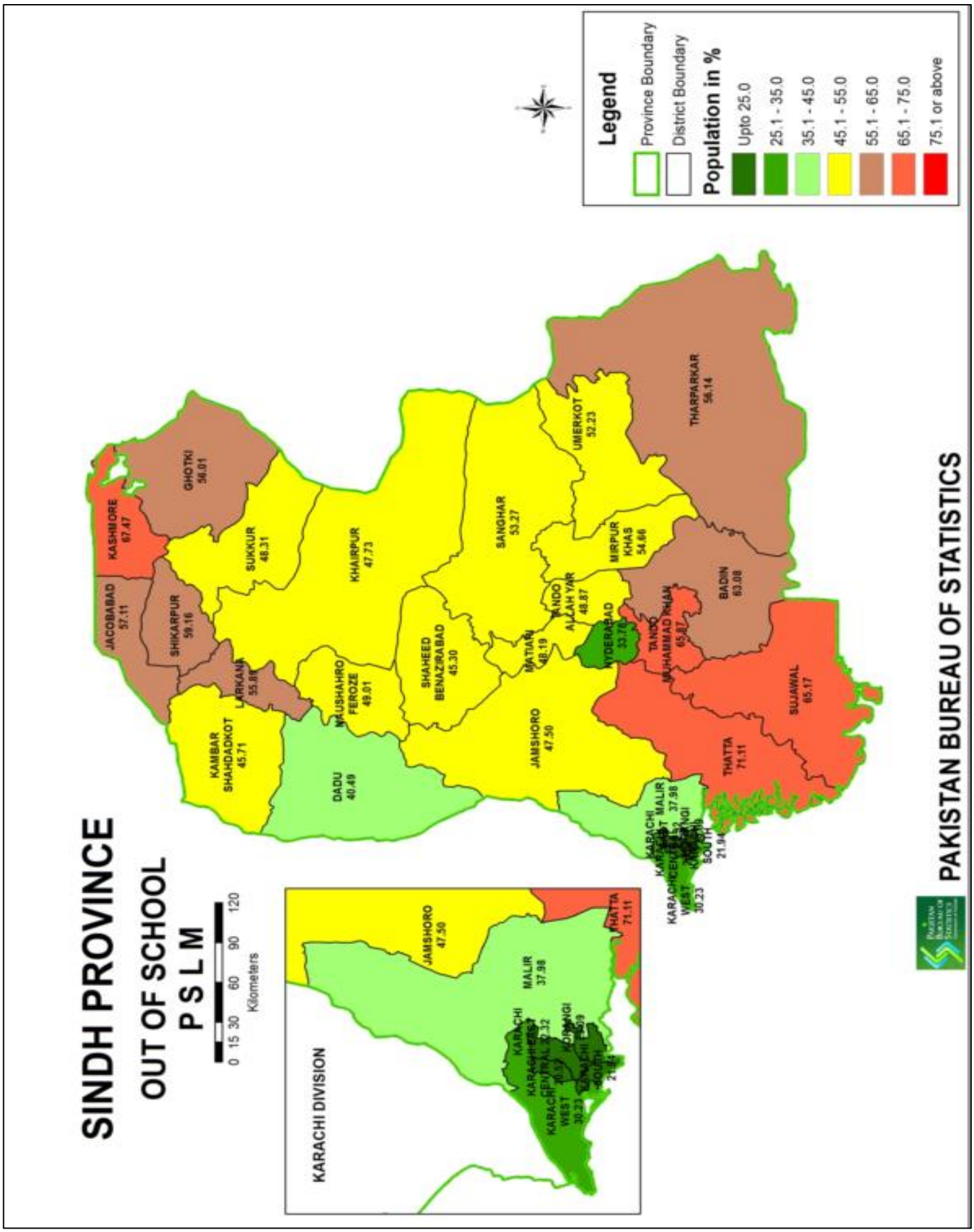
Legend
Province Boundary
District Boundary
Population in %
Upto 25.0
25.1 - 35.0
35.1 - 45.0
45.1 - 55.0
55.1 - 65.0
65.1 - 75.0
75.1 or above
SINDH PROVINCE
OUT OF SCHOOL
P S L M
0 15 30 60 90 120
Kilometers
KARACHI DIVISION
PAKISTAN BUREAU OF STATISTICS
KASHMORE 67.47
GHOTKI 56.01
SUKKUR 48.31
KHAIRPUR 47.73
SANGHAR 53.27
UMERKOT 52.23
THARPARKAR 56.14
JACOBABAD 57.11
SHIKARPUR 59.16
LARKANA 55.88
SHAHEED BENAZIRABAD 45.30
MATIARI 48.19
TANDO ALLAH YAR 48.87
MIRPUR KHAS 54.66
BADIN 63.08
NAUSHAHRO FEROZE 49.01
HYDERABAD 33.70
TANDO MUHAMMAD KHAN 65.87
KAMBAR SHAHDADKOT 45.71
DADU 40.49
JAMSHORO 47.50
SUJAWAL 65.17
THATTA 71.11
KARACHI MALIR 37.98
KARACHI WEST 30.23
KARACHI SOUTH 21.94

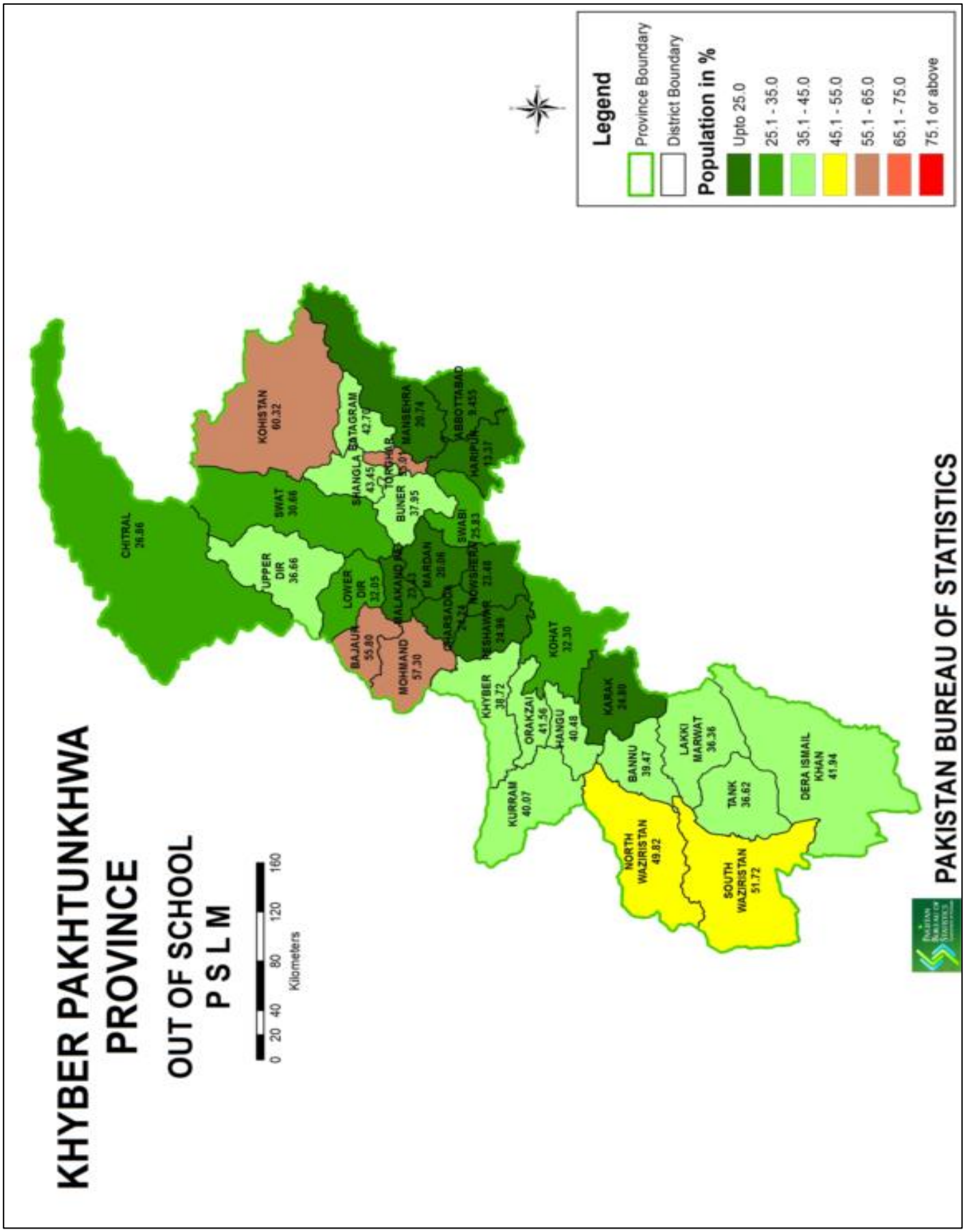
KHYBER PAKHTUNKHWA
PROVINCE
OUT OF SCHOOL
P S L M
0 20 40 80 120 160
Kilometers
Legend
Province Boundary
District Boundary
Population in %
Upto 25.0
25.1 - 35.0
35.1 - 45.0
45.1 - 55.0
55.1 - 65.0
65.1 - 75.0
75.1 or above
KOHISTAN 60.32
BATAGRAM 42.70
MANSEHRA 26.74
ABBOTTABAD 9.45
HARIPUR 19.37
SHANGLA 43.45
TORGHAR 35.07
BUNER 37.95
SWABI 25.83
SWAT 30.66
CHITRAL 26.86
UPPER DIR 36.66
LOWER DIR 32.05
MALAKAND PR 23.43
MARDAN 25.04
CHARSADDA 24.24
NOWSHERA 23.48
PESHAWAR 24.98
BAJAUR 55.80
MOHMAND 57.30
KOHAT 32.30
KHYBER 38.72
KARAK 24.80
ORAKZAI 41.56
HANGU 40.48
KURRAM 40.07
BANNU 39.47
LAKKI MARWAT 36.36
TANK 36.62
DERA ISMAIL KHAN 41.94
NORTH WAZIRISTAN 49.82
SOUTH WAZIRISTAN 51.72
PAKISTAN BUREAU OF STATISTICS

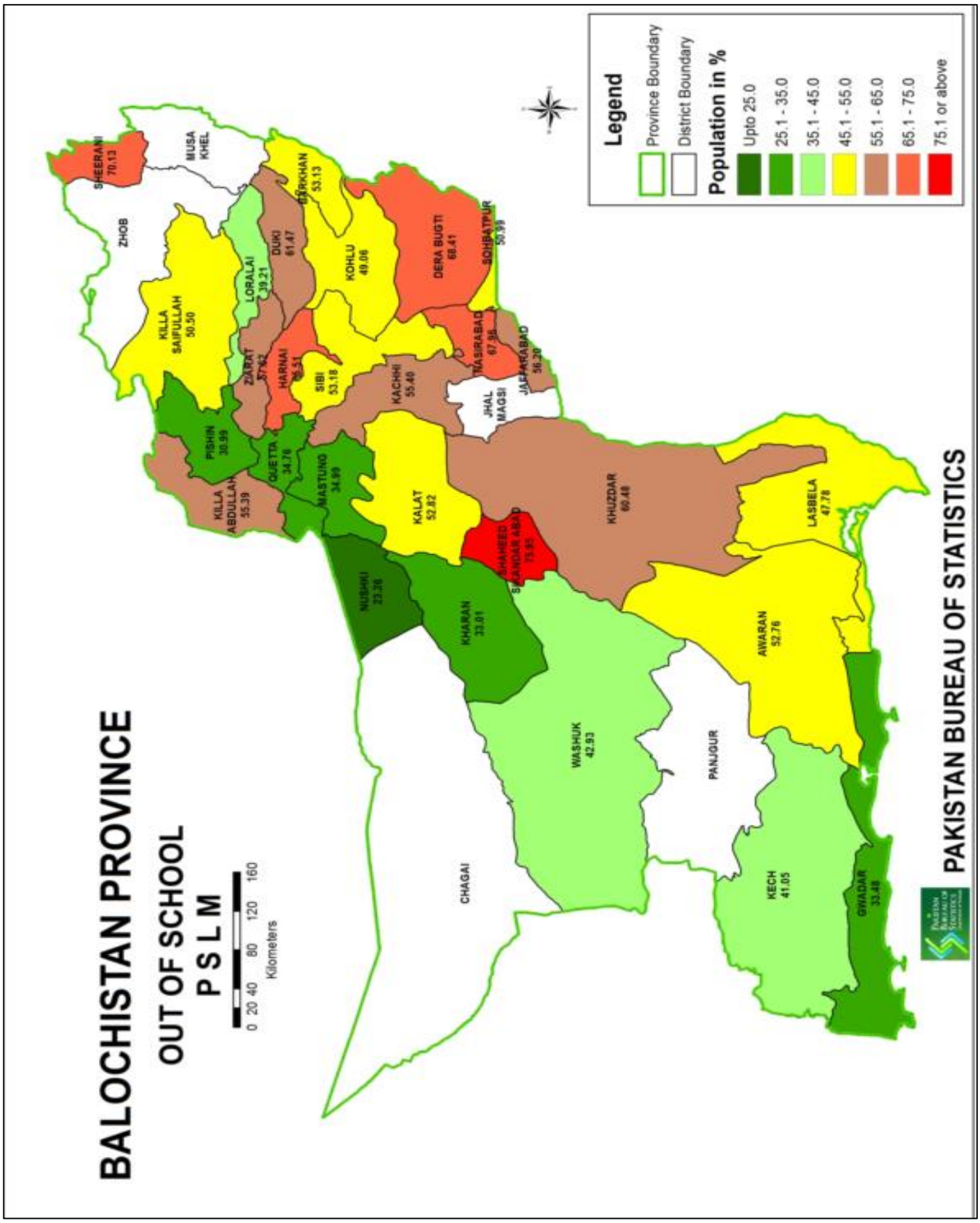
BALOCHISTAN PROVINCE
OUT OF SCHOOL
P S L M
0 20 40 80 120 160
Kilometers
PAKISTAN BUREAU OF STATISTICS
Legend
Province Boundary
District Boundary
Population in %
Upto 25.0
25.1 - 35.0
35.1 - 45.0
45.1 - 55.0
55.1 - 65.0
65.1 - 75.0
75.1 or above
SHEERANI 70.13
MUSA KHEL
ZHOB
KILLA SAIFULLAH 50.50
LORALAI 39.21
DUKI 61.47
BARKHAN 53.13
KOHLU 49.06
DERA BUGTI 68.41
SOHBATPUR 50.99
ZIARAT 37.62
HARNAI 56.51
SIBI 53.18
KACHHI 55.40
TASIRABAD 67.95
JAFFARABAD 58.20
JHAL MAGSI
PISHIN 30.99
QUETTA 34.76
KILLA ABDULLAH 55.39
MASTUNG 34.99
KALAT 52.82
KHUZDAR 60.48
LASBELA 47.78
NUSHKI 23.28
KHARAN 33.01
WASHUK 42.93
AWARAN 52.76
PANJGUR
CHAGAI
KECH 41.05
GWADAR 33.48

2.4 Enrolment Rates

Enrollment rates are calculated through Net Enrolment Rate (NER) and Gross Enrolment Rate (GER) by using different age groups. NER is the number of children with specific age attending specific class divided by number of children with specific age and GER is the number of children attending specific class divided by number of children with specific age. However, looking at the data situation it looks more appropriate to consider the age group "6-10 "for Primary, "11-13" for Middle and " 14-15" for Matric.

2.4.1 Gross Enrolment Ratio at Primary (GER)

Gross Enrolment Rate is defined as the number of children attending primary schools divided by the number of children who ought to be attending, GER is explained in PSLM 2019-20 in two ways i.e excluding katchi and excluding katchi with different age groups. However, the Gross Enrolment ratio at National Level age (6-10) excluding Katchi is 84 percent in 2019-20 as compared to 91 percent in 2014-15. Furthermore, the regional comparison also shows declining trend in both urban and rural areas with 91 and 81 percent in 2019-20 as compared to 103 and 85 percent in 2014-15. Moreover, the provincial picture shows that Punjab with 92 percent is at top in 2019-20 as compared to 98 percent in 2014-15 followed by Khyber Pakhtunkhwa (Including Merged Areas) with 85 percent in 2019-20 as compared to 92 percent in 2014-15 however, Sindh is at bottom with 71 percent in 2019-20 as compared to 79 percent in 2014-15. In addition, the district wise comparison shows that Jhelum, Layyah and Sialkot with 109 percent, Karachi central and Karachi South with 89 percent, Abbottabad and Gwadar with 104 percent are the top districts in their respective provinces while, Rajanpur with 64 percent, Kashmore with 44 percent, Mohmand with 52 percent and Sherani with 42 percent are the bottom districts in their respective provinces, Table 2.3a.

Figure -4 GER Primary (6-10)

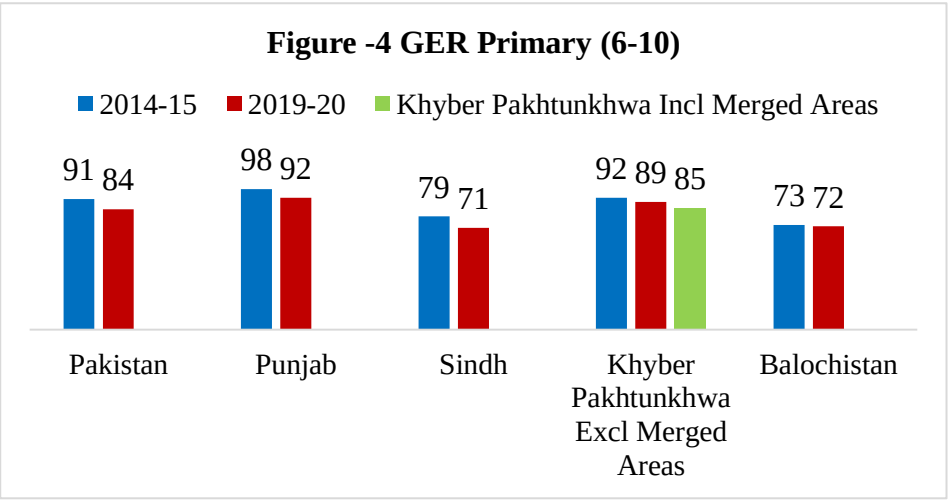

Gross Enrolment ratio at Primary age (6-10) and class (1-5)

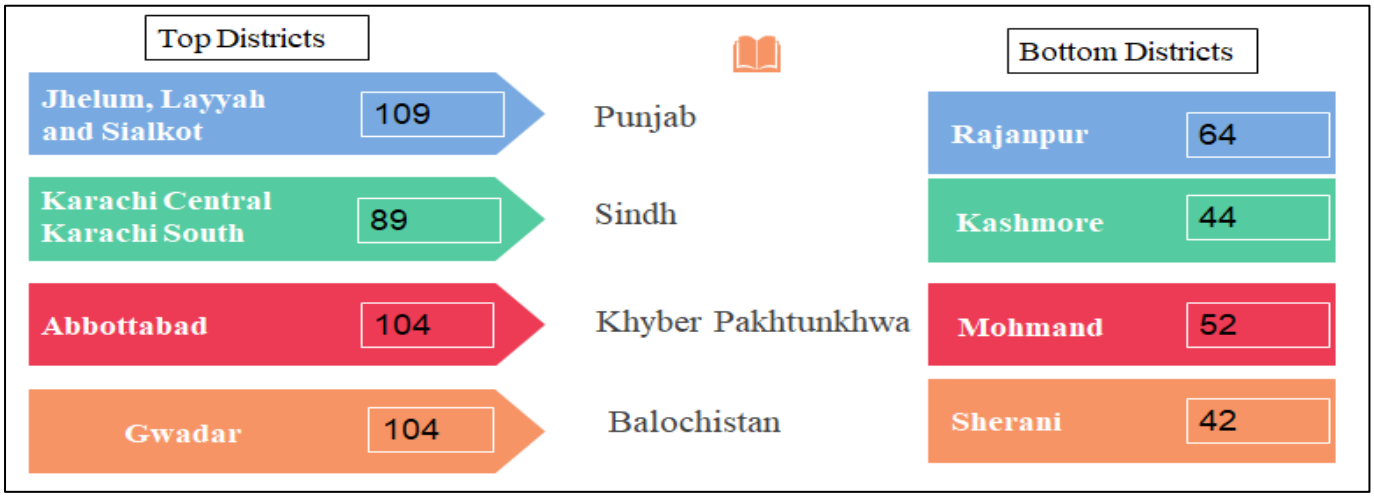

Similar patterns are observed when age group is expanded to (5-9) years. Gross enrollment Ratio at Primary Level age (5-9) excluding Katchi class is 82 percent in 2019-20 as compared to 89 percent in 2014-15. However, Province wise comparison reveals that all the provinces has shown significant decrease in 2019-20, Punjab with 90 percent in 2019-20 from 97 percent in 2014-15, Sindh with 67 percent in 2019-20 from 79 percent in 2014-15, Khyber Pakhtunkhwa with 83 percent in 2019-20 from 90 percent in 2014-15 and Balochistan with 70 percent in 2019-20 from 71 percent in 2014-15, Table 2.3b.

Gross enrollment Ratio at Primary age (4-9) including Katchi is 87 percent in 2019-20 as compared to 93 percent in 2014-15. The provincial comparison shows that Punjab is at top with 100 percent followed by Khyber Pakhtunkhwa with 85 percent; however, Balochistan is at bottom with 65 percent. Additionally, the pattern within districts in the province is more or less similar to GERs without including Katchi class, Table 2.4.

Gross Enrollment Ratio (GER) for government primary schools age (5-9) by province and district excluding katchi class shows decline with 52 percent in 2019-20 as compared to 55 percent in 2014-15. However, regional comparison also shows decline in both urban and rural areas with 40 percent in 2019-20 as compared to 43 percent in 2014-15 and 58 percent in 2019-20 as compared to 60 percent in 2014-15. Therefore, province wise comparison reveals that there is overall declining trend in GER for government primary schools, Punjab with 53 percent in 2019-20 as compared to 54 percent in 2014-15, Sindh with 42 percent in 2019-20 as compared to 50 percent in 2014-15, Khyber Pakhtunkhwa with 60 percent in 2019-20 as compared to 62 percent in 2014-15 and Balochistan with 59 percent in 2019-20 as compared to 64 percent in 2014-15. Furthermore, the district wise comparison shows that in Punjab Layyah with 84 percent is at top while Lahore with 34 percent is at bottom, in Sindh, Shaheed Benazirabad with 62 percent is at top while

Korangi with 16 percent is at bottom, in Khyber Pakhtunkhwa Karak with 79 percent is at top while, Mohmand is at bottom with 36 percent and in Balochistan, Gwadar is at top with 96 percent and Sherani with 21 percent is at bottom, Table 2.5.

2.4.2 Net Enrolment Rate at Primary (NER)

The Net enrolment rate (NER) is the number of children with specific age group attending specific class divided by number of children with specific age group. The overall NER Primary Age (6-10) is reported as 64 percent in 2019-20 as compared to 67 percent in 2014-15. Furthermore, in provinces, Punjab and Balochistan remains stagnant at 70 percent and 56 percent in 2019-20 and 2014-15 respectively. However, Sindh and Khyber Pakhtunkhwa (Excluding Merged Areas) show decreasing pattern with 55 percent and 67 percent in 2019-20 as compared to 61 percent and 71 percent in 2014-15 respectively, Table 2.6-a.

Figure 5 NER Primary (6-10)

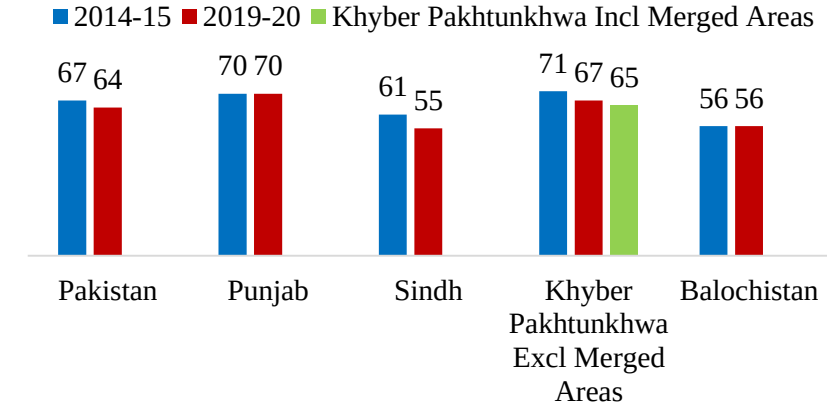

Moreover, comparing districts among provinces, it is observed that Jehlum with 90 percent, Dadu with 77 percent, Abbottabad with 82 percent and Gwadar with 85 percent are at top rank districts in their respective provinces while, Lodhran & Rajanpur with 52 percent, Thatta with 31 percent, Bajur & Kohistan with 36 percent and Harnai with 35 percent are the bottom districts in their respective provinces.

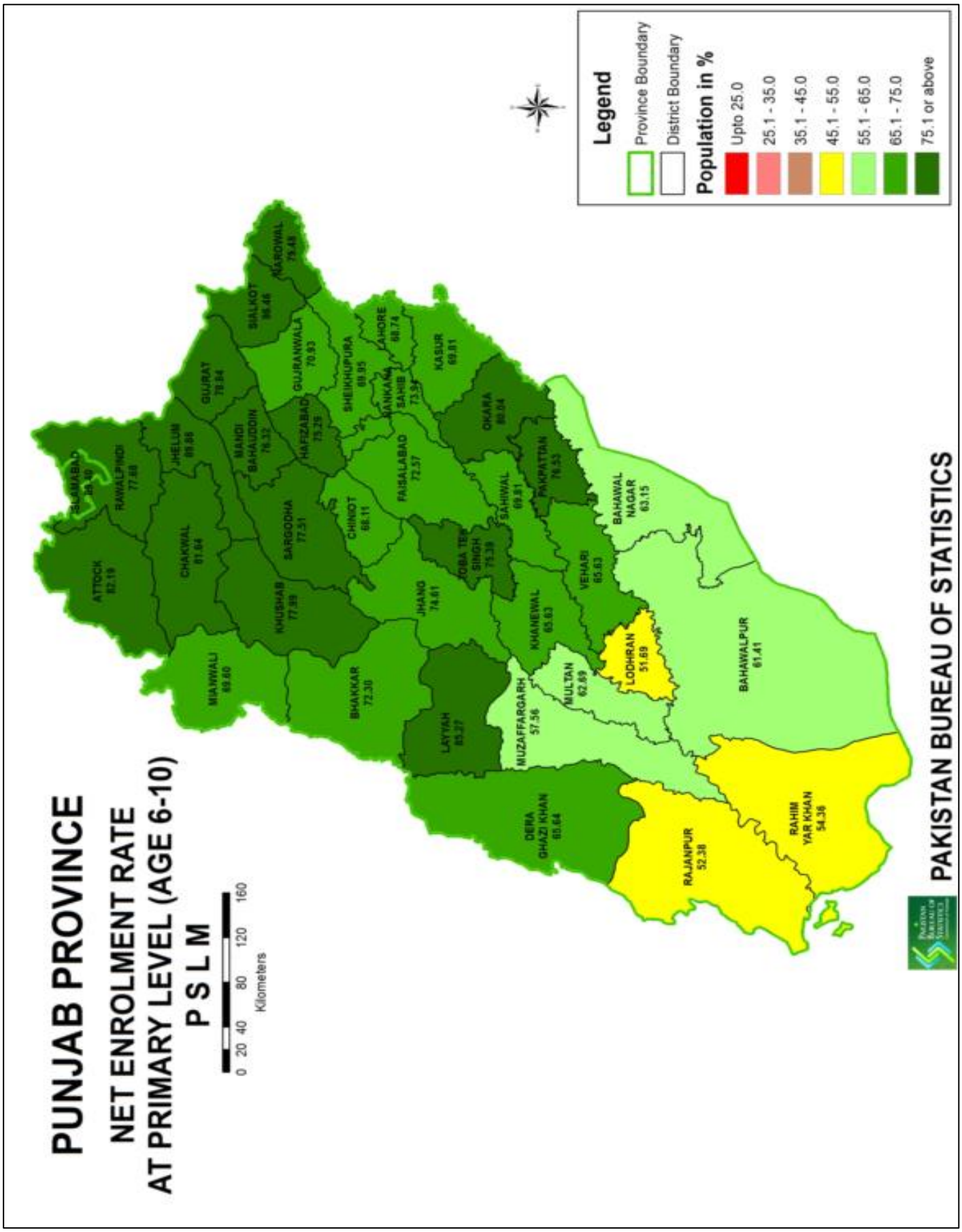
PUNJAB PROVINCE
NET ENROLMENT RATE
AT PRIMARY LEVEL (AGE 6-10)
P S L M
0 20 40 80 120 160
Kilometers
Legend
Province Boundary
District Boundary
Population in %
Upto 25.0
25.1 - 35.0
35.1 - 45.0
45.1 - 55.0
55.1 - 65.0
65.1 - 75.0
75.1 or above
ISLAMABAD 85.48
RAWALPINDI 77.88
ATTOCK 82.19
JHELUM 80.88
CHAKWAL 81.64
GUJRAT 78.84
MANDI BAHAUDDIN 76.32
NAROWAL 79.48
SIALKOT 86.46
GUJRANWALA 70.93
HAFIZABAD 75.25
SARGODHA 77.51
KHUSHAB 77.89
MIANWALI 69.60
BHAKKAR 72.30
SHEIKHUPURA 69.95
LAHORE 68.74
KANKANA SAHIB 73.94
KASUR 69.81
OKARA 80.04
FAISALABAD 72.57
CHINIOT 68.11
JHANG 74.61
TOBA TEK SINGH 75.39
SAHIWAL 69.81
PAKPATTAN 76.53
KHANEWAL 65.63
VEHARI 65.63
BAHAWAL NAGAR 63.15
LODHRAN 51.69
MULTAN 62.69
MUZAFFARGARH 57.36
LAYYAH 65.27
DERA GHAZI KHAN 65.64
RAJANPUR 52.38
BAHAWALPUR 61.41
RAHIM YAR KHAN 54.38
PAKISTAN BUREAU OF STATISTICS

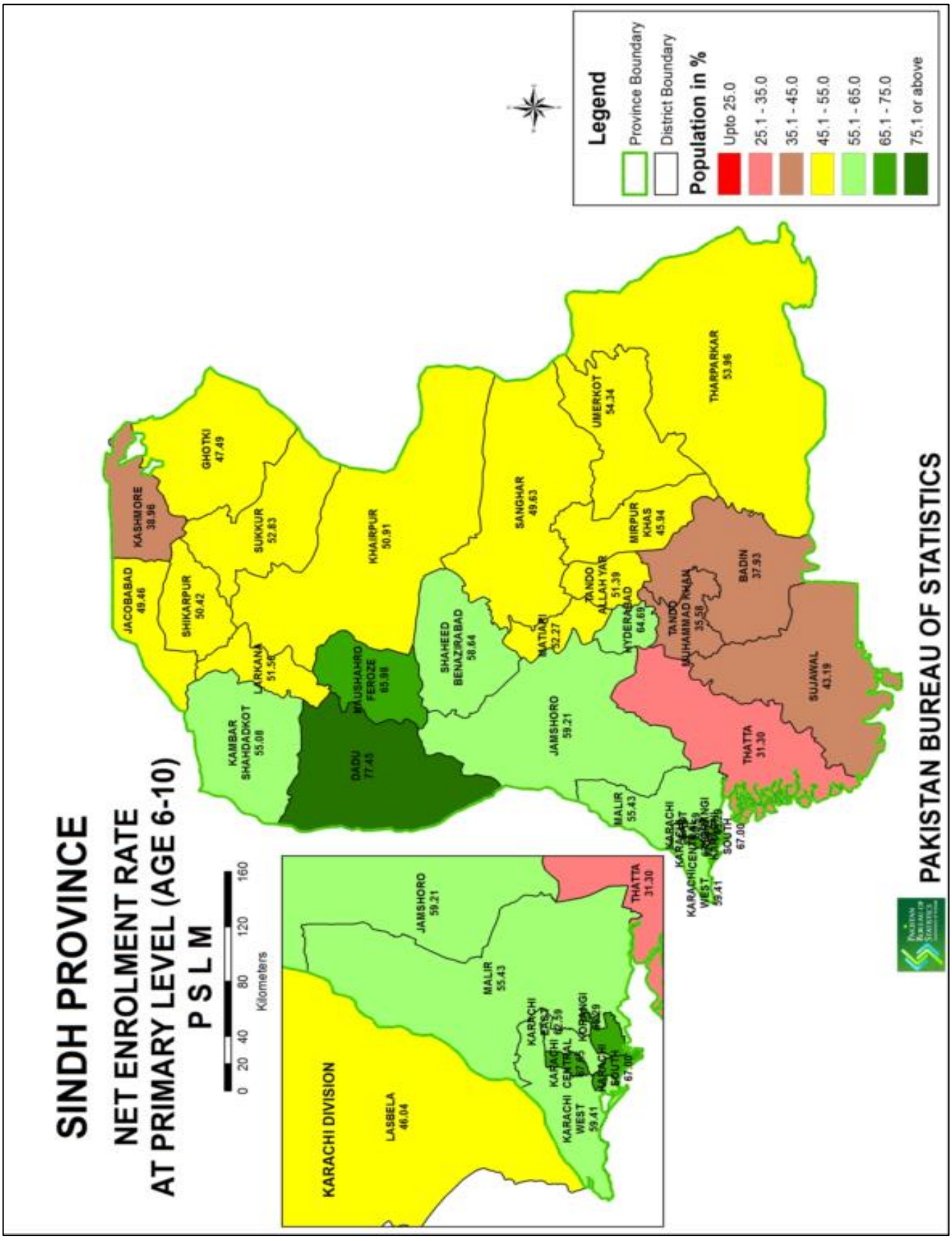
SINDH PROVINCE
NET ENROLMENT RATE
AT PRIMARY LEVEL (AGE 6-10)
P S L M
0 20 40 80 120 160
Kilometers
Legend
Province Boundary
District Boundary
Population in %
Upto 25.0
25.1 - 35.0
35.1 - 45.0
45.1 - 55.0
55.1 - 65.0
65.1 - 75.0
75.1 or above
KARACHI DIVISION
LASBELA 46.04
JAMSHORO 59.21
MALIR 55.43
THATTA 31.30
KARACHI WEST 59.41
KARACHI SOUTH 67.00
KASHMORE 38.96
GHOTKI 47.49
JACOBABAD 49.46
SHIKARPUR 50.42
SUKKUR 52.83
KHAIRPUR 50.91
SANGHAR 49.63
UMERKOT 54.34
THARPARKAR 53.96
MIRPUR KHAS 45.94
BADIN 37.93
TANDO ALLAH YAR 51.39
HYDERABAD 64.69
TANDO MUHAMMAD KHAN 35.58
SHAHEED BENAZIRABAD 58.64
MATIARI 52.27
LARKANA 51.56
MAUSHAHRO FEROZE 65.98
KAMBAR SHAHDADKOT 55.08
DADU 77.45
JAMSHORO 59.21
SUJAWAL 43.19
THATTA 31.30
MALIR 55.43
KARACHI WEST 59.41
KARACHI SOUTH 67.00
PAKISTAN BUREAU OF STATISTICS

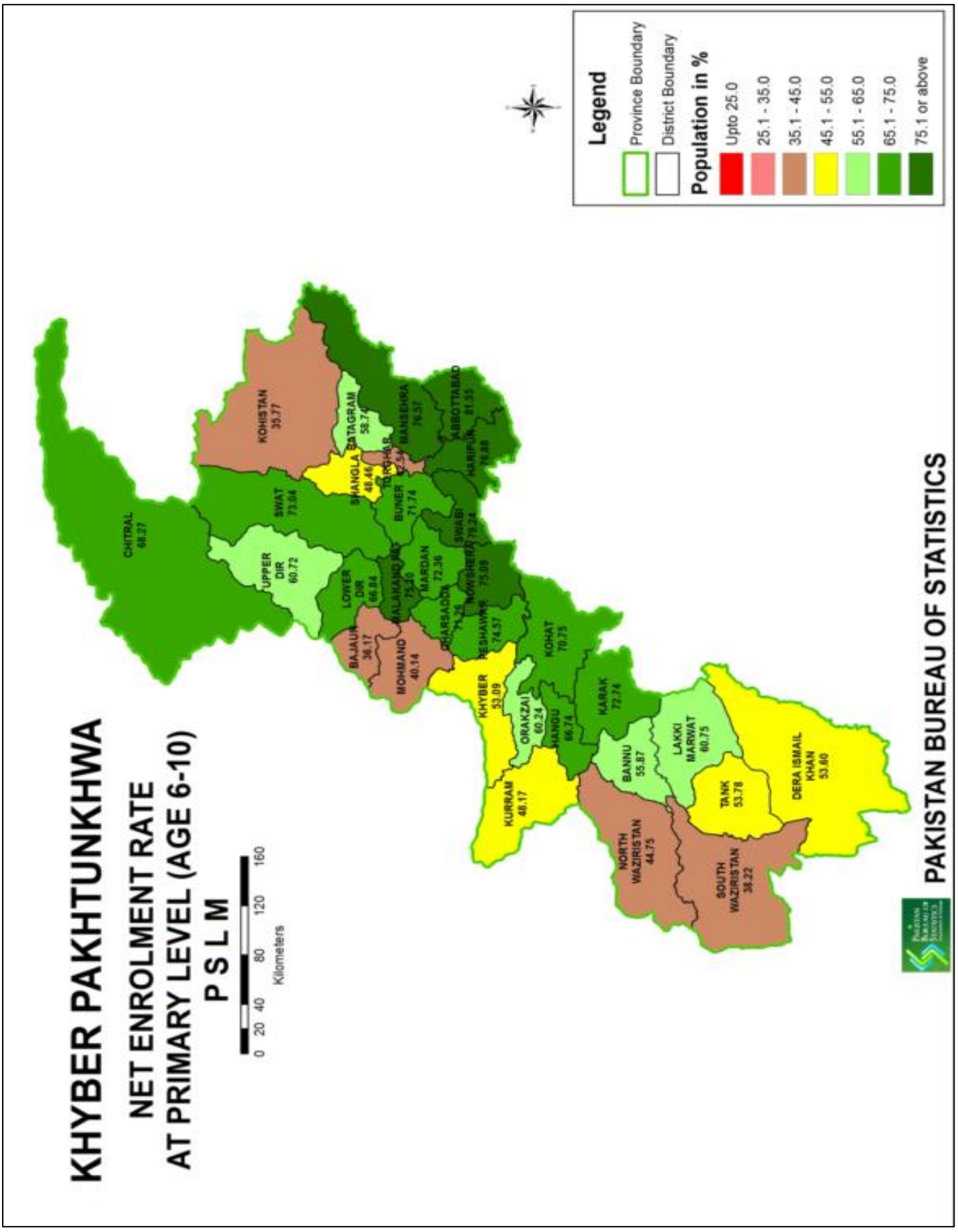
KHYBER PAKHTUNKHWA
NET ENROLMENT RATE
AT PRIMARY LEVEL (AGE 6-10)
P S L M
0 20 40 80 120 160
Kilometers
Legend
Province Boundary
District Boundary
Population in %
Upto 25.0
25.1 - 35.0
35.1 - 45.0
45.1 - 55.0
55.1 - 65.0
65.1 - 75.0
75.1 or above
CHITRAL 68.27
KOHISTAN 35.77
SWAT 73.04
UPPER DIR 60.72
LOWER DIR 66.84
BAJAUR 36.17
MOHMAND 40.14
SHANGLA 48.46
BUNER 71.74
MANSEHRA 76.57
ABBOTTABAD 81.55
HARIPUR 76.88
SWABI 79.24
MARDAN 72.36
NOWSHERA 75.09
PESHAWAR 74.57
KHYBER 53.09
ORAKZAI 60.24
HANGU 66.74
KOHAT 70.75
KARAK 72.74
KURRAM 48.17
BANNU 55.87
LAKKI MARWAT 60.75
TANK 53.78
DERA ISMAIL KHAN 53.60
NORTH WAZIRISTAN 44.75
SOUTH WAZIRISTAN 38.22
PAKISTAN BUREAU OF STATISTICS

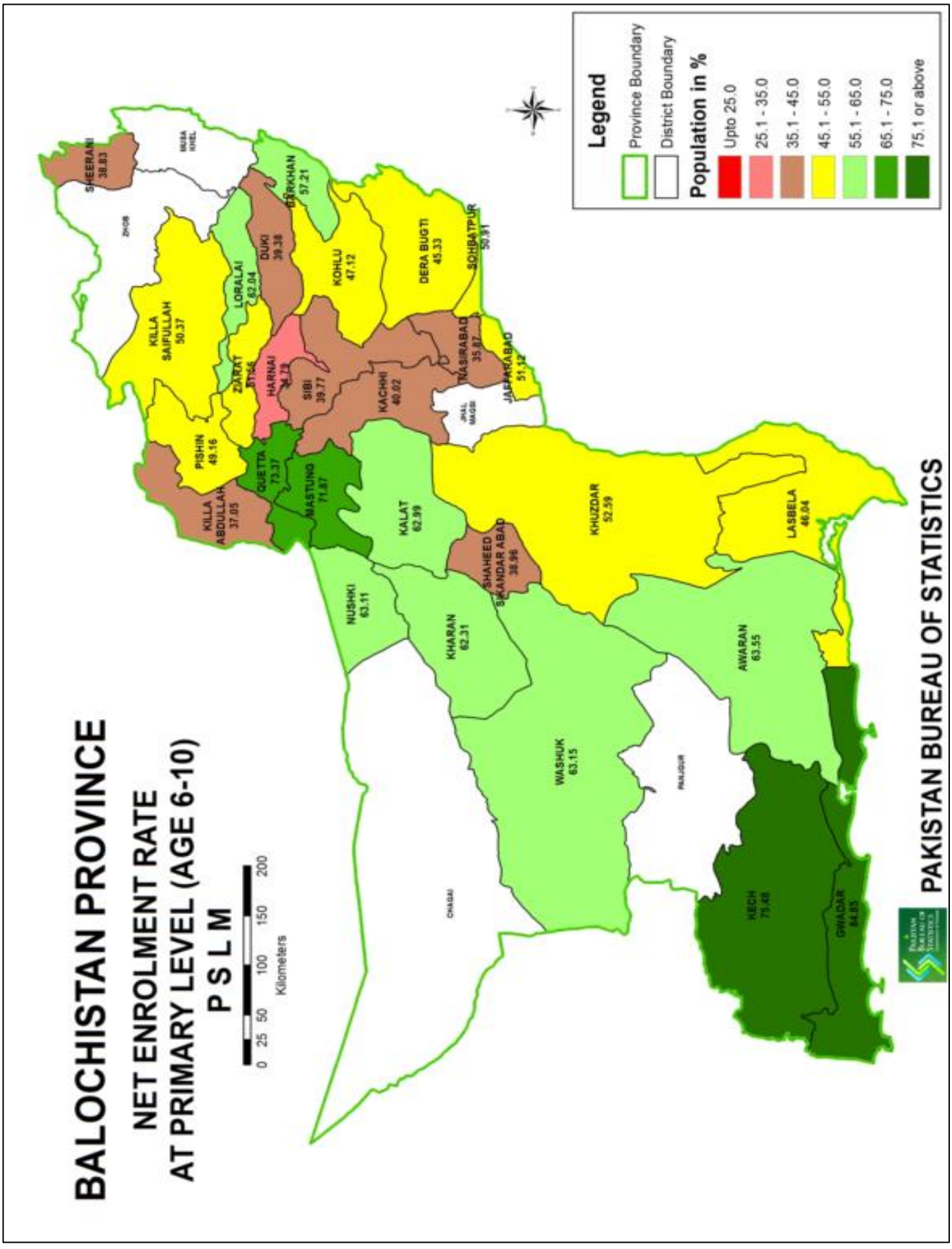
BALOCHISTAN PROVINCE
NET ENROLMENT RATE
AT PRIMARY LEVEL (AGE 6-10)
P S L M
0 25 50 100 150 200
Kilometers
Legend
Province Boundary
District Boundary
Population in %
Upto 25.0
25.1 - 35.0
35.1 - 45.0
45.1 - 55.0
55.1 - 65.0
65.1 - 75.0
75.1 or above
SHEERANI 38.83
KILLA SAIFULLAH 50.37
LORALAI 62.04
DUKI 39.38
BARKHAN 57.21
KOHLU 47.12
DERA BUGTI 45.33
SOHBATPUR 50.91
ZIARAT 51.56
HARNAI 34.79
SIBI 39.77
KACHHI 40.02
NASIRABAD 35.87
JAFFARABAD 51.12
PISHIN 49.16
QUETTA 73.37
MASTUNG 71.87
KILLA ABDULLAH 37.05
KALAT 62.99
SHAHEED SIKANDAR ABAD 38.96
KHUZDAR 52.59
LASBELA 46.04
NUSHKI 63.11
KHARAN 62.31
AWARAN 63.55
WASHUK 63.15
KECH 75.48
GWADAR 84.85
PAKISTAN BUREAU OF STATISTICS

The Overall NER Primary Age (5-9) is reported as 51 percent in 2019-20 as compared to 57 percent in 2014-15. In provinces, the same pattern is observed for all four provinces and in their respective districts as discussed above, Table 2.6-b.

The Net Enrollment Rate at the primary level age (4-9) including katchi class is 60 percent at National level in 2019-20 as compared to 65 percent in 2014-15. Furthermore, Provincial comparison shows that Punjab is at top with 70 percent followed by Khyber Pakhtunkhwa (Including merged areas) with 56 percent while, Balochistan is at bottom with 44 percent, Table 2.7.

The Net enrolment rate in Government Primary Schools Age (5-9) excluding katchi has decreased to 32 percent at National level in 2019-20 as compared to 34 percent in 2014-15. Moreover, regional comparison shows declining pattern in both urban and rural areas with 24 percent in 2019-20 as compared to 26 in 2014-15 and 36 percent in 2019-20 as compared to 37 percent in 2014-15 respectively. However, provincial comparison shows that Balochistan is at top with 39 percent followed by Khyber Pakhtunkhwa with 35 and Punjab with 32 percent, however, Sindh is at bottom with 28 percent, Table 2.8.

2.4.3 Primary Level Enrollment in Govt. School

Primary Level Enrolment in Government Schools a percentage of Total Primary excluding Katchi is 64 percent in 2019-20 as compared to 62 percent in 2014-15. The provincial comparison shows that Balochistan is at top with 83 percent followed by Khyber Pakhtunkhwa with 72 percent while, Punjab is at bottom with 59 percent, Table 2.9-a.

Figure-6 Primary Level Enrolment in Govt. Schools a percentage of Total Enrolment

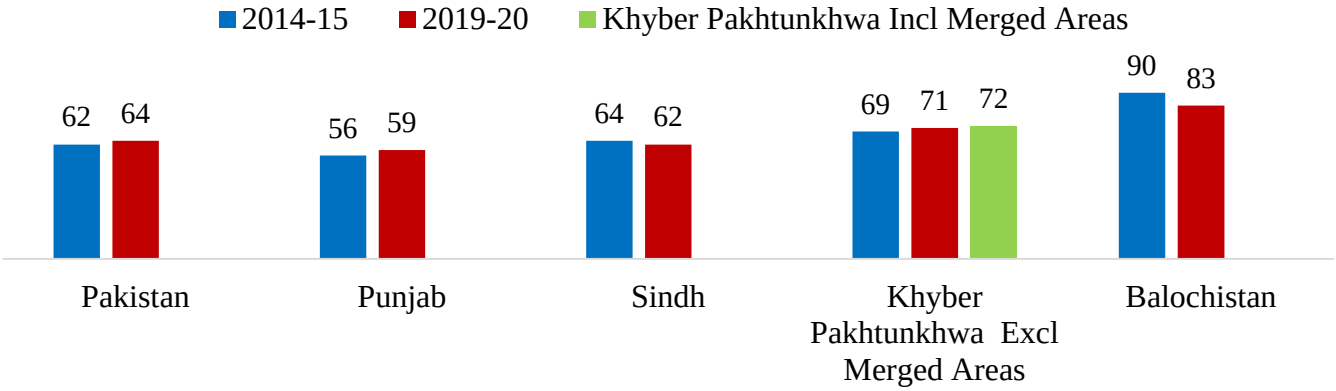

However, the district wise comparison reveals that in Punjab district Bhakkar with 81 percent is at top while, Lahore with 38 percent is at bottom. In Sindh, district Sujawal with 97 percent is at top while Korangi with 20 percent is at bottom. In Khyber Pakhtunkhwa district Kohistan with 98 percent is at top while

Peshawar is at bottom with 47 percent. In Balochistan, district Awaran and Shaheed Sikandarabad is at top with 100 percent however Quetta with 69 percent is at bottom.

2.4.4 Gross Enrolment Ratio at Middle (GER)

GER Middle age (11-13) increased to 63 percent in 2019-20 as compared to 62 percent in 2014-15. The regional comparison also shows declining trend in both urban and rural areas with 73 percent and 57 percent in 2019-20 as compared to 78 percent and 55 percent respectively. Furthermore, the provincial situation shows decreasing trend except Punjab whereas Khyber Pakhtunkhwa (Excluding Merged Areas) is at top with 70 percent in 2019-20 as compared to 71 percent in 2014-15 among all provinces followed by Punjab and Khyber Pakhtunkhwa (Including Merged Areas) with 67 percent, however, Balochistan with 47 percent is at bottom in 2019-20 as compared to 48 percent in 2014-15. The District wise comparison shows that Jhelum in Punjab with 99 percent, Korangi in Sindh with 86 percent, Chitral and Haripur in Khyber Pakhtunkhwa with 91 percent and Nushki in Balochistan with 85 percent are the top ranked districts while Muzaffargarh and Rajanpur with 42 percent, Thatta with 18 percent, Kohistan with 31 percent and Shaheed Sikandarabad with 7 percent are the bottom districts in their respective provinces, Table 2.10-a.

Figure-8 GER Middle age (11-13) by Provinces

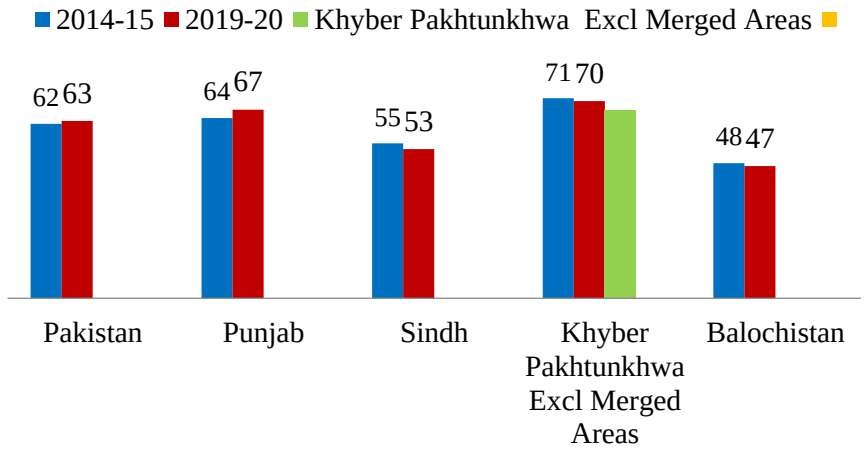

The GER for the middle level age 10-12, for Pakistan as a whole increased to 56 percent in 2019-20 as compared to 55 percent in 2014-15. It shows almost the same pattern for provinces which followed in Table 2.10 b.

2.4.5 Net Enrolment Rate at Middle (NER)

The Net Enrolment Rate **(**NER) Middle age (11-13) is stagnant at 37 percent in 2019-20 as in 2014-15 at National level. While the provincial comparison shows that Punjab is at top with 41 percent in 2019-20 as compared 38 percent in 2014-15 followed by Khyber Pakhtunkhwa (Excluding Merged Areas) with 40 percent in 2019-20 as compared to 41 percent in 2014-15 and Sindh with 32 percent in 2019-20 as compared

to 34 percent in 2014-15, however, Balochistan is at bottom and remain stagnant at 26 percent in 2019-20 and 2014-15, Table 2.11-a

Figure-9 NER Middle (11-13) by Province

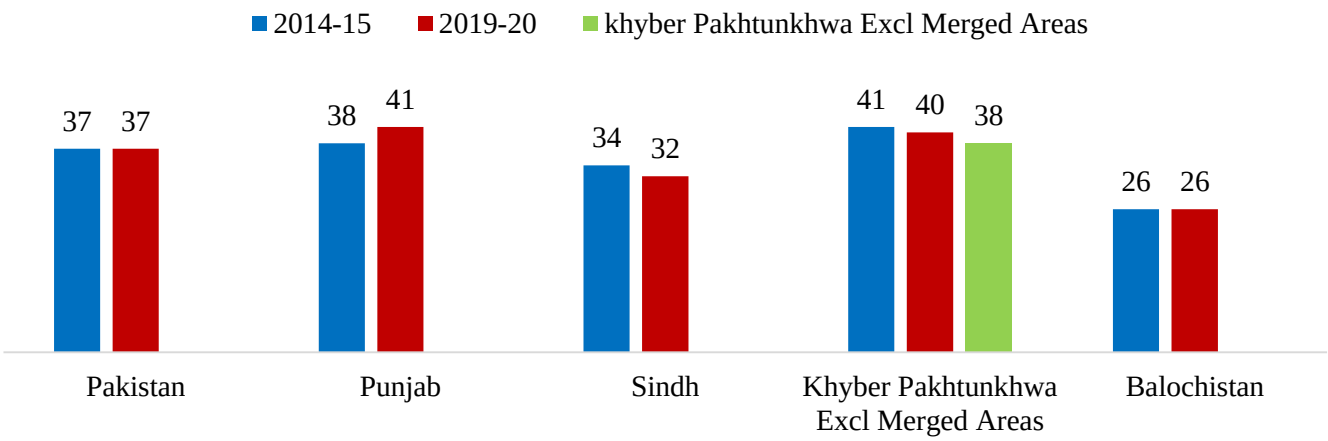

District wise comparison reveals that Jhelum in Punjab with 63 percent, Korangi in Sindh with 52 percent, Haripur, Chitral and Karak in KP with 55 percent and Mastung in Balochistan with 53 percent are the top most districts while Muzaffargarh with 24 percent, Thatta with 9 percent, Kohistan with 11 percent and Shaheed Sikandarabad with 3 percent are the lowest districts in their respective provinces.

The Net Enrolment Rate at Middle age (10-12) by Province and districts at National level shows declining trend with 21 percent in 2019-20 as compared to 22 percent in 2014-15. Provincial comparison shows that Punjab is at top with 25 percent followed by Khyber Pakhtunkhwa with 19 percent however, Balochistan is at bottom with 15 percent. District wise comparison reveals that Jhelum in Punjab with 38 percent, Korangi in Sindh with 30 percent, Haripur in KP with 32 percent and Duki in Balochistan with 32 percent are the top most districts while Muzaffargarh with 15 percent, Thatta with 4 percent, Kohistan with 4 percent and Shaheed Sikandarabad with 2 percent are the lowest districts in their respective provinces.

2.4.6. Gross Enrolment Ratio at Matric (GER)

The Gross Enrolment Rate at Matric (GER), age (14-15), declines to 57 percent in 2019-20 as compared to 58 percent in 2014-15 at national level. However, regionwise comparison shows declining trend in urban areas with 76 percent in 2019-20 as compared to 78 percent in 2014-15 while rural areas remains stagnant with 47 percent in 2019-20 as in 2014-15. Further, Punjab with 65 percent is the top most among all provinces in 2019-20 as compared to 63 percent in 2014-15, followed by Khyber Pakhtunkhwa including merged area with 53 percent in 2019-20 as compared to 55 percent in 2014-15. However, Khyber Pakhtunkhwa excluding merged areas is 56 percent and Balochistan is at bottom with 36 percent in 2019-20 as compared to 39 percent in 2014-15, Table 2.12-a

Figure 10 GER Matric (14-15)

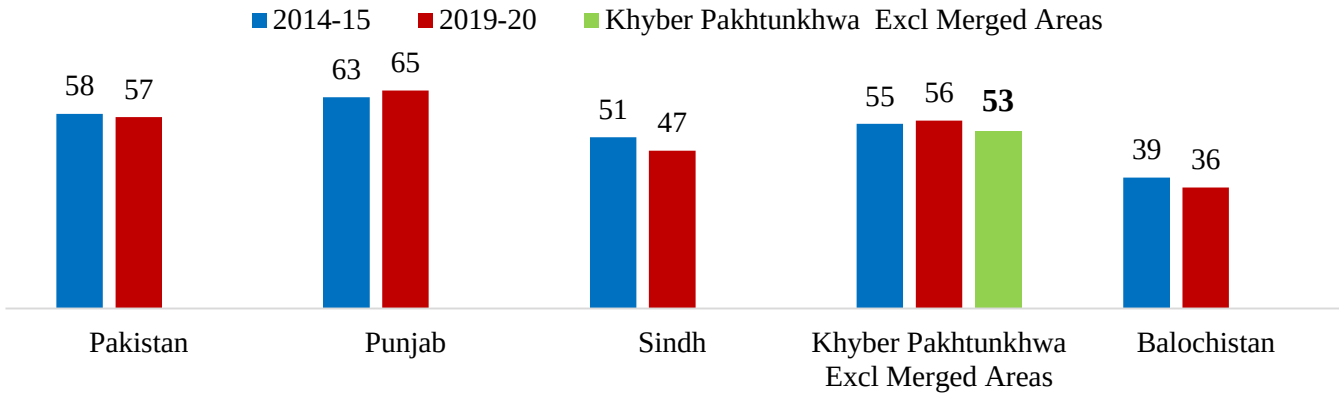

District wise comparison reveals that Chakwal in Punjab with 95 percent is the top district in GER Matric age (14-15) while Muzaffargarh with 35 percent is at bottom. In Sindh Karachi East & Korangi with 87 percent is the top most district however, Thatta with 14 percent is at bottom. In KP, Chitral with 96 percent is the top district and Kohistan with 16 percent is at bottom. In addition, District Nushki in Balochistan with 74 percent is at top in GER at Matric age (14-15) and Shaheed Sikandarabad with 2 percent is at bottom.

Figure 11-Top districts in GER Matric age (14-15)

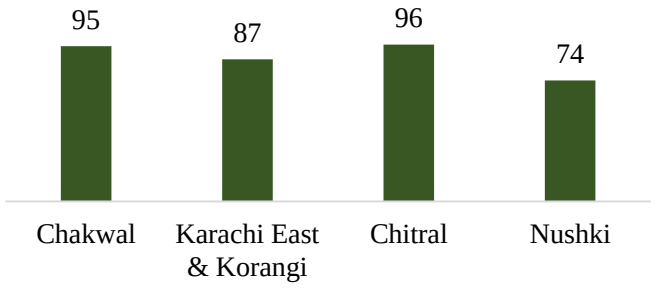

Figure 11-Bottom districts in GER Matric age (14-15)

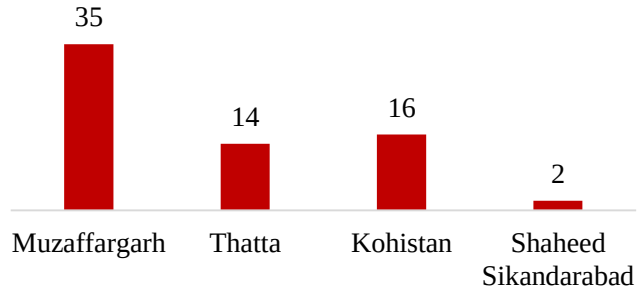

The Gross Enrolment ratio at Matric Level (Age 13-14) by Province and district at National level shows decline with 58 percent in 2019-20 as compared to 59 percent in 2014-15. However, the same pattern is observed in urban and rural areas at national level. Furthermore, the provincial and district comparison also shows same pattern as discussed above, Table 2.12 b.

2.4.7 Net Enrolment Rate (NER)

The Net Enrolment Rate (**NER**) Matric age (14-15) remains stagnant at 27 percent in 2019-20 as in 2014-15 at National level. However, regionwise comparison shows declining trend in urban areas with 38 percent in 2019-20 as compared to 35 percent in 2014-15, while slight increase is observed in rural areas with 22 percent in 2019-20 as compared to 21 percent in 2014-15. Additionally, Punjab with 30 percent is the top most among all provinces and showing declining trend in 2019-20 as compared to 29 percent in 2014-15, followed by Khyber Pakhtunkhwa (Excluding Merged Areas) with 27 percent which remains stagnant in 2019-20 and 2014-15. Sindh also shows declining trend with 22 percent in 2019-20 as compared to 25 percent in 2014-15, while, Balochistan is at bottom with 14 percent in 2019-20 as compared to 15 percent in 2014-15. District wise comparison reveals that Chakwal in Punjab with 49 percent, Korangi in Sindh with 40 percent, Haripur in KP with 44 percent and Mastung in Balochistan with 28 percent are the highest districts, while Muzaffargarh with 14 percent, Thatta with 3 percent, Kohistan with 4 percent and Shaheed Sikandarabad and Sherani with 0 percent are the lowest districts in their respective provinces, Table 2.13-a

Figure-12 NER Matric(14-15) by Province

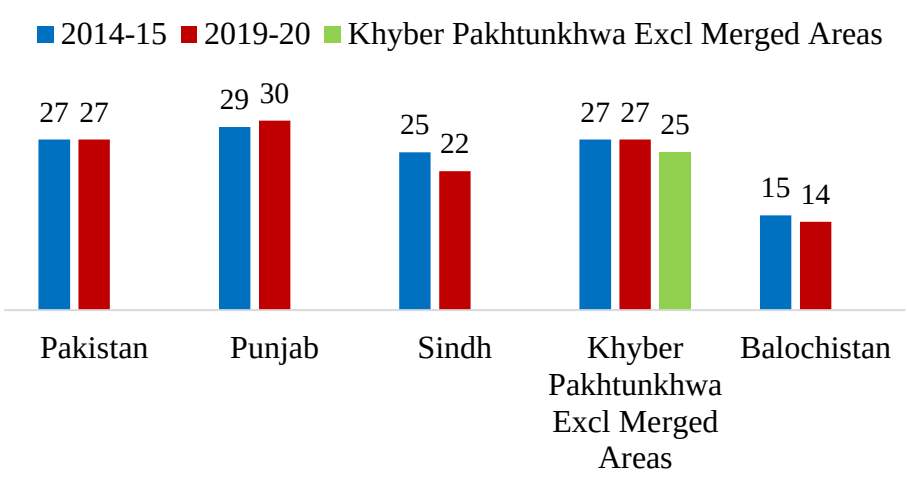

The Net Enrolment Rate at Matric age (13-14) shows decline with 13 percent in 2019-20 as compared to 14 percent in 2014-15 at National level. Further, the provincial and district wise comparison show the same pattern and no changes is observed when comparing with different age group.

2.5 Literacy

Literacy is an important indicator of education and it has significant impact on development of the country. The literacy rate of population 10 years and older at National level remains stagnant in 2019-20 with 60 percent as in 2014-15. Furthermore, Literacy rate shows declining trend in urban areas with 74 percent in 2019-20 as compared to 76 percent, while in rural areas literacy has increased to 52 percent in 2019-20 as compared to 51 percent in 2014-15. Similarly, the overall males have higher literacy rate with 70 percent as compared to females with 49 percent. Moreover, the provincial picture depicts that Punjab has the highest literacy rate with 64 percent among all provinces in 2019-20 as compared to 63 percent in 2014-15,

followed by Sindh with 58 percent in 2019-20 as compared to 60 percent in 2014-15, while Balochistan has the lowest literacy with 46 percent in 2019-20 as compared to 44 percent in 2014-15. Therefore, it is pertinent to mentioned here that Punjab and Balochistan have increasing trend in Literacy during the period of 2019-20 whereas Sindh and Khyber Pakhtunkhwa shows decreasing trend during the period of 2019-20. Additionally, the literacy rate of capital city Islamabad is the highest rate in country with 85 percent. However, district wise comparison reveals that Rawalpindi with 82 percent Korangi with 84 percent, Abbottabad with 74 percent and Quetta with 64 percent is the top most districts in their respective provinces, while Rajanpur with 42 percent, Tharparkar with 29 percent, Mohmand with 26 percent and Dera Bugti and Khuzdar with 22 percent are lowest ranked district in their respective provinces, Table 2.14.

Figure 13 Literacy Population 10 years & older by Provinces

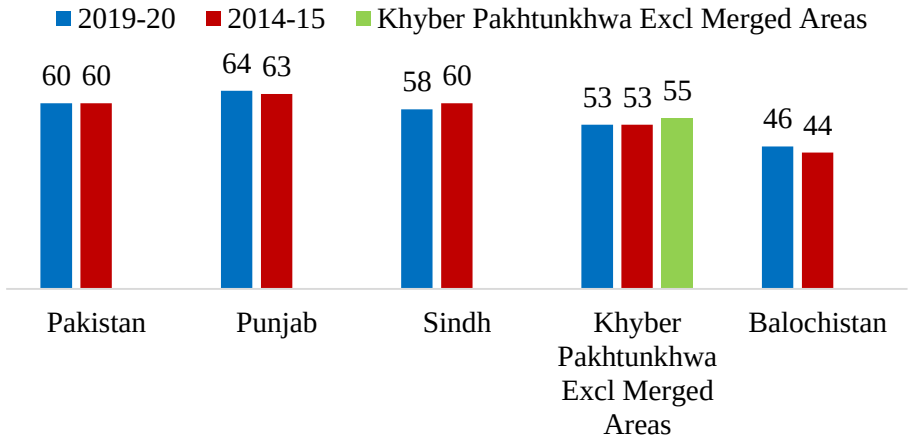

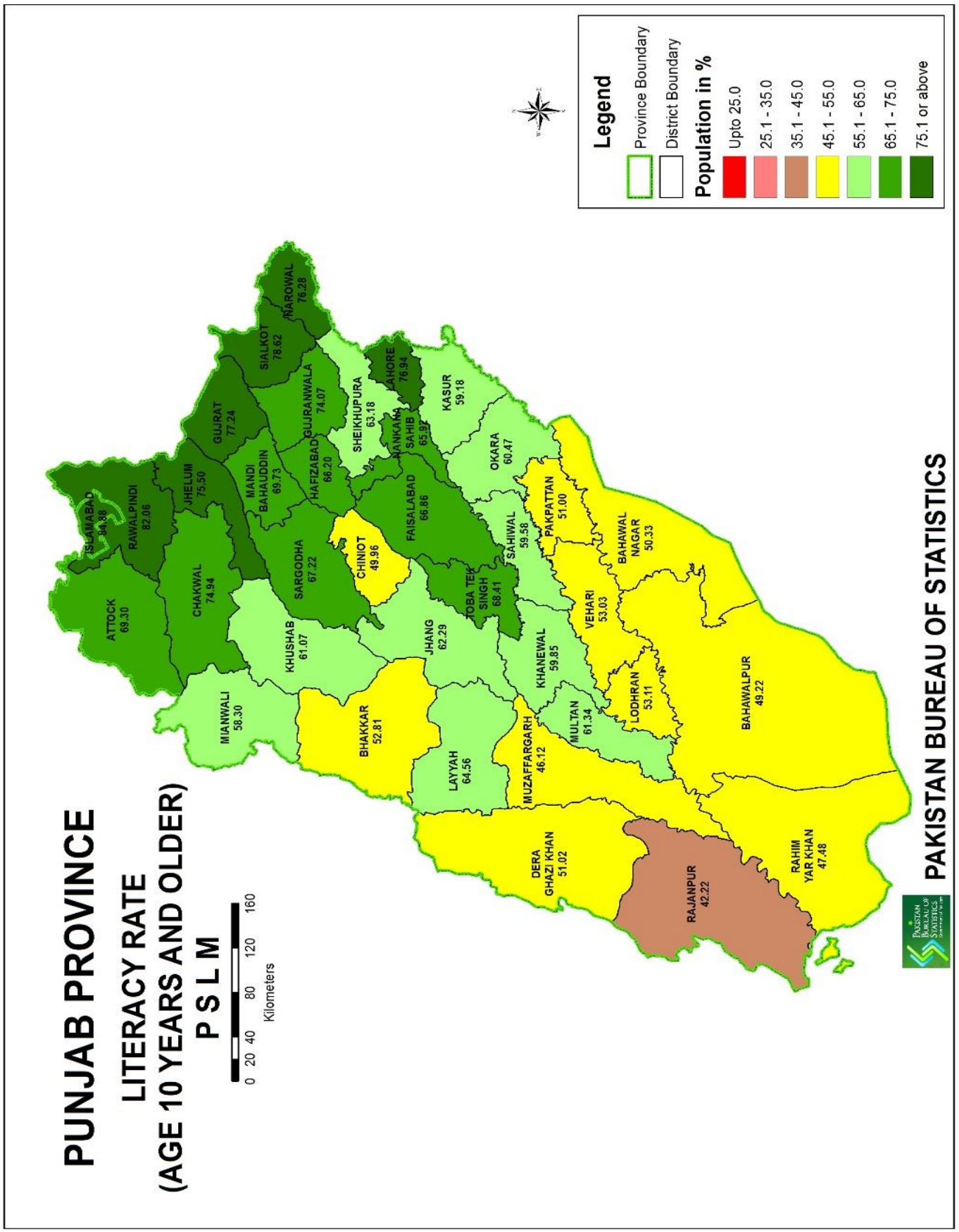
PUNJAB PROVINCE
LITERACY RATE
(AGE 10 YEARS AND OLDER)
P S L M
0 20 40 80 120 160
Kilometers
Legend
Province Boundary
District Boundary
Population in %
Upto 25.0
25.1 - 35.0
35.1 - 45.0
45.1 - 55.0
55.1 - 65.0
65.1 - 75.0
75.1 or above
ISLAMABAD 84.88
RAWALPINDI 82.06
ATTOCK 69.30
JHELUM 75.50
CHAKWAL 74.94
GUJRAT 77.24
MANDI BAHAUDDIN 69.73
SARGODHA 67.22
KHUSHAB 61.07
MIANWALI 58.30
SIALKOT 78.62
NAROWAL 76.28
GUJRANWALA 74.07
HAFIZABAD 66.20
CHINIOT 49.96
JHANG 62.29
BHAKKAR 52.81
SHEIKHUPURA 63.18
LAHORE 76.94
NANKANA SAHIB 65.97
FAISALABAD 66.86
TOBA TEK SINGH 68.41
LAYYAH 64.56
KASUR 59.18
OKARA 60.47
SAHIWAL 59.58
KHANEWAL 59.85
MULTAN 61.34
MUZAFFARGARH 46.12
DERA GHAZI KHAN 51.02
PAKPATTAN 51.00
VEHARI 53.03
LODHRAN 53.11
BAHAWAL NAGAR 50.33
BAHAWALPUR 49.22
RAJANPUR 42.22
RAHIM YAR KHAN 47.48
PAKISTAN BUREAU OF STATISTICS

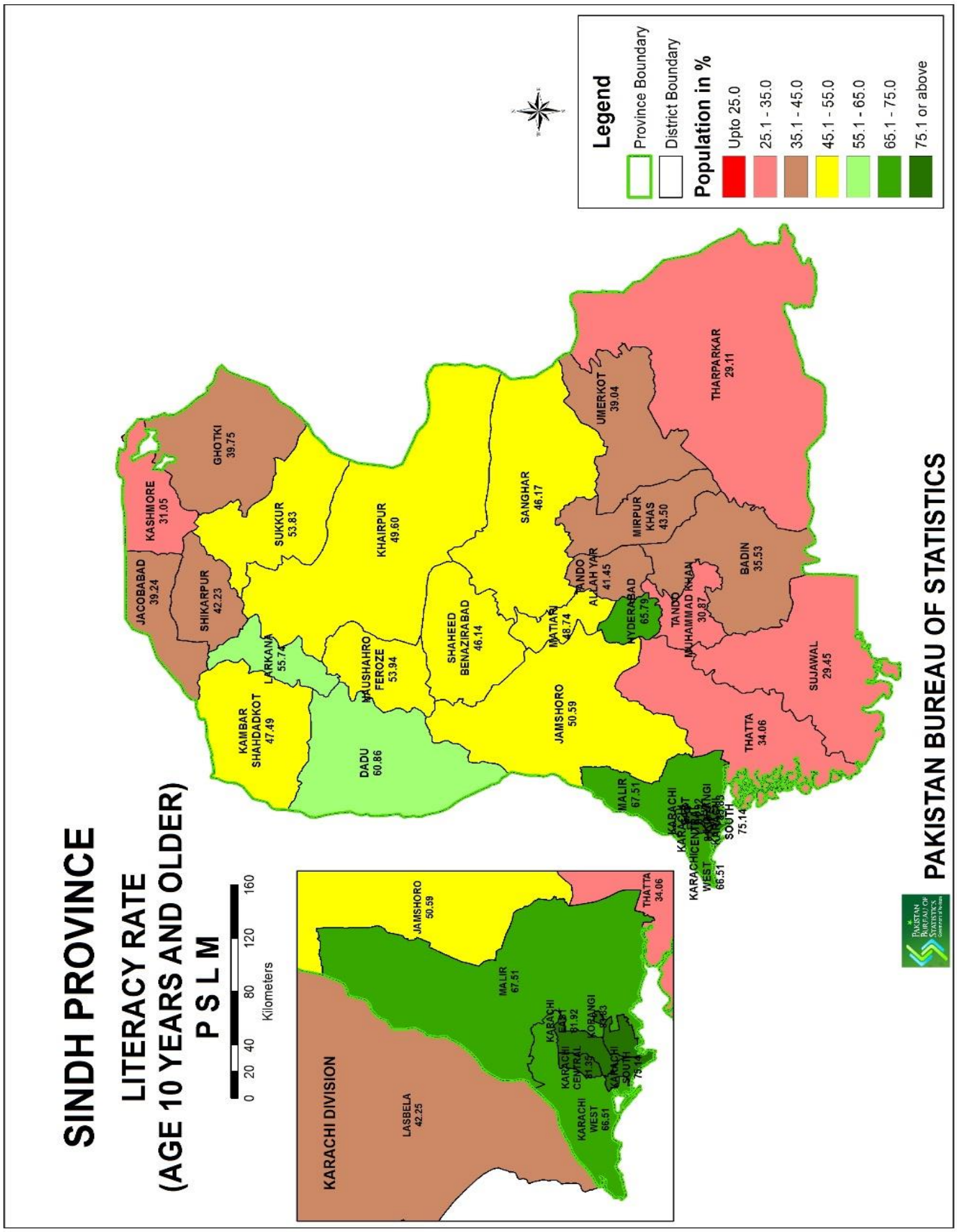
SINDH PROVINCE
LITERACY RATE
(AGE 10 YEARS AND OLDER)
P S L M
0 20 40 80 120 160
Kilometers
Legend
Province Boundary
District Boundary
Population in %
Upto 25.0
25.1 - 35.0
35.1 - 45.0
45.1 - 55.0
55.1 - 65.0
65.1 - 75.0
75.1 or above
KARACHI DIVISION
LASBELA 42.25
JAMSHORO 50.59
MALIR 67.51
THATTA 34.06
KARACHI WEST 66.51
KARACHI SOUTH 75.14
KARACHI CENTRAL 81.35
KORANGI 83.83
KARACHI EAST 81.92
JACOBABAD 39.24
KASHMORE 31.05
GHOTKI 39.75
SHIKARPUR 42.23
SUKKUR 53.83
KHAIRPUR 49.60
KAMBAR SHAHDADKOT 47.49
LARKANA 55.74
MAUSHAHRO FEROZE 53.94
DADU 60.86
SHAHEED BENAZIRABAD 46.14
SANGHAR 46.17
JAMSHORO 50.59
MATIARI 48.74
TANDO ALLAH YAR 41.45
HYDERABAD 65.79
TANDO MUHAMMAD KHAN 30.87
MIRPUR KHAS 43.50
UMERKOT 39.04
THARPARKAR 29.11
BADIN 35.53
SUJAWAL 29.45
THATTA 34.06
MALIR 67.51
KARACHI WEST 66.51
KARACHI SOUTH 75.14
PAKISTAN BUREAU OF STATISTICS

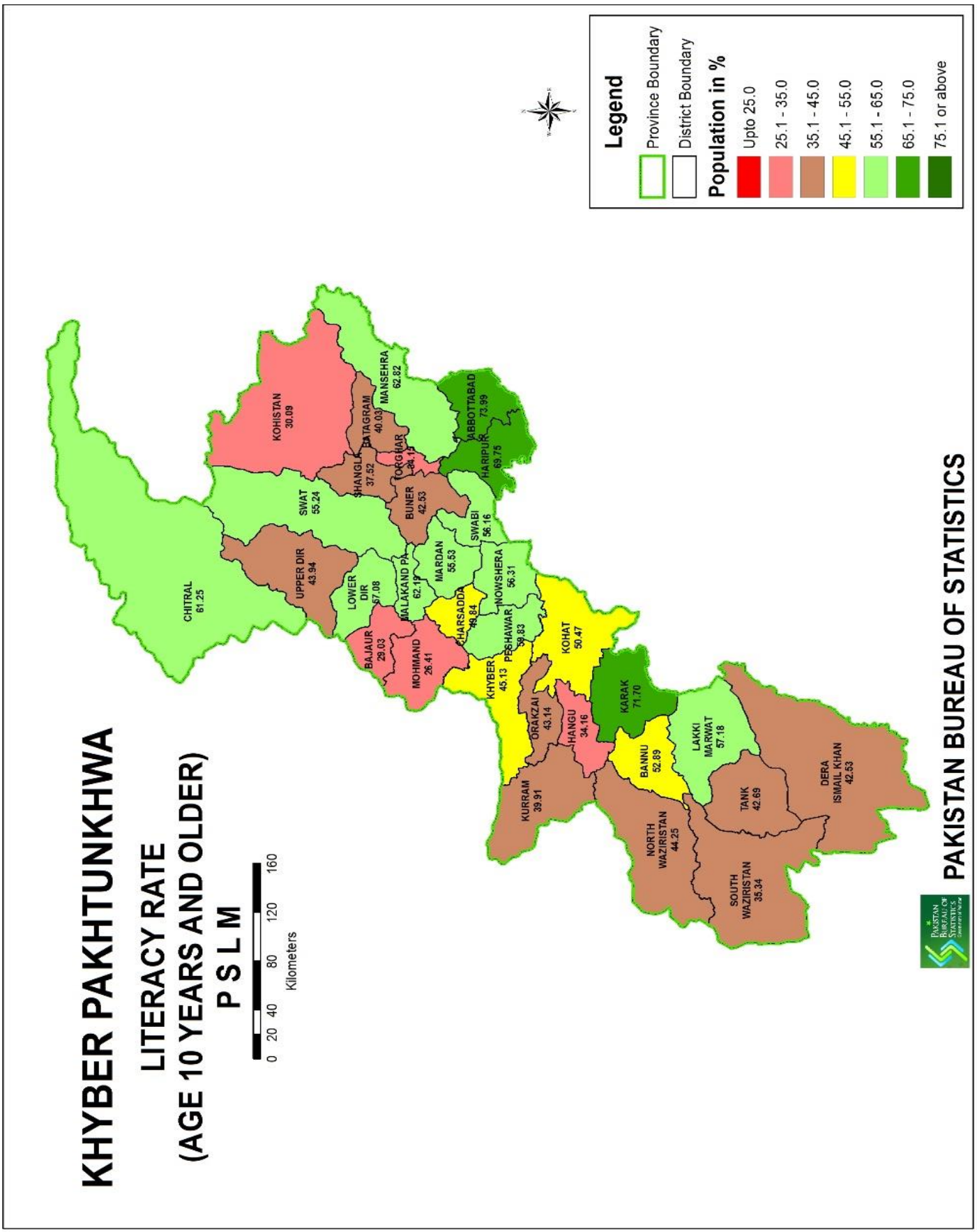
KHYBER PAKHTUNKHWA
LITERACY RATE
(AGE 10 YEARS AND OLDER)
P S L M
0 20 40 80 120 160
Kilometers
Legend
Province Boundary
District Boundary
Population in %
Upto 25.0
25.1 - 35.0
35.1 - 45.0
45.1 - 55.0
55.1 - 65.0
65.1 - 75.0
75.1 or above
CHITRAL 61.25
KOHISTAN 30.09
MANSEHRA 62.82
BATAGRAM 40.03
ABBOTTABAD 73.99
HARIPUR 69.75
SHANGLA 37.52
TORGHAR 34.15
SWAT 55.24
BUNER 42.53
SWABI 56.16
UPPER DIR 43.94
LOWER DIR 57.08
MALAKAND PA 62.19
MARDAN 55.53
NOWSHERA 56.31
CHARSADDA 49.84
PESHAWAR 59.83
BAJAUR 29.03
MOHMAND 26.41
KHYBER 45.13
KOHAT 50.47
KARAK 71.70
ORAKZAI 43.14
HANGU 34.16
LAKKI MARWAT 57.18
BANNU 52.89
KURRAM 39.91
TANK 42.69
DERA ISMAIL KHAN 42.53
NORTH WAZIRISTAN 44.25
SOUTH WAZIRISTAN 35.34
PAKISTAN BUREAU OF STATISTICS

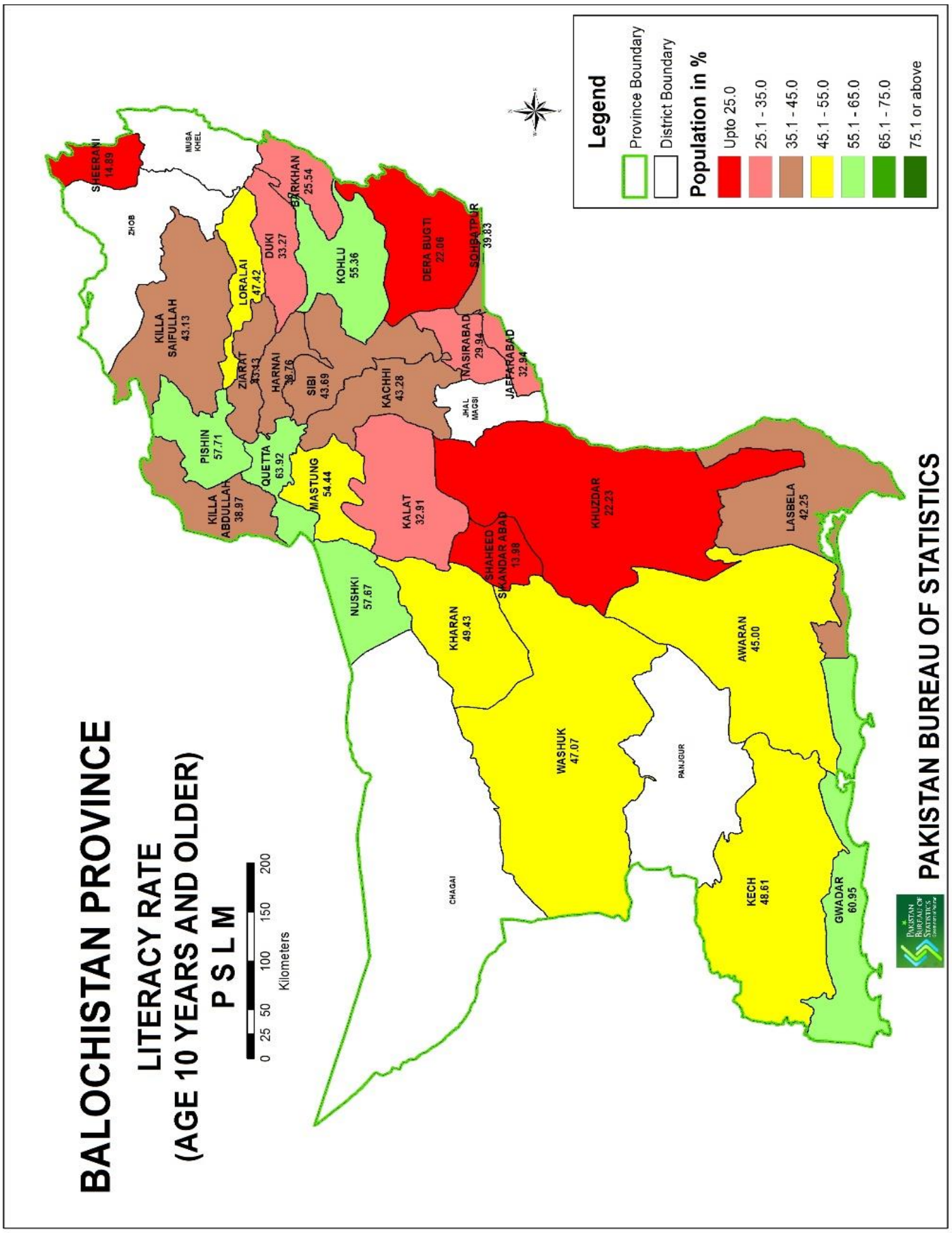
BALOCHISTAN PROVINCE
LITERACY RATE
(AGE 10 YEARS AND OLDER)
P S L M
0 25 50 100 150 200
Kilometers
Legend
Province Boundary
District Boundary
Population in %
Upto 25.0
25.1 - 35.0
35.1 - 45.0
45.1 - 55.0
55.1 - 65.0
65.1 - 75.0
75.1 or above
SHEERANI 14.89
MUSA KHEL
ZHOB
KILLA SAIFULLAH 43.13
LORALAI 47.42
DUKI 33.27
BARKHAN 25.54
KOHLU 55.36
DERA BUGTI 22.06
SOHBATPUR 39.83
ZIARAT 33.43
HARNAI 38.76
SIBI 43.69
KACHHI 43.28
NASIRABAD 29.94
JAFFARABAD 32.94
JHAL MAGSI
PISHIN 57.71
QUETTA 63.92
KILLA ABDULLAH 38.97
MASTUNG 54.44
KALAT 32.91
SHAHEED SIKANDAR ABAD 13.98
KHUZDAR 22.23
LASBELA 42.25
NUSHKI 57.67
KHARAN 49.43
AWARAN 45.00
WASHUK 47.07
PANJGUR
CHAGAI
KECH 48.61
GWADAR 60.95
PAKISTAN BUREAU OF STATISTICS

2.5.1 Youth Literacy age (15-24)

The country's **Youth Literacy** is calculated from the age 15-24 years. For the first time youth literacy is being calculated in PSLM District Level Survey 2019-20. According to the PSLM District Level Survey 2019-20, the results reveals that Youth Literacy is 72 percent at National level and this proportion is higher in urban areas with 84 percent than in rural areas with 65 percent. However, Youth literacy is higher in males with 79 percent than in females with 65 percent. Similarly, Punjab is at top among all provinces in Youth literacy with 78 percent, followed by Khyber Pakhtunkhwa with 67 percent, while Balochistan is at lowest with 57 percent. Furthermore, the Youth literacy in Islamabad is reported 93 percent Table 2.14-c.

Figure 14 Youth Literacy by Region

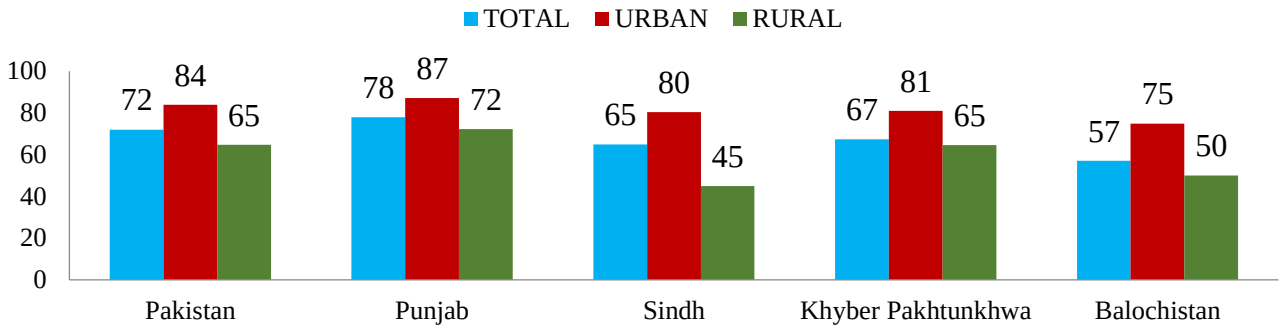

However, District wise comparison reveals that Narowal and Sialkot with 93 percent, Korangi with 92 percent, Abbottabad with 95 percent, Pishin and Quetta with 76 percent are at top in their respective provinces, while Rajanpur with 52 percent, Kashmore with 31 percent, Mohmand with 30 percent and Shaheed Sikandarabad with 11 percent are at bottom in their respective provinces.

2.5.2 Adult literacy

Adult Literacy remains stagnant at 57 percent in 2019-20 as in 2014-15. The regional comparison shows 2 percent decline in urban areas with 72 percent in 2019-20 as compared to 74 percent in 2014-15. This percentage inclines in rural areas with 48 percent in 2019-20 as compared to 46 percent in 2014-15. Further, gender pattern depicts that percentage of males are higher with 68 percent than in females with 46 percent. Similarly, provincial comparison shows that Punjab is at top among all provinces with 61 percent in 2019-20 as compared to 60 percent in 2014-15, followed by Sindh with 57 percent as compared to 58 percent in 2014-15 and Khyber Pakhtunkhwa has shown increasing trend with 49 percent during the period 2019-20 as compared to 47 percent in 2014-15. However, Balochistan is at bottom with 44 percent in 2019-20 as compared to 38 percent in 2014-15, Table 2.14-b.

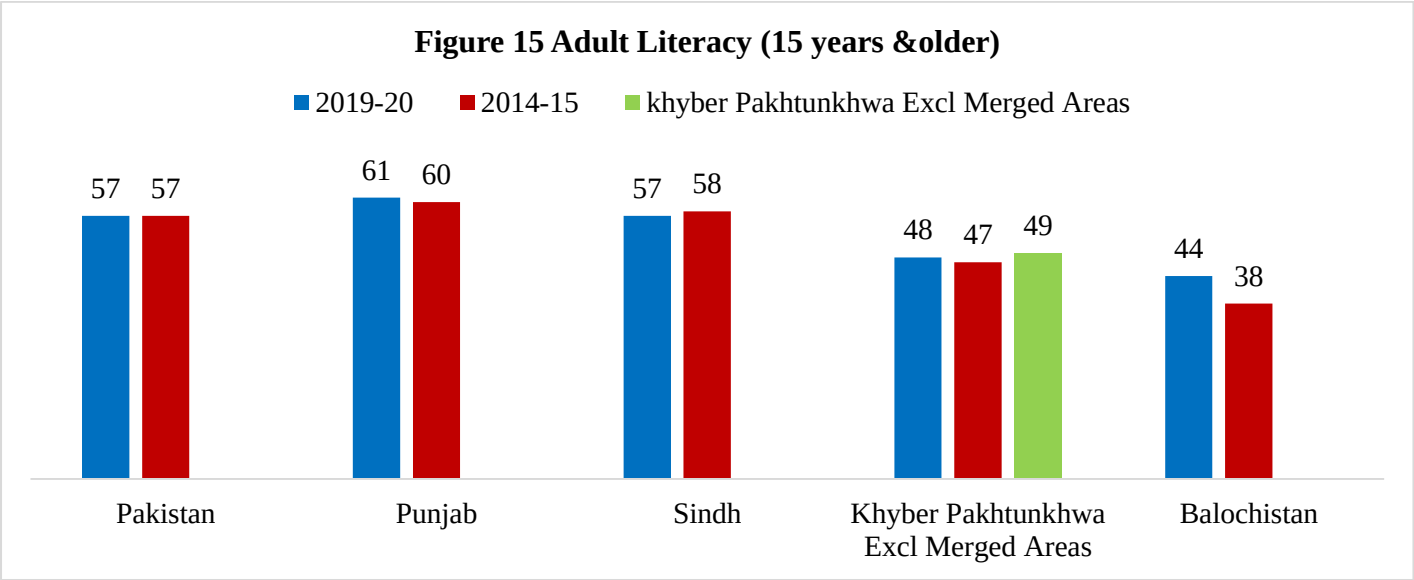

The adult literacy in capital city Islamabad is reported 84 percent. Similarly, district wise comparison reveals that Rawalpindi with 80 percent, Korangi with 83 percent, Abbottabad with 71 percent and Quetta with 63 percent are the top most districts in their respective provinces. However, Rajanpur with 37 percent, Tharparkar with 26 percent, Mohmand with 20 percent and Shaheed Sikandarabad with 11 percent are at bottom in their respective provinces.

2.6 Reasons for Leaving School before completing Primary level

This indicator a Reason for Leaving School before completing Primary level was not part of the PSLM District Level Surveys but for the first time, it is being calculated/data provided in PSLM District Level Survey 2019-20. According to the PSLM District Level Survey 2019-20, the results show that most cited reason for leaving school before completing primary level aged (5-16) years is "child not willing" with 36 percent as shown in figure 16. Secondly, the second highest reported reason for leaving school before completing primary level is "too expensive" with

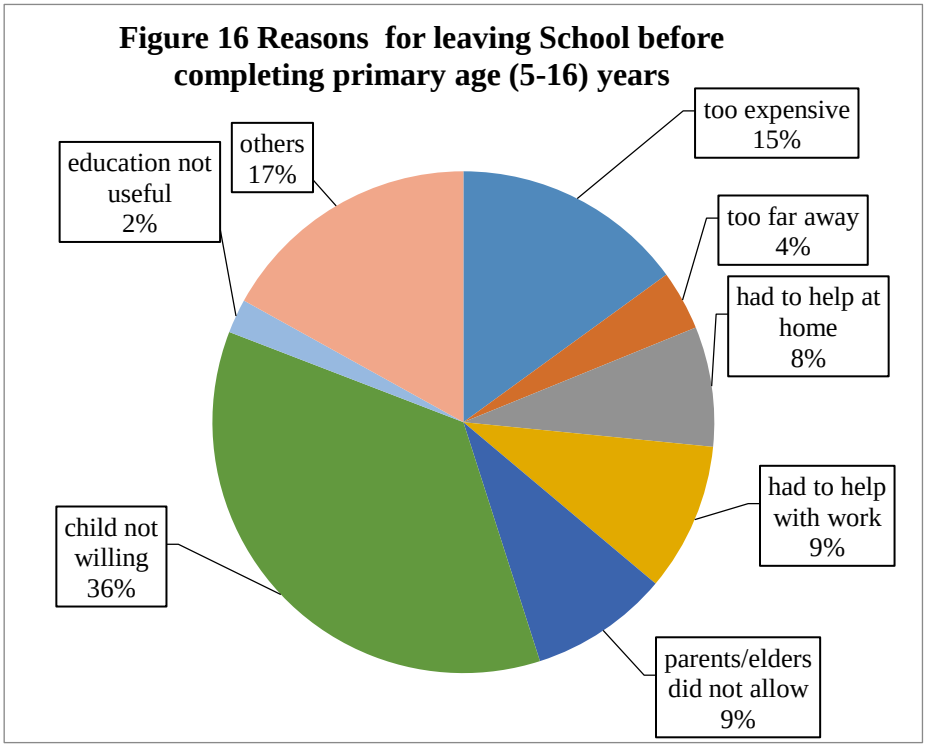

15 percent. Thirdly, 10 percent population reported that they had to help with work and 9 percent of the population reported reason for leaving school before completing Primary level is parents did not approve. Fourthly, “Too far away” and “education not useful” are the least reported reasons with 4 and 2 percent respectively.

TABLE 2.1 POPULATION THAT HAS EVER ATTENDED SCHOOL BY- PROVINCE AND DISTRICTS.

PROVINCE & DISTRICT	URBAN			RURAL			TOTAL			Rank
	MALE	FEMALE	TOTAL	MALE	FEMALE	TOTAL	MALE	FEMALE	TOTAL	
Pakistan	**79**	**67**	**73**	**65**	**39**	**52**	**70**	**50**	**60**	
Punjab	**81**	**72**	**77**	**68**	**50**	**59**	**73**	**58**	**66**	
Attock	86	69	77	82	55	68	83	59	71	10
Bahawalnager	71	56	64	62	41	52	64	44	54	28
Bahawalpur	77	66	71	55	33	44	63	43	53	32
Bhakhar	79	60	69	69	40	55	71	43	57	27
Chakwal	83	78	81	88	68	78	87	70	78	5
Chiniot	71	53	62	65	33	49	67	40	53	30
D.G.khan	76	57	66	56	25	41	60	31	46	35
Faisalabad	80	73	77	71	57	64	75	65	70	13
Gujranwala	82	80	81	73	67	70	78	75	77	9
Gujrat	82	78	80	82	72	76	82	73	78	7
Hafizabad	78	70	74	70	55	62	73	60	66	15
Islamabad	89	80	85	91	80	86	90	80	85	1
Jehlum	87	82	85	86	70	77	86	72	79	4
Jhang	83	75	79	73	45	59	76	53	64	19
Kasur	75	65	70	67	50	59	69	54	62	23
Khanewal	83	70	76	70	46	58	73	51	62	24
Khushab	82	59	70	77	41	58	78	46	61	25
Lahore	80	73	77				80	73	77	8
Layyah	83	65	74	76	49	63	77	52	65	18
Lodhran	82	61	72	60	38	50	64	42	54	29
Mandi Bahuddin	82	72	77	74	65	69	75	66	70	12
Mianwali	84	56	69	75	40	57	77	43	60	26
Multan	81	72	77	62	40	51	70	54	62	21
Muzaffar Garh	74	55	64	54	27	41	57	31	44	36
Nankana Sahib	75	62	69	71	58	65	72	59	66	17
Narowal	92	84	88	82	71	76	84	73	78	6
Okara	83	74	78	67	50	58	71	57	64	20
Pakpatten	76	63	70	61	40	50	63	43	53	31
Rahim Yar Khan	74	62	68	55	33	44	59	39	49	34
Rajanpur	77	56	67	46	21	34	51	27	40	
Rawalpindi	90	81	85	88	72	80	89	76	83	2
Sahiwal	81	71	76	68	50	59	70	54	62	22
Sargodha	86	74	80	74	54	64	78	60	68	14
Sheikhupura	71	65	68	70	60	65	70	62	66	16
Sialkot	85	86	86	82	78	80	83	80	81	3
T.T.Singh	87	76	82	75	59	67	78	63	70	11
Vehari	83	70	76	54	38	46	59	44	52	33

TABLE 2.1 POPULATION THAT HAS EVER ATTENDED SCHOOL BY- PROVINCE AND DISTRICTS.

PROVINCE & DISTRICT	URBAN			RURAL			TOTAL			Rank
	MALE	FEMALE	TOTAL	MALE	FEMALE	TOTAL	MALE	FEMALE	TOTAL	
Sindh	**77**	**63**	**71**	**49**	**19**	**35**	**65**	**44**	**55**	
Badin	66	40	54	39	13	27	46	20	34	24
Dadu	74	46	61	47	21	35	54	27	42	17
Ghotki	78	48	64	53	12	34	58	20	40	18
Hyderabad	72	63	68	63	31	48	71	58	65	6
Jaccobabad	79	51	67	42	14	29	53	24	40	19
Jamshoro	82	59	71	44	15	31	57	31	45	14
Karachi Central	83	77	80				83	77	80	2
Karachi East	84	75	80				84	75	80	3
Karachi Malir	76	61	69	65	47	57	71	55	64	7
Karachi South	79	70	75				79	70	75	4
Karachi West	73	59	67	42	30	36	72	58	65	5
Kashmore	59	18	40	40	11	26	44	13	29	26
Khairpur	71	44	58	59	24	42	63	30	47	12
Korangi	85	78	82				85	78	82	1
Larkana	66	33	51	40	12	27	52	22	38	21
Matiari	77	50	65	57	32	45	62	36	50	9
Mir Pur Khas	76	53	66	48	18	34	56	27	42	15
Nowshero Feroze	84	59	72	59	27	44	63	33	48	10
Sanghar	76	54	66	58	21	40	63	31	47	11
Shahdadkot	64	26	46	38	16	28	46	19	34	23
Shaheed Benazirabad	72	43	58	61	22	42	64	27	46	13
Shikarpur	77	51	65	42	15	29	51	24	38	22
Sujawal	62	31	47	36	15	26	38	16	28	27
Sukkur	80	58	70	56	19	39	67	37	53	8
Tando Allah Yar	66	49	58	49	20	35	54	29	42	16
Tando Muhd Khan	46	27	37	40	17	29	41	19	31	25
Tharparkar	56	19	40	40	11	27	41	12	28	28
Thatta	49	31	41	31	12	23	35	16	26	29
Umer Kot	77	43	61	49	14	33	56	21	40	20

TABLE 2.1 POPULATION THAT HAS EVER ATTENDED SCHOOL BY- PROVINCE AND DISTRICTS.

PROVINCE & DISTRICT	URBAN			RURAL			TOTAL			Rank
	MALE	FEMALE	TOTAL	MALE	FEMALE	TOTAL	MALE	FEMALE	TOTAL	
Khyber Pakhtunkhwa	**83**	**55**	**69**	**71**	**32**	**51**	**73**	**36**	**54**	
Abbottabad	94	78	86	86	63	74	88	66	77	1
Bajur				59	12	33	59	12	33	29
Bannu	78	70	74	74	26	51	74	27	52	16
Batagram				60	24	42	60	24	42	24
Bonair				68	25	45	68	25	45	20
Charsada	76	46	60	70	36	52	72	38	54	15
Chitral	86	55	71	73	44	59	74	45	60	7
D.I.Khan	75	52	64	55	17	38	59	25	44	21
Hangu	79	39	57	67	11	36	69	15	39	26
Haripur	92	77	84	81	58	69	83	61	71	2
Karak	92	35	65	85	36	63	85	36	63	4
Khyber	86	23	56	76	18	49	77	19	50	17
Kohat	88	62	74	76	30	51	78	35	55	13
Kohistan				60	4	32	60	4	32	30
Kurram				66	24	43	66	24	43	23
Lakki Marwat	92	66	79	77	25	52	78	29	55	14
Lower Dir	86	56	71	75	41	57	75	41	58	11
Malakand	56	48	52	78	51	65	76	51	63	3
Mansehra	90	66	79	76	46	60	77	47	62	5
Mardan	73	45	59	75	42	58	75	43	58	10
Mohmand				55	7	28	55	7	28	32
North Waziritan				70	5	43	70	5	43	22
Nowshera	80	53	67	72	41	57	74	44	59	8
Orakzai				75	17	46	75	17	46	18
Peshawar	84	57	71	71	35	54	77	45	61	6
Shangla				62	17	38	62	17	38	27
South Waziristan				55	10	36	55	10	36	28
Swabi	86	57	71	72	41	56	74	44	58	9
Swat	81	49	65	70	33	52	73	38	56	12
Tank	87	45	66	59	8	36	62	13	40	25
Tor Garh				60	9	31	60	9	31	31
Upper Dir	78	50	65	64	25	45	65	26	46	19

TABLE 2.1 POPULATION THAT HAS EVER ATTENDED SCHOOL BY- PROVINCE AND DISTRICTS.

PROVINCE & DISTRICT	URBAN			RURAL			TOTAL			Rank
	MALE	FEMALE	TOTAL	MALE	FEMALE	TOTAL	MALE	FEMALE	TOTAL	
Balochistan	**72**	**44**	**59**	**53**	**19**	**38**	**58**	**26**	**44**	
Awaran	52	28	43	26	6	18	29	8	20	24
Barkhan	64	40	52	35	6	23	39	12	28	22
Dera Bugti	36	14	26	15	1	9	20	5	14	28
Duki	76	12	46	57	1	31	59	2	33	19
Gwadar	85	49	68	62	25	45	77	41	60	1
Hernai	61	32	49	42	7	26	48	14	33	20
Jafarabad	67	37	53	40	9	25	49	18	35	18
Bolan	81	51	67	53	21	38	56	25	42	14
Kalat				47	13	31	47	13	31	21
Ketch	77	44	61	57	22	40	64	29	47	9
Kharan	82	46	66	64	23	45	68	28	50	8
Khuzdar				31	6	20	31	6	20	25
Kohlu	96	35	71	71	33	54	75	34	57	5
Lasbilla	55	33	46	61	28	46	58	31	46	11
Loralai	75	51	65	54	18	38	64	32	50	7
Mastung	88	50	70	69	23	49	73	29	53	6
Nasirabad	70	30	52	28	6	18	36	10	25	23
Nushki	88	50	69	75	31	55	78	35	58	3
Pashin	83	35	61	77	34	59	78	34	59	2
Qilla Abdullah	63	23	46	49	12	33	51	14	35	17
Qilla Saifullah				66	15	44	66	15	44	13
Quetta	74	52	64	66	33	51	70	41	57	4
Shaheed Sikandar Abad				24	2	14	24	2	14	26
Sherani				27	0	14	27	0	14	27
Sibbi	82	61	72	29	10	20	54	34	45	12
Sohbatpur	79	56	68	54	18	37	56	22	40	16
Washuk	39	2	20	64	40	53	60	33	47	10
Ziarat	71	41	58	55	20	40	55	20	40	15

TABLE 2.2 PERCENTAGE DISTRIBUTION OF POPULATION THAT HAS COMPLETED PRIMARY LEVEL OR HIGHER - BY PROVINCE & DISTRICTS

PROVINCE & DISTRICT	URBAN			RURAL			TOTAL			Rank
	MALE	FEMALE	TOTAL	MALE	FEMALE	TOTAL	MALE	FEMALE	TOTAL	
Pakistan	**70**	**60**	**65**	**53**	**31**	**42**	**60**	**42**	**51**	
Punjab	**71**	**65**	**68**	**57**	**41**	**49**	**62**	**50**	**56**	
Attock	76	63	69	73	47	60	74	51	62	11
Bahawalnager	60	49	54	48	32	40	50	35	43	30
Bahawalpur	65	57	61	39	24	31	48	34	41	33
Bhakhar	68	52	60	56	31	44	58	34	46	27
Chakwal	78	70	74	80	61	70	79	62	71	7
Chiniot	59	44	52	53	24	38	55	31	43	28
D.G.khan	65	47	56	43	19	31	47	24	36	36
Faisalabad	70	66	68	60	48	54	65	57	61	10
Gujranwala	72	72	72	60	56	58	67	65	66	8
Gujrat	73	71	72	72	64	68	72	66	69	6
Hafizabad	69	59	64	58	44	51	62	49	56	17
Islamabad	84	74	79	84	74	79	84	74	79	1
Jehlum	82	76	79	77	62	70	78	66	72	4
Jhang	72	62	67	58	33	46	61	41	51	25
Kasur	64	55	59	58	42	50	59	45	53	20
Khanewal	72	62	67	56	36	46	59	41	50	24
Khushab	72	53	62	65	33	49	67	39	52	22
Lahore	71	67	69				71	67	69	3
Layyah	71	58	65	61	38	49	63	41	52	18
Lodhran	70	52	62	48	28	38	52	32	42	29
Mandi Bahuddin	73	66	69	63	57	60	65	58	61	15
Mianwali	74	48	60	64	33	48	66	36	51	23
Multan	70	64	67	49	31	41	58	46	52	21
Muzaffar Garh	60	44	52	41	19	30	44	23	34	35
Nankana Sahib	65	55	60	63	50	56	63	51	57	12
Narowal	84	77	80	70	63	66	72	65	69	9
Okara	73	66	70	56	42	49	61	49	55	26
Pakpatten	67	56	62	48	30	39	51	34	43	31
Rahim Yar Khan	62	55	59	41	24	33	46	30	38	34
Rajanpur	63	50	57	34	15	25	39	21	30	37
Rawalpindi	81	73	77	78	64	71	80	69	74	2
Sahiwal	73	63	68	57	42	49	60	46	53	19
Sargodha	78	66	72	62	45	54	67	51	59	16
Sheikhupura	63	57	60	59	50	55	60	53	57	13
Sialkot	77	78	78	72	69	71	74	72	73	5
T.T.Singh	74	68	71	61	49	55	64	54	59	14
Vehari	71	60	65	44	30	37	49	35	42	32

TABLE 2.2 PERCENTAGE DISTRIBUTION OF POPULATION THAT HAS COMPLETED PRIMARY LEVEL OR HIGHER - BY PROVINCE & DISTRICTS

PROVINCE & DISTRICT	URBAN			RURAL			TOTAL			Rank
	MALE	FEMALE	TOTAL	MALE	FEMALE	TOTAL	MALE	FEMALE	TOTAL	
Sindh	**70**	**58**	**64**	**41**	**15**	**29**	**57**	**39**	**49**	
Badin	55	34	45	31	9	21	38	16	27	24
Dadu	67	42	55	40	17	30	47	23	36	15
Ghotki	70	45	58	46	9	29	51	17	35	17
Hyderabad	65	57	61	49	26	38	63	53	58	5
Jaccobabad	72	45	60	37	11	25	47	21	35	18
Jamshoro	72	55	64	34	12	24	47	28	38	13
Karachi Central	76	71	74				76	71	74	2
Karachi East	76	70	73				76	70	73	3
Karachi Malir	70	56	64	57	42	50	64	50	58	6
Karachi South	72	64	68				72	64	68	4
Karachi West	64	51	58	30	22	27	63	50	57	7
Kashmore	54	16	36	37	10	24	41	11	27	25
Khairpur	63	39	51	50	19	35	54	25	40	11
Korangi	79	73	76				79	73	76	1
Larkana	61	30	47	35	11	24	47	20	35	19
Matiari	66	41	54	47	26	37	52	30	41	10
Mir Pur Khas	67	47	58	39	14	27	46	23	36	16
Nowshero Feroze	78	54	66	51	22	37	56	27	42	9
Sanghar	68	47	58	47	17	32	53	26	40	12
Shahdadkot	59	24	42	32	12	23	41	16	29	23
Shaheed Benazirabad	59	37	48	50	17	34	53	22	38	14
Shikarpur	73	46	60	37	13	25	46	21	34	21
Sujawal	59	27	44	28	11	21	31	13	22	27
Sukkur	74	51	63	50	16	34	61	32	47	8
Tando Allah Yar	60	42	51	39	15	27	45	24	35	20
Tando Muhd Khan	44	23	34	33	13	24	35	15	26	26
Tharparkar	48	17	34	32	6	20	33	7	21	28
Thatta	39	26	34	24	8	17	27	12	20	29
Umer Kot	69	34	53	40	9	26	47	15	32	22

TABLE 2.2 PERCENTAGE DISTRIBUTION OF POPULATION THAT HAS COMPLETED PRIMARY LEVEL OR HIGHER - BY PROVINCE & DISTRICTS

PROVINCE & DISTRICT	URBAN			RURAL			TOTAL			Rank
	MALE	FEMALE	TOTAL	MALE	FEMALE	TOTAL	MALE	FEMALE	TOTAL	
Khyber Pakhtunkhwa	**71**	**46**	**59**	**57**	**24**	**40**	**59**	**28**	**43**	
Abbottabad	87	70	79	72	52	61	76	56	65	1
Bajur				33	6	18	33	6	18	32
Bannu	72	56	64	60	18	40	60	20	41	16
Batagram				45	14	30	45	14	30	25
Bonair				52	17	33	52	17	33	20
Charsada	63	36	49	56	25	40	57	28	42	15
Chitral	74	51	63	65	38	52	66	40	53	5
D.I.Khan	65	47	57	45	13	31	49	21	37	17
Hangu	69	32	49	51	8	27	53	11	30	24
Haripur	86	71	78	72	49	60	74	52	62	2
Karak	85	29	58	78	30	56	78	30	56	3
Khyber	47	8	28	56	9	34	55	9	33	21
Kohat	79	52	65	62	20	39	65	25	44	14
Kohistan				43	2	22	43	2	22	29
Kurram				46	16	29	46	16	29	26
Lakki Marwat	87	60	74	66	19	44	68	23	47	10
Lower Dir	76	51	64	61	31	45	61	31	46	12
Malakand	44	32	38	66	43	55	65	42	53	4
Mansehra	82	61	72	64	36	50	65	38	51	6
Mardan	61	34	47	62	31	46	62	31	46	11
Mohmand				37	3	18	37	3	18	31
North Waziritan				52	3	32	52	3	32	22
Nowshera	67	43	55	61	32	47	62	35	48	9
Orakzai				53	9	32	53	9	32	23
Peshawar	72	47	60	56	26	42	64	36	50	7
Shangla				44	9	25	44	9	25	28
South Waziristan				45	7	29	45	7	29	27
Swabi	75	49	62	62	32	46	64	35	49	8
Swat	71	40	56	55	24	39	60	29	44	13
Tank	78	35	56	51	5	31	54	9	34	19
Tor Garh				41	5	21	41	5	21	30
Upper Dir	67	45	57	49	18	34	50	19	35	18

TABLE 2.2 PERCENTAGE DISTRIBUTION OF POPULATION THAT HAS COMPLETED PRIMARY LEVEL OR HIGHER - BY PROVINCE & DISTRICTS

PROVINCE & DISTRICT	URBAN			RURAL			TOTAL			Rank
	MALE	FEMALE	TOTAL	MALE	FEMALE	TOTAL	MALE	FEMALE	TOTAL	
Balochistan	**61**	**37**	**50**	**42**	**14**	**30**	**47**	**21**	**36**	
Awaran	47	21	37	17	3	11	21	5	14	24
Barkhan	53	36	45	25	3	16	29	9	21	22
Dera Bugti	30	2	18	7	1	4	13	1	8	28
Duki	70	9	41	52	1	29	54	2	30	17
Gwadar	79	46	63	50	18	35	68	36	53	1
Hernai	52	27	42	33	5	20	39	11	27	20
Jafarabad	57	26	43	33	7	21	41	13	28	18
Bolan	70	35	54	41	14	29	45	17	32	14
Kalat				43	11	28	43	11	28	19
Ketch	69	33	52	51	19	35	57	23	41	7
Kharan	70	33	54	49	16	34	54	20	38	11
Khuzdar				20	3	13	20	3	13	25
Kohlu	73	26	54	67	33	51	68	32	52	2
Lasbilla	47	31	40	52	25	40	49	28	40	9
Loralai	55	37	48	44	12	30	49	23	38	10
Mastung	84	44	65	63	20	44	68	26	49	3
Nasirabad	58	23	43	21	4	14	29	8	19	23
Nushki	70	38	54	61	21	43	63	25	45	6
Pashin	70	31	51	61	24	45	62	25	46	5
Qilla Abdullah	42	15	31	33	5	21	34	6	22	21
Qilla Saifullah				49	7	31	49	7	31	15
Quetta	64	46	56	52	26	40	57	35	47	4
Shaheed Sikandar Abad				18	2	10	18	2	10	27
Sherani				25	0	12	25	0	12	26
Sibbi	69	49	59	25	8	17	46	28	37	12
Sohbatpur	62	53	58	46	15	31	47	18	34	13
Washuk	34	2	17	57	34	46	53	28	41	8
Ziarat	63	35	50	43	14	31	43	14	31	16

TABLE 2.3(a): GROSS ENROLMENT RATIO AT THE PRIMARY LEVEL (AGE 6-10)- BY PROVINCE & DISTRICT (EXCLUDING KATCHI CLASS)

PROVINCE & DISTRICT	URBAN			RURAL			TOTAL			RANK	TOTAL 2014-15
	MALE	FEMALE	TOTAL	MALE	FEMALE	TOTAL	MALE	FEMALE	TOTAL		
Pakistan	**93**	**89**	**91**	**88**	**73**	**81**	**89**	**78**	**84**		**91**
Punjab	**96**	**95**	**96**	**92**	**87**	**90**	**93**	**90**	**92**		**98**
Attock	113	92	103	107	105	106	109	102	105	6	111
Bahawalnager	89	78	83	85	80	82	86	79	82	32	86
Bahawalpur	103	99	101	79	74	77	85	80	83	31	69
Bhakhar	97	102	99	100	91	96	99	93	96	21	97
Chakwal	104	92	97	105	102	104	105	100	103	10	121
Chiniot	90	85	88	95	85	90	93	85	89	27	89
D.G.khan	111	96	104	83	64	75	87	69	79	33	88
Faisalabad	98	98	98	92	94	93	95	95	95	22	103
Gujranwala	92	95	94	99	104	102	95	99	97	20	108
Gujrat	95	103	99	102	103	102	100	103	101	11	107
Hafizabad	86	109	97	102	104	103	97	105	101	14	99
Islamabad	101	112	106	106	107	106	104	109	106	4	120
Jehlum	109	106	107	109	110	109	109	109	109	2	118
Jhang	98	104	101	105	91	98	103	94	99	15	89
Kasur	92	96	94	93	91	92	93	92	93	24	104
Khanewal	99	102	101	86	84	86	89	87	88	29	97
Khushab	103	91	97	107	105	106	106	101	103	8	103
Lahore	92	91	91	-	-	-	92	91	91	25	109
Layyah	112	99	106	117	103	110	116	102	109	1	121
Lodhran	95	99	97	71	75	73	75	79	77	34	83
Mandi Bahuddin	104	98	101	108	105	107	108	104	106	5	106
Mianwali	124	101	114	98	77	87	102	80	92	26	92
Multan	95	92	94	85	74	80	89	81	85	30	93
Muzaffar Garh	97	85	91	81	59	71	83	63	74	35	86
Nankana Sahib	101	89	96	94	103	98	95	101	98	18	105
Narowal	101	110	105	102	104	103	102	105	104	9	111
Okara	109	101	105	108	102	105	108	102	105	7	110
Pakpatten	97	104	100	101	96	98	100	97	99	17	98
Rahim Yar Khan	92	83	88	73	66	70	77	70	73	36	68
Rajanpur	94	91	93	68	48	59	72	54	64	37	77
Rawalpindi	98	100	99	108	103	105	103	101	102	13	114
Sahiwal	91	101	96	95	91	93	95	93	94	23	95
Sargodha	102	108	105	105	97	101	104	100	102	12	107
Sheikhupura	80	92	86	102	107	104	95	102	99	16	99
Sialkot	105	112	108	104	113	109	104	113	109	3	118
T.T.Singh	101	103	102	97	96	96	98	97	97	19	105
Vehari	96	103	99	86	87	87	88	90	89	28	92

TABLE 2.3(a): GROSS ENROLMENT RATIO AT THE PRIMARY LEVEL (AGE 6-10)- BY PROVINCE & DISTRICT (EXCLUDING KATCHI CLASS)

PROVINCE & DISTRICT	URBAN			RURAL			TOTAL			RANK	TOTAL 2014-15
	MALE	FEMALE	TOTAL	MALE	FEMALE	TOTAL	MALE	FEMALE	TOTAL		
Sindh	**86**	**80**	**83**	**71**	**47**	**60**	**78**	**62**	**71**		**79**
Badin	92	68	82	52	27	41	61	36	50	26	65
Dadu	104	97	101	95	74	85	97	79	88	3	100
Ghotki	98	75	88	75	38	58	79	43	63	19	61
Hyderabad	87	81	84	96	68	84	89	78	84	5	92
Jaccobabad	97	73	86	64	29	49	70	39	57	24	61
Jamshoro	105	82	93	72	58	66	80	66	74	11	79
Karachi Central	87	92	89	-	-	-	87	92	89	2	
Karachi East	87	80	84	-	-	-	87	80	84	6	
Karachi Malir	75	74	74	89	66	78	81	70	76	10	
Karachi South	90	88	89	-	-	-	90	88	89	1	
Karachi West	86	77	82	64	70	67	85	76	81	7	
Kashmore	75	71	73	46	27	37	52	35	44	29	53
Khairpur	76	55	66	71	48	61	73	50	62	20	82
Korangi	84	86	85	-	-	-	84	86	85	4	
Larkana	70	52	63	63	36	53	66	44	57	23	85
Matiari	119	78	95	72	60	66	81	64	73	12	70
Mir Pur Khas	98	88	93	70	34	52	76	46	61	21	73
Nowshero Feroze	105	96	100	77	76	77	81	79	80	8	90
Sanghar	96	88	92	75	42	60	80	53	67	16	69
Shahdadkot	86	72	81	64	51	59	70	58	66	18	74
Shaheed Banazirabad	102	93	98	87	52	70	90	62	77	9	79
Shikarpur	88	79	84	58	43	51	65	51	58	22	67
Sujawal	56	94	72	71	33	55	70	36	55	25	65
Sukkur	95	84	89	64	44	54	75	58	67	17	80
Tando Allah Yar	94	79	86	76	51	65	81	61	72	14	65
Tando Muhd Khan	34	40	37	61	39	51	55	40	48	27	51
Tharparkar	78	90	81	79	55	68	79	56	69	15	81
Thatta	72	77	74	49	26	39	53	35	46	28	57
Umer Kot	91	101	96	84	46	66	85	57	72	13	71

TABLE 2.3(a): GROSS ENROLMENT RATIO AT THE PRIMARY LEVEL (AGE 6-10)- BY PROVINCE & DISTRICT (EXCLUDING KATCHI CLASS)

PROVINCE & DISTRICT	URBAN			RURAL			TOTAL			RANK	TOTAL 2014-15
	MALE	FEMALE	TOTAL	MALE	FEMALE	TOTAL	MALE	FEMALE	TOTAL		
Khyber Pakhtunkhwa	**102**	**94**	**98**	**95**	**69**	**83**	**96**	**73**	**85**		**92**
Abbottabad	90	102	96	105	107	106	102	106	104	1	112
Bajur	-	-	-	81	29	57	81	29	57	29	
Bannu	65	89	75	83	56	70	83	57	70	25	80
Batagram	-	-	-	93	78	86	93	78	86	16	87
Bonair	-	-	-	103	73	89	103	73	89	14	97
Charsada	88	89	89	94	89	92	93	89	91	12	92
Chitral	115	116	115	92	85	89	95	87	92	10	98
D.I.Khan	92	77	85	81	49	68	83	55	71	24	73
Hangu	94	79	87	99	64	83	98	66	84	18	86
Haripur	114	104	110	98	97	97	100	97	99	3	108
Karak	100	91	96	90	82	87	91	83	87	15	99
Khyber	100	60	82	87	53	72	90	55	74	21	
Kohat	99	113	105	108	71	89	107	76	91	11	94
Kohistan	-	-	-	90	16	53	90	16	53	31	56
Kurram	-	-	-	89	52	72	89	52	72	23	
Lakki Marwat	87	90	88	92	55	75	91	57	76	20	78
Lower Dir	89	94	91	99	79	89	99	79	89	13	99
Malakand	71	95	83	109	91	100	103	92	98	5	103
Mansehra	106	75	91	103	96	100	104	95	100	2	98
Mardan	99	102	100	97	91	94	97	93	95	9	106
Mohmand	-	-	-	77	21	52	77	21	52	32	
North Waziritan	-	-	-	92	19	61	92	19	61	28	
Nowshera	108	102	105	103	84	93	104	87	96	8	101
Orakzai	-	-	-	107	60	85	107	60	85	17	
Peshawar	108	96	103	102	81	93	105	88	97	7	98
Shangla	-	-	-	86	57	72	86	57	72	22	68
South Waziristan	-	-	-	69	32	53	69	32	53	30	
Swabi	131	105	117	97	91	94	101	93	97	6	101
Swat	101	93	97	109	86	98	107	88	98	4	94
Tank	95	73	82	78	32	61	80	42	64	27	68
Tor Garh	-	-	-	98	26	64	98	26	64	26	67
Upper Dir	93	82	89	88	64	77	88	64	77	19	80

TABLE 2.3(a): GROSS ENROLMENT RATIO AT THE PRIMARY LEVEL (AGE 6-10)- BY PROVINCE & DISTRICT (EXCLUDING KATCHI CLASS)

PROVINCE & DISTRICT	URBAN			RURAL			TOTAL			RANK	TOTAL 2014-15
	MALE	FEMALE	TOTAL	MALE	FEMALE	TOTAL	MALE	FEMALE	TOTAL		
Balochistan	**93**	**77**	**85**	**81**	**49**	**67**	**84**	**56**	**72**		**73**
Awaran	42	78	59	76	61	70	72	63	69	13	64
Barkhan	127	75	100	108	27	71	110	34	75	10	78
Dera Bugti	46	53	50	57	27	46	55	36	47	25	33
Duki	100	17	62	69	8	45	72	9	46	26	
Gwadar	120	97	110	111	85	99	115	90	104	1	102
Hernai	75	68	72	51	24	39	58	34	48	24	45
Jafarabad	84	74	78	61	39	53	66	54	61	19	64
Bolan	102	132	115	70	40	57	73	49	63	18	58
Kalat	-	-	-	92	61	77	92	61	77	7	76
Ketch	104	103	104	88	63	77	94	77	86	4	.
Kharan	99	79	90	84	59	73	86	63	76	9	76
Khuzdar	-	-	-	79	40	62	79	40	62	17	86
Kohlu	120	120	120	53	36	47	66	53	62	21	66
Lasbilla	65	37	56	112	65	88	77	49	66	15	71
Loralai	144	105	123	110	43	81	121	69	96	2	94
Mastung	103	86	94	92	76	85	94	78	87	5	93
Nasirabad	70	82	74	46	24	39	50	35	45	27	57
Nushki	112	74	98	86	74	80	92	74	84	6	75
Pashin	110	67	92	85	57	72	89	58	75	11	68
Qilla Abdullah	67	40	55	73	23	50	72	26	51	23	45
Qilla Saifullah	-	-	-	90	35	67	90	35	67	14	60
Quetta	101	82	92	101	81	93	101	81	93	3	100
Shaheed Sikandar Abad	-	-	-	76	18	52	76	18	52	22	
Sherani	-	-	-	63	7	42	63	7	42	28	55
Sibbi	112	94	105	45	18	31	76	45	61	20	65
Sohbatpur	144	73	105	71	46	60	75	49	64	16	
Washuk	90	23	64	89	66	78	89	61	76	8	64
Ziarat	60	71	65	88	44	69	87	45	69	12	80

TABLE 2.3(b): GROSS ENROLMENT RATIO AT THE PRIMARY LEVEL (AGE 5-9)- BY PROVINCE & DISTRICT (EXCLUDING KATCHI CLASS)

PROVINCE & DISTRICT	URBAN			RURAL			TOTAL			RANK	TOTAL 14-15
	MALE	FEMALE	TOTAL	MALE	FEMALE	TOTAL	MALE	FEMALE	TOTAL		
Pakistan	**91**	**87**	**89**	**85**	**70**	**78**	**87**	**75**	**82**		**89**
Punjab	**95**	**94**	**95**	**90**	**85**	**88**	**92**	**88**	**90**		**97**
Attock	91	93	92	109	106	108	103	103	103	7	115
Bahawalnager	82	82	82	86	81	84	85	81	83	31	92
Bahawalpur	107	94	101	75	70	72	83	76	79	32	68
Bhakhar	87	94	90	98	94	96	97	94	95	21	98
Chakwal	94	106	101	105	97	102	104	99	101	10	119
Chiniot	93	81	87	90	77	83	91	78	84	29	85
D.G.khan	113	89	101	79	60	71	84	65	75	33	81
Faisalabad	98	94	96	92	93	93	95	94	94	22	98
Gujranwala	96	97	96	100	107	103	97	101	99	12	105
Gujrat	100	97	99	93	101	97	95	100	97	17	108
Hafizabad	79	112	93	100	104	102	92	106	99	14	98
Islamabad	100	106	103	108	108	108	104	108	106	5	115
Jehlum	115	117	116	114	114	114	114	115	114	1	88
Jhang	91	97	94	103	88	96	100	90	95	20	114
Kasur	89	100	93	92	87	90	91	90	90	23	106
Khanewal	99	95	97	84	83	83	86	85	86	27	98
Khushab	98	87	92	117	100	108	112	96	104	6	107
Lahore	90	90	90	-	-	-	90	90	90	24	105
Layyah	144	114	129	117	101	109	120	102	111	3	126
Lodhran	98	101	99	68	71	69	72	75	74	34	82
Mandi Bahuddin	114	84	98	102	96	99	104	94	99	13	108
Mianwali	121	98	111	94	73	84	99	77	88	26	96
Multan	97	90	93	84	74	79	89	80	84	28	91
Muzaffar Garh	94	82	87	77	55	67	79	59	70	36	83
Nankana Sahib	89	84	87	95	105	100	94	102	98	16	101
Narowal	108	125	116	105	106	106	106	108	107	4	112
Okara	109	105	107	103	99	101	105	101	103	8	113
Pakpatten	94	99	96	97	94	96	96	95	96	19	101
Rahim Yar Khan	91	90	91	70	62	67	74	67	71	35	67
Rajanpur	106	96	102	63	44	54	68	51	60	37	78
Rawalpindi	101	99	100	108	105	106	104	102	103	9	110
Sahiwal	86	101	93	92	85	89	91	88	89	25	102
Sargodha	96	99	97	102	98	100	100	98	99	11	105
Sheikhupura	75	85	81	100	111	105	92	102	97	18	103
Sialkot	106	121	113	110	113	111	109	115	112	2	121
T.T.Singh	103	104	103	99	94	96	100	96	98	15	104
Vehari	87	100	93	80	84	82	81	87	84	30	92

TABLE 2.3(b): GROSS ENROLMENT RATIO AT THE PRIMARY LEVEL (AGE 5-9)- BY PROVINCE & DISTRICT (EXCLUDING KATCHI CLASS)

PROVINCE & DISTRICT	URBAN			RURAL			TOTAL			RANK	TOTAL 14-15
	MALE	FEMALE	TOTAL	MALE	FEMALE	TOTAL	MALE	FEMALE	TOTAL		
Sindh	**84**	**77**	**81**	**67**	**44**	**57**	**75**	**59**	**67**		**79**
Badin	97	61	81	50	24	38	61	32	48	26	67
Dadu	96	84	90	84	62	73	87	67	77	7	87
Ghotki	99	63	82	71	37	56	75	41	59	20	61
Hyderabad	81	77	79	95	59	80	84	74	79	6	96
Jaccobabad	98	74	87	57	25	44	64	35	52	25	57
Jamshoro	109	82	96	69	51	61	78	61	70	10	75
Karachi Central	91	94	92	-	-	-	91	94	92	1	
Karachi East	89	80	85	-	-	-	89	80	85	3	
Karachi Malir	78	67	72	90	61	76	83	64	74	8	
Karachi South	89	87	88	-	-	-	89	87	88	2	
Karachi West	86	77	82	57	79	64	84	77	81	4	
Kashmore	63	56	60	38	23	31	43	30	37	29	51
Khairpur	75	55	66	67	47	58	69	49	60	19	74
Korangi	80	79	80	-	-	-	80	79	80	5	
Larkana	69	50	61	60	33	50	64	41	55	23	84
Matiari	112	79	93	66	57	61	74	62	68	12	71
Mir Pur Khas	108	83	95	69	34	52	77	46	61	18	67
Nowshero Feroze	89	89	89	68	71	70	71	74	72	9	82
Sanghar	91	84	88	74	40	58	78	50	65	16	69
Shahdadkot	63	53	60	61	51	58	62	52	58	21	70
Shaheed Baenazirabad	93	89	91	78	48	64	82	58	70	11	80
Shikarpur	84	76	80	59	40	50	64	48	57	22	64
Sujawal	60	80	69	71	32	54	71	34	54	24	70
Sukkur	88	81	84	62	41	52	72	55	64	17	79
Tando Allah Yar	77	75	76	73	46	61	74	56	66	15	66
Tando Muhd Khan	33	45	38	56	36	47	51	38	45	27	49
Tharparkar	84	52	71	79	52	66	79	52	67	13	80
Thatta	68	79	72	46	25	37	50	34	43	28	62
Umer Kot	83	95	89	75	42	60	77	53	66	14	65

TABLE 2.3(b): GROSS ENROLMENT RATIO AT THE PRIMARY LEVEL (AGE 5-9)- BY PROVINCE & DISTRICT (EXCLUDING KATCHI CLASS)

PROVINCE & DISTRICT	URBAN			RURAL			TOTAL			RANK	TOTAL 14-15
	MALE	FEMALE	TOTAL	MALE	FEMALE	TOTAL	MALE	FEMALE	TOTAL		
Khyber Pakhtunkhwa	**98**	**90**	**94**	**93**	**67**	**81**	**94**	**70**	**83**		**90**
Abbottabad	74	101	87	104	104	104	98	103	100	1	109
Bajur	-	-	-	82	29	57	82	29	57	29	
Bannu	82	86	84	84	59	72	84	59	72	22	81
Batagram	-	-	-	95	78	87	95	78	87	12	91
Bonair	-	-	-	100	67	84	100	67	84	16	91
Charsada	86	90	88	92	81	87	91	83	87	13	91
Chitral	124	100	115	88	74	81	91	76	85	15	100
D.I.Khan	86	66	76	77	43	62	79	48	65	27	71
Hangu	89	79	85	99	61	82	98	63	82	18	85
Haripur	105	107	106	95	98	96	96	98	97	2	108
Karak	107	100	104	102	77	90	102	78	91	10	96
Khyber	107	65	88	91	57	76	94	59	78	19	
Kohat	94	121	106	98	71	85	97	77	88	11	88
Kohistan	-	-	-	86	15	51	86	15	51	31	61
Kurram	-	-	-	88	48	69	88	48	69	24	
Lakki Marwat	89	87	88	94	55	76	93	57	77	20	77
Lower Dir	84	80	82	90	76	83	90	76	83	17	98
Malakand	79	113	94	104	84	94	100	87	94	5	93
Mansehra	115	86	102	102	89	96	103	89	96	3	105
Mardan	97	98	98	90	89	90	92	90	91	9	94
Mohmand	-	-	-	71	19	48	71	19	48	32	
North Waziritan	-	-	-	106	20	66	106	20	66	26	
Nowshera	102	98	100	103	80	91	103	84	93	7	101
Orakzai	-	-	-	116	57	86	116	57	86	14	
Peshawar	101	91	96	100	77	90	100	83	92	8	96
Shangla	-	-	-	82	56	70	82	56	70	23	66
South Waziristan	-	-	-	75	33	57	75	33	57	30	
Swabi	109	102	106	94	89	92	96	91	94	6	100
Swat	99	90	94	109	82	96	106	84	95	4	93
Tank	90	73	80	79	28	58	80	37	61	28	67
Tor Garh	-	-	-	102	27	66	102	27	66	25	69
Upper Dir	104	78	93	90	60	76	91	61	77	21	75

TABLE 2.3(b): GROSS ENROLMENT RATIO AT THE PRIMARY LEVEL (AGE 5-9)- BY PROVINCE & DISTRICT (EXCLUDING KATCHI CLASS)

PROVINCE & DISTRICT	URBAN			RURAL			TOTAL			RANK	TOTAL 14-15
	MALE	FEMALE	TOTAL	MALE	FEMALE	TOTAL	MALE	FEMALE	TOTAL		
Balochistan	**95**	**77**	**87**	**80**	**46**	**65**	**83**	**54**	**70**		**71**
Awaran	42	70	56	72	63	69	69	65	67	13	64
Barkhan	156	75	110	111	25	69	116	32	74	9	63
Dera Bugti	57	60	59	67	27	50	65	37	52	22	30
Duki	58	9	35	54	6	34	54	6	34	27	
Gwadar	126	92	110	107	82	96	114	86	102	1	94
Hernai	73	56	66	46	20	35	53	29	42	25	45
Jafarabad	71	87	79	59	33	49	62	52	58	20	58
Bolan	82	145	105	70	39	57	71	48	62	18	61
Kalat	-	-	-	88	57	73	88	57	73	11	77
Ketch	108	114	111	87	65	78	94	82	89	4	
Kharan	103	82	93	93	65	81	95	68	83	7	82
Khuzdar	-	-	-	81	38	61	81	38	61	19	85
Kohlu	133	100	120	60	41	54	74	56	68	12	65
Lasbilla	65	40	57	84	65	76	71	51	64	15	75
Loralai	117	107	112	101	37	73	106	64	87	5	90
Mastung	108	101	105	94	71	83	96	77	87	6	96
Nasirabad	74	69	72	42	20	35	47	29	41	26	55
Nushki	132	69	104	101	85	93	109	82	96	2	73
Pashin	113	57	86	83	58	72	88	58	74	10	65
Qilla Abdullah	71	36	54	71	24	50	71	26	51	24	42
Qilla Saifullah	-	-	-	86	32	63	86	32	63	16	59
Quetta	106	81	94	105	74	91	105	77	93	3	99
Shaheed Sikandar Abad	-	-	-	75	18	51	75	18	51	23	
Sherani	-	-	-	39	4	23	39	4	23	28	59
Sibbi	124	87	107	44	20	32	78	46	62	17	65
Sohbatpur	163	57	95	63	42	54	68	44	58	21	
Washuk	72	23	55	87	72	80	85	66	77	8	65
Ziarat	50	63	55	81	44	66	81	44	66	14	73

TABLE 2.4: GROSS ENROLMENT RATIO AT THE PRIMARY LEVEL (AGE 4-9)- BY PROVINCE & DISTRICT (INCLUDING KATCHI CLASS)

PROVINCE & DISTRICT	URBAN			RURAL			TOTAL		
	MALE	FEMALE	TOTAL	MALE	FEMALE	TOTAL	MALE	FEMALE	TOTAL
Pakistan	**101**	**96**	**99**	**88**	**73**	**81**	**92**	**80**	**87**
Punjab	**110**	**107**	**109**	**99**	**92**	**95**	**102**	**97**	**100**
Attock	109	100	105	110	110	110	110	108	109
Bahawalnager	92	92	92	93	85	89	92	86	90
Bahawalpur	120	114	117	91	83	87	98	91	95
Bhakhar	100	102	101	103	97	101	103	98	101
Chakwal	112	123	118	116	105	111	116	108	112
Chiniot	108	91	99	105	88	97	106	89	97
D.G.khan	109	103	106	86	60	74	89	67	79
Faisalabad	112	107	109	104	97	101	107	102	105
Gujranwala	116	114	115	116	120	118	116	116	116
Gujrat	122	104	113	112	112	112	114	110	112
Hafizabad	98	125	110	119	113	116	111	117	114
Islamabad	110	115	113	115	104	110	113	109	111
Jehlum	111	121	116	117	118	117	116	119	117
Jhang	109	113	111	112	96	104	111	100	106
Kasur	110	119	114	104	100	102	105	104	104
Khanewal	116	106	111	89	89	89	93	92	93
Khushab	112	101	106	117	105	111	116	104	110
Lahore	110	106	108	-	-	-	110	106	108
Layyah	132	97	114	120	112	115	121	110	115
Lodhran	107	100	103	70	70	70	75	75	75
Mandi Bahuddin	115	100	107	118	105	112	118	104	111
Mianwali	110	116	112	96	79	88	98	84	92
Multan	104	99	102	89	80	85	94	87	91
Muzaffar Garh	88	84	86	79	64	72	80	67	74
Nankana Sahib	112	95	105	106	111	108	107	109	108
Narowal	126	126	126	122	120	121	123	120	121
Okara	119	116	118	109	101	105	112	105	108
Pakpatten	99	103	101	94	92	93	94	93	94
Rahim Yar Khan	101	96	99	86	70	79	89	75	82
Rajanpur	115	98	107	66	50	59	73	56	65
Rawalpindi	111	112	112	120	117	119	116	114	115
Sahiwal	105	104	105	97	93	95	98	95	97
Sargodha	115	114	115	117	110	114	117	111	114
Sheikhupura	99	107	103	111	123	116	107	118	112
Sialkot	112	133	121	117	119	118	115	123	119
T.T.Singh	122	108	116	111	107	109	113	107	110
Vehari	101	117	108	81	83	82	85	88	86

TABLE 2.4: GROSS ENROLMENT RATIO AT THE PRIMARY LEVEL (AGE 4-9)- BY PROVINCE & DISTRICT (INCLUDING KATCHI CLASS)

PROVINCE & DISTRICT	URBAN			RURAL			TOTAL		
	MALE	FEMALE	TOTAL	MALE	FEMALE	TOTAL	MALE	FEMALE	TOTAL
Sindh	**90**	**82**	**86**	**61**	**41**	**52**	**74**	**59**	**67**
Badin	79	56	69	45	24	35	54	31	43
Dadu	83	73	78	70	55	63	73	59	66
Ghotki	88	64	77	64	34	50	68	38	54
Hyderabad	86	80	83	86	57	74	86	76	81
Jaccobabad	86	74	80	48	20	36	55	31	44
Jamshoro	106	64	83	61	46	55	71	52	63
Karachi Central	104	102	103	-	-	-	104	102	103
Karachi East	100	88	95	-	-	-	100	88	95
Karachi Malir	87	75	81	87	61	75	87	69	78
Karachi South	104	102	103	-	-	-	104	102	103
Karachi West	98	90	95	70	92	78	96	90	94
Kashmore	54	49	52	34	19	27	38	25	32
Khairpur	75	59	68	68	49	59	70	51	61
Korangi	92	85	89	-	-	-	92	85	89
Larkana	67	47	59	58	33	48	63	40	54
Matiari	106	73	87	63	56	60	71	60	65
Mir Pur Khas	93	79	86	60	28	44	67	39	53
Nowshero Feroze	82	85	83	65	66	65	67	69	68
Sanghar	90	80	85	70	39	56	75	48	62
Shahdadkot	75	58	69	56	45	52	62	50	58
Shaheed Benazirabad	100	82	92	73	53	64	79	60	70
Shikarpur	77	67	72	51	35	43	56	42	49
Sujawal	54	70	62	66	28	49	66	30	49
Sukkur	83	83	83	56	37	46	66	53	60
Tando Allah Yar	81	79	80	68	42	56	72	53	63
Tando Muhd Khan	32	39	35	49	30	40	46	32	39
Tharparkar	76	43	62	63	44	55	64	44	55
Thatta	79	68	74	44	25	36	50	33	43
Umer Kot	73	85	79	65	36	51	66	46	57

TABLE 2.4: GROSS ENROLMENT RATIO AT THE PRIMARY LEVEL (AGE 4-9)- BY PROVINCE & DISTRICT (INCLUDING KATCHI CLASS)

PROVINCE & DISTRICT	URBAN			RURAL			TOTAL		
	MALE	FEMALE	TOTAL	MALE	FEMALE	TOTAL	MALE	FEMALE	TOTAL
Khyber Pakhtunkhwa	**102**	**96**	**99**	**95**	**69**	**82**	**96**	**73**	**85**
Abbottabad	94	116	104	114	114	114	110	115	112
Bajur	-	-	-	89	33	62	89	33	62
Bannu	100	93	97	90	61	76	90	61	76
Batagram	-	-	-	88	69	79	88	69	79
Bonair	-	-	-	94	63	79	94	63	79
Charsada	105	105	105	99	89	94	100	91	96
Chitral	133	76	109	84	75	80	89	75	82
D.I.Khan	97	79	88	80	46	65	83	53	70
Hangu	91	75	84	88	55	73	88	57	74
Haripur	112	109	111	115	112	113	114	111	113
Karak	100	92	97	101	80	90	100	81	91
Khyber	109	81	97	98	61	81	100	64	84
Kohat	98	121	108	94	69	82	95	75	85
Kohistan	-	-	-	83	15	51	83	15	51
Kurram	-	-	-	102	56	79	102	56	79
Lakki Marwat	74	82	78	87	52	71	86	55	72
Lower Dir	96	88	92	88	76	82	88	76	82
Malakand	86	86	86	105	95	100	102	94	98
Mansehra	104	98	102	105	90	98	105	91	98
Mardan	107	99	104	102	102	102	103	101	102
Mohmand	-	-	-	83	22	55	83	22	55
North Waziritan	-	-	-	100	23	65	100	23	65
Nowshera	105	94	100	102	85	94	103	87	95
Orakzai	-	-	-	105	56	81	105	56	81
Peshawar	106	98	102	100	76	89	102	85	94
Shangla	-	-	-	87	58	74	87	58	74
South Waziristan	-	-	-	70	35	55	70	35	55
Swabi	97	97	97	93	85	89	93	87	90
Swat	93	92	92	97	72	85	96	78	87
Tank	100	94	97	86	48	69	87	57	74
Tor Garh	-	-	-	96	25	61	96	25	61
Upper Dir	100	70	86	89	61	75	89	61	76

TABLE 2.4: GROSS ENROLMENT RATIO AT THE PRIMARY LEVEL (AGE 4-9)- BY PROVINCE & DISTRICT (INCLUDING KATCHI CLASS)

PROVINCE & DISTRICT	URBAN			RURAL			TOTAL		
	MALE	FEMALE	TOTAL	MALE	FEMALE	TOTAL	MALE	FEMALE	TOTAL
Balochistan	**89**	**70**	**80**	**73**	**43**	**60**	**77**	**50**	**65**
Awaran	33	73	51	61	55	59	58	58	58
Barkhan	100	53	74	92	21	57	93	26	59
Dera Bugti	45	55	50	58	23	43	55	32	45
Duki	57	18	40	49	5	30	50	6	31
Gwadar	115	89	103	99	71	86	105	79	93
Hernai	74	50	64	44	20	33	52	27	41
Jafarabad	66	82	74	52	28	42	56	45	51
Bolan	98	134	112	64	41	54	68	49	59
Kalat	-	-	-	76	48	63	76	48	63
Ketch	115	93	104	77	57	69	89	70	80
Kharan	96	113	104	90	68	81	91	76	85
Khuzdar	-	-	-	68	33	52	68	33	52
Kohlu	120	86	106	57	35	49	69	47	61
Lasbilla	66	30	53	79	68	74	71	46	61
Loralai	106	104	105	90	35	66	96	61	80
Mastung	92	112	102	83	62	73	84	71	78
Nasirabad	66	55	62	37	16	29	41	23	34
Nushki	134	104	121	107	82	95	113	87	101
Pashin	128	83	106	105	74	91	108	76	93
Qilla Abdullah	63	35	49	62	21	44	63	24	45
Qilla Saifullah	-	-	-	77	34	58	77	34	58
Quetta	94	72	84	93	67	82	93	69	82
Shaheed Sikandar Abad	-	-	-	66	15	44	66	15	44
Sherani	-	-	-	50	3	29	50	3	29
Sibbi	112	88	100	45	19	32	75	48	62
Sohbatpur	130	42	72	53	41	48	56	41	50
Washuk	60	18	45	69	66	68	67	61	64
Ziarat	44	78	56	80	42	64	80	43	64

TABLE 2.5: GROSS ENROLMENT RATIO FOR GOVERNMENT PRIMARY SCHOOLS (AGE 5-9)- BY PROVINCE & DISTRICT (EXCLUDING KATCHI CLASS)

PROVINCE & DISTRICT	URBAN			RURAL			TOTAL		
	MALE	FEMALE	TOTAL	MALE	FEMALE	TOTAL	MALE	FEMALE	TOTAL
Pakistan	**40**	**39**	**40**	**63**	**52**	**58**	**56**	**48**	**52**
Punjab	**39**	**41**	**40**	**61**	**59**	**60**	**54**	**53**	**53**
Attock	30	33	31	77	84	80	63	71	67
Bahawalnager	36	36	36	74	70	72	65	62	64
Bahawalpur	38	31	35	46	43	44	44	40	42
Bhakhar	63	47	55	84	79	81	81	74	78
Chakwal	28	44	37	71	75	73	65	70	68
Chiniot	62	56	59	67	62	65	66	60	63
D.G.khan	58	49	53	58	44	52	58	45	52
Faisalabad	39	42	41	65	68	67	53	56	55
Gujranwala	27	32	30	56	69	62	39	48	44
Gujrat	36	40	38	45	65	54	42	58	50
Hafizabad	51	61	55	76	79	77	67	73	69
Islamabad	32	41	36	28	31	29	30	36	32
Jehlum	66	58	62	79	90	84	76	82	79
Jhang	33	35	34	78	67	73	67	60	64
Kasur	31	38	34	51	52	51	46	49	48
Khanewal	55	57	56	65	61	63	63	61	62
Khushab	48	55	52	98	82	90	84	75	79
Lahore	34	35	34	-	-	-	34	35	34
Layyah	87	86	87	82	86	84	82	86	84
Lodhran	26	39	32	43	43	43	41	42	41
Mandi Bahuddin	47	31	39	64	59	61	62	54	58
Mianwali	68	56	63	66	46	56	67	48	57
Multan	47	47	47	52	45	49	50	46	48
Muzaffar Garh	49	48	48	49	33	42	49	35	43
Nankana Sahib	32	39	35	67	65	66	61	62	61
Narowal	25	45	34	59	68	64	55	66	60
Okara	62	63	62	81	80	80	75	76	75
Pakpatten	45	59	51	76	70	73	72	68	70
Rahim Yar Khan	53	50	52	58	52	55	57	52	54
Rajanpur	79	75	77	49	35	42	53	40	47
Rawalpindi	35	40	37	55	60	57	45	49	47
Sahiwal	33	54	43	72	69	71	64	67	65
Sargodha	41	38	40	69	76	73	61	66	64
Sheikhupura	27	27	27	48	64	55	41	51	46
Sialkot	31	41	35	49	56	53	44	52	48
T.T.Singh	52	55	53	74	70	72	69	67	68
Vehari	34	44	38	62	65	63	57	62	59

TABLE 2.5: GROSS ENROLMENT RATIO FOR GOVERNMENT PRIMARY SCHOOLS (AGE 5-9)- BY PROVINCE & DISTRICT (EXCLUDING KATCHI CLASS)

PROVINCE & DISTRICT	URBAN			RURAL			TOTAL		
	MALE	FEMALE	TOTAL	MALE	FEMALE	TOTAL	MALE	FEMALE	TOTAL
Sindh	**37**	**33**	**35**	**58**	**35**	**48**	**49**	**34**	**42**
Badin	80	54	68	46	22	35	54	29	42
Dadu	63	72	67	64	45	54	64	50	57
Ghotki	60	42	51	56	29	44	56	31	45
Hyderabad	34	37	35	88	56	74	45	40	43
Jaccobabad	56	38	48	54	24	41	54	27	43
Jamshoro	39	17	28	60	47	55	55	37	48
Karachi Central	25	26	26	-	-	-	25	26	26
Karachi East	23	22	22	-	-	-	23	22	22
Karachi Malir	29	23	26	45	30	38	36	26	31
Karachi South	25	25	25	-	-	-	25	25	25
Karachi West	26	23	25	26	19	23	26	23	25
Kashmore	51	52	51	32	22	28	36	28	32
Khairpur	47	39	43	50	31	42	49	33	42
Korangi	18	14	16	-	-	-	18	14	16
Larkana	56	41	50	60	32	49	58	37	50
Matiari	89	54	69	59	54	57	65	54	59
Mir Pur Khas	76	61	68	62	29	46	65	37	51
Nowshero Feroze	82	72	78	64	54	60	67	57	62
Sanghar	51	49	50	61	32	48	59	36	48
Shahdadkot	63	52	59	59	30	50	61	39	53
Shaheed Benazirabad	73	49	62	72	44	59	72	45	60
Shikarpur	62	63	63	55	26	41	57	35	46
Sujawal	47	80	62	69	31	52	68	33	53
Sukkur	51	37	44	57	36	46	55	36	46
Tando Allah Yar	39	46	42	63	40	53	56	42	49
Tando Muhd Khan	29	26	28	54	33	45	48	32	41
Tharparkar	56	40	50	66	51	59	65	51	59
Thatta	62	72	65	38	19	30	42	28	36
Umer Kot	62	73	67	73	40	58	71	47	60

TABLE 2.5: GROSS ENROLMENT RATIO FOR GOVERNMENT PRIMARY SCHOOLS (AGE 5-9)- BY PROVINCE & DISTRICT (EXCLUDING KATCHI CLASS)

PROVINCE & DISTRICT	URBAN			RURAL			TOTAL		
	MALE	FEMALE	TOTAL	MALE	FEMALE	TOTAL	MALE	FEMALE	TOTAL
Khyber Pakhtunkhwa	**44**	**46**	**45**	**71**	**53**	**62**	**67**	**52**	**60**
Abbottabad	22	21	21	74	82	78	63	69	66
Bajur	-	-	-	66	26	47	66	26	47
Bannu	57	79	67	72	52	62	71	53	63
Batagram	-	-	-	66	56	62	66	56	62
Bonair	-	-	-	84	57	71	84	57	71
Charsada	37	46	41	61	61	61	57	59	58
Chitral	79	64	73	75	66	71	76	65	71
D.I.Khan	60	41	51	61	39	51	61	39	51
Hangu	32	42	36	84	53	70	78	52	66
Haripur	30	46	37	60	71	65	57	69	63
Karak	79	80	79	87	69	79	87	70	79
Khyber	107	65	88	87	54	72	91	56	75
Kohat	45	82	61	70	61	66	67	64	65
Kohistan	-	-	-	84	15	50	84	15	50
Kurram	-	-	-	59	34	47	59	34	47
Lakki Marwat	44	74	57	86	50	69	82	51	68
Lower Dir	79	60	69	76	65	71	76	65	71
Malakand	63	113	86	80	65	72	78	70	74
Mansehra	27	18	23	80	72	76	78	70	74
Mardan	66	69	67	59	62	60	60	63	61
Mohmand	-	-	-	53	15	36	53	15	36
North Waziritan	-	-	-	76	13	47	76	13	47
Nowshera	43	54	48	67	60	64	61	59	60
Orakzai	-	-	-	103	52	77	103	52	77
Peshawar	28	32	30	57	47	52	45	40	43
Shangla	-	-	-	67	49	59	67	49	59
South Waziristan	-	-	-	61	29	47	61	29	47
Swabi	56	60	58	70	72	71	68	70	69
Swat	48	56	52	84	60	73	76	59	67
Tank	33	43	39	72	26	53	68	30	51
Tor Garh	-	-	-	100	25	64	100	25	64
Upper Dir	75	50	64	83	54	69	82	54	69

TABLE 2.5: GROSS ENROLMENT RATIO FOR GOVERNMENT PRIMARY SCHOOLS (AGE 5-9)- BY PROVINCE & DISTRICT (EXCLUDING KATCHI CLASS)

PROVINCE & DISTRICT	URBAN			RURAL			TOTAL		
	MALE	FEMALE	TOTAL	MALE	FEMALE	TOTAL	MALE	FEMALE	TOTAL
Balochistan	**71**	**58**	**65**	**70**	**42**	**58**	**70**	**46**	**59**
Awaran	42	70	56	72	63	69	69	65	67
Barkhan	111	67	86	106	20	64	107	27	67
Dera Bugti	52	60	57	66	27	50	63	37	51
Duki	58	9	35	36	4	23	38	4	24
Gwadar	109	84	97	106	81	95	107	82	96
Hernai	58	49	54	43	20	33	47	27	38
Jafarabad	54	62	58	53	30	44	54	41	48
Bolan	56	131	83	58	34	48	58	42	51
Kalat	-	-	-	87	57	73	87	57	73
Ketch	104	110	107	82	59	72	89	77	84
Kharan	82	56	70	93	65	81	91	64	79
Khuzdar	-	-	-	80	37	60	80	37	60
Kohlu	122	100	113	35	24	32	52	43	49
Lasbilla	39	25	35	80	60	71	52	40	48
Loralai	74	62	68	86	32	62	82	43	65
Mastung	58	84	72	87	67	77	82	70	76
Nasirabad	63	49	57	40	20	33	44	25	37
Nushki	99	61	82	100	85	93	100	80	90
Pashin	102	52	78	67	52	60	72	52	63
Qilla Abdullah	61	32	47	59	23	43	59	25	44
Qilla Saifullah	-	-	-	82	30	60	82	30	60
Quetta	68	50	59	79	61	71	75	56	66
Shaheed Sikandar Abad	-	-	-	75	18	51	75	18	51
Sherani	-	-	-	36	4	21	36	4	21
Sibbi	112	83	99	43	19	31	72	44	58
Sohbatpur	138	36	73	61	41	53	65	40	54
Washuk	72	15	53	86	72	80	84	65	76
Ziarat	42	63	50	65	39	55	65	40	55

TABLE 2.6(a): NET ENROLMENT RATE AT THE PRIMARY LEVEL (AGE 6-10)- BY PROVINCE & DISTRICT (EXCLUDING KATCHI CLASS)

PROVINCE & DISTRICT	URBAN			RURAL			TOTAL			RANK	TOTAL 14-15
	MALE	FEMALE	TOTAL	MALE	FEMALE	TOTAL	MALE	FEMALE	TOTAL		
Pakistan	**71**	**69**	**70**	**67**	**56**	**62**	**68**	**60**	**64**		**67**
Punjab	**73**	**74**	**73**	**70**	**66**	**68**	**71**	**69**	**70**		**70**
Attock	83	76	80	83	83	83	83	81	82	5	86
Bahawalnager	67	68	68	62	62	62	63	64	63	31	59
Bahawalpur	75	72	74	57	57	57	62	61	61	33	50
Bhakhar	68	82	74	76	68	72	75	70	72	20	70
Chakwal	70	81	76	84	80	83	83	80	82	6	89
Chiniot	68	65	67	72	65	69	71	65	68	27	68
D.G.khan	91	81	86	70	52	62	73	57	66	28	64
Faisalabad	74	76	75	70	71	71	72	73	73	19	78
Gujranwala	69	71	70	71	74	73	70	72	71	21	75
Gujrat	71	82	76	78	83	80	76	82	79	9	80
Hafizabad	69	77	73	75	79	77	73	78	75	16	70
Islamabad	82	92	86	93	91	92	88	92	89	2	90
Jehlum	93	93	93	91	87	89	91	88	90	1	91
Jhang	77	76	77	75	73	74	75	74	75	17	69
Kasur	69	73	71	70	69	69	70	70	70	23	68
Khanewal	73	74	74	65	63	64	67	65	66	29	69
Khushab	76	74	75	81	77	79	80	76	78	10	70
Lahore	68	70	69				68	70	69	26	76
Layyah	81	86	83	89	82	86	88	83	85	4	87
Lodhran	66	71	68	49	48	49	52	52	52	37	60
Mandi Bahuddin	80	80	80	75	76	76	76	77	76	14	81
Mianwali	89	75	83	74	60	67	76	63	70	25	70
Multan	72	68	70	63	53	58	66	59	63	32	66
Muzaffar Garh	76	71	73	62	47	55	64	50	58	34	61
Nankana Sahib	73	59	67	73	77	75	73	75	74	18	77
Narowal	79	89	84	78	80	79	78	81	79	8	82
Okara	84	76	81	80	80	80	81	79	80	7	81
Pakpatten	76	79	77	78	75	76	78	75	77	13	73
Rahim Yar Khan	70	67	68	53	49	51	56	52	54	35	50
Rajanpur	79	85	82	53	40	47	57	47	52	36	52
Rawalpindi	74	77	75	81	79	80	78	78	78	11	78
Sahiwal	70	79	75	73	64	69	73	67	70	24	73
Sargodha	79	82	81	75	77	76	76	79	78	12	71
Sheikhupura	57	66	62	71	76	74	67	73	70	22	74
Sialkot	90	87	89	84	87	85	86	87	86	3	85
T.T.Singh	82	80	81	73	75	74	75	76	75	15	76
Vehari	78	73	76	64	63	64	66	65	66	30	69

TABLE 2.6(a): NET ENROLMENT RATE AT THE PRIMARY LEVEL (AGE 6-10)- BY PROVINCE & DISTRICT (EXCLUDING KATCHI CLASS)

PROVINCE & DISTRICT	URBAN			RURAL			TOTAL			RANK	TOTAL 14-15
	MALE	FEMALE	TOTAL	MALE	FEMALE	TOTAL	MALE	FEMALE	TOTAL		
Sindh	**66**	**62**	**65**	**55**	**38**	**47**	**60**	**49**	**55**		**61**
Badin	77	49	65	39	18	30	48	25	38	27	46
Dadu	85	88	86	81	69	75	82	73	77	1	81
Ghotki	78	61	71	55	30	44	59	34	47	23	49
Hyderabad	70	63	66	64	49	58	68	60	65	6	64
Jaccobabad	81	61	71	57	25	44	62	33	49	22	47
Jamshoro	74	70	72	55	53	54	60	58	59	9	62
Karachi Central	66	70	68				66	70	68	2	
Karachi East	64	61	63				64	61	63	7	
Karachi Malir	61	51	57	56	50	54	59	51	55	11	
Karachi South	67	68	67				67	68	67	3	
Karachi West	63	57	60	44	44	44	61	57	59	8	
Kashmore	67	67	67	40	24	32	45	32	39	26	42
Khairpur	63	47	56	57	40	49	59	42	51	19	67
Korangi	63	68	65				63	68	65	5	
Larkana	64	44	56	56	33	47	60	38	52	17	65
Matiari	71	60	65	49	49	49	53	52	52	16	52
Mir Pur Khas	75	69	72	49	27	38	55	37	46	24	53
Nowshero Feroze	85	85	85	61	65	63	64	68	66	4	71
Sanghar	72	62	67	55	31	44	59	38	50	21	52
Shahdadkot	67	61	65	55	42	51	59	48	55	12	58
Shaheed Benazirabad	70	73	71	68	40	55	69	48	59	10	64
Shikarpur	78	71	75	48	38	43	54	46	50	20	51
Sujawal	56	59	57	56	25	43	56	26	43	25	48
Sukkur	71	68	70	50	35	43	58	47	53	15	63
Tando Allah Yar	66	66	66	53	34	45	57	45	51	18	47
Tando Muhd Khan	31	28	30	45	28	37	42	28	36	28	35
Tharparkar	71	70	71	61	43	53	62	44	54	14	54
Thatta	52	49	51	33	19	27	36	24	31	29	36
Umer Kot	78	73	76	58	38	49	62	45	54	13	52

TABLE 2.6(a): NET ENROLMENT RATE AT THE PRIMARY LEVEL (AGE 6-10)- BY PROVINCE & DISTRICT (EXCLUDING KATCHI CLASS)

PROVINCE & DISTRICT	URBAN			RURAL			TOTAL			RANK	TOTAL 14-15
	MALE	FEMALE	TOTAL	MALE	FEMALE	TOTAL	MALE	FEMALE	TOTAL		
Khyber Pakhtunkhwa	**78**	**72**	**75**	**71**	**53**	**63**	**72**	**56**	**65**		**71**
Abbottabad	73	85	79	81	84	82	79	84	82	1	81
Bajur				50	20	36	50	20	36	31	
Bannu	60	62	61	66	45	56	66	45	56	21	64
Batagram				65	51	59	65	51	59	20	60
Bonair				81	62	72	81	62	72	11	78
Charsada	71	73	72	72	70	71	72	71	71	12	75
Chitral	71	84	75	70	65	68	70	66	68	14	76
D.I.Khan	64	63	63	60	39	52	61	44	54	23	52
Hangu	78	62	71	74	56	66	75	57	67	16	70
Haripur	89	86	88	77	74	76	79	75	77	3	81
Karak	87	73	81	76	68	72	76	68	73	9	74
Khyber	53	48	51	64	41	54	62	42	53	24	
Kohat	77	79	78	83	57	70	82	60	71	13	74
Kohistan				59	12	36	59	12	36	32	37
Kurram				58	38	48	58	38	48	26	
Lakki Marwat	78	69	74	75	42	60	75	44	61	17	63
Lower Dir	56	71	63	71	62	67	71	62	67	15	72
Malakand	57	84	70	80	72	76	77	74	75	5	81
Mansehra	86	65	76	80	73	77	80	73	77	4	74
Mardan	80	74	77	75	68	71	76	69	72	10	83
Mohmand				58	18	40	58	18	40	29	
North Waziritan				65	18	45	65	18	45	27	
Nowshera	84	73	79	82	66	74	83	67	75	6	79
Orakzai				73	46	60	73	46	60	19	
Peshawar	83	74	79	81	59	71	82	66	75	7	77
Shangla				55	41	48	55	41	48	25	44
South Waziristan				47	26	38	47	26	38	30	
Swabi	99	83	90	82	73	78	83	75	79	2	80
Swat	77	69	72	80	65	73	80	66	73	8	77
Tank	70	63	66	66	28	51	66	37	54	22	48
Tor Garh				66	17	43	66	17	43	28	46
Upper Dir	89	76	84	66	51	59	68	53	61	18	56

TABLE 2.6(a): NET ENROLMENT RATE AT THE PRIMARY LEVEL (AGE 6-10)- BY PROVINCE & DISTRICT (EXCLUDING KATCHI CLASS)

PROVINCE & DISTRICT	URBAN			RURAL			TOTAL			RANK	TOTAL 14-15
	MALE	FEMALE	TOTAL	MALE	FEMALE	TOTAL	MALE	FEMALE	TOTAL		
Balochistan	70	61	66	63	40	53	65	45	56		**56**
Awaran	37	72	54	71	56	65	67	58	64	5	59
Barkhan	91	75	83	81	19	53	83	28	57	11	55
Dera Bugti	42	53	48	56	26	44	53	35	45	20	28
Duki	71	17	46	60	7	39	61	7	39	23	
Gwadar	97	84	91	89	70	80	92	76	85	1	82
Hernai	66	59	63	30	17	25	40	27	35	28	30
Jafarabad	61	60	61	56	30	47	57	43	51	14	49
Bolan	87	61	76	45	25	36	48	28	40	21	45
Kalat				76	48	63	76	48	63	8	62
Ketch	95	87	91	76	55	67	82	67	75	2	
Kharan	78	51	65	69	52	62	70	52	62	9	56
Khuzdar				65	38	53	65	38	53	12	67
Kohlu	100	80	93	39	29	36	51	40	47	18	46
Lasbilla	47	33	42	59	50	54	50	40	46	19	47
Loralai	56	68	62	87	28	62	77	45	62	10	69
Mastung	86	75	80	74	65	70	76	67	72	4	80
Nasirabad	52	60	54	39	17	32	41	25	36	27	39
Nushki	92	50	76	61	59	60	68	57	63	7	56
Pashin	68	44	58	53	42	48	55	42	49	17	42
Qilla Abdullah	51	33	43	50	18	36	50	21	37	26	36
Qilla Saifullah				68	25	50	68	25	50	16	54
Quetta	77	66	72	79	67	74	78	67	73	3	72
Shaheed Sikandar Abad				57	14	39	57	14	39	24	
Sherani				59	6	39	59	6	39	25	44
Sibbi	73	58	66	33	13	22	51	28	40	22	46
Sohbatpur	78	64	70	58	38	49	59	40	51	15	
Washuk	75	23	55	72	56	64	73	52	63	6	56
Ziarat	40	57	47	62	37	52	62	37	52	13	57

TABLE 2.6(b): NET ENROLMENT RATE AT THE PRIMARY LEVEL (AGE 5-9)- BY PROVINCE & DISTRICT (EXCLUDING KATCHI CLASS)

PROVINCE & DISTRICT	URBAN			RURAL			TOTAL			RANK	TOTAL 14-15
	MALE	FEMALE	TOTAL	MALE	FEMALE	TOTAL	MALE	FEMALE	TOTAL		
Pakistan	**56**	**55**	**56**	**52**	**45**	**49**	**54**	**48**	**51**		**57**
Punjab	**58**	**60**	**59**	**55**	**54**	**54**	**56**	**56**	**56**		**61**
Attock	59	61	60	72	69	70	68	67	67	5	68
Bahawalnager	57	60	58	51	54	52	53	55	54	28	54
Bahawalpur	61	57	59	43	45	44	48	48	48	33	40
Bhakhar	51	69	59	60	58	59	58	59	59	18	59
Chakwal	53	64	59	69	65	67	67	65	66	7	82
Chiniot	50	51	51	59	53	56	57	53	55	23	58
D.G.khan	80	61	70	54	43	49	58	46	53	30	57
Faisalabad	62	59	60	58	61	59	60	60	60	16	65
Gujranwala	54	58	56	55	62	58	54	60	57	21	62
Gujrat	54	62	58	59	66	62	58	65	61	13	67
Hafizabad	50	60	55	58	60	59	55	60	57	19	61
Islamabad	69	71	70	77	76	77	74	74	74	2	82
Jehlum	74	76	75	78	72	75	77	73	75	1	78
Jhang	64	66	65	61	57	59	61	59	60	15	57
Kasur	54	59	56	56	54	55	55	55	55	22	62
Khanewal	63	56	60	54	53	54	55	54	55	24	59
Khushab	55	63	59	67	62	64	64	62	63	11	64
Lahore	52	56	54				52	56	54	26	63
Layyah	72	87	80	73	66	69	73	68	70	4	82
Lodhran	59	59	59	39	39	39	42	42	42	36	51
Mandi Bahuddin	56	59	58	54	60	57	54	59	57	20	70
Mianwali	72	57	65	57	45	51	59	47	53	29	60
Multan	59	55	57	50	44	47	53	48	51	31	57
Muzaffar Garh	61	61	61	50	35	43	51	39	46	34	52
Nankana Sahib	56	49	53	59	63	61	59	61	60	17	62
Narowal	66	72	68	64	69	67	65	70	67	6	74
Okara	68	61	65	63	65	64	64	64	64	8	76
Pakpatten	54	61	58	64	63	63	63	62	63	12	69
Rahim Yar Khan	60	61	60	40	39	39	43	43	43	35	42
Rajanpur	69	73	71	38	30	34	42	36	39	37	48
Rawalpindi	59	61	60	69	63	66	64	62	63	10	71
Sahiwal	59	61	60	56	50	53	56	52	54	25	66
Sargodha	66	65	66	61	64	63	63	64	64	9	64
Sheikhupura	40	50	45	56	60	58	51	57	54	27	62
Sialkot	75	74	74	72	71	72	73	72	73	3	77
T.T.Singh	66	68	67	58	60	59	60	62	61	14	66
Vehari	54	61	57	48	50	49	49	51	50	32	60

TABLE 2.6(b): NET ENROLMENT RATE AT THE PRIMARY LEVEL (AGE 5-9)- BY PROVINCE & DISTRICT (EXCLUDING KATCHI CLASS)

PROVINCE & DISTRICT	URBAN			RURAL			TOTAL			RANK	TOTAL 14-15
	MALE	FEMALE	TOTAL	MALE	FEMALE	TOTAL	MALE	FEMALE	TOTAL		
Sindh	**53**	**50**	**51**	**46**	**32**	**39**	**49**	**40**	**45**		**51**
Badin	63	39	52	31	15	23	38	20	30	28	39
Dadu	73	70	72	65	52	58	66	56	61	1	61
Ghotki	63	52	58	48	25	38	50	29	41	21	43
Hyderabad	53	52	53	53	44	49	53	51	52	4	58
Jaccobabad	64	49	57	47	20	36	50	26	40	23	39
Jamshoro	50	65	58	45	44	45	46	50	48	8	50
Karachi Central	56	59	57				56	59	57	2	
Karachi East	49	52	50				49	52	50	6	
Karachi Malir	46	39	43	48	39	43	46	39	43	19	
Karachi South	53	49	51				53	49	51	5	
Karachi West	47	41	44	33	37	34	46	41	44	16	
Kashmore	45	52	48	31	18	25	34	25	30	27	36
Khairpur	50	38	44	45	32	39	46	34	41	22	57
Korangi	47	49	48				47	49	48	9	
Larkana	57	41	50	49	30	42	53	35	46	14	58
Matiari	66	51	58	40	40	40	45	42	43	17	42
Mir Pur Khas	63	60	62	40	23	32	45	32	38	24	44
Nowshero Feroze	69	69	69	47	54	50	50	56	53	3	58
Sanghar	61	53	57	45	27	37	49	33	42	20	43
Shahdadkot	55	48	52	49	35	44	51	40	47	10	49
Nawabshah	60	65	62	55	34	45	56	41	49	7	55
Shikarpur	68	60	64	43	36	39	48	41	45	15	44
Sujawal	47	45	46	51	20	37	51	21	37	25	40
Sukkur	64	56	60	45	33	39	52	41	47	11	55
Tando Allah Yar	57	56	57	42	30	37	47	39	43	18	39
Tando Muhd Khan	26	28	27	40	27	34	37	28	33	26	26
Tharparkar	54	41	49	54	36	46	54	37	46	13	49
Thatta	36	51	42	25	14	20	27	20	24	29	36
Umer Kot	66	61	64	50	31	42	53	37	46	12	44

TABLE 2.6(b): NET ENROLMENT RATE AT THE PRIMARY LEVEL (AGE 5-9)- BY PROVINCE & DISTRICT (EXCLUDING KATCHI CLASS)

PROVINCE & DISTRICT	URBAN			RURAL			TOTAL			RANK	TOTAL 14-15
	MALE	FEMALE	TOTAL	MALE	FEMALE	TOTAL	MALE	FEMALE	TOTAL		
Khyber Pakhtunkhwa	**61**	**55**	**58**	**53**	**41**	**47**	**54**	**43**	**49**		**56**
Abbottabad	58	68	63	65	68	66	64	68	66	1	72
Bajur				37	17	28	37	17	28	31	
Bannu	50	42	46	46	37	42	47	37	42	21	49
Batagram				49	41	45	49	41	45	18	54
Bonair				63	49	56	63	49	56	7	59
Charsada	48	54	51	53	51	52	52	51	52	13	60
Chitral	53	55	53	48	41	45	49	42	46	16	56
D.I.Khan	44	43	43	43	29	37	43	32	38	24	42
Hangu	61	46	54	47	49	48	49	49	49	14	55
Haripur	73	78	75	62	62	62	63	64	63	3	70
Karak	86	70	79	54	50	52	56	51	54	10	63
Khyber	36	39	37	50	34	43	47	35	42	22	
Kohat	52	57	54	59	44	52	58	45	52	12	54
Kohistan				43	9	26	43	9	26	32	30
Kurram				40	28	34	40	28	34	26	
Lakki Marwat	61	48	55	55	30	43	55	31	44	19	52
Lower Dir	42	60	51	52	45	49	52	46	49	15	53
Malakand	47	63	54	57	50	54	56	51	54	9	62
Mansehra	74	51	63	67	60	64	67	59	64	2	65
Mardan	63	51	58	54	51	53	56	51	53	11	62
Mohmand				41	12	28	41	12	28	30	
North Waziritan				47	15	32	47	15	32	28	
Nowshera	65	60	63	63	51	57	64	53	58	5	62
Orakzai				53	33	43	53	33	43	20	
Peshawar	67	56	62	61	45	54	63	50	57	6	60
Shangla				38	30	34	38	30	34	27	33
South Waziristan				33	22	28	33	22	28	29	
Swabi	69	67	68	62	56	59	63	58	60	4	71
Swat	54	56	55	61	50	56	60	52	56	8	59
Tank	57	47	51	49	19	36	50	24	38	23	41
Tor Garh				54	15	35	54	15	35	25	40
Upper Dir	79	61	71	49	39	44	50	40	45	17	39

TABLE 2.6(b): NET ENROLMENT RATE AT THE PRIMARY LEVEL (AGE 5-9)- BY PROVINCE & DISTRICT (EXCLUDING KATCHI CLASS)

PROVINCE & DISTRICT	URBAN			RURAL			TOTAL			RANK	TOTAL 14-15
	MALE	FEMALE	TOTAL	MALE	FEMALE	TOTAL	MALE	FEMALE	TOTAL		
Balochistan	**58**	**50**	**55**	**51**	**32**	**43**	**53**	**37**	**46**		**46**
Awaran	26	55	41	59	57	58	56	57	56	5	45
Barkhan	89	58	71	74	18	47	75	24	50	11	46
Dera Bugti	35	32	33	46	27	38	44	28	37	17	21
Duki	50	9	30	42	6	27	43	6	27	25	
Gwadar	92	71	82	69	59	65	79	64	72	1	66
Hernai	37	41	39	24	13	19	28	20	24	27	26
Jafarabad	37	53	45	48	26	39	45	35	41	14	41
Bolan	60	57	59	34	16	26	37	19	29	23	35
Kalat				65	45	56	65	45	56	6	55
Ketch	74	64	70	59	44	53	64	51	58	4	
Kharan	61	52	57	56	44	51	57	45	52	9	44
Khuzdar				57	33	46	57	33	46	13	58
Kohlu	89	83	87	37	36	36	47	48	47	12	40
Lasbilla	36	33	35	40	36	38	37	35	36	18	36
Loralai	54	61	58	72	20	49	66	36	52	7	60
Mastung	86	63	74	65	59	63	68	60	64	2	73
Nasirabad	39	42	40	31	15	25	32	20	28	24	38
Nushki	74	36	57	45	50	48	52	47	50	10	39
Pashin	53	35	44	33	27	30	36	29	33	21	31
Qilla Abdullah	49	30	40	43	16	31	44	19	33	20	28
Qilla Saifullah				51	17	36	51	17	36	19	42
Quetta	70	58	65	69	56	63	70	57	64	3	64
Shaheed Sikandar Abad				41	14	29	41	14	29	22	
Sherani				35	3	21	35	3	21	28	40
Sibbi	56	30	44	21	11	16	36	18	27	26	42
Sohbatpur	50	43	45	41	29	36	41	31	37	16	
Washuk	52	15	39	61	47	54	59	43	52	8	47
Ziarat	25	38	30	44	28	37	43	29	37	15	44

TABLE 2.7: NET ENROLMENT RATE AT THE PRIMARY LEVEL (AGE 4-9)- BY PROVINCE & DISTRICT (INCLUDING KATCHI CLASS)

PROVINCE & DISTRICT	URBAN			RURAL			TOTAL		
	MALE	FEMALE	TOTAL	MALE	FEMALE	TOTAL	MALE	FEMALE	TOTAL
Pakistan	**71**	**68**	**70**	**60**	**52**	**56**	**63**	**57**	**60**
Punjab	**77**	**77**	**77**	**68**	**65**	**67**	**71**	**69**	**70**
Attock	83	75	80	81	79	80	81	78	80
Bahawalnager	68	73	71	63	62	63	64	65	64
Bahawalpur	79	80	80	63	61	62	67	66	66
Bhakhar	70	75	72	70	67	69	70	68	69
Chakwal	80	86	83	84	78	82	84	80	82
Chiniot	70	65	67	77	67	72	75	66	71
D.G.khan	80	80	80	63	46	55	66	51	59
Faisalabad	80	76	78	74	69	71	77	72	74
Gujranwala	81	81	81	79	81	80	80	81	80
Gujrat	81	74	78	82	82	82	82	79	81
Hafizabad	73	80	76	80	75	78	78	77	77
Islamabad	84	84	84	86	78	83	85	81	83
Jehlum	78	83	80	86	84	85	84	83	84
Jhang	86	87	86	76	69	72	78	73	76
Kasur	80	81	80	72	70	71	74	72	73
Khanewal	84	74	79	63	63	63	66	65	66
Khushab	76	77	77	73	72	73	74	73	74
Lahore	76	77	76				76	77	76
Layyah	74	76	75	80	81	81	79	81	80
Lodhran	72	66	69	44	42	43	48	45	47
Mandi Bahuddin	69	80	75	76	74	75	75	75	75
Mianwali	74	79	76	66	55	61	68	59	63
Multan	71	71	71	60	55	58	64	61	63
Muzaffar Garh	59	67	63	56	47	52	57	50	54
Nankana Sahib	82	68	76	75	73	74	76	72	74
Narowal	89	82	86	85	87	86	86	86	86
Okara	81	77	79	73	71	72	75	73	74
Pakpatten	65	72	68	67	64	66	66	65	66
Rahim Yar Khan	74	70	72	58	49	54	61	53	57
Rajanpur	82	78	80	44	37	41	49	42	46
Rawalpindi	78	81	79	87	82	85	83	81	82
Sahiwal	79	71	75	65	61	63	68	63	66
Sargodha	87	84	85	81	80	81	83	81	82
Sheikhupura	69	75	72	75	79	77	73	78	75
Sialkot	87	85	86	85	83	84	85	83	84
T.T.Singh	89	79	84	75	77	76	78	78	78
Vehari	74	82	77	54	54	54	57	58	58

TABLE 2.7: NET ENROLMENT RATE AT THE PRIMARY LEVEL (AGE 4-9)- BY PROVINCE & DISTRICT (INCLUDING KATCHI CLASS)

PROVINCE & DISTRICT	URBAN			RURAL			TOTAL		
	MALE	FEMALE	TOTAL	MALE	FEMALE	TOTAL	MALE	FEMALE	TOTAL
Sindh	**63**	**58**	**61**	**43**	**30**	**37**	**52**	**43**	**48**
Badin	53	38	47	29	16	23	35	21	28
Dadu	64	62	63	55	46	50	57	49	53
Ghotki	58	54	56	44	23	35	46	28	38
Hyderabad	62	59	61	51	43	48	60	56	58
Jaccobabad	57	53	55	40	16	30	43	23	34
Jamshoro	57	52	54	40	40	40	44	44	44
Karachi Central	72	72	72				72	72	72
Karachi East	66	63	64				66	63	64
Karachi Malir	58	50	54	53	42	48	56	46	51
Karachi South	73	68	70				73	68	70
Karachi West	62	58	60	48	53	50	61	58	60
Kashmore	39	45	42	28	15	22	30	22	26
Khairpur	54	45	50	50	36	44	51	39	45
Korangi	63	57	61				63	57	61
Larkana	56	39	49	48	30	41	52	34	45
Matiari	64	50	56	41	40	41	45	43	44
Mir Pur Khas	57	58	58	35	19	27	40	28	34
Nowshero Feroze	64	67	66	46	51	48	48	53	50
Sanghar	64	55	60	47	28	38	51	34	43
Shahdadkot	66	52	61	45	32	41	52	39	48
Shaheed Benazirabad	68	61	65	54	40	47	57	45	51
Shikarpur	63	53	58	37	31	34	43	36	39
Sujawal	42	42	42	47	18	34	47	19	34
Sukkur	62	61	62	41	30	35	49	41	45
Tando Allah Yar	64	62	63	42	29	36	49	39	45
Tando Muhd Khan	26	26	26	36	24	30	34	24	29
Tharparkar	51	34	44	44	31	38	44	31	38
Thatta	49	47	48	26	15	22	30	21	26
Umer Kot	59	60	59	43	27	36	47	33	41

TABLE 2.7: NET ENROLMENT RATE AT THE PRIMARY LEVEL (AGE 4-9)- BY PROVINCE & DISTRICT (INCLUDING KATCHI CLASS)

PROVINCE & DISTRICT	URBAN			RURAL			TOTAL		
	MALE	FEMALE	TOTAL	MALE	FEMALE	TOTAL	MALE	FEMALE	TOTAL
Khyber Pakhtunkhwa	**70**	**66**	**68**	**60**	**47**	**54**	**62**	**50**	**56**
Abbottabad	81	87	84	81	84	82	81	85	82
Bajur				47	22	35	47	22	35
Bannu	76	58	68	58	42	50	58	43	51
Batagram				49	37	44	49	37	44
Bonair				62	47	55	62	47	55
Charsada	75	74	75	66	62	64	68	64	66
Chitral	64	41	54	50	46	48	51	46	49
D.I.Khan	60	57	59	49	33	42	51	38	45
Hangu	66	49	58	46	45	45	48	46	47
Haripur	86	84	85	84	79	82	84	79	82
Karak	82	69	77	60	56	58	61	57	59
Khyber	48	58	53	62	41	53	60	44	53
Kohat	63	67	64	61	45	53	61	47	54
Kohistan				48	10	30	48	10	30
Kurram				60	39	49	60	39	49
Lakki Marwat	55	55	55	56	33	45	56	35	46
Lower Dir	63	72	67	55	50	53	56	50	53
Malakand	59	48	53	64	63	63	63	61	62
Mansehra	71	69	70	74	66	70	74	66	70
Mardan	77	62	70	71	69	70	72	68	70
Mohmand				55	16	37	55	16	37
North Waziritan				50	20	36	50	20	36
Nowshera	73	61	68	69	61	65	70	61	65
Orakzai				53	35	44	53	35	44
Peshawar	75	68	72	67	50	59	70	58	64
Shangla				49	37	44	49	37	44
South Waziristan				34	24	30	34	24	30
Swabi	65	67	66	64	57	60	64	58	61
Swat	57	61	59	57	46	51	57	50	53
Tank	73	71	72	57	40	50	59	46	53
Tor Garh				54	15	35	54	15	35
Upper Dir	77	57	67	54	43	49	55	44	50

TABLE 2.7: NET ENROLMENT RATE AT THE PRIMARY LEVEL (AGE 4-9)- BY PROVINCE & DISTRICT (INCLUDING KATCHI CLASS)

PROVINCE & DISTRICT	URBAN			RURAL			TOTAL		
	MALE	FEMALE	TOTAL	MALE	FEMALE	TOTAL	MALE	FEMALE	TOTAL
Balochistan	**57**	**48**	**53**	**49**	**32**	**41**	**51**	**36**	**44**
Awaran	22	59	39	50	50	50	47	51	48
Barkhan	57	41	48	61	16	39	61	20	40
Dera Bugti	28	29	29	40	23	33	38	25	32
Duki	43	9	28	38	5	24	39	5	24
Gwadar	86	70	79	65	53	59	74	60	67
Hernai	41	37	39	24	14	20	29	20	25
Jafarabad	36	52	44	43	22	35	42	32	37
Bolan	78	63	72	31	22	27	36	25	31
Kalat				57	38	48	57	38	48
Ketch	83	52	68	54	39	47	63	44	54
Kharan	63	73	68	59	51	56	60	54	58
Khuzdar				48	29	39	48	29	39
Kohlu	80	71	76	35	30	33	44	40	43
Lasbilla	39	25	34	46	44	45	42	33	38
Loralai	54	63	58	65	20	46	61	36	50
Mastung	74	78	76	59	52	56	61	56	59
Nasirabad	35	34	35	27	12	21	28	16	24
Nushki	83	77	80	63	53	58	68	58	63
Pashin	74	66	70	62	48	56	63	51	58
Qilla Abdullah	43	27	35	39	15	28	40	18	30
Qilla Saifullah				46	20	35	46	20	35
Quetta	65	52	59	63	52	58	64	52	58
Shaheed Sikandar Abad				37	12	26	37	12	26
Sherani				45	3	26	45	3	26
Sibbi	60	46	53	26	11	19	41	26	34
Sohbatpur	40	37	38	36	31	34	36	32	34
Washuk	43	12	32	48	44	46	47	40	44
Ziarat	25	44	32	45	28	38	45	29	38

TABLE 2.8: NET ENROLMENT RATE IN GOVERNMENT PRIMARY SCHOOLS (AGE 5-9)- BY PROVINCE & DISTRICT (EXCLUDING KATCHI CLASS)

PROVINCE & DISTRICT	URBAN			RURAL			TOTAL		
	MALE	FEMALE	TOTAL	MALE	FEMALE	TOTAL	MALE	FEMALE	TOTAL
Pakistan	**24**	**24**	**24**	**39**	**33**	**36**	**34**	**30**	**32**
Punjab	**22**	**24**	**23**	**37**	**37**	**37**	**32**	**32**	**32**
Attock	21	18	19	52	53	52	43	44	43
Bahawalnager	26	24	25	43	47	45	39	42	40
Bahawalpur	21	18	20	26	26	26	25	24	25
Bhakhar	35	36	35	50	48	49	48	46	47
Chakwal	20	27	24	45	50	48	42	47	44
Chiniot	36	35	36	45	43	44	42	41	41
D.G.khan	39	31	35	42	32	37	41	31	37
Faisalabad	22	23	22	40	44	42	32	34	33
Gujranwala	14	16	15	28	37	33	20	25	22
Gujrat	15	22	19	25	41	32	22	36	29
Hafizabad	30	33	31	42	43	43	38	40	39
Islamabad	20	25	22	17	20	18	18	22	20
Jehlum	46	32	38	52	56	54	51	51	51
Jhang	23	22	22	46	43	45	41	38	39
Kasur	17	21	19	29	30	30	26	29	27
Khanewal	32	31	32	40	40	40	39	38	39
Khushab	25	35	30	56	51	53	47	46	47
Lahore	17	19	18				17	19	18
Layyah	42	63	52	52	56	54	51	56	54
Lodhran	15	17	16	26	26	26	24	24	24
Mandi Bahuddin	25	17	21	32	36	34	31	33	32
Mianwali	37	33	35	39	27	33	39	28	34
Multan	25	28	27	31	27	29	29	27	28
Muzaffar Garh	32	37	35	33	21	27	33	23	28
Nankana Sahib	21	21	21	41	37	39	37	35	36
Narowal	18	19	19	34	43	38	32	40	36
Okara	41	34	38	49	49	49	46	45	46
Pakpatten	23	40	31	50	46	48	46	45	46
Rahim Yar Khan	30	33	31	32	31	32	32	32	32
Rajanpur	53	55	54	30	24	27	33	28	31
Rawalpindi	19	21	20	36	34	35	28	27	28
Sahiwal	17	32	24	41	40	41	36	38	37
Sargodha	29	21	25	39	47	43	36	40	38
Sheikhupura	13	13	13	25	33	29	21	26	23
Sialkot	17	24	20	30	32	31	26	30	28
T.T.Singh	32	31	31	43	43	43	40	40	40
Vehari	20	26	22	36	38	37	33	36	35

TABLE 2.8: NET ENROLMENT RATE IN GOVERNMENT PRIMARY SCHOOLS (AGE 5-9)- BY PROVINCE & DISTRICT (EXCLUDING KATCHI CLASS)

PROVINCE & DISTRICT	URBAN			RURAL			TOTAL		
	MALE	FEMALE	TOTAL	MALE	FEMALE	TOTAL	MALE	FEMALE	TOTAL
Sindh	**24**	**22**	**23**	**39**	**25**	**33**	**32**	**24**	**28**
Badin	52	34	44	28	13	21	33	17	26
Dadu	43	60	51	48	37	43	47	42	45
Ghotki	40	34	37	37	20	30	38	22	31
Hyderabad	21	23	22	49	42	46	27	26	26
Jaccobabad	37	28	33	45	19	34	43	21	34
Jamshoro	18	9	13	42	40	41	36	30	34
Karachi Central	13	16	14				13	16	14
Karachi East	12	11	12				12	11	12
Karachi Malir	17	15	16	28	21	24	22	18	20
Karachi South	14	14	14				14	14	14
Karachi West	14	12	13	15	4	11	14	12	13
Kashmore	36	48	42	27	18	23	29	24	27
Khairpur	29	28	28	33	21	28	32	23	28
Korangi	11	10	11				11	10	11
Larkana	45	33	40	49	29	41	47	31	41
Matiari	55	31	41	36	37	36	39	36	37
Mir Pur Khas	46	44	45	35	19	27	37	25	31
Nowshero Feroze	62	55	59	44	37	41	47	40	44
Sanghar	34	29	31	37	20	29	36	22	30
Shahdadkot	54	47	51	48	17	38	50	28	43
Nawabshah	44	34	39	51	31	41	49	31	41
Shikarpur	51	51	51	40	22	32	43	29	36
Sujawal	33	45	39	49	19	36	49	20	36
Sukkur	39	23	31	41	29	35	41	27	34
Tando Allah Yar	28	35	32	36	27	32	34	30	32
Tando Muhd Khan	23	16	20	38	25	32	35	23	30
Tharparkar	26	29	27	42	36	39	41	35	38
Thatta	32	43	36	20	11	16	22	16	20
Umer Kot	50	47	48	48	30	40	48	33	41

TABLE 2.8: NET ENROLMENT RATE IN GOVERNMENT PRIMARY SCHOOLS (AGE 5-9)- BY PROVINCE & DISTRICT (EXCLUDING KATCHI CLASS)

PROVINCE & DISTRICT	URBAN			RURAL			TOTAL		
	MALE	FEMALE	TOTAL	MALE	FEMALE	TOTAL	MALE	FEMALE	TOTAL
Khyber Pakhtunkhwa	**24**	**26**	**25**	**40**	**33**	**36**	**37**	**32**	**35**
Abbottabad	13	10	11	43	54	48	37	45	41
Bajur				31	16	24	31	16	24
Bannu	38	35	37	40	33	36	40	33	36
Batagram				33	28	31	33	28	31
Bonair				54	43	48	54	43	48
Charsada	17	27	22	33	39	36	30	38	34
Chitral	42	23	35	41	36	39	41	35	38
D.I.Khan	28	24	26	33	26	30	33	26	30
Hangu	20	20	20	40	45	42	37	42	40
Haripur	20	31	24	36	43	40	35	42	38
Karak	57	60	58	46	44	45	47	44	46
Khyber	36	39	37	49	33	42	46	34	41
Kohat	19	36	27	40	38	39	37	38	38
Kohistan				41	9	26	41	9	26
Kurram				27	21	24	27	21	24
Lakki Marwat	30	35	32	49	28	39	47	29	39
Lower Dir	42	50	46	43	40	41	43	40	41
Malakand	47	63	54	41	37	39	42	39	41
Mansehra	17	12	15	51	49	50	50	47	48
Mardan	43	35	40	35	35	35	37	35	36
Mohmand				31	10	22	31	10	22
North Waziritan				33	11	23	33	11	23
Nowshera	29	33	31	39	39	39	37	38	37
Orakzai				45	30	38	45	30	38
Peshawar	16	17	16	34	25	30	26	22	24
Shangla				30	27	29	30	27	29
South Waziristan				29	19	25	29	19	25
Swabi	40	41	40	45	44	45	44	44	44
Swat	22	35	29	50	35	43	43	35	39
Tank	19	23	22	48	19	35	44	20	33
Tor Garh				54	13	34	54	13	34
Upper Dir	63	33	50	45	36	41	46	36	41

TABLE 2.8: NET ENROLMENT RATE IN GOVERNMENT PRIMARY SCHOOLS (AGE 5-9)- BY PROVINCE & DISTRICT (EXCLUDING KATCHI CLASS)

PROVINCE & DISTRICT	URBAN			RURAL			TOTAL		
	MALE	FEMALE	TOTAL	MALE	FEMALE	TOTAL	MALE	FEMALE	TOTAL
Balochistan	**43**	**36**	**40**	**46**	**29**	**39**	**45**	**31**	**39**
Awaran	26	55	41	59	57	58	56	57	56
Barkhan	78	50	62	72	14	44	72	19	46
Dera Bugti	30	32	31	46	27	38	43	28	36
Duki	50	9	30	29	4	19	31	4	20
Gwadar	84	63	74	69	58	64	75	60	68
Hernai	27	35	30	23	13	19	24	18	22
Jafarabad	25	36	31	43	25	36	39	29	35
Bolan	42	53	46	28	14	22	30	18	25
Kalat				65	45	55	65	45	55
Ketch	72	60	66	56	39	49	61	46	55
Kharan	43	34	39	56	44	51	54	42	49
Khuzdar				56	32	45	56	32	45
Kohlu	78	83	80	21	21	21	32	37	34
Lasbilla	18	19	18	40	31	36	25	24	25
Loralai	27	32	29	63	17	43	51	22	38
Mastung	36	50	43	62	57	60	58	56	57
Nasirabad	29	24	27	29	14	24	29	16	24
Nushki	54	31	44	44	50	47	47	46	46
Pashin	53	35	44	29	21	25	32	23	28
Qilla Abdullah	40	26	33	36	15	27	37	18	28
Qilla Saifullah				50	16	35	50	16	35
Quetta	46	34	40	56	48	52	52	42	47
Shaheed Sikandar Abad				41	14	29	41	14	29
Sherani				35	3	21	35	3	21
Sibbi	56	30	44	20	10	15	35	18	27
Sohbatpur	38	29	32	39	28	35	39	28	34
Washuk	52	8	37	60	47	54	58	42	51
Ziarat	25	38	30	36	26	32	36	26	32

TABLE 2.9(a): PRIMARY LEVEL ENROLMENT IN GOVERNMENT SCHOOLS A PERCENTAGE OF TOTAL PRIMARY ENROLMENT- BY PROVINCE AND DISTRICT

PROVINCE & DISTRICT	URBAN			RURAL			TOTAL		
	MALE	FEMALE	TOTAL	MALE	FEMALE	TOTAL	MALE	FEMALE	TOTAL
A. EXCLUDING KATCHI CLASS:									
Pakistan	**44**	**45**	**45**	**74**	**74**	**74**	**64**	**64**	**64**
Punjab	**41**	**43**	**42**	**68**	**70**	**69**	**59**	**61**	**59**
Attock	32	35	33	71	79	75	61	69	65
Bahawalnager	44	44	44	86	86	86	77	77	77
Bahawalpur	35	33	34	62	61	61	53	53	53
Bhakhar	72	50	61	85	84	85	83	79	81
Chakwal	30	42	37	67	78	72	63	71	67
Chiniot	66	70	68	75	80	77	72	77	74
D.G.khan	51	56	53	73	74	74	69	70	70
Faisalabad	40	45	42	71	73	72	56	60	58
Gujranwala	29	33	31	56	64	60	40	47	44
Gujrat	35	41	38	48	64	56	45	58	51
Hafizabad	64	55	59	76	76	76	72	68	70
Islamabad	32	38	35	25	28	27	28	33	30
Jehlum	57	50	53	70	78	74	67	72	69
Jhang	36	36	36	76	76	76	67	66	67
Kasur	35	38	36	55	59	57	51	54	53
Khanewal	55	60	57	78	74	76	73	71	72
Khushab	49	63	56	83	83	83	75	78	76
Lahore	37	39	38				37	39	38
Layyah	61	75	67	70	85	77	68	84	76
Lodhran	27	39	32	64	60	62	57	56	56
Mandi Bahuddin	41	37	39	63	61	62	60	58	59
Mianwali	56	57	57	71	63	67	68	62	65
Multan	48	52	50	62	61	62	57	57	57
Muzaffar Garh	52	59	55	64	60	63	63	60	62
Nankana Sahib	36	47	40	70	62	66	65	61	63
Narowal	23	36	30	56	64	60	52	60	56
Okara	56	60	58	78	80	79	72	75	73
Pakpatten	47	60	53	79	74	77	75	72	74
Rahim Yar Khan	58	56	57	83	83	83	77	77	77
Rajanpur	74	78	76	78	79	78	77	79	78
Rawalpindi	35	41	37	51	57	54	43	48	46
Sahiwal	39	53	46	78	82	80	71	76	73
Sargodha	43	39	41	68	77	72	61	67	64
Sheikhupura	35	31	33	48	58	53	45	50	47
Sialkot	29	34	31	45	50	47	40	45	43
T.T.Singh	50	53	51	75	74	75	69	70	69
Vehari	39	44	41	77	77	77	70	71	71

TABLE 2.9(a): PRIMARY LEVEL ENROLMENT IN GOVERNMENT SCHOOLS A PERCENTAGE OF TOTAL PRIMARY ENROLMENT- BY PROVINCE AND DISTRICT

PROVINCE & DISTRICT	URBAN			RURAL			TOTAL		
	MALE	FEMALE	TOTAL	MALE	FEMALE	TOTAL	MALE	FEMALE	TOTAL
Sindh	**44**	**43**	**44**	**86**	**80**	**84**	**65**	**58**	**62**
Badin	82	88	84	91	89	91	88	89	88
Dadu	66	85	74	76	72	74	73	76	74
Ghotki	61	66	63	79	79	79	75	76	75
Hyderabad	42	47	45	93	94	93	54	54	54
Jaccobabad	57	52	55	95	95	95	85	76	82
Jamshoro	35	21	29	88	92	89	71	62	68
Karachi Central	28	28	28				28	28	28
Karachi East	26	27	26				26	27	26
Karachi Malir	37	34	36	50	50	50	43	41	42
Karachi South	29	28	28				29	28	28
Karachi West	30	30	30	45	23	36	31	30	30
Kashmore	80	93	86	85	95	89	84	94	88
Khairpur	62	71	66	75	66	72	71	68	70
Korangi	22	18	20				22	18	20
Larkana	81	83	82	99	98	99	90	89	90
Matiari	79	69	75	90	95	92	87	87	87
Mir Pur Khas	70	73	71	91	85	89	85	80	83
Nowshero Feroze	92	81	87	94	76	86	94	77	86
Sanghar	56	58	57	83	80	82	76	72	74
Shahdadkot	99	98	99	97	60	87	98	75	91
Shaheed Benazirabad	78	55	68	93	92	93	89	79	85
Shikarpur	74	83	78	94	66	83	88	72	82
Sujawal	78	100	90	97	97	97	96	97	97
Sukkur	58	46	53	92	88	90	76	66	72
Tando Allah Yar	51	61	56	87	87	87	75	76	75
Tando Muhd Khan	89	58	74	95	92	94	95	84	91
Tharparkar	67	77	70	84	99	89	83	97	88
Thatta	91	90	90	82	77	81	84	82	83
Umer Kot	75	76	75	97	95	96	92	88	91

TABLE 2.9(a): PRIMARY LEVEL ENROLMENT IN GOVERNMENT SCHOOLS A PERCENTAGE OF TOTAL PRIMARY ENROLMENT- BY PROVINCE AND DISTRICT

PROVINCE & DISTRICT	URBAN			RURAL			TOTAL		
	MALE	FEMALE	TOTAL	MALE	FEMALE	TOTAL	MALE	FEMALE	TOTAL
Khyber Pakhtunkhwa	**45**	**51**	**48**	**76**	**79**	**77**	**72**	**74**	**72**
Abbottabad	29	21	25	71	79	75	65	67	66
Bajur				81	89	83	81	89	83
Bannu	69	92	81	85	89	87	85	89	87
Batagram				70	72	71	70	72	71
Bonair				84	85	84	84	85	84
Charsada	43	52	47	67	75	71	63	71	67
Chitral	64	64	64	86	89	87	83	86	84
D.I.Khan	70	62	67	79	90	82	77	82	79
Hangu	36	53	43	85	87	86	80	82	81
Haripur	29	43	35	63	73	68	59	70	64
Karak	73	80	76	86	90	88	85	89	87
Khyber	100	100	100	96	94	95	97	95	96
Kohat	48	68	58	72	86	78	68	83	74
Kohistan				98	99	98	98	99	98
Kurram				66	71	68	66	71	68
Lakki Marwat	49	85	65	91	91	91	88	90	89
Lower Dir	94	75	84	85	86	86	85	86	86
Malakand	80	100	91	77	77	77	77	81	79
Mansehra	24	21	23	78	81	80	76	79	77
Mardan	68	71	69	65	69	67	65	70	67
Mohmand				75	82	76	75	82	76
North Waziritan				72	67	71	72	67	71
Nowshera	42	55	48	65	75	69	60	71	65
Orakzai				89	91	90	89	91	90
Peshawar	29	36	32	57	61	58	45	49	47
Shangla				82	87	84	82	87	84
South Waziristan				82	88	83	82	88	83
Swabi	51	58	55	74	81	77	71	77	74
Swat	49	62	56	78	73	76	71	70	71
Tank	37	59	49	91	95	92	84	81	83
Tor Garh				98	93	97	98	93	97
Upper Dir	72	64	69	92	90	91	91	88	90

TABLE 2.9(a): PRIMARY LEVEL ENROLMENT IN GOVERNMENT SCHOOLS A PERCENTAGE OF TOTAL PRIMARY ENROLMENT- BY PROVINCE AND DISTRICT

PROVINCE & DISTRICT	URBAN			RURAL			TOTAL		
	MALE	FEMALE	TOTAL	MALE	FEMALE	TOTAL	MALE	FEMALE	TOTAL
Balochistan	**75**	**75**	**75**	**88**	**91**	**89**	**84**	**85**	**85**
Awaran	100	100	100	100	100	100	100	100	100
Barkhan	71	89	78	95	82	93	92	84	90
Dera Bugti	92	100	97	99	100	99	98	100	98
Duki	100	100	100	67	66	67	70	72	71
Gwadar	86	91	88	99	98	99	94	95	94
Hernai	79	88	82	94	100	95	89	94	90
Jafarabad	76	72	74	91	91	91	87	80	84
Bolan	68	90	79	83	88	84	81	89	83
Kalat				99	100	99	99	100	99
Ketch	97	96	96	94	91	93	95	93	94
Kharan	80	68	75	99	100	100	96	93	95
Khuzdar				98	99	98	98	99	98
Kohlu	92	100	94	59	58	59	70	77	72
Lasbilla	61	64	61	95	92	94	74	80	75
Loralai	64	58	61	86	86	86	77	68	74
Mastung	54	83	69	92	93	93	86	91	88
Nasirabad	84	72	79	95	96	95	92	85	91
Nushki	75	87	78	99	100	99	92	98	94
Pashin	90	92	90	80	89	83	82	90	84
Qilla Abdullah	85	90	87	83	96	86	83	94	86
Qilla Saifullah				95	95	95	95	95	95
Quetta	64	61	63	75	82	78	71	73	72
Shaheed Sikandar Abad				100	100	100	100	100	100
Sherani				92	100	92	92	100	92
Sibbi	91	95	92	97	95	96	93	95	93
Sohbatpur	85	63	76	97	97	97	96	92	94
Washuk	100	67	95	99	100	99	99	99	99
Ziarat	83	100	91	81	89	83	81	89	83

TABLE 2.9(b): PRIMARY LEVEL ENROLMENT IN GOVERNMENT SCHOOLS A PERCENTAGE OF TOTAL PRIMARY ENROLMENT- BY PROVINCE AND DISTRICT

PROVINCE & DISTRICT	URBAN			RURAL			TOTAL		
	MALE	FEMALE	TOTAL	MALE	FEMALE	TOTAL	MALE	FEMALE	TOTAL
B. INCLUDING KATCHI CLASS:									
Pakistan	**39**	**40**	**40**	**71**	**72**	**71**	**60**	**60**	**60**
Punjab	**36**	**39**	**38**	**65**	**67**	**66**	**55**	**57**	**56**
Attock	34	31	33	66	75	70	57	64	60
Bahawalnager	46	45	46	83	85	84	75	76	76
Bahawalpur	33	32	33	59	58	58	51	50	51
Bhakhar	68	50	60	84	82	83	82	78	80
Chakwal	27	34	31	64	69	66	59	63	61
Chiniot	63	62	63	73	80	76	70	74	72
D.G.khan	52	53	52	73	75	74	69	69	69
Faisalabad	34	38	36	63	68	65	49	54	51
Gujranwala	25	30	28	50	57	53	36	42	39
Gujrat	35	39	37	46	61	53	43	55	49
Hafizabad	59	50	55	69	73	71	66	65	66
Islamabad	27	31	29	23	24	23	25	28	26
Jehlum	51	47	49	67	76	71	64	70	67
Jhang	28	33	31	72	74	73	62	63	62
Kasur	34	36	35	54	57	55	49	52	51
Khanewal	48	56	52	73	72	72	68	69	68
Khushab	47	57	52	81	81	81	72	75	73
Lahore	33	34	33				33	34	33
Layyah	63	77	69	71	86	78	70	85	77
Lodhran	24	36	29	66	62	64	57	57	57
Mandi Bahuddin	35	29	32	59	59	59	55	54	55
Mianwali	55	54	55	71	61	66	68	59	64
Multan	45	48	46	60	59	59	54	54	54
Muzaffar Garh	50	55	53	62	59	61	61	58	60
Nankana Sahib	37	43	39	66	61	63	61	59	60
Narowal	19	32	25	53	61	57	48	57	53
Okara	52	56	54	74	76	75	68	71	69
Pakpatten	49	56	52	79	74	77	75	72	73
Rahim Yar Khan	55	53	54	80	82	81	74	75	75
Rajanpur	72	77	74	77	79	78	76	79	77
Rawalpindi	28	35	31	46	53	49	37	44	40
Sahiwal	34	48	40	73	75	74	64	69	67
Sargodha	37	34	36	65	72	69	58	62	60
Sheikhupura	33	35	34	48	55	51	44	49	46
Sialkot	26	32	29	42	49	46	38	44	41
T.T.Singh	42	49	45	69	69	69	63	65	64
Vehari	35	43	39	76	76	76	68	69	68

TABLE 2.9(b): PRIMARY LEVEL ENROLMENT IN GOVERNMENT SCHOOLS A PERCENTAGE OF TOTAL PRIMARY ENROLMENT- BY PROVINCE AND DISTRICT

PROVINCE & DISTRICT	URBAN			RURAL			TOTAL		
	MALE	FEMALE	TOTAL	MALE	FEMALE	TOTAL	MALE	FEMALE	TOTAL
Sindh	**39**	**37**	**38**	**84**	**79**	**82**	**60**	**53**	**57**
Badin	78	79	78	92	85	89	87	82	85
Dadu	65	84	74	76	71	74	73	75	74
Ghotki	57	57	57	78	78	78	74	72	73
Hyderabad	36	40	38	90	91	90	47	47	47
Jaccobabad	56	48	52	94	94	94	84	73	80
Jamshoro	32	19	27	89	90	89	69	60	66
Karachi Central	23	23	23				23	23	23
Karachi East	22	24	23				22	24	23
Karachi Malir	30	28	29	47	47	47	38	35	37
Karachi South	24	24	24				24	24	24
Karachi West	25	25	25	38	32	35	25	25	25
Kashmore	81	93	87	85	94	88	84	93	87
Khairpur	62	66	64	72	65	69	69	65	68
Korangi	18	16	17				18	16	17
Larkana	81	82	82	99	98	99	90	89	90
Matiari	76	67	72	91	94	92	87	86	87
Mir Pur Khas	67	67	67	90	84	88	83	76	80
Nowshero Feroze	90	83	87	94	77	86	93	78	86
Sanghar	52	54	53	83	78	81	74	69	72
Shahdadkot	99	97	99	97	60	86	98	75	91
Shaheed Benazirabad	73	56	66	92	92	92	87	80	84
Shikarpur	73	81	77	94	66	83	88	71	81
Sujawal	78	91	86	97	97	97	96	96	96
Sukkur	54	43	49	90	87	89	73	63	68
Tando Allah Yar	43	52	47	85	83	84	70	69	69
Tando Muhd Khan	87	57	73	95	91	94	93	83	90
Tharparkar	69	79	72	84	99	89	83	97	88
Thatta	89	83	86	78	73	76	81	77	80
Umer Kot	72	75	74	96	95	95	91	87	89

TABLE 2.9(b): PRIMARY LEVEL ENROLMENT IN GOVERNMENT SCHOOLS A PERCENTAGE OF TOTAL PRIMARY ENROLMENT- BY PROVINCE AND DISTRICT

PROVINCE & DISTRICT	URBAN			RURAL			TOTAL		
	MALE	FEMALE	TOTAL	MALE	FEMALE	TOTAL	MALE	FEMALE	TOTAL
Khyber Pakhtunkhwa	**42**	**48**	**45**	**74**	**77**	**75**	**69**	**71**	**70**
Abbottabad	26	21	24	67	74	70	60	63	61
Bajur				80	88	82	80	88	82
Bannu	76	94	84	86	90	88	86	90	88
Batagram				68	71	69	68	71	69
Bonair				83	82	83	83	82	83
Charsada	43	49	45	62	71	66	59	68	63
Chitral	67	64	66	84	85	84	81	83	82
D.I.Khan	63	58	61	77	86	80	75	78	76
Hangu	35	50	41	84	85	85	79	80	79
Haripur	27	50	36	60	66	62	56	64	60
Karak	76	83	79	85	87	86	85	87	86
Khyber	100	100	100	95	95	95	96	96	96
Kohat	40	63	51	71	84	76	67	80	72
Kohistan				98	99	98	98	99	98
Kurram				63	69	65	63	69	65
Lakki Marwat	59	78	68	90	91	90	88	89	88
Lower Dir	87	73	80	86	85	85	86	84	85
Malakand	84	100	92	74	75	74	75	78	76
Mansehra	27	15	22	76	79	77	74	76	75
Mardan	62	70	65	62	67	64	62	68	64
Mohmand				73	80	74	73	80	74
North Waziritan				72	74	73	72	74	73
Nowshera	38	54	45	62	71	66	56	67	61
Orakzai				90	92	90	90	92	90
Peshawar	27	32	29	54	57	55	43	45	44
Shangla				81	84	82	81	84	82
South Waziristan				80	87	82	80	87	82
Swabi	49	55	52	71	79	75	68	76	72
Swat	47	59	53	77	73	76	70	69	69
Tank	31	52	42	91	98	93	82	82	82
Tor Garh				97	94	96	97	94	96
Upper Dir	69	63	67	89	90	89	88	88	88

TABLE 2.9(b): PRIMARY LEVEL ENROLMENT IN GOVERNMENT SCHOOLS A PERCENTAGE OF TOTAL PRIMARY ENROLMENT- BY PROVINCE AND DISTRICT

PROVINCE & DISTRICT	URBAN			RURAL			TOTAL		
	MALE	FEMALE	TOTAL	MALE	FEMALE	TOTAL	MALE	FEMALE	TOTAL
Balochistan	**73**	**73**	**73**	**87**	**89**	**88**	**83**	**83**	**83**
Awaran	100	100	100	100	100	100	100	100	100
Barkhan	71	89	78	95	83	93	92	85	90
Dera Bugti	92	100	97	99	100	99	98	100	98
Duki	100	100	100	67	66	67	71	76	71
Gwadar	81	92	85	99	98	99	91	95	93
Hernai	81	89	84	94	100	95	89	95	91
Jafarabad	71	74	73	90	91	90	84	81	83
Bolan	64	89	76	82	89	85	79	89	83
Kalat				99	100	99	99	100	99
Ketch	97	96	96	94	90	93	95	93	94
Kharan	75	66	71	100	100	100	96	91	94
Khuzdar				98	99	98	98	99	98
Kohlu	92	100	94	59	58	59	70	77	72
Lasbilla	61	64	61	96	94	95	75	82	77
Loralai	63	55	59	85	86	85	77	66	73
Mastung	52	74	64	92	93	92	85	88	86
Nasirabad	84	72	80	95	96	95	92	86	91
Nushki	74	80	76	99	100	99	92	95	93
Pashin	86	84	85	78	82	80	80	83	81
Qilla Abdullah	84	82	83	83	92	85	83	89	84
Qilla Saifullah				95	96	95	95	96	95
Quetta	61	58	60	74	79	76	69	70	69
Shaheed Sikandar Abad				100	100	100	100	100	100
Sherani				72	100	74	72	100	74
Sibbi	82	78	80	94	95	94	86	82	84
Sohbatpur	85	63	76	96	95	96	95	91	94
Washuk	100	67	95	98	100	99	98	99	99
Ziarat	71	71	71	82	87	83	82	87	83

TABLE 2.10(a): GROSS ENROLMENT RATIO AT THE MIDDLE LEVEL (AGE 11-13) - BY PROVINCE & DISTRICT

PROVINCE & DISTRICT	URBAN			RURAL			TOTAL			RANK	TOTAL 14-15
	MALE	FEMALE	TOTAL	MALE	FEMALE	TOTAL	MALE	FEMALE	TOTAL		
Pakistan	**72**	**73**	**73**	**66**	**48**	**57**	**68**	**57**	**63**		**62**
Punjab	**71**	**78**	**75**	**65**	**59**	**62**	**68**	**66**	**67**		**64**
Attock	72	108	87	106	88	96	95	92	94	3	95
Bahawalnager	61	77	69	58	56	57	59	60	59	29	59
Bahawalpur	57	62	60	45	37	41	49	45	47	33	39
Bhakhar	88	56	70	71	50	61	73	51	62	24	55
Chakwal	95	100	98	89	88	88	90	90	90	4	107
Chiniot	81	63	71	69	41	55	73	48	60	28	55
D.G.khan	74	76	75	49	24	37	53	32	44	35	45
Faisalabad	70	75	73	73	68	71	72	71	72	16	72
Gujranwala	73	79	76	65	70	67	70	75	72	15	74
Gujrat	76	99	86	83	97	89	81	98	88	5	84
Hafizabad	91	74	81	68	64	66	75	68	72	18	68
Islamabad	105	92	99	103	90	97	104	91	98	2	104
Jehlum	112	105	108	105	86	96	107	90	99	1	89
Jhang	79	71	75	55	48	52	60	54	57	32	56
Kasur	75	86	81	76	83	79	76	84	80	10	62
Khanewal	78	75	77	71	55	63	72	59	66	22	56
Khushab	74	85	79	73	59	66	73	66	70	19	74
Lahore	68	78	73	-	-	-	68	78	73	14	73
Layyah	62	126	88	75	66	71	73	74	73	13	62
Lodhran	76	64	70	61	48	54	64	50	57	31	51
Mandi Bahuddin	68	92	81	68	78	73	68	80	74	11	75
Mianwali	78	71	74	79	49	65	79	54	67	21	77
Multan	68	74	71	61	43	52	64	56	60	27	55
Muzaffar Garh	54	62	58	47	31	39	48	35	42	36	41
Nankana Sahib	82	114	99	80	75	78	80	81	81	9	66
Narowal	90	92	91	74	88	81	77	89	83	8	77
Okara	65	68	66	68	68	68	67	68	68	20	58
Pakpatten	57	81	69	55	56	55	55	60	57	30	56
Rahim Yar Khan	58	73	65	45	32	39	48	41	44	34	43
Rajanpur	71	81	74	42	27	36	46	35	42	37	40
Rawalpindi	74	85	79	86	88	87	79	87	83	7	86
Sahiwal	74	71	72	67	53	59	68	56	62	25	65
Sargodha	81	79	80	64	73	68	69	75	72	17	76
Sheikhupura	67	66	66	62	62	62	64	63	64	23	64
Sialkot	89	77	82	89	79	84	89	78	83	6	87
T.T.Singh	73	87	79	72	72	72	72	75	74	12	72
Vehari	74	82	78	58	54	56	60	60	60	26	54

TABLE 2.10(a): GROSS ENROLMENT RATIO AT THE MIDDLE LEVEL (AGE 11-13) - BY PROVINCE & DISTRICT

PROVINCE & DISTRICT	URBAN			RURAL			TOTAL			RANK	TOTAL 14-15
	MALE	FEMALE	TOTAL	MALE	FEMALE	TOTAL	MALE	FEMALE	TOTAL		
Sindh	**72**	**66**	**70**	**47**	**20**	**35**	**60**	**44**	**53**		**55**
Badin	51	39	46	48	10	32	49	18	35	25	30
Dadu	86	78	83	51	34	44	60	47	54	8	46
Ghotki	70	68	69	58	11	38	59	20	42	20	41
Hyderabad	57	65	61	39	38	39	54	61	57	6	65
Jaccobabad	94	64	82	45	12	30	61	28	47	12	42
Jamshoro	74	63	70	42	24	36	50	37	46	16	46
Karachi Central	74	79	76	-	-	-	74	79	76	2	
Karachi East	70	76	73	-	-	-	70	76	73	3	
Karachi Malir	70	40	55	41	63	48	56	48	52	9	
Karachi South	73	69	71	-	-	-	73	69	71	4	
Karachi West	70	65	67	14	23	18	66	62	64	5	
Kashmore	62	35	51	53	7	33	55	12	37	24	41
Khairpur	69	52	61	53	26	42	58	33	47	13	52
Korangi	85	86	86	-	-	-	85	86	86	1	
Larkana	64	52	59	45	33	41	54	43	50	10	62
Matiari	61	50	56	51	27	39	54	32	44	18	49
Mir Pur Khas	81	68	75	51	20	37	59	32	47	14	45
Nowshero Feroze	74	69	71	53	23	39	56	31	44	17	42
Sanghar	83	71	78	52	19	37	60	32	48	11	41
Shahdadkot	82	46	67	41	21	33	52	29	43	19	34
Shaheed Benazirabad	63	49	57	57	14	36	59	24	42	21	48
Shikarpur	92	71	82	42	16	31	52	28	42	22	45
Sujawal	115	18	58	44	12	29	47	12	31	26	29
Sukkur	73	72	73	67	18	45	70	41	57	7	63
Tando Allah Yar	79	77	78	46	19	34	55	35	46	15	42
Tando Muhd Khan	45	22	34	37	15	27	39	17	28	27	28
Tharparkar	112	20	77	36	9	24	41	9	27	28	37
Thatta	23	13	18	21	12	18	22	12	18	29	27
Umer Kot	102	46	71	44	17	33	54	25	41	23	37

TABLE 2.10(a): GROSS ENROLMENT RATIO AT THE MIDDLE LEVEL (AGE 11-13) - BY PROVINCE & DISTRICT

PROVINCE & DISTRICT	URBAN			RURAL			TOTAL			RANK	TOTAL 14-15
	MALE	FEMALE	TOTAL	MALE	FEMALE	TOTAL	MALE	FEMALE	TOTAL		
Khyber Pakhtunkhwa	81	70	76	82	45	65	82	49	67		**71**
Abbottabad	**96**	**89**	**93**	**82**	**80**	**81**	**86**	**82**	**84**	4	91
Bajur	-	-	-	49	18	34	49	18	34	30	
Bannu	111	66	87	58	32	46	60	34	48	28	62
Batagram	-	-	-	82	22	55	82	22	55	23	46
Bonair	-	-	-	78	39	62	78	39	62	19	61
Charsada	99	89	94	74	46	60	79	53	66	16	62
Chitral	60	109	81	100	86	93	93	90	91	1	97
D.I.Khan	56	75	64	76	31	61	72	42	62	21	56
Hangu	93	64	77	105	29	65	104	33	67	15	68
Haripur	115	111	113	103	76	89	104	79	91	2	90
Karak	125	75	92	99	53	80	100	55	81	6	79
Khyber	14	11	13	80	25	57	66	23	48	27	
Kohat	108	75	91	92	51	74	94	55	76	8	78
Kohistan	-	-	-	52	5	31	52	5	31	32	26
Kurram	-	-	-	69	40	57	69	40	57	22	
Lakki Marwat	121	130	125	83	35	60	86	43	65	17	72
Lower Dir	75	114	89	83	57	71	83	58	72	12	84
Malakand	67	111	89	92	78	85	89	82	86	3	82
Mansehra	105	68	88	90	57	74	91	58	75	9	80
Mardan	71	67	69	82	54	69	81	56	69	13	70
Mohmand	-	-	-	60	8	33	60	8	33	31	
North Waziritan	-	-	-	75	8	53	75	8	53	24	
Nowshera	77	56	67	88	68	79	85	66	76	7	86
Orakzai	-	-	-	97	18	62	97	18	62	20	
Peshawar	80	69	75	92	47	71	87	57	73	11	80
Shangla	-	-	-	70	20	48	70	20	48	26	47
South Waziristan	-	-	-	80	47	69	80	47	69	14	
Swabi	87	87	87	95	66	82	94	70	83	5	102
Swat	98	51	75	97	39	72	97	42	73	10	61
Tank	60	57	59	64	23	48	63	28	50	25	59
Tor Garh	-	-	-	55	8	37	55	8	37	29	27
Upper Dir	43	67	54	80	43	63	78	44	63	18	58

TABLE 2.10(a): GROSS ENROLMENT RATIO AT THE MIDDLE LEVEL (AGE 11-13) - BY PROVINCE & DISTRICT

PROVINCE & DISTRICT	URBAN			RURAL			TOTAL			RANK	TOTAL 14-15
	MALE	FEMALE	TOTAL	MALE	FEMALE	TOTAL	MALE	FEMALE	TOTAL		
Balochistan	67	55	62	52	26	41	56	34	47		**48**
Awaran	**70**	**33**	**62**	**19**	**0**	**14**	**25**	**3**	**20**	25	25
Barkhan	100	60	82	48	9	33	56	19	41	16	38
Dera Bugti	80	18	61	5	3	4	25	7	19	26	23
Duki	33	100	60	97	8	71	90	23	69	4	
Gwadar	79	80	79	29	25	28	50	45	48	13	64
Hernai	42	59	48	33	14	25	36	28	33	20	39
Jafarabad	63	57	61	40	16	29	50	31	42	15	35
Bolan	176	79	108	51	26	41	56	32	46	14	41
Kalat	-	-	-	59	16	40	59	16	40	18	50
Ketch	123	57	89	58	28	44	80	39	60	8	
Kharan	107	72	94	79	51	66	84	54	71	3	48
Khuzdar	-	-	-	28	3	19	28	3	19	27	43
Kohlu	100	0	75	67	42	56	78	35	61	5	35
Lasbilla	40	19	35	23	16	20	33	18	28	22	44
Loralai	61	51	57	54	45	51	57	48	54	10	48
Mastung	65	63	64	107	41	81	97	47	77	2	66
Nasirabad	108	44	78	10	12	11	27	22	25	23	24
Nushki	80	93	87	105	64	84	100	70	85	1	46
Pashin	55	58	56	74	40	61	71	42	60	7	42
Qilla Abdullah	27	30	28	36	7	24	34	11	25	24	40
Qilla Saifullah	-	-	-	83	12	56	83	12	56	9	46
Quetta	67	57	63	70	43	58	69	49	60	6	78
Shaheed Sikandar Abad	-	-	-	11	0	7	11	0	7	28	
Sherani	-	-	-	49	0	33	49	0	33	21	27
Sibbi	69	87	78	33	20	26	53	52	52	11	54
Sohbatpur	0	67	18	67	44	56	57	46	52	12	
Washuk	50	0	29	54	24	42	53	20	40	17	25
Ziarat	60	50	55	46	19	36	46	20	36	19	61

TABLE 2.10(b): GROSS ENROLMENT RATIO AT THE MIDDLE LEVEL (AGE 10-12)- BY PROVINCE & DISTRICT

PROVINCE & DISTRICT	URBAN			RURAL			TOTAL			RANK	TOTAL 14-15
	MALE	FEMALE	TOTAL	MALE	FEMALE	TOTAL	MALE	FEMALE	TOTAL		
Pakistan	**66**	**67**	**67**	**57**	**43**	**50**	**60**	**51**	**56**		**55**
Punjab	**68**	**74**	**71**	**58**	**54**	**56**	**61**	**61**	**61**		**59**
Attock	79	87	83	82	81	82	82	82	82	5	89
Bahawalnager	64	70	67	48	49	48	51	53	52	31	51
Bahawalpur	50	65	57	39	35	37	42	43	43	33	35
Bhakhar	75	67	71	68	47	58	69	50	59	23	47
Chakwal	120	84	99	78	81	79	83	82	82	4	101
Chiniot	67	67	67	65	42	53	66	49	58	26	51
D.G.khan	75	63	69	37	22	30	43	29	37	35	40
Faisalabad	69	73	71	67	64	65	68	68	68	16	72
Gujranwala	68	81	74	61	67	64	65	75	70	13	74
Gujrat	74	92	83	86	95	90	82	94	88	3	84
Hafizabad	84	74	78	67	57	62	72	63	68	17	62
Islamabad	109	85	97	95	81	88	102	83	92	1	105
Jehlum	101	78	89	96	81	88	97	80	89	2	87
Jhang	75	69	72	53	44	49	58	50	54	28	53
Kasur	72	83	78	69	71	70	69	74	72	9	56
Khanewal	75	76	76	63	49	56	65	54	60	22	53
Khushab	78	91	84	66	58	63	69	67	68	15	66
Lahore	62	72	66	-	-	-	62	72	66	18	71
Layyah	59	104	79	66	61	64	65	67	66	19	57
Lodhran	79	67	74	55	46	50	59	49	54	27	45
Mandi Bahuddin	48	84	64	64	83	73	61	83	71	11	73
Mianwali	81	72	77	75	46	62	76	52	65	20	68
Multan	68	71	70	49	36	43	57	50	53	29	51
Muzaffar Garh	50	52	51	40	26	33	41	30	36	36	36
Nankana Sahib	70	135	98	70	66	68	70	74	72	10	61
Narowal	80	83	81	68	82	75	70	82	76	8	72
Okara	59	57	58	58	59	58	58	59	58	24	53
Pakpatten	52	85	67	48	49	48	49	54	51	32	44
Rahim Yar Khan	61	64	63	38	28	33	43	35	39	34	37
Rajanpur	52	62	55	36	21	30	39	27	34	37	31
Rawalpindi	73	77	75	79	81	80	76	79	77	6	89
Sahiwal	79	63	70	59	51	55	62	54	58	25	58
Sargodha	85	84	84	59	68	63	66	72	69	14	69
Sheikhupura	69	72	70	60	58	59	63	62	62	21	57
Sialkot	78	66	71	82	77	80	81	74	77	7	82
T.T.Singh	81	103	90	63	69	65	66	75	70	12	65
Vehari	63	76	70	51	48	50	53	54	53	30	51

TABLE 2.10(b): GROSS ENROLMENT RATIO AT THE MIDDLE LEVEL (AGE 10-12)- BY PROVINCE & DISTRICT

PROVINCE & DISTRICT	URBAN			RURAL			TOTAL			RANK	TOTAL 14-15
	MALE	FEMALE	TOTAL	MALE	FEMALE	TOTAL	MALE	FEMALE	TOTAL		
Sindh	**62**	**60**	**61**	**38**	**16**	**29**	**50**	**38**	**45**		**46**
Badin	38	36	37	36	8	24	36	14	27	25	24
Dadu	89	73	81	44	29	38	54	40	48	8	48
Ghotki	48	72	57	52	9	32	51	16	36	21	31
Hyderabad	56	63	59	31	36	33	51	58	54	6	61
Jaccobabad	90	55	75	33	9	23	49	23	38	15	34
Jamshoro	54	68	58	34	21	30	40	35	38	14	42
Karachi Central	62	72	67	-	-	-	62	72	67	2	
Karachi East	61	73	66	-	-	-	61	73	66	3	
Karachi Malir	52	36	45	35	47	40	44	40	42	9	
Karachi South	66	59	63	-	-	-	66	59	63	4	
Karachi West	60	55	57	13	22	17	57	53	55	5	
Kashmore	55	42	51	51	6	32	52	13	36	19	31
Khairpur	55	40	48	44	20	33	47	26	37	18	44
Korangi	73	82	76	-	-	-	73	82	76	1	
Larkana	47	38	43	36	26	32	41	33	38	16	50
Matiari	57	43	50	50	26	38	52	30	41	10	39
Mir Pur Khas	61	59	60	38	15	28	44	25	36	20	36
Nowshero Feroze	69	65	67	46	19	33	49	26	37	17	37
Sanghar	77	64	71	43	15	30	52	27	40	12	33
Shahdadkot	63	40	54	27	14	22	36	21	30	24	29
Shaheed Benazirabad	67	49	58	51	12	31	55	21	39	13	35
Shikarpur	81	58	70	31	14	24	40	24	33	23	38
Sujawal	153	19	67	30	9	21	34	10	23	26	20
Sukkur	69	61	65	59	16	39	63	34	50	7	52
Tando Allah Yar	94	57	73	37	19	29	50	31	41	11	36
Tando Muhd Khan	30	13	22	31	13	23	31	13	23	27	23
Tharparkar	68	33	62	28	7	19	31	8	22	28	31
Thatta	19	14	17	18	10	15	18	11	15	29	21
Umer Kot	97	48	71	36	14	27	46	22	35	22	31

TABLE 2.10(b): GROSS ENROLMENT RATIO AT THE MIDDLE LEVEL (AGE 10-12)- BY PROVINCE & DISTRICT

PROVINCE & DISTRICT	URBAN			RURAL			TOTAL			RANK	TOTAL 14-15
	MALE	FEMALE	TOTAL	MALE	FEMALE	TOTAL	MALE	FEMALE	TOTAL		
Khyber Pakhtunkhwa	**80**	**66**	**73**	**72**	**40**	**58**	**73**	**44**	**60**		**61**
Abbottabad	116	106	111	75	82	78	83	87	85	2	88
Bajur	-	-	-	40	14	28	40	14	28	31	
Bannu	94	60	77	49	25	37	50	26	39	27	52
Batagram	-	-	-	67	20	47	67	20	47	23	41
Bonair	-	-	-	77	35	59	77	35	59	15	52
Charsada	78	73	76	65	42	54	67	47	58	16	55
Chitral	62	114	84	85	84	85	81	88	85	3	88
D.I.Khan	50	58	53	63	27	51	61	35	52	20	49
Hangu	88	61	73	78	32	59	79	36	60	14	57
Haripur	96	112	104	97	72	84	97	75	86	1	90
Karak	83	100	92	93	48	74	93	51	75	6	71
Khyber	11	10	11	68	20	47	55	18	39	26	
Kohat	100	69	84	92	47	71	93	51	73	7	65
Kohistan	-	-	-	41	4	24	41	4	24	32	19
Kurram	-	-	-	63	36	51	63	36	51	21	
Lakki Marwat	121	108	114	63	32	49	67	39	54	18	63
Lower Dir	100	133	113	84	54	70	84	54	70	8	74
Malakand	50	67	59	87	79	83	82	76	79	4	85
Mansehra	90	64	79	78	55	67	79	55	68	11	70
Mardan	59	57	58	78	49	64	75	50	63	13	69
Mohmand	-	-	-	55	8	32	55	8	32	30	
North Waziritan	-	-	-	52	6	38	52	6	38	28	
Nowshera	80	52	67	78	62	71	78	60	70	10	69
Orakzai	-	-	-	72	14	47	72	14	47	22	
Peshawar	88	67	77	80	45	65	83	55	70	9	68
Shangla	-	-	-	60	17	42	60	17	42	24	38
South Waziristan	-	-	-	65	37	55	65	37	55	17	
Swabi	90	97	94	89	57	74	89	63	77	5	72
Swat	91	48	70	91	34	66	91	38	67	12	50
Tank	55	36	45	49	21	40	50	25	41	25	49
Tor Garh	-	-	-	50	7	33	50	7	33	29	26
Upper Dir	33	57	44	68	37	54	66	38	54	19	51

TABLE 2.10(b): GROSS ENROLMENT RATIO AT THE MIDDLE LEVEL (AGE 10-12)- BY PROVINCE & DISTRICT

PROVINCE & DISTRICT	URBAN			RURAL			TOTAL			RANK	TOTAL 14-15
	MALE	FEMALE	TOTAL	MALE	FEMALE	TOTAL	MALE	FEMALE	TOTAL		
Balochistan	**59**	**47**	**54**	**43**	**22**	**34**	**47**	**29**	**40**		**40**
Awaran	78	25	62	21	0	15	27	3	20	24	20
Barkhan	120	50	82	39	7	27	49	15	35	16	33
Dera Bugti	51	8	35	3	2	3	17	4	12	27	18
Duki	33	200	75	97	11	77	91	33	77	1	
Gwadar	60	44	54	28	19	24	43	30	38	13	55
Hernai	44	76	54	31	12	24	35	29	32	17	30
Jafarabad	60	36	49	26	13	21	39	22	32	18	29
Bolan	176	94	121	45	24	37	49	31	42	11	32
Kalat	-	-	-	53	16	37	53	16	37	14	38
Ketch	83	40	61	44	20	32	58	28	43	10	
Kharan	76	37	58	52	36	45	56	36	47	7	39
Khuzdar	-	-	-	25	3	18	25	3	18	25	31
Kohlu	60	0	50	38	24	31	44	22	36	15	28
Lasbilla	27	14	23	31	12	22	28	13	23	22	39
Loralai	69	48	59	47	42	45	56	45	51	6	36
Mastung	90	63	75	85	30	62	86	36	64	2	49
Nasirabad	66	41	57	8	6	7	20	13	17	26	18
Nushki	45	67	55	73	49	61	66	53	60	3	40
Pashin	59	53	57	68	39	57	66	41	57	4	38
Qilla Abdullah	27	34	30	32	6	21	31	11	23	23	32
Qilla Saifullah	-	-	-	73	9	47	73	9	47	9	31
Quetta	65	55	61	56	42	50	60	47	55	5	75
Shaheed Sikandar Abad	-	-	-	7	0	5	7	0	5	28	
Sherani	-	-	-	39	0	31	39	0	31	20	24
Sibbi	65	91	76	28	16	21	47	47	47	8	47
Sohbatpur	0	100	17	47	38	43	40	40	40	12	
Washuk	40	0	25	44	15	30	43	13	30	21	19
Ziarat	60	50	55	42	16	31	42	16	31	19	52

TABLE 2.11(a): NET ENROLMENT RATE AT THE MIDDLE LEVEL (AGE 11-13)- BY PROVINCE & DISTRICT

PROVINCE & DISTRICT	URBAN			RURAL			TOTAL			RANK	TOTAL 14-15
	MALE	FEMALE	TOTAL	MALE	FEMALE	TOTAL	MALE	FEMALE	TOTAL		
Pakistan	**44**	**46**	**45**	**37**	**29**	**33**	**39**	**35**	**37**		**37**
Punjab	**44**	**50**	**47**	**38**	**36**	**37**	**40**	**41**	**41**		**38**
Attock	46	74	58	56	58	57	53	61	57	4	52
Bahawalnager	30	44	37	32	32	32	32	34	33	31	31
Bahawalpur	31	41	36	23	23	23	26	29	27	35	21
Bhakhar	37	47	42	42	29	36	42	32	37	26	29
Chakwal	58	59	59	60	58	59	60	59	59	3	56
Chiniot	42	46	45	40	31	36	41	36	38	24	33
D.G.khan	51	59	54	33	16	25	37	23	30	32	26
Faisalabad	43	47	45	48	45	46	45	46	46	11	47
Gujranwala	45	49	47	39	40	39	42	45	44	17	42
Gujrat	43	60	51	50	62	55	48	61	54	5	53
Hafizabad	50	48	49	38	42	40	41	45	43	19	37
Islamabad	74	56	66	68	67	68	71	62	67	1	67
Jehlum	70	69	69	67	55	61	68	58	63	2	60
Jhang	57	40	49	31	34	32	36	35	36	27	37
Kasur	43	54	49	35	40	37	37	44	40	21	38
Khanewal	51	53	52	39	31	35	41	36	39	23	33
Khushab	50	52	51	47	35	41	48	39	44	15	39
Lahore	42	49	45				42	49	45	14	45
Layyah	44	67	53	48	38	43	48	42	45	13	39
Lodhran	33	38	35	30	26	28	30	28	29	33	33
Mandi Bahuddin	41	62	52	40	50	45	40	52	46	10	48
Mianwali	44	49	46	48	37	43	47	40	44	16	43
Multan	46	48	47	32	23	27	38	33	36	28	31
Muzaffar Garh	32	34	33	26	17	22	27	19	24	37	22
Nankana Sahib	28	50	39	45	47	46	43	47	45	12	39
Narowal	55	65	60	44	49	47	46	51	49	8	48
Okara	41	47	44	39	40	39	39	42	41	20	33
Pakpatten	41	61	51	31	33	32	32	37	35	29	30
Rahim Yar Khan	38	42	39	23	19	21	27	24	26	36	23
Rajanpur	52	53	52	28	15	23	32	21	28	34	26
Rawalpindi	51	56	53	50	58	54	50	57	54	6	53
Sahiwal	49	52	51	42	33	37	43	37	40	22	35
Sargodha	55	54	55	38	48	43	43	50	46	9	41
Sheikhupura	38	43	40	33	37	35	35	39	37	25	39
Sialkot	48	59	55	48	50	49	48	52	50	7	51
T.T.Singh	48	51	49	42	42	42	44	44	44	18	49
Vehari	44	54	49	33	28	31	35	33	34	30	34

TABLE 2.11(a): NET ENROLMENT RATE AT THE MIDDLE LEVEL (AGE 11-13)- BY PROVINCE & DISTRICT

PROVINCE & DISTRICT	URBAN			RURAL			TOTAL			RANK	TOTAL 14-15
	MALE	FEMALE	TOTAL	MALE	FEMALE	TOTAL	MALE	FEMALE	TOTAL		
Sindh	**43**	**43**	**43**	**28**	**13**	**21**	**35**	**29**	**32**		**34**
Badin	32	19	26	27	8	19	28	11	20	25	15
Dadu	65	65	65	38	28	34	45	39	42	4	41
Ghotki	45	52	48	31	9	22	33	16	26	20	29
Hyderabad	42	48	45	26	34	29	39	46	42	5	38
Jaccobabad	60	36	50	23	6	16	36	16	27	15	28
Jamshoro	29	31	29	32	20	28	31	24	29	12	29
Karachi Central	41	48	44				41	48	44	2	
Karachi East	40	49	44				40	49	44	3	
Karachi Malir	41	37	39	25	37	29	33	37	35	10	
Karachi South	38	36	37				38	36	37	7	
Karachi West	37	40	38	14	15	14	35	39	37	8	
Kashmore	46	30	39	42	4	26	43	9	29	13	24
Khairpur	42	34	38	31	20	27	34	24	30	11	32
Korangi	52	53	52				52	53	52	1	
Larkana	50	39	46	32	20	28	40	30	36	9	38
Matiari	35	28	32	27	17	22	29	20	25	21	26
Mir Pur Khas	44	42	43	27	13	21	31	20	26	17	25
Nowshero Feroze	51	49	50	25	11	19	28	18	23	23	22
Sanghar	46	38	43	27	15	21	32	21	27	16	22
Shahdadkot	45	28	38	23	9	18	29	15	23	22	31
Shaheed Benazirabad	37	27	33	37	9	23	37	15	26	18	27
Shikarpur	64	53	59	26	10	19	34	20	28	14	28
Sujawal	70	18	40	14	6	10	17	7	12	28	10
Sukkur	53	51	52	40	13	28	46	29	38	6	46
Tando Allah Yar	44	49	46	25	10	18	30	21	26	19	23
Tando Muhd Khan	30	16	23	22	9	16	23	11	18	26	12
Tharparkar	37	20	31	23	5	15	24	6	16	27	19
Thatta	16	10	13	7	10	8	9	10	9	29	9
Umer Kot	51	31	40	24	7	17	29	14	22	24	20

TABLE 2.11(a): NET ENROLMENT RATE AT THE MIDDLE LEVEL (AGE 11-13)- BY PROVINCE & DISTRICT

PROVINCE & DISTRICT	URBAN			RURAL			TOTAL			RANK	TOTAL 14-15
	MALE	FEMALE	TOTAL	MALE	FEMALE	TOTAL	MALE	FEMALE	TOTAL		
Khyber Pakhtunkhwa	**50**	**42**	**47**	**44**	**27**	**36**	**45**	**29**	**38**		**41**
Abbottabad	75	54	65	47	49	48	54	51	52	4	45
Bajur				15	9	12	15	9	12	31	
Bannu	75	56	65	44	21	33	44	23	34	21	37
Batagram				32	9	22	32	9	22	27	21
Bonair				45	20	35	45	20	35	17	36
Charsada	49	42	46	39	30	35	41	32	36	16	39
Chitral	40	74	55	53	57	55	50	60	55	2	53
D.I.Khan	33	45	38	43	16	34	41	23	35	20	30
Hangu	67	46	55	41	16	28	44	20	31	22	38
Haripur	58	62	60	62	47	54	62	48	55	1	53
Karak	75	63	67	63	42	54	63	43	55	3	49
Khyber	0	0	0	40	11	28	32	9	22	24	
Kohat	59	40	49	50	28	40	51	30	41	11	48
Kohistan				16	4	11	16	4	11	32	8
Kurram				27	15	22	27	15	22	25	
Lakki Marwat	82	63	73	52	27	40	54	30	43	10	46
Lower Dir	42	43	42	42	34	38	42	34	38	14	42
Malakand	33	67	50	53	50	51	51	52	51	5	53
Mansehra	70	55	63	50	33	42	52	35	44	9	46
Mardan	43	30	36	49	32	41	48	32	40	13	48
Mohmand				31	7	19	31	7	19	30	
North Waziritan				30	5	22	30	5	22	26	
Nowshera	49	32	42	55	40	48	54	38	47	7	51
Orakzai				34	7	22	34	7	22	23	
Peshawar	53	45	49	54	28	42	54	36	45	8	48
Shangla				28	12	21	28	12	21	28	21
South Waziristan				44	35	41	44	35	41	12	
Swabi	45	60	53	55	37	47	54	41	48	6	52
Swat	54	29	42	48	19	36	50	22	37	15	38
Tank	50	43	47	41	19	33	42	23	35	18	27
Tor Garh				30	5	20	30	5	20	29	14
Upper Dir	29	33	31	42	27	35	41	27	35	19	24

TABLE 2.11(a): NET ENROLMENT RATE AT THE MIDDLE LEVEL (AGE 11-13)- BY PROVINCE & DISTRICT

PROVINCE & DISTRICT	URBAN			RURAL			TOTAL			RANK	TOTAL 14-15
	MALE	FEMALE	TOTAL	MALE	FEMALE	TOTAL	MALE	FEMALE	TOTAL		
Balochistan	**39**	**30**	**35**	**28**	**16**	**23**	**31**	**20**	**26**		**26**
Awaran	50	33	46	15	0	11	19	3	15	22	20
Barkhan	50	40	45	13	3	9	19	10	15	21	23
Dera Bugti	56	9	42	5	0	3	18	2	13	25	16
Duki	33	50	40	62	8	46	59	15	45	2	
Gwadar	76	52	69	23	10	18	45	25	38	6	42
Hernai	34	54	41	10	4	8	18	20	19	18	16
Jafarabad	32	26	30	24	11	18	27	16	23	15	22
Bolan	63	26	37	20	11	16	22	13	18	20	19
Kalat				52	10	33	52	10	33	8	35
Ketch	71	47	58	39	19	30	49	30	40	3	
Kharan	48	36	44	38	38	38	40	38	39	5	25
Khuzdar				23	2	15	23	2	15	23	23
Kohlu	33	0	25	33	20	27	33	17	26	12	18
Lasbilla	33	19	29	8	16	10	22	18	21	17	21
Loralai	26	17	22	24	11	19	25	14	21	16	29
Mastung	65	63	64	67	22	49	67	33	53	1	58
Nasirabad	49	21	36	8	7	8	15	12	14	24	17
Nushki	39	46	42	42	34	38	41	37	39	4	33
Pashin	45	45	45	38	30	35	40	32	37	7	21
Qilla Abdullah	10	16	13	17	2	11	15	5	11	27	12
Qilla Saifullah				41	2	26	41	2	26	13	21
Quetta	35	28	32	35	28	32	35	28	32	9	37
Shaheed Sikandar Abad				4	0	3	4	0	3	28	
Sherani				28	0	19	28	0	19	19	15
Sibbi	40	34	38	12	15	14	28	24	26	14	30
Sohbatpur	0	33	9	38	28	33	32	29	30	10	
Washuk	13	0	7	43	19	34	38	16	29	11	23
Ziarat	40	33	36	11	14	12	12	15	13	26	28

TABLE 2.11(b): NET ENROLMENT RATE AT THE MIDDLE LEVEL (AGE 10-12)- BY PROVINCE & DISTRICT

PROVINCE & DISTRICT	URBAN			RURAL			TOTAL			RANK	TOTAL 14-15
	MALE	FEMALE	TOTAL	MALE	FEMALE	TOTAL	MALE	FEMALE	TOTAL		
Pakistan	**26**	**28**	**27**	**20**	**17**	**19**	**22**	**21**	**21**		**22**
Punjab	**27**	**32**	**29**	**22**	**22**	**22**	**24**	**26**	**25**		**25**
Attock	33	51	42	33	34	34	33	38	36	3	32
Bahawalnager	20	34	27	20	21	20	20	23	21	28	19
Bahawalpur	19	28	23	13	13	13	14	17	16	36	14
Bhakhar	24	40	32	23	23	23	23	25	24	23	19
Chakwal	35	37	36	32	34	33	33	35	34	5	42
Chiniot	14	27	20	28	25	27	24	26	25	20	19
D.G.khan	25	33	29	17	10	14	18	14	16	33	18
Faisalabad	27	30	28	28	28	28	28	29	28	10	29
Gujranwala	25	30	27	22	25	23	24	28	26	15	26
Gujrat	25	36	30	32	37	34	30	37	33	6	31
Hafizabad	36	28	32	19	27	23	24	27	26	14	22
Islamabad	47	38	42	37	43	40	42	41	41	1	47
Jehlum	42	39	41	41	34	37	41	35	38	2	41
Jhang	41	29	35	18	19	19	23	21	22	26	22
Kasur	24	35	30	23	26	24	23	28	26	16	23
Khanewal	31	38	35	26	20	23	27	24	25	17	22
Khushab	27	37	31	22	22	22	23	26	24	22	24
Lahore	26	31	28				26	31	28	11	33
Layyah	17	50	31	25	22	24	24	26	25	19	23
Lodhran	21	25	23	15	18	17	17	19	18	32	21
Mandi Bahuddin	15	44	28	22	27	24	21	30	25	18	28
Mianwali	22	31	27	30	21	26	29	23	26	12	26
Multan	27	32	29	19	16	18	22	23	22	25	19
Muzaffar Garh	22	26	24	16	10	13	17	12	15	37	12
Nankana Sahib	24	26	25	26	23	25	26	23	25	21	27
Narowal	42	30	36	31	34	32	33	33	33	7	29
Okara	17	28	22	21	21	21	20	23	21	29	22
Pakpatten	21	39	29	20	17	19	20	20	20	31	18
Rahim Yar Khan	29	27	28	12	13	13	15	16	16	35	18
Rajanpur	36	25	32	15	9	13	19	11	16	34	18
Rawalpindi	31	37	34	27	35	31	29	36	33	8	40
Sahiwal	33	31	32	22	19	21	24	22	23	24	25
Sargodha	35	37	36	24	30	27	27	32	30	9	28
Sheikhupura	22	26	24	22	20	21	22	22	22	27	20
Sialkot	27	36	32	33	35	34	31	36	34	4	34
T.T.Singh	29	25	27	23	29	26	24	28	26	13	32
Vehari	26	43	35	17	17	17	19	22	20	30	20

TABLE 2.11(b): NET ENROLMENT RATE AT THE MIDDLE LEVEL (AGE 10-12)- BY PROVINCE & DISTRICT

PROVINCE & DISTRICT	URBAN			RURAL			TOTAL			RANK	TOTAL 14-15
	MALE	FEMALE	TOTAL	MALE	FEMALE	TOTAL	MALE	FEMALE	TOTAL		
Sindh	**24**	**25**	**24**	**15**	**7**	**11**	**19**	**16**	**18**		**18**
Badin	12	4	8	12	5	9	12	4	9	27	9
Dadu	35	47	40	23	16	20	26	24	25	4	19
Ghotki	18	35	25	17	5	11	17	8	13	19	13
Hyderabad	25	26	25	15	27	20	23	26	24	6	28
Jaccobabad	34	13	24	14	6	11	20	8	15	15	15
Jamshoro	14	29	18	18	12	16	16	17	17	12	14
Karachi Central	24	31	27				24	31	27	2	
Karachi East	22	33	27				22	33	27	3	
Karachi Malir	22	27	24	11	22	15	17	25	21	9	
Karachi South	23	18	21				23	18	21	8	
Karachi West	18	19	19	9	7	8	18	18	18	10	
Kashmore	24	14	21	24	2	15	24	4	16	14	13
Khairpur	16	16	16	17	7	13	17	10	14	18	19
Korangi	31	29	30				31	29	30	1	
Larkana	37	26	32	19	14	17	27	21	25	5	21
Matiari	22	13	18	13	9	11	16	10	13	21	16
Mir Pur Khas	24	23	24	14	7	11	16	10	14	17	14
Nowshero Feroze	36	31	33	12	6	9	15	10	13	22	13
Sanghar	29	17	24	15	7	11	18	9	14	16	13
Shahdadkot	30	21	26	11	5	9	16	9	13	20	8
Shaheed Benazirabad	24	26	25	23	6	14	23	11	17	11	13
Shikarpur	36	30	33	17	4	12	20	10	16	13	17
Sujawal	20	19	19	6	3	5	6	4	5	28	4
Sukkur	41	32	37	18	9	14	28	18	23	7	25
Tando Allah Yar	13	22	18	7	4	6	8	10	9	26	12
Tando Muhd Khan	16	9	13	12	7	10	13	8	10	24	8
Tharparkar	15	33	18	14	3	9	14	4	10	25	10
Thatta	9	6	8	4	3	3	5	3	4	29	4
Umer Kot	38	22	29	9	3	7	14	7	11	23	11

TABLE 2.11(b): NET ENROLMENT RATE AT THE MIDDLE LEVEL (AGE 10-12)- BY PROVINCE & DISTRICT

PROVINCE & DISTRICT	URBAN			RURAL			TOTAL			RANK	TOTAL 14-15
	MALE	FEMALE	TOTAL	MALE	FEMALE	TOTAL	MALE	FEMALE	TOTAL		
Khyber Pakhtunkhwa	**28**	**24**	**26**	**22**	**13**	**18**	**23**	**15**	**19**		**21**
Abbottabad	59	37	49	24	25	25	31	27	29	3	30
Bajur				6	4	5	6	4	5	31	
Bannu	42	43	43	17	8	13	18	9	14	22	22
Batagram				17	5	12	17	5	12	23	11
Bonair				23	8	17	23	8	17	19	14
Charsada	26	25	25	20	12	16	21	15	18	17	20
Chitral	21	55	35	27	34	31	26	37	31	2	31
D.I.Khan	28	27	27	22	8	17	23	13	19	16	18
Hangu	34	31	32	18	4	12	19	8	14	21	20
Haripur	24	44	34	37	28	32	35	30	32	1	31
Karak	50	33	42	29	20	25	30	21	26	4	33
Khyber	0	0	0	16	5	11	12	4	9	28	
Kohat	29	13	20	34	16	26	34	16	25	7	22
Kohistan				7	0	4	7	0	4	32	4
Kurram				9	7	8	9	7	8	29	
Lakki Marwat	53	42	47	23	13	19	25	16	21	11	26
Lower Dir	0	33	13	21	17	19	21	17	19	15	22
Malakand	8	33	22	26	24	25	24	25	25	9	24
Mansehra	47	35	42	28	21	25	29	22	26	6	23
Mardan	17	11	14	26	15	21	25	14	20	14	23
Mohmand				13	3	8	13	3	8	30	
North Waziritan				13	1	10	13	1	10	26	
Nowshera	25	12	19	32	23	28	30	20	26	5	23
Orakzai				14	3	9	14	3	9	27	
Peshawar	32	29	31	27	12	21	29	20	25	8	24
Shangla				15	6	11	15	6	11	24	10
South Waziristan				22	20	21	22	20	21	12	
Swabi	23	37	30	24	16	20	24	19	22	10	27
Swat	25	12	18	21	10	16	22	11	17	18	16
Tank	27	27	27	24	9	19	24	13	20	13	20
Tor Garh				15	3	10	15	3	10	25	8
Upper Dir	11	29	19	18	13	16	18	14	16	20	12

TABLE 2.11(b): NET ENROLMENT RATE AT THE MIDDLE LEVEL (AGE 10-12)- BY PROVINCE & DISTRICT

PROVINCE & DISTRICT	URBAN			RURAL			TOTAL			RANK	TOTAL 14-15
	MALE	FEMALE	TOTAL	MALE	FEMALE	TOTAL	MALE	FEMALE	TOTAL		
Balochistan	**23**	**17**	**20**	**16**	**8**	**13**	**18**	**11**	**15**		**13**
Awaran	33	25	31	5	0	4	8	3	7	23	11
Barkhan	40	17	27	3	2	3	7	5	6	25	12
Dera Bugti	31	4	21	2	0	2	10	1	7	22	6
Duki	33	100	50	40	0	30	39	11	32	1	
Gwadar	46	27	39	10	5	8	27	14	22	4	22
Hernai	12	39	21	7	2	5	9	11	10	19	9
Jafarabad	21	16	19	14	2	9	16	8	13	16	14
Bolan	0	13	9	9	6	8	9	7	8	21	11
Kalat				33	8	22	33	8	22	3	18
Ketch	35	21	28	22	11	17	26	15	21	6	
Kharan	31	8	21	16	21	18	19	18	19	10	12
Khuzdar				14	0	10	14	0	10	20	13
Kohlu	20	0	17	18	24	21	19	22	20	8	6
Lasbilla	19	0	14	5	0	3	15	0	10	18	10
Loralai	16	14	15	13	7	11	14	11	13	15	12
Mastung	60	27	42	36	12	26	39	15	29	2	29
Nasirabad	23	11	19	3	2	3	7	4	6	26	8
Nushki	15	28	21	24	19	22	22	21	21	5	9
Pashin	30	27	29	23	13	19	24	14	20	7	13
Qilla Abdullah	6	14	9	10	0	6	9	2	6	24	5
Qilla Saifullah				24	2	15	24	2	15	12	14
Quetta	21	18	20	21	17	19	21	17	20	9	21
Shaheed Sikandar Abad				3	0	2	3	0	2	28	
Sherani				17	0	13	17	0	13	14	7
Sibbi	15	14	14	8	9	8	11	11	11	17	20
Sohbatpur	0	0	0	17	15	16	15	14	15	13	
Washuk	10	0	6	24	9	17	22	8	16	11	13
Ziarat	40	33	36	4	7	5	4	7	5	27	15

TABLE 2.12(a): GROSS ENROLMENT RATIO AT THE MATRIC LEVEL (AGE 14-15)- BY PROVINCE & DISTRICT

PROVINCE & DISTRICT	URBAN			RURAL			TOTAL			RANK	TOTAL 14-15
	MALE	FEMALE	TOTAL	MALE	FEMALE	TOTAL	MALE	FEMALE	TOTAL		
Pakistan	**78**	**73**	**76**	**56**	**38**	**47**	**63**	**50**	**57**		**58**
Punjab	**82**	**83**	**83**	**60**	**50**	**55**	**68**	**62**	**65**		**63**
Attock	109	82	94	90	83	86	94	83	88	4	82
Bahawalnager	64	65	64	41	31	36	46	37	42	34	47
Bahawalpur	81	69	75	43	28	35	57	40	49	28	44
Bhakhar	55	109	73	56	32	43	56	38	47	31	47
Chakwal	57	83	70	99	104	101	90	100	95	1	92
Chiniot	47	44	45	63	49	58	58	47	53	26	47
D.G.khan	62	69	65	42	33	38	46	41	44	33	33
Faisalabad	73	65	69	59	63	61	66	64	65	18	65
Gujranwala	74	96	84	62	71	66	69	85	77	11	76
Gujrat	85	82	84	72	88	80	75	87	81	8	80
Hafizabad	54	67	61	65	62	63	62	64	63	20	61
Islamabad	99	70	84	88	90	89	94	78	86	5	106
Jehlum	83	79	81	85	77	81	84	78	81	9	96
Jhang	63	78	70	55	40	49	57	51	54	25	54
Kasur	45	77	60	81	59	70	71	63	67	15	65
Khanewal	66	78	72	53	43	48	56	50	53	27	56
Khushab	100	97	99	84	44	64	88	56	72	12	73
Lahore	91	88	89	-	-	-	91	88	89	3	93
Layyah	100	57	77	61	47	54	66	48	57	23	56
Lodhran	67	82	73	41	36	38	47	43	45	32	42
Mandi Bahuddin	156	103	128	77	83	81	87	85	86	6	72
Mianwali	68	77	72	64	38	51	65	47	56	24	62
Multan	101	80	91	44	39	42	66	56	61	22	51
Muzaffar Garh	54	42	48	45	19	32	46	22	35	37	36
Nankana Sahib	102	35	63	66	58	62	71	54	62	21	69
Narowal	86	123	105	86	76	81	86	83	84	7	69
Okara	80	109	95	55	58	57	61	74	68	14	72
Pakpatten	86	94	90	53	30	41	57	38	47	30	50
Rahim Yar Khan	73	53	64	44	25	35	50	31	41	35	33
Rajanpur	88	104	95	36	16	28	47	34	41	36	41
Rawalpindi	101	92	96	99	84	91	99	88	94	2	99
Sahiwal	80	67	73	76	47	62	77	51	64	19	65
Sargodha	75	87	80	69	53	61	71	63	67	16	57
Sheikhupura	91	100	95	65	59	62	72	68	70	13	70
Sialkot	79	133	106	61	74	68	66	89	77	10	69
T.T.Singh	96	73	82	63	58	60	70	62	66	17	67
Vehari	93	98	95	42	35	39	51	44	48	29	47

TABLE 2.12(a): GROSS ENROLMENT RATIO AT THE MATRIC LEVEL (AGE 14-15)- BY PROVINCE & DISTRICT

PROVINCE & DISTRICT	URBAN			RURAL			TOTAL			RANK	TOTAL 14-15
	MALE	FEMALE	TOTAL	MALE	FEMALE	TOTAL	MALE	FEMALE	TOTAL		
Sindh	**71**	**63**	**68**	**36**	**12**	**25**	**54**	**39**	**47**		**51**
Badin	37	48	43	27	4	17	29	18	24	23	23
Dadu	61	37	51	44	18	36	49	25	40	9	57
Ghotki	82	44	66	41	6	27	47	12	33	17	32
Hyderabad	65	56	60	32	33	32	58	52	55	7	46
Jaccobabad	68	63	66	22	0	13	38	21	31	18	28
Jamshoro	86	60	78	23	10	17	46	22	36	14	43
Karachi Central	76	74	75	-	-	-	76	74	75	3	
Karachi East	92	82	87	-	-	-	92	82	87	2	
Karachi Malir	68	107	81	53	37	46	62	65	63	5	
Karachi South	71	71	71	-	-	-	71	71	71	4	
Karachi West	62	55	59	34	14	26	61	53	57	6	
Kashmore	50	20	35	23	11	18	29	14	22	27	32
Khairpur	56	37	47	45	17	34	48	24	38	12	43
Korangi	92	82	87	-	-	-	92	82	87	1	
Larkana	44	19	36	23	0	12	34	7	22	26	46
Matiari	57	51	54	33	12	24	38	22	31	19	31
Mir Pur Khas	77	71	74	36	18	28	46	30	39	11	36
Nowshero Feroze	83	82	82	43	18	32	49	29	40	10	36
Sanghar	45	55	50	42	15	30	43	29	37	13	29
Shahdadkot	31	53	43	21	8	15	23	23	23	24	27
Shaheed Benazirabad	44	36	40	47	11	31	46	18	34	16	31
Shikarpur	106	44	74	27	9	19	42	17	31	21	31
Sujawal	40	87	60	25	14	20	26	18	23	25	14
Sukkur	82	52	68	44	9	27	60	27	44	8	44
Tando Allah Yar	33	55	43	39	6	23	37	20	29	22	42
Tando Muhd Khan	61	26	49	40	8	27	44	11	31	20	23
Tharparkar	42	0	21	35	3	21	36	3	21	28	32
Thatta	60	39	53	11	3	8	19	7	14	29	15
Umer Kot	156	61	99	27	3	16	51	19	35	15	32

TABLE 2.12(a): GROSS ENROLMENT RATIO AT THE MATRIC LEVEL (AGE 14-15)- BY PROVINCE & DISTRICT

PROVINCE & DISTRICT	URBAN			RURAL			TOTAL			RANK	TOTAL 14-15
	MALE	FEMALE	TOTAL	MALE	FEMALE	TOTAL	MALE	FEMALE	TOTAL		
Khyber Pakhtunkhwa	**91**	**56**	**73**	**64**	**31**	**49**	**67**	**35**	**53**		**55**
Abbottabad	100	140	117	70	62	66	76	76	76	3	76
Bajur	-	-	-	36	7	22	36	7	22	31	
Bannu	128	57	77	72	27	52	73	29	53	17	66
Batagram	-	-	-	61	23	44	61	23	44	21	38
Bonair	-	-	-	62	20	41	62	20	41	23	40
Charsada	66	58	62	59	43	51	61	46	54	16	53
Chitral	73	72	72	101	97	100	99	92	96	1	84
D.I.Khan	87	62	74	64	35	54	68	42	58	11	39
Hangu	99	69	84	56	21	38	60	25	42	22	52
Haripur	101	56	72	72	56	65	74	56	65	5	79
Karak	267	33	150	87	54	74	93	53	76	2	76
Khyber	33	0	20	57	10	33	53	9	31	25	
Kohat	143	69	103	75	18	47	84	26	55	15	54
Kohistan	-	-	-	30	1	16	30	1	16	32	15
Kurram	-	-	-	42	16	28	42	16	28	28	
Lakki Marwat	89	46	68	79	24	58	80	27	59	8	77
Lower Dir	120	70	87	69	32	52	69	33	52	18	45
Malakand	100	29	55	72	55	64	73	51	63	6	76
Mansehra	72	74	73	66	44	55	66	45	56	12	70
Mardan	77	42	56	76	51	64	76	49	63	7	55
Mohmand	-	-	-	43	4	24	43	4	24	30	
North Waziritan	-	-	-	41	0	30	41	0	30	26	
Nowshera	86	50	72	68	42	55	72	44	58	10	56
Orakzai	-	-	-	37	7	26	37	7	26	29	
Peshawar	91	48	69	61	24	45	73	35	55	14	60
Shangla	-	-	-	39	16	29	39	16	29	27	42
South Waziristan	-	-	-	62	7	48	62	7	48	20	
Swabi	61	67	64	69	40	55	68	43	56	13	51
Swat	107	58	82	61	31	47	74	40	58	9	53
Tank	117	100	113	95	14	67	99	25	74	4	48
Tor Garh	-	-	-	62	0	33	62	0	33	24	20
Upper Dir	120	57	83	69	23	50	71	26	52	19	38

TABLE 2.12(a): GROSS ENROLMENT RATIO AT THE MATRIC LEVEL (AGE 14-15)- BY PROVINCE & DISTRICT

PROVINCE & DISTRICT	URBAN			RURAL			TOTAL			RANK	TOTAL 14-15
	MALE	FEMALE	TOTAL	MALE	FEMALE	TOTAL	MALE	FEMALE	TOTAL		
Balochistan	**63**	**34**	**51**	**41**	**16**	**31**	**47**	**21**	**36**		**39**
Awaran	75	0	60	5	13	7	17	12	15	25	22
Barkhan	0	33	17	33	7	22	28	12	21	22	37
Dera Bugti	22	14	19	7	4	6	9	7	8	27	9
Duki	-	0	0	92	0	57	92	0	54	4	
Gwadar	40	23	31	52	11	31	46	17	31	15	65
Hernai	22	34	25	34	11	23	30	14	24	21	32
Jafarabad	87	27	54	38	7	25	55	16	37	9	26
Bolan	84	43	63	30	6	19	36	11	24	20	30
Kalat	-	-	-	47	10	28	47	10	28	17	44
Ketch	45	6	34	32	14	24	37	12	27	19	
Kharan	140	78	113	72	26	51	84	34	61	3	38
Khuzdar	-	-	-	26	6	20	26	6	20	23	25
Kohlu	40	100	50	92	-	92	59	100	64	2	29
Lasbilla	45	53	47	36	8	20	42	24	35	12	45
Loralai	77	69	75	42	20	31	56	30	45	8	30
Mastung	62	50	56	62	14	48	62	27	50	7	45
Nasirabad	62	72	65	25	21	24	35	34	35	14	26
Nushki	97	67	79	96	42	72	96	50	74	1	29
Pashin	91	36	66	60	28	50	63	29	52	5	29
Qilla Abdullah	26	7	18	23	0	14	24	1	15	26	23
Qilla Saifullah	-	-	-	61	3	36	61	3	36	11	21
Quetta	77	38	61	52	34	44	62	35	50	6	69
Shaheed Sikandar Abad	-	-	-	4	0	2	4	0	2	28	
Sherani	-	-	-	54	0	27	54	0	27	18	34
Sibbi	81	31	55	30	3	16	56	17	36	10	65
Sohbatpur	67	25	43	34	13	26	37	16	29	16	
Washuk	11	33	17	47	31	40	38	31	35	13	13
Ziarat	50	-	50	28	5	19	29	5	19	24	47

TABLE 2.12(b): GROSS ENROLMENT RATIO AT THE MATRIC LEVEL (AGE 13-14)- BY PROVINCE & DISTRICT

PROVINCE & DISTRICT	URBAN			RURAL			TOTAL			RANK	TOTAL 14-15
	MALE	FEMALE	TOTAL	MALE	FEMALE	TOTAL	MALE	FEMALE	TOTAL		
Pakistan	**79**	**74**	**77**	**57**	**38**	**48**	**64**	**51**	**58**		**59**
Punjab	**81**	**84**	**83**	**61**	**50**	**56**	**68**	**63**	**65**		**63**
Attock	88	105	96	115	75	93	106	82	93	3	76
Bahawalnager	71	55	63	45	32	38	51	36	43	33	49
Bahawalpur	79	62	71	43	25	33	56	37	46	31	41
Bhakhar	70	73	71	49	32	40	52	37	45	32	51
Chakwal	49	89	67	112	110	111	97	106	101	1	92
Chiniot	55	46	50	65	42	55	62	44	53	25	52
D.G.khan	57	72	63	46	28	37	48	36	42	34	35
Faisalabad	74	63	69	57	68	62	65	66	65	18	70
Gujranwala	81	90	85	64	68	66	74	81	77	11	73
Gujrat	67	81	74	73	91	82	71	88	79	10	75
Hafizabad	54	63	59	62	69	65	60	66	63	20	62
Islamabad	97	84	91	91	89	90	94	86	90	5	100
Jehlum	99	103	101	83	87	85	86	91	88	6	89
Jhang	74	96	84	54	41	49	59	55	57	24	49
Kasur	56	79	68	90	66	78	82	70	76	12	67
Khanewal	66	81	73	52	44	48	55	52	53	26	52
Khushab	74	80	76	82	45	64	80	54	67	16	71
Lahore	91	92	91	-	-	-	91	92	91	4	91
Layyah	89	63	76	66	51	58	69	52	61	22	55
Lodhran	84	86	85	42	36	39	51	44	47	28	44
Mandi Bahuddin	128	103	116	74	85	80	81	87	85	8	74
Mianwali	74	79	76	57	31	44	60	41	51	27	68
Multan	92	78	86	47	39	43	66	55	61	21	53
Muzaffar Garh	49	44	47	44	20	33	45	23	35	37	38
Nankana Sahib	110	63	89	72	58	64	77	59	67	17	75
Narowal	96	107	103	86	84	85	88	89	88	7	73
Okara	77	120	98	56	55	56	62	73	68	15	63
Pakpatten	59	86	71	50	34	42	51	41	46	30	55
Rahim Yar Khan	66	56	62	44	24	34	49	31	41	35	35
Rajanpur	93	108	100	31	15	24	41	31	37	36	43
Rawalpindi	84	101	92	109	85	97	96	93	94	2	95
Sahiwal	70	72	71	69	40	55	69	46	58	23	58
Sargodha	90	84	87	75	49	61	79	58	68	14	62
Sheikhupura	94	75	84	70	62	66	77	66	71	13	64
Sialkot	87	146	117	61	76	68	67	93	80	9	68
T.T.Singh	63	75	69	61	65	63	62	68	65	19	69
Vehari	95	83	89	45	32	39	53	40	47	29	43

TABLE 2.12(b): GROSS ENROLMENT RATIO AT THE MATRIC LEVEL (AGE 13-14)- BY PROVINCE & DISTRICT

PROVINCE & DISTRICT	URBAN			RURAL			TOTAL			RANK	TOTAL 14-15
	MALE	FEMALE	TOTAL	MALE	FEMALE	TOTAL	MALE	FEMALE	TOTAL		
Sindh	**73**	**66**	**70**	**37**	**12**	**26**	**56**	**40**	**49**		**54**
Badin	44	61	53	29	4	18	32	20	26	24	24
Dadu	49	32	42	43	11	30	45	18	34	16	48
Ghotki	105	38	70	41	6	27	48	11	33	17	36
Hyderabad	66	51	58	39	35	37	61	49	55	7	55
Jaccobabad	60	75	65	24	0	14	38	21	32	18	30
Jamshoro	90	59	80	26	12	20	50	25	40	11	42
Karachi Central	75	83	79	-	-	-	75	83	79	3	
Karachi East	99	78	89	-	-	-	99	78	89	1	
Karachi Malir	70	117	85	60	66	62	66	92	75	5	
Karachi South	78	80	79	-	-	-	78	80	79	4	
Karachi West	64	60	62	39	12	27	63	57	60	6	
Kashmore	51	25	39	23	10	17	29	14	22	27	34
Khairpur	56	46	52	48	18	36	51	26	40	10	48
Korangi	94	74	85	-	-	-	94	74	85	2	
Larkana	46	18	37	19	1	12	32	8	23	26	49
Matiari	57	54	55	34	9	21	39	18	29	21	35
Mir Pur Khas	75	70	73	38	17	28	47	30	39	12	38
Nowshero Feroze	111	92	101	46	18	33	54	29	42	9	42
Sanghar	47	62	53	41	15	30	43	30	38	13	27
Shahdadkot	30	62	45	21	8	16	23	24	24	25	27
Shaheed Benazirabad	44	30	38	55	12	35	51	18	36	14	31
Shikarpur	94	52	75	29	9	19	43	17	31	19	34
Sujawal	35	118	62	31	15	24	31	21	26	23	16
Sukkur	102	74	90	42	11	28	64	35	51	8	49
Tando Allah Yar	28	53	38	37	6	22	34	19	27	22	41
Tando Muhd Khan	95	29	67	44	9	29	52	11	35	15	24
Tharparkar	35	0	19	39	3	21	39	2	21	28	31
Thatta	68	20	43	14	2	9	23	6	15	29	17
Umer Kot	113	51	78	23	3	14	43	18	31	20	35

TABLE 2.12(b): GROSS ENROLMENT RATIO AT THE MATRIC LEVEL (AGE 13-14)- BY PROVINCE & DISTRICT

PROVINCE & DISTRICT	URBAN			RURAL			TOTAL			RANK	TOTAL 14-15
	MALE	FEMALE	TOTAL	MALE	FEMALE	TOTAL	MALE	FEMALE	TOTAL		
Khyber Pakhtunkhwa	**88**	**58**	**74**	**65**	**31**	**49**	**68**	**35**	**53**		**60**
Abbottabad	96	86	91	74	69	72	79	74	77	2	78
Bajur	-	-	-	33	7	21	33	7	21	30	
Bannu	90	75	81	70	26	50	70	28	51	18	67
Batagram	-	-	-	69	23	47	69	23	47	20	38
Bonair	-	-	-	59	22	42	59	22	42	23	41
Charsada	88	59	72	57	40	49	62	44	53	15	58
Chitral	53	144	88	132	85	108	120	91	105	1	87
D.I.Khan	96	71	84	72	33	57	76	42	62	7	43
Hangu	105	65	84	63	21	41	68	26	45	21	57
Haripur	90	61	73	79	62	71	80	62	71	4	81
Karak	267	17	100	77	59	71	82	55	72	3	76
Khyber	40	0	18	52	11	32	51	9	30	26	
Kohat	110	82	98	71	17	44	77	25	52	16	60
Kohistan	-	-	-	35	1	17	35	1	17	32	19
Kurram	-	-	-	38	18	29	38	18	29	28	
Lakki Marwat	85	55	71	101	22	64	99	26	65	6	71
Lower Dir	75	100	87	66	33	51	66	34	52	17	52
Malakand	100	29	55	88	50	69	89	47	68	5	65
Mansehra	80	55	68	73	44	59	73	45	60	10	70
Mardan	73	48	59	77	46	61	76	46	61	9	58
Mohmand	-	-	-	35	3	20	35	3	20	31	
North Waziritan	-	-	-	45	0	30	45	0	30	27	
Nowshera	83	47	69	66	48	57	70	48	60	11	64
Orakzai	-	-	-	47	6	29	47	6	29	29	
Peshawar	84	51	69	66	22	45	74	34	55	14	67
Shangla	-	-	-	45	17	31	45	17	31	25	42
South Waziristan	-	-	-	64	5	45	64	5	45	22	
Swabi	62	61	62	72	47	61	70	49	61	8	78
Swat	106	70	89	54	32	45	68	44	58	12	55
Tank	117	100	113	74	9	49	81	17	57	13	54
Tor Garh	-	-	-	58	0	32	58	0	32	24	18
Upper Dir	120	80	100	65	23	47	67	26	50	19	39

TABLE 2.12(b): GROSS ENROLMENT RATIO AT THE MATRIC LEVEL (AGE 13-14)- BY PROVINCE & DISTRICT

PROVINCE & DISTRICT	URBAN			RURAL			TOTAL			RANK	TOTAL 14-15
	MALE	FEMALE	TOTAL	MALE	FEMALE	TOTAL	MALE	FEMALE	TOTAL		
Balochistan	**64**	**31**	**50**	**43**	**16**	**32**	**49**	**20**	**37**		**40**
Awaran	60	0	50	2	12	4	9	10	9	26	33
Barkhan	0	50	17	29	7	20	24	12	20	22	37
Dera Bugti	18	25	20	7	4	6	9	7	8	27	11
Duki	-	0	0	66	0	44	66	0	41	10	
Gwadar	100	39	61	41	14	30	55	25	41	9	46
Hernai	17	15	16	30	11	22	25	12	20	21	36
Jafarabad	75	27	51	46	6	26	58	15	36	12	29
Bolan	78	46	63	28	5	18	34	11	23	19	36
Kalat	-	-	-	53	11	31	53	11	31	17	50
Ketch	62	7	46	42	20	32	50	16	37	11	
Kharan	130	68	102	74	26	52	84	34	61	4	36
Khuzdar	-	-	-	23	4	16	23	4	16	24	36
Kohlu	50	-	75	97	0	72	69	104	74	2	25
Lasbilla	56	31	46	26	7	16	43	18	31	16	44
Loralai	70	42	60	48	25	37	58	31	47	7	30
Mastung	62	35	47	93	19	69	86	27	61	3	48
Nasirabad	80	81	80	23	23	23	35	37	35	13	26
Nushki	104	96	100	104	41	75	104	54	80	1	28
Pashin	68	40	58	69	19	48	69	22	49	5	26
Qilla Abdullah	23	7	17	28	0	16	27	1	16	25	23
Qilla Saifullah	-	-	-	52	3	33	52	3	33	14	20
Quetta	71	32	54	53	34	44	60	33	48	6	64
Shaheed Sikandar Abad	-	-	-	5	0	3	5	0	3	28	
Sherani	-	-	-	31	0	18	31	0	18	23	28
Sibbi	74	24	46	27	3	15	51	15	32	15	51
Sohbatpur	100	33	60	42	9	26	47	12	29	18	
Washuk	14	33	20	51	49	50	43	46	44	8	18
Ziarat	100	0	60	30	6	20	30	6	20	20	48

TABLE 2.13(a): NET ENROLMENT RATE AT THE MATRIC LEVEL (AGE 14- 15) - BY PROVINCE & REGION

PROVINCE & DISTRICT	URBAN			RURAL			TOTAL			RANK	TOTAL 14-15
	MALE	FEMALE	TOTAL	MALE	FEMALE	TOTAL	MALE	FEMALE	TOTAL		
Pakistan	**34**	**36**	**35**	**25**	**19**	**22**	**28**	**25**	**27**		**27**
Punjab	**37**	**42**	**39**	**27**	**24**	**25**	**30**	**31**	**30**		**29**
Attock	35	53	45	31	30	31	32	37	35	12	29
Bahawalnager	37	26	32	17	15	16	21	17	19	34	18
Bahawalpur	37	40	39	17	13	15	25	21	23	29	17
Bhakhar	29	46	35	25	15	20	26	18	22	31	20
Chakwal	30	45	38	52	52	52	48	51	49	1	41
Chiniot	22	20	21	31	24	28	28	22	25	25	24
D.G.khan	35	47	41	26	18	23	28	25	26	21	18
Faisalabad	32	34	33	30	30	30	31	32	31	15	36
Gujranwala	29	37	33	28	37	32	29	37	32	14	32
Gujrat	26	27	27	34	42	38	32	38	35	10	40
Hafizabad	15	27	21	21	33	26	19	30	24	26	29
Islamabad	45	39	42	40	50	45	42	44	43	4	49
Jehlum	40	46	43	35	43	39	36	44	40	6	45
Jhang	33	41	37	30	20	26	31	26	29	18	23
Kasur	24	35	29	27	30	28	26	31	29	19	23
Khanewal	32	36	34	23	20	22	25	23	24	27	23
Khushab	38	31	35	40	18	29	39	21	30	16	24
Lahore	42	46	44				42	46	44	3	46
Layyah	44	28	35	30	18	24	32	19	26	24	32
Lodhran	26	37	30	14	16	15	17	19	18	36	18
Mandi Bahuddin	44	52	48	24	37	31	26	38	33	13	34
Mianwali	30	30	30	29	14	22	29	17	24	28	28
Multan	44	35	39	16	19	17	27	26	26	22	23
Muzaffar Garh	15	20	17	18	7	13	18	9	14	37	18
Nankana Sahib	22	12	16	26	29	28	26	27	26	23	30
Narowal	53	63	58	39	38	39	41	42	41	5	37
Okara	39	73	57	27	28	27	30	42	36	8	25
Pakpatten	28	58	44	23	15	19	24	20	22	30	23
Rahim Yar Khan	36	29	33	16	12	14	21	16	19	35	15
Rajanpur	44	42	43	19	9	14	24	15	20	32	19
Rawalpindi	43	50	47	44	41	42	43	46	45	2	49
Sahiwal	25	38	31	33	24	29	31	27	29	17	26
Sargodha	39	47	43	32	30	31	34	35	35	11	33
Sheikhupura	29	40	33	27	26	27	27	30	28	20	25
Sialkot	37	69	53	28	36	32	30	44	37	7	30
T.T.Singh	42	47	45	36	28	32	37	33	35	9	28
Vehari	44	25	36	20	12	16	24	14	20	33	20

TABLE 2.13(a): NET ENROLMENT RATE AT THE MATRIC LEVEL (AGE 14- 15) - BY PROVINCE & REGION

PROVINCE & DISTRICT	URBAN			RURAL			TOTAL			RANK	TOTAL 14-15
	MALE	FEMALE	TOTAL	MALE	FEMALE	TOTAL	MALE	FEMALE	TOTAL		
Sindh	**31**	**32**	**31**	**16**	**7**	**12**	**24**	**20**	**22**		**25**
Badin	33	30	31	8	2	6	14	11	13	24	12
Dadu	37	15	28	15	10	13	20	12	17	13	32
Ghotki	26	24	25	21	4	14	22	7	16	16	21
Hyderabad	38	37	38	18	15	17	34	34	34	4	24
Jaccobabad	38	31	36	11	0	6	20	10	16	15	20
Jamshoro	41	35	39	1	0	1	16	9	13	22	18
Karachi Central	33	39	36				33	39	36	2	
Karachi East	34	37	35				34	37	35	3	
Karachi Malir	19	52	30	29	26	27	23	36	29	6	
Karachi South	29	36	32				29	36	32	5	
Karachi West	19	24	21	8	0	5	18	22	20	10	
Kashmore	46	15	30	8	6	7	17	8	13	21	15
Khairpur	30	21	26	24	11	19	26	14	21	9	30
Korangi	41	39	40				41	39	40	1	
Larkana	27	10	22	10	0	5	19	4	13	25	28
Matiari	33	39	36	11	5	9	16	14	15	18	15
Mir Pur Khas	34	31	32	16	7	12	20	12	17	14	16
Nowshero Feroze	57	59	58	26	10	19	31	19	26	7	23
Sanghar	27	25	26	20	10	16	22	15	19	11	19
Shahdadkot	23	30	27	10	6	8	13	14	13	20	14
Shaheed Benazirabad	25	19	22	23	7	16	24	10	18	12	18
Shikarpur	44	25	34	7	6	6	14	10	12	26	16
Sujawal	25	33	29	8	4	7	9	6	8	28	4
Sukkur	49	31	41	22	5	14	34	16	25	8	25
Tando Allah Yar	17	37	26	16	4	11	17	14	15	17	16
Tando Muhd Khan	20	0	13	18	5	13	18	5	13	23	9
Tharparkar	0	0	0	17	2	10	16	2	10	27	9
Thatta	22	0	15	1	1	1	4	1	3	29	3
Umer Kot	51	37	43	10	2	6	17	12	14	19	16

TABLE 2.13(a): NET ENROLMENT RATE AT THE MATRIC LEVEL (AGE 14- 15) - BY PROVINCE & REGION

PROVINCE & DISTRICT	URBAN			RURAL			TOTAL			RANK	TOTAL 14-15
	MALE	FEMALE	TOTAL	MALE	FEMALE	TOTAL	MALE	FEMALE	TOTAL		
Khyber Pakhtunkhwa	**40**	**26**	**33**	**29**	**16**	**23**	**31**	**18**	**25**		**27**
Abbottabad	47	48	47	34	35	35	37	37	37	3	30
Bajur				10	2	6	10	2	6	30	
Bannu	57	32	39	42	17	31	43	18	31	8	35
Batagram				13	8	11	13	8	11	26	11
Bonair				30	11	20	30	11	20	19	21
Charsada	31	15	23	33	23	28	32	21	27	12	32
Chitral	55	17	31	34	33	34	36	30	33	5	29
D.I.Khan	30	33	32	25	22	24	26	25	26	15	17
Hangu	48	33	41	24	9	16	26	12	19	21	16
Haripur	38	35	36	48	40	44	48	39	44	1	38
Karak	67	33	50	48	31	41	49	31	41	2	39
Khyber	33	0	20	20	5	12	22	4	13	24	
Kohat	31	40	36	33	7	20	33	12	22	18	29
Kohistan				7	1	4	7	1	4	32	4
Kurram				13	5	9	13	5	9	28	
Lakki Marwat	57	46	51	42	10	30	44	16	33	6	36
Lower Dir	40	50	47	23	16	20	23	17	20	20	24
Malakand	25	29	27	33	31	32	33	31	32	7	36
Mansehra	43	54	47	33	20	27	34	21	28	11	23
Mardan	37	22	28	40	22	31	39	22	31	9	36
Mohmand				25	2	14	25	2	14	23	
North Waziritan				18	0	13	18	0	13	25	
Nowshera	37	21	31	38	20	28	37	20	29	10	34
Orakzai				15	3	10	15	3	10	27	
Peshawar	45	21	33	26	13	21	34	16	26	14	27
Shangla				7	6	6	7	6	6	31	8
South Waziristan				30	2	23	30	2	23	17	
Swabi	31	23	27	44	26	36	43	26	35	4	34
Swat	36	27	32	21	19	20	25	22	24	16	25
Tank	67	0	50	29	10	22	36	9	27	13	19
Tor Garh				13	0	7	13	0	7	29	8
Upper Dir	60	43	50	20	11	16	22	14	18	22	13

TABLE 2.13(a): NET ENROLMENT RATE AT THE MATRIC LEVEL (AGE 14- 15) - BY PROVINCE & REGION

PROVINCE & DISTRICT	URBAN			RURAL			TOTAL			RANK	TOTAL 14-15
	MALE	FEMALE	TOTAL	MALE	FEMALE	TOTAL	MALE	FEMALE	TOTAL		
Balochistan	**24**	**13**	**20**	**15**	**8**	**12**	**18**	**9**	**14**		**15**
Awaran	0	0	0	5	13	7	4	12	6	21	9
Barkhan	0	0	0	7	2	5	6	1	4	24	5
Dera Bugti	0	14	6	3	2	3	2	5	3	25	7
Duki		0	0	13	0	8	13	0	7	19	
Gwadar	29	7	17	37	11	23	33	9	20	4	24
Hernai	12	17	13	4	3	4	7	5	6	22	7
Jafarabad	20	3	11	16	4	11	17	4	11	17	15
Bolan	31	21	26	7	1	4	9	4	7	20	15
Kalat				35	7	21	35	7	21	3	30
Ketch	40	6	30	15	12	14	25	10	19	5	
Kharan	7	0	4	15	11	14	14	10	12	13	7
Khuzdar				22	2	16	22	2	16	9	19
Kohlu	0	100	17	0		0	0	100	11	14	12
Lasbilla	11	19	13	26	8	16	15	12	14	11	14
Loralai	26	10	22	16	8	12	20	9	15	10	13
Mastung	41	50	46	29	7	23	31	22	28	1	40
Nasirabad	18	0	14	11	7	10	13	6	11	16	13
Nushki	32	24	27	22	8	16	24	13	19	6	15
Pashin	32	15	24	29	18	26	29	18	26	2	11
Qilla Abdullah	8	3	6	9	0	5	9	1	6	23	8
Qilla Saifullah				16	0	9	16	0	9	18	13
Quetta	27	15	22	13	15	14	19	15	17	8	17
Shaheed Sikandar Abad				0	0	0	0	0	0	27	
Sherani				0	0	0	0	0	0	28	17
Sibbi	25	13	18	5	2	3	15	7	11	15	18
Sohbatpur	33	25	29	17	0	11	19	5	14	12	
Washuk	11	0	8	23	17	20	20	15	18	7	9
Ziarat	50		50	2	0	1	3	0	2	26	14

TABLE 2.13(b): NET ENROLMENT RATE AT THE MATRIC LEVEL (AGE 13-14)- BY PROVINCE & DISTRICT

PROVINCE & DISTRICT	URBAN			RURAL			TOTAL			RANK	TOTAL 14-15
	MALE	FEMALE	TOTAL	MALE	FEMALE	TOTAL	MALE	FEMALE	TOTAL		
Pakistan	**16**	**19**	**17**	**11**	**9**	**10**	**13**	**13**	**13**		**14**
Punjab	**19**	**23**	**21**	**14**	**13**	**13**	**16**	**17**	**16**		**16**
Attock	17	25	21	14	19	17	15	21	18	8	16
Bahawalnager	16	21	19	9	7	8	10	10	10	34	9
Bahawalpur	16	15	16	6	5	6	10	8	9	37	11
Bhakhar	25	28	26	13	8	10	14	10	12	29	11
Chakwal	19	32	25	17	29	23	18	30	24	4	21
Chiniot	6	3	4	18	15	17	15	10	12	28	12
D.G.khan	15	20	18	16	10	13	15	12	14	24	11
Faisalabad	16	18	17	15	15	15	15	17	16	14	17
Gujranwala	12	24	18	10	20	15	11	22	17	12	17
Gujrat	13	12	12	15	21	18	14	18	16	15	21
Hafizabad	10	14	12	11	20	15	11	18	14	23	17
Islamabad	16	24	20	7	26	15	12	25	18	10	24
Jehlum	16	26	21	17	25	21	17	26	21	6	18
Jhang	25	23	24	16	10	13	18	13	16	16	11
Kasur	10	16	13	15	18	16	14	17	16	18	17
Khanewal	24	24	24	12	15	13	14	17	16	17	11
Khushab	20	19	19	16	15	16	17	16	17	13	12
Lahore	25	26	25				25	26	25	1	29
Layyah	10	21	15	11	8	9	11	9	10	33	14
Lodhran	9	23	15	10	12	11	10	14	12	30	14
Mandi Bahuddin	24	41	32	11	13	12	13	16	14	21	13
Mianwali	7	23	15	18	8	13	16	11	14	25	18
Multan	21	22	22	10	12	11	15	16	15	19	15
Muzaffar Garh	14	8	11	12	6	9	12	7	9	35	11
Nankana Sahib	23	0	13	9	16	13	11	14	13	26	14
Narowal	22	29	26	23	26	24	23	26	24	2	20
Okara	11	48	30	11	13	12	11	23	17	11	16
Pakpatten	23	22	22	12	5	9	14	7	11	32	12
Rahim Yar Khan	28	17	23	11	7	9	15	9	12	27	11
Rajanpur	39	22	31	10	5	8	15	8	12	31	10
Rawalpindi	16	28	22	23	21	22	19	24	22	5	25
Sahiwal	13	22	17	14	13	14	14	15	14	22	15
Sargodha	19	27	23	17	15	16	17	18	18	9	17
Sheikhupura	13	17	15	18	12	15	16	14	15	20	12
Sialkot	15	32	24	24	24	24	22	26	24	3	19
T.T.Singh	29	24	27	17	15	16	21	18	19	7	18
Vehari	32	9	22	8	6	7	12	6	9	36	12

TABLE 2.13(b): NET ENROLMENT RATE AT THE MATRIC LEVEL (AGE 13-14)- BY PROVINCE & DISTRICT

PROVINCE & DISTRICT	URBAN			RURAL			TOTAL			RANK	TOTAL 14-15
	MALE	FEMALE	TOTAL	MALE	FEMALE	TOTAL	MALE	FEMALE	TOTAL		
Sindh	**13**	**14**	**13**	**7**	**3**	**5**	**10**	**9**	**9**		**12**
Badin	15	3	9	3	2	3	5	3	4	25	7
Dadu	19	13	17	6	6	6	10	8	9	11	11
Ghotki	9	14	12	7	1	5	7	3	6	22	9
Hyderabad	14	16	15	8	7	7	13	15	14	3	12
Jaccobabad	22	12	19	8	0	4	13	3	9	10	9
Jamshoro	35	5	25	0	0	0	13	1	9	16	9
Karachi Central	16	21	19				16	21	19	1	
Karachi East	13	19	16				13	19	16	2	
Karachi Malir	5	19	10	9	17	12	7	18	11	7	
Karachi South	7	11	9				7	11	9	14	
Karachi West	7	8	7	0	0	0	6	7	7	19	
Kashmore	14	7	11	5	0	3	7	2	5	24	8
Khairpur	12	8	10	11	4	8	11	5	9	15	15
Korangi	13	14	14				13	14	14	4	
Larkana	13	3	9	6	1	4	9	1	6	21	14
Matiari	13	5	9	2	0	1	4	1	3	26	11
Mir Pur Khas	18	7	13	6	6	6	9	7	8	18	11
Nowshero Feroze	14	20	17	17	9	13	17	11	14	5	16
Sanghar	14	11	13	10	5	8	11	7	9	9	6
Shahdadkot	14	26	20	6	3	5	8	10	9	13	8
Shaheed Benazirabad	9	13	11	13	4	9	12	7	9	12	7
Shikarpur	23	14	19	5	1	3	9	4	6	20	7
Sujawal	0	0	0	1	2	1	1	1	1	29	2
Sukkur	34	18	27	9	0	5	18	7	13	6	12
Tando Allah Yar	8	27	16	0	0	0	3	8	5	23	10
Tando Muhd Khan	11	0	7	12	4	9	12	4	8	17	7
Tharparkar	0	0	0	5	0	2	4	0	2	28	5
Thatta	10	10	10	0	2	1	2	3	3	27	4
Umer Kot	24	31	28	6	0	3	10	10	10	8	12

TABLE 2.13(b): NET ENROLMENT RATE AT THE MATRIC LEVEL (AGE 13-14)- BY PROVINCE & DISTRICT

PROVINCE & DISTRICT	URBAN			RURAL			TOTAL			RANK	TOTAL 14-15
	MALE	FEMALE	TOTAL	MALE	FEMALE	TOTAL	MALE	FEMALE	TOTAL		
Khyber Pakhtunkhwa	**11**	**11**	**11**	**9**	**5**	**8**	**10**	**6**	**8**		**10**
Abbottabad	13	30	22	17	7	13	16	14	15	3	19
Bajur				6	0	3	6	0	3	26	
Bannu	0	0	0	19	8	14	19	7	13	6	17
Batagram				4	2	3	4	2	3	25	7
Bonair				8	5	6	8	5	6	18	5
Charsada	3	0	1	11	7	9	9	6	8	14	10
Chitral	0	0	0	8	13	11	7	12	9	11	8
D.I.Khan	15	31	23	15	16	15	15	19	16	1	8
Hangu	16	11	13	8	1	4	9	2	5	20	8
Haripur	11	22	17	11	14	13	11	15	13	7	16
Karak	33	0	11	12	10	11	12	9	11	10	26
Khyber	0	0	0	3	1	2	3	1	2	28	
Kohat	10	16	13	21	1	11	19	3	11	8	8
Kohistan				1	0	1	1	0	1	30	5
Kurram				1	0	1	1	0	1	31	
Lakki Marwat	26	23	24	8	4	6	10	6	8	12	20
Lower Dir	0	29	13	4	2	3	4	2	3	24	7
Malakand	0	14	9	2	13	7	1	13	7	16	7
Mansehra	22	15	19	13	8	11	14	8	11	9	14
Mardan	3	7	5	8	6	7	8	6	7	17	8
Mohmand				5	0	3	5	0	3	27	
North Waziritan				9	0	6	9	0	6	19	
Nowshera	8	11	9	18	11	15	16	11	14	5	11
Orakzai				1	0	0	1	0	0	32	
Peshawar	12	10	11	6	4	5	9	7	8	13	10
Shangla				2	1	2	2	1	2	29	4
South Waziristan				10	2	7	10	2	7	15	
Swabi	12	6	9	17	12	15	16	11	14	4	7
Swat	9	5	7	2	2	2	4	3	4	23	7
Tank	50	0	38	18	4	12	23	4	16	2	10
Tor Garh				8	0	4	8	0	4	22	3
Upper Dir	20	0	10	4	5	5	5	5	5	21	6

TABLE 2.13(b): NET ENROLMENT RATE AT THE MATRIC LEVEL (AGE 13-14)- BY PROVINCE & DISTRICT

PROVINCE & DISTRICT	URBAN			RURAL			TOTAL			RANK	TOTAL 14-15
	MALE	FEMALE	TOTAL	MALE	FEMALE	TOTAL	MALE	FEMALE	TOTAL		
Balochistan	**9**	**6**	**8**	**6**	**2**	**4**	**7**	**4**	**5**		**7**
Awaran	0	0	0	0	0	0	0	0	0	23	5
Barkhan	0	0	0	0	2	1	0	1	1	22	0
Dera Bugti	0	0	0	1	2	1	1	2	1	21	1
Duki		0	0	0	0	0	0	0	0	24	
Gwadar	21	3	10	0	0	0	5	2	3	15	15
Hernai	5	0	4	4	3	3	4	2	3	14	1
Jafarabad	7	9	8	10	0	5	8	4	6	8	9
Bolan	7	0	4	5	0	3	5	0	3	16	4
Kalat				11	3	7	11	3	7	6	18
Ketch	4	0	3	1	2	1	2	1	2	20	
Kharan	26	0	14	5	5	5	9	4	7	7	6
Khuzdar				4	0	2	4	0	2	18	5
Kohlu	0		0	0	0	0	0	0	0	25	4
Lasbilla	7	0	4	0	0	0	4	0	2	19	6
Loralai	14	5	11	7	1	5	10	3	7	5	5
Mastung	30	28	29	13	4	10	17	16	17	1	17
Nasirabad	0	0	0	9	4	8	7	3	6	9	7
Nushki	19	9	14	4	2	3	7	4	6	10	1
Pashin	12	13	13	11	5	8	11	6	9	3	3
Qilla Abdullah	4	3	4	4	0	2	4	1	3	17	6
Qilla Saifullah				6	0	4	6	0	4	12	5
Quetta	12	8	10	8	6	7	10	7	8	4	9
Shaheed Sikandar Abad				0	0	0	0	0	0	26	
Sherani				0	0	0	0	0	0	27	3
Sibbi	11	3	6	1	1	1	6	2	4	13	6
Sohbatpur	0	0	0	9	0	5	9	0	4	11	
Washuk	0	33	10	15	11	14	12	15	13	2	7
Ziarat	0	0	0	0	0	0	0	0	0	28	5

TABLE 2.14(a): LITERACY-POPULATION 10 YEARS AND OLDER

PROVINCE & DISTRICT	URBAN			RURAL			TOTAL			RANK	TOTAL 14-15
	MALE	FEMALE	TOTAL	MALE	FEMALE	TOTAL	MALE	FEMALE	TOTAL		
Pakistan	**79**	**67**	**74**	**64**	**39**	**52**	**70**	**49**	**60**		**60**
Punjab	**80**	**72**	**76**	**67**	**48**	**57**	**72**	**57**	**64**		**63**
Attock	83	67	74	81	54	67	82	58	69	11	68
Bahawalnager	71	62	66	56	36	46	59	41	50	32	52
Bahawalpur	75	64	69	50	30	39	58	41	49	34	45
Bhakhar	76	57	67	64	36	50	66	39	53	29	54
Chakwal	81	77	79	85	64	74	84	66	75	8	74
Chiniot	67	51	59	61	30	45	63	37	50	33	50
D.G.khan	81	65	73	62	30	46	65	36	51	30	43
Faisalabad	77	72	74	66	54	60	71	62	67	14	69
Gujranwala	80	78	79	69	65	67	75	73	74	9	71
Gujrat	82	78	80	81	71	76	82	73	77	4	75
Hafizabad	78	70	74	70	54	62	73	60	66	15	60
Islamabad	91	80	86	89	78	84	90	79	85	1	85
Jehlum	87	82	84	81	66	73	82	69	76	7	79
Jhang	81	72	77	71	43	57	73	51	62	19	56
Kasur	71	62	66	65	48	57	66	52	59	25	59
Khanewal	82	69	75	67	45	56	70	50	60	23	58
Khushab	82	59	70	76	41	58	78	46	61	21	59
Lahore	80	74	77				80	74	77	5	80
Layyah	86	68	77	75	49	62	77	52	65	17	64
Lodhran	81	60	71	60	38	49	64	42	53	27	53
Mandi Bahuddin	82	72	77	73	64	68	74	65	70	10	65
Mianwali	81	62	71	74	37	55	76	42	58	26	58
Multan	79	71	75	61	39	50	69	53	61	20	60
Muzaffar Garh	71	53	62	58	28	43	60	32	46	36	45
Nankana Sahib	81	72	77	70	57	64	72	60	66	16	66
Narowal	90	83	86	79	70	74	81	72	76	6	70
Okara	80	71	75	63	46	55	68	53	60	22	55
Pakpatten	71	61	66	58	38	48	61	42	51	31	51
Rahim Yar Khan	72	61	66	54	31	43	57	37	47	35	45
Rajanpur	77	57	67	51	21	37	56	28	42	37	38
Rawalpindi	91	80	85	86	71	79	89	75	82	2	83
Sahiwal	77	67	72	65	48	56	67	52	60	24	59
Sargodha	84	73	79	72	53	62	76	59	67	13	63
Sheikhupura	67	62	65	67	57	62	67	59	63	18	66
Sialkot	79	82	81	80	76	78	80	78	79	3	77
T.T.Singh	85	74	79	73	58	65	76	61	68	12	66
Vehari	86	70	78	58	37	48	63	44	53	28	47

TABLE 2.14(a): LITERACY-POPULATION 10 YEARS AND OLDER

PROVINCE & DISTRICT	URBAN			RURAL			TOTAL			RANK	TOTAL 14-15
	MALE	FEMALE	TOTAL	MALE	FEMALE	TOTAL	MALE	FEMALE	TOTAL		
Sindh	**79**	**66**	**73**	**53**	**23**	**39**	**68**	**47**	**58**		**60**
Badin	65	41	53	43	14	29	49	21	36	24	37
Dadu	88	65	78	66	42	55	72	48	61	8	66
Ghotki	77	48	63	52	12	34	57	19	40	21	41
Hyderabad	74	63	69	63	31	48	72	58	66	7	59
Jaccobabad	79	51	66	41	13	28	53	24	39	22	35
Jamshoro	82	60	72	51	24	39	62	37	51	12	45
Karachi Central	84	78	81				84	78	81	3	
Karachi East	86	77	82				86	77	82	2	
Karachi Malir	78	63	71	71	54	63	75	59	68	5	
Karachi South	80	70	75				80	70	75	4	
Karachi West	74	60	68	46	36	41	73	59	67	6	
Kashmore	64	25	45	41	12	27	46	15	31	26	33
Khairpur	74	46	60	63	25	45	66	31	50	13	51
Korangi	87	80	84				87	80	84	1	
Larkana	73	46	60	64	36	51	68	41	56	9	58
Matiari	77	49	64	56	31	44	61	35	49	14	45
Mir Pur Khas	78	62	71	48	17	34	56	29	44	18	48
Nowshero Feroze	83	66	75	63	36	50	66	41	54	10	68
Sanghar	75	53	64	56	21	39	61	30	46	16	47
Shahdadkot	65	51	58	57	24	43	60	33	47	15	39
Shaheed Benazirabad	72	44	58	62	21	42	64	27	46	17	50
Shikarpur	77	50	64	52	17	35	58	25	42	19	45
Sujawal	73	65	69	36	14	26	39	18	29	28	36
Sukkur	80	57	69	59	20	40	69	37	54	11	60
Tando Allah Yar	68	48	58	47	20	34	53	29	41	20	38
Tando Muhd Khan	52	27	40	39	16	28	42	19	31	27	30
Tharparkar	65	38	53	41	12	27	43	13	29	29	38
Thatta	73	43	60	38	15	27	45	21	34	25	41
Umer Kot	77	42	61	48	14	32	56	20	39	23	38

TABLE 2.14(a): LITERACY-POPULATION 10 YEARS AND OLDER

PROVINCE & DISTRICT	URBAN			RURAL			TOTAL			RANK	TOTAL 14-15
	MALE	FEMALE	TOTAL	MALE	FEMALE	TOTAL	MALE	FEMALE	TOTAL		
Khyber Pakhtunkhwa	**80**	**53**	**67**	**69**	**31**	**50**	**71**	**35**	**53**		**53**
Abbottabad	93	76	85	83	60	71	86	64	74	1	69
Bajur				52	10	29	52	10	29	31	
Bannu	79	71	75	74	27	52	75	29	53	14	55
Batagram				58	22	40	58	22	40	24	33
Bonair				65	24	43	65	24	43	22	38
Charsada	70	42	55	66	32	48	67	34	50	16	50
Chitral	88	57	73	74	45	60	75	46	61	6	62
D.I.Khan	73	52	64	53	17	37	57	25	43	23	44
Hangu	77	38	56	57	10	31	60	13	34	28	43
Haripur	93	77	84	80	57	68	82	59	70	3	69
Karak	91	42	67	91	49	72	91	49	72	2	64
Khyber	77	16	48	71	15	45	72	15	45	17	
Kohat	84	57	70	73	24	46	75	29	50	15	52
Kohistan				58	4	30	58	4	30	30	24
Kurram				63	21	40	63	21	40	25	
Lakki Marwat	92	66	80	81	25	55	82	29	57	8	59
Lower Dir	86	57	72	75	40	57	75	40	57	9	58
Malakand	73	54	63	75	49	62	75	49	62	5	62
Mansehra	88	69	79	75	49	62	76	50	63	4	64
Mardan	71	42	56	72	39	55	72	40	56	12	52
Mohmand				52	7	26	52	7	26	32	
North Waziritan				71	6	44	71	6	44	18	
Nowshera	78	52	66	70	38	54	71	41	56	10	56
Orakzai				71	15	43	71	15	43	20	
Peshawar	82	55	69	72	32	52	77	42	60	7	61
Shangla				62	17	38	62	17	38	26	36
South Waziristan				54	10	35	54	10	35	27	
Swabi	83	55	69	70	39	54	72	41	56	11	49
Swat	79	47	64	69	35	52	72	38	55	13	48
Tank	85	42	63	61	13	40	64	17	43	21	43
Tor Garh				67	9	34	67	9	34	29	23
Upper Dir	78	63	71	61	24	43	62	26	44	19	42

TABLE 2.14(a): LITERACY-POPULATION 10 YEARS AND OLDER

PROVINCE & DISTRICT	URBAN			RURAL			TOTAL			RANK	TOTAL 14-15
	MALE	FEMALE	TOTAL	MALE	FEMALE	TOTAL	MALE	FEMALE	TOTAL		
Balochistan	**76**	**47**	**63**	**55**	**22**	**40**	**61**	**29**	**46**		**44**
Awaran	52	28	43	52	37	45	52	36	45	11	46
Barkhan	72	34	53	31	5	20	37	10	26	24	29
Dera Bugti	62	28	47	21	2	13	32	9	22	26	25
Duki	76	12	46	58	1	32	60	2	33	20	
Gwadar	86	51	69	63	25	45	77	42	61	2	62
Hernai	85	52	71	40	7	25	54	19	39	19	29
Jafarabad	67	33	52	37	8	23	48	16	33	21	36
Bolan	82	60	72	52	23	39	56	28	43	13	43
Kalat				48	16	33	48	16	33	22	54
Ketch	79	43	62	59	23	42	66	30	49	8	
Kharan	85	48	69	63	22	44	68	28	49	7	44
Khuzdar				32	10	22	32	10	22	25	45
Kohlu	89	35	67	69	33	53	73	34	55	5	32
Lasbilla	55	29	44	53	24	40	54	27	42	16	42
Loralai	69	46	60	53	18	37	60	30	47	9	44
Mastung	89	52	72	71	24	50	75	30	54	6	59
Nasirabad	71	29	53	38	6	24	45	11	30	23	31
Nushki	87	50	68	75	30	54	78	35	58	4	46
Pashin	82	34	60	75	34	57	76	34	58	3	49
Qilla Abdullah	77	30	57	50	17	36	54	19	39	18	27
Qilla Saifullah				64	14	43	64	14	43	15	40
Quetta	81	61	72	72	40	58	76	49	64	1	63
Shaheed Sikandar Abad				24	3	14	24	3	14	28	
Sherani				29	0	15	29	0	15	27	38
Sibbi	81	58	70	29	10	20	54	33	44	12	45
Sohbatpur	71	56	64	54	18	37	56	22	40	17	
Washuk	39	2	20	64	40	53	60	33	47	10	36
Ziarat	71	37	56	54	27	43	55	28	43	14	39

TABLE 2.14(b): ADULT LITERACY-POPULATION 15 YEARS AND OLDER

PROVINCE & DISTRICT	URBAN			RURAL			TOTAL			RANK	TOTAL 14-15
	MALE	FEMALE	TOTAL	MALE	FEMALE	TOTAL	MALE	FEMALE	TOTAL		
Pakistan	**79**	**65**	**72**	**62**	**34**	**48**	**68**	**46**	**57**		**57**
Punjab	**79**	**69**	**74**	**64**	**43**	**53**	**70**	**53**	**61**		**60**
Attock	82	63	72	79	49	64	80	53	66	11	64
Bahawalnager	68	57	63	53	30	42	56	36	46	32	48
Bahawalpur	72	60	66	45	25	35	54	36	45	33	42
Bhakhar	74	53	64	62	31	46	64	34	49	27	49
Chakwal	78	74	76	84	61	72	83	63	72	8	70
Chiniot	64	46	55	57	23	40	59	31	45	34	45
D.G.khan	78	59	69	58	25	41	62	32	46	31	38
Faisalabad	76	70	73	64	50	57	70	60	65	12	66
Gujranwala	79	76	77	66	60	63	74	69	72	9	68
Gujrat	80	76	78	79	67	73	79	70	74	5	71
Hafizabad	75	64	70	66	48	57	69	54	61	16	55
Islamabad	90	78	84	89	76	83	89	77	84	1	84
Jehlum	86	80	83	78	62	70	80	66	72	6	76
Jhang	80	69	74	66	36	51	70	45	58	20	51
Kasur	69	58	63	62	42	52	63	46	55	26	55
Khanewal	80	65	72	65	41	53	68	46	57	22	54
Khushab	79	54	65	73	34	52	74	39	56	25	54
Lahore	79	72	76				79	72	76	4	78
Layyah	84	63	74	69	41	55	72	45	58	18	58
Lodhran	79	54	67	57	30	44	60	34	48	29	49
Mandi Bahuddin	81	68	74	69	60	64	71	61	66	10	61
Mianwali	81	59	70	74	33	52	75	39	56	24	52
Multan	78	68	73	58	34	47	67	49	58	19	57
Muzaffar Garh	69	49	59	54	21	37	56	25	41	36	40
Nankana Sahib	81	70	76	68	52	60	70	55	63	15	63
Narowal	88	80	84	76	65	70	79	68	72	7	67
Okara	80	68	74	60	41	50	65	49	57	21	50
Pakpatten	71	57	64	55	32	43	58	36	47	30	47
Rahim Yar Khan	69	57	63	50	27	38	54	33	44	35	42
Rajanpur	73	50	61	46	17	32	51	23	37	37	33
Rawalpindi	90	78	84	85	67	76	88	73	80	2	81
Sahiwal	76	64	70	62	44	53	65	48	56	23	55
Sargodha	83	70	77	70	46	58	74	53	63	14	59
Sheikhupura	66	60	63	65	52	59	65	55	60	17	63
Sialkot	79	81	80	78	73	75	78	75	77	3	75
T.T.Singh	82	71	76	69	53	61	72	57	64	13	62
Vehari	84	65	74	54	30	42	59	37	48	28	43

TABLE 2.14(b): ADULT LITERACY-POPULATION 15 YEARS AND OLDER

PROVINCE & DISTRICT	URBAN			RURAL			TOTAL			RANK	TOTAL 14-15
	MALE	FEMALE	TOTAL	MALE	FEMALE	TOTAL	MALE	FEMALE	TOTAL		
Sindh	**79**	**64**	**72**	**52**	**20**	**37**	**68**	**45**	**57**		**58**
Badin	64	37	51	42	13	28	48	20	34	24	37
Dadu	88	64	77	68	40	55	73	46	60	8	62
Ghotki	77	44	61	50	9	31	56	17	38	22	38
Hyderabad	74	61	68	61	26	44	72	57	65	7	59
Jaccobabad	77	45	63	42	12	27	52	21	38	21	32
Jamshoro	80	58	69	48	22	36	60	36	48	12	42
Karachi Central	84	77	81				84	77	81	3	
Karachi East	86	76	81				86	76	81	2	
Karachi Malir	80	62	72	70	51	61	76	57	67	5	
Karachi South	79	68	74				79	68	74	4	
Karachi West	74	58	67	44	31	38	73	57	65	6	
Kashmore	63	23	43	40	10	25	45	13	29	28	30
Khairpur	73	44	59	62	20	42	65	28	47	13	46
Korangi	87	79	83				87	79	83	1	
Larkana	73	44	59	65	38	52	69	41	55	9	54
Matiari	75	45	61	55	29	43	59	32	47	14	45
Mir Pur Khas	77	59	68	46	15	32	55	27	42	19	46
Nowshero Feroze	82	64	73	62	33	47	65	38	52	11	64
Sanghar	73	50	62	54	18	36	60	27	44	16	44
Shahdadkot	61	49	56	59	21	41	60	31	46	15	35
Shaheed Benazirabad	69	40	55	59	17	38	62	23	43	17	46
Shikarpur	77	46	62	54	16	35	60	24	42	18	42
Sujawal	75	67	71	37	13	26	40	18	30	27	35
Sukkur	79	53	67	59	18	39	69	35	52	10	58
Tando Allah Yar	65	44	55	45	17	32	51	25	39	20	37
Tando Muhd Khan	54	26	41	39	14	27	42	16	30	26	30
Tharparkar	63	31	48	38	8	24	40	10	26	29	35
Thatta	75	42	60	39	14	27	47	19	34	25	38
Umer Kot	76	35	58	45	9	28	53	15	35	23	35

TABLE 2.14(b): ADULT LITERACY-POPULATION 15 YEARS AND OLDER

PROVINCE & DISTRICT	URBAN			RURAL			TOTAL			RANK	TOTAL 14-15
	MALE	FEMALE	TOTAL	MALE	FEMALE	TOTAL	MALE	FEMALE	TOTAL		
Khyber Pakhtunkhwa	**79**	**49**	**64**	**66**	**26**	**45**	**68**	**30**	**49**		**47**
Abbottabad	93	72	82	81	56	67	84	59	71	1	64
Bajur				47	7	24	47	7	24	31	
Bannu	76	67	72	72	21	48	72	23	49	14	50
Batagram				55	18	35	55	18	35	25	31
Bonair				58	18	35	58	18	35	24	28
Charsada	69	37	52	63	26	44	65	29	46	16	44
Chitral	85	49	68	70	38	54	72	39	56	7	55
D.I.Khan	73	48	61	48	13	32	54	21	38	19	41
Hangu	74	32	51	57	7	28	59	10	31	26	34
Haripur	92	74	83	77	51	63	79	54	66	3	66
Karak	89	32	63	90	45	69	90	44	69	2	58
Khyber	78	7	42	70	10	41	71	9	41	17	
Kohat	85	55	70	71	19	42	74	25	47	15	47
Kohistan				54	2	27	54	2	27	30	20
Kurram				60	19	36	60	19	36	23	
Lakki Marwat	91	60	76	80	18	50	81	22	53	8	54
Lower Dir	82	48	65	72	32	51	72	32	51	10	49
Malakand	77	39	59	73	41	57	73	41	57	5	55
Mansehra	87	67	77	71	43	56	72	45	58	4	58
Mardan	67	35	51	69	33	50	69	33	50	13	45
Mohmand				43	4	20	43	4	20	32	
North Waziritan				66	3	38	66	3	38	20	
Nowshera	78	47	63	67	32	49	70	35	52	9	50
Orakzai				65	10	37	65	10	37	22	
Peshawar	80	51	66	71	27	49	75	38	57	6	56
Shangla				55	11	30	55	11	30	28	30
South Waziristan				51	5	31	51	5	31	27	
Swabi	82	49	65	66	32	48	69	35	51	12	42
Swat	77	43	61	65	30	47	69	34	51	11	39
Tank	84	38	60	58	11	36	60	14	39	18	38
Tor Garh				61	6	27	61	6	27	29	18
Upper Dir	76	60	69	56	17	36	57	19	37	21	36

TABLE 2.14(b): ADULT LITERACY-POPULATION 15 YEARS AND OLDER

PROVINCE & DISTRICT	URBAN			RURAL			TOTAL			RANK	TOTAL 14-15
	MALE	FEMALE	TOTAL	MALE	FEMALE	TOTAL	MALE	FEMALE	TOTAL		
Balochistan	**75**	**44**	**61**	**52**	**18**	**37**	**59**	**26**	**44**		**38**
Awaran	48	21	37	54	38	46	53	36	45	8	42
Barkhan	77	38	58	30	4	19	37	11	26	24	21
Dera Bugti	63	28	47	27	1	15	37	8	24	25	23
Duki	74	3	41	52	0	27	54	1	29	21	
Gwadar	85	48	67	60	20	41	77	39	59	2	49
Hernai	87	49	70	37	3	21	52	16	36	19	26
Jafarabad	66	27	49	38	6	23	47	13	31	20	31
Bolan	82	55	70	49	20	35	54	24	40	15	39
Kalat				43	12	29	43	12	29	22	47
Ketch	77	35	57	56	20	38	63	25	44	9	
Kharan	82	36	62	56	11	35	62	16	41	13	36
Khuzdar				27	8	18	27	8	18	26	37
Kohlu	86	37	64	70	33	53	72	34	55	3	25
Lasbilla	55	29	43	56	26	42	55	27	43	11	37
Loralai	70	48	61	52	13	34	61	27	46	7	37
Mastung	87	46	68	68	20	46	72	26	51	5	53
Nasirabad	70	23	49	36	4	21	43	8	27	23	27
Nushki	85	37	61	69	18	45	72	23	49	6	39
Pashin	78	28	54	72	26	52	73	27	52	4	44
Qilla Abdullah	75	27	54	47	13	32	51	15	36	18	22
Qilla Saifullah				59	9	37	59	9	37	16	36
Quetta	80	59	71	72	37	56	76	47	63	1	57
Shaheed Sikandar Abad				19	2	11	19	2	11	28	
Sherani				27	0	14	27	0	14	27	37
Sibbi	78	52	66	28	7	18	51	29	40	14	42
Sohbatpur	78	55	67	50	13	33	53	17	36	17	
Washuk	34	1	16	62	37	50	57	30	44	10	29
Ziarat	71	37	56	54	24	41	54	24	41	12	33

TABLE 2.14(C): YOUTH LITERACY-POPULATION 15 -24YEARS

PROVINCE & DISTRICT	URBAN			RURAL			TOTAL			RANK
	MALE	FEMALE	TOTAL	MALE	FEMALE	TOTAL	MALE	FEMALE	TOTAL	
Pakistan	**85**	**82**	**84**	**75**	**54**	**65**	**79**	**65**	**72**	
Punjab	**87**	**87**	**87**	**77**	**67**	**72**	**81**	**75**	**78**	
Attock	88	89	89	91	83	87	90	85	88	11
Bahawalnager	80	81	80	66	52	59	69	57	63	31
Bahawalpur	84	80	82	61	42	50	69	54	61	34
Bhakhar	84	77	81	79	56	68	80	59	70	27
Chakwal	87	92	90	91	91	91	91	91	91	6
Chiniot	76	70	73	76	45	60	76	54	65	30
D.G.khan	87	82	85	68	42	56	72	50	61	33
Faisalabad	84	86	85	78	76	77	81	81	81	16
Gujranwala	89	93	91	84	88	86	87	91	89	8
Gujrat	88	93	91	91	95	93	90	94	92	4
Hafizabad	86	88	87	83	81	82	84	84	84	13
Islamabad	95	90	93	96	92	94	95	91	93	1
Jehlum	94	94	94	90	89	89	91	90	91	7
Jhang	90	84	87	82	65	74	84	71	78	21
Kasur	81	83	82	78	74	76	79	76	78	20
Khanewal	89	85	87	77	63	70	79	68	73	24
Khushab	88	85	87	88	63	76	88	68	78	19
Lahore	87	90	88				87	90	88	9
Layyah	90	85	87	89	67	78	89	70	80	17
Lodhran	85	89	87	72	58	65	74	64	69	28
Mandi Bahuddin	89	90	89	85	90	88	86	90	88	10
Mianwali	93	88	90	85	51	66	87	60	72	26
Multan	87	85	86	70	58	64	78	70	74	23
Muzaffar Garh	78	71	74	67	39	53	69	44	57	36
Nankana Sahib	94	89	92	83	76	79	85	79	82	15
Narowal	96	96	96	90	94	93	92	94	93	2
Okara	84	88	86	76	69	72	78	74	76	22
Pakpatten	78	78	78	74	57	65	75	61	67	29
Rahim Yar Khan	75	77	76	61	42	52	64	50	57	35
Rajanpur	78	78	78	56	32	46	60	43	52	37
Rawalpindi	94	92	94	93	89	91	94	91	92	5
Sahiwal	83	80	81	75	67	71	77	69	73	25
Sargodha	88	86	87	84	75	80	86	79	82	14
Sheikhupura	75	77	76	81	79	80	79	79	79	18
Sialkot	91	97	94	90	95	92	90	95	93	3
T.T.Singh	90	91	91	84	80	82	86	82	84	12
Vehari	91	87	89	61	53	57	66	59	63	32

TABLE 2.14(C): YOUTH LITERACY-POPULATION 15 -24YEARS

PROVINCE & DISTRICT	URBAN			RURAL			TOTAL			RANK
	MALE	FEMALE	TOTAL	MALE	FEMALE	TOTAL	MALE	FEMALE	TOTAL	
Sindh	**83**	**77**	**80**	**58**	**30**	**45**	**72**	**57**	**65**	
Badin	67	59	63	52	21	37	57	32	45	23
Dadu	90	78	85	70	51	63	76	61	70	8
Ghotki	73	56	65	58	18	41	61	26	46	21
Hyderabad	80	79	80	65	45	57	78	75	77	5
Jaccobabad	82	69	76	47	19	33	58	31	45	24
Jamshoro	86	75	81	52	31	45	63	49	57	13
Karachi Central	86	87	86				86	87	86	2
Karachi East	86	84	85				86	84	85	3
Karachi Malir	87	78	83	68	63	65	79	71	75	7
Karachi South	87	83	85				87	83	85	4
Karachi West	80	74	78	54	43	49	79	73	76	6
Kashmore	68	32	49	39	15	26	45	19	31	29
Khairpur	75	61	68	68	35	53	70	43	58	12
Korangi	91	92	92				91	92	92	1
Larkana	76	48	63	61	35	50	68	42	56	14
Matiari	84	74	80	62	42	53	67	49	59	11
Mir Pur Khas	83	79	82	54	25	41	61	38	51	18
Nowshero Feroze	85	79	82	73	53	63	75	58	67	9
Sanghar	73	65	69	62	29	45	65	40	52	17
Shahdadkot	66	74	70	58	28	44	61	44	53	16
Shaheed Benazirabad	78	57	68	67	28	48	70	36	53	15
Shikarpur	84	64	76	57	25	42	65	34	50	20
Sujawal	69	62	66	44	16	32	46	19	35	28
Sukkur	86	74	81	64	33	50	74	52	64	10
Tando Allah Yar	69	64	67	54	32	44	58	42	50	19
Tando Muhd Khan	65	38	52	46	19	34	51	24	38	25
Tharparkar	92	63	80	47	17	34	51	21	38	27
Thatta	71	62	67	42	18	31	48	26	38	26
Umer Kot	77	49	67	57	15	37	63	23	45	22

TABLE 2.14(C): YOUTH LITERACY-POPULATION 15 -24YEARS

PROVINCE & DISTRICT	URBAN			RURAL			TOTAL			RANK
	MALE	FEMALE	TOTAL	MALE	FEMALE	TOTAL	MALE	FEMALE	TOTAL	
Khyber Pakhtunkhwa	**90**	**71**	**81**	**84**	**45**	**65**	**85**	**49**	**67**	
Abbottabad	100	97	99	97	91	93	98	92	95	1
Bajur				72	17	41	72	17	41	29
Bannu	89	85	87	83	40	64	83	42	65	15
Batagram				75	41	58	75	41	58	18
Bonair				85	33	57	85	33	57	20
Charsada	86	62	73	81	50	65	82	52	66	14
Chitral	100	95	98	94	76	85	94	78	87	3
D.I.Khan	87	70	79	70	24	49	73	33	55	21
Hangu	93	59	76	78	16	47	79	21	50	26
Haripur	100	95	97	92	83	87	93	84	88	2
Karak	95	64	84	97	69	84	97	69	84	4
Khyber	95	14	52	83	20	54	85	19	54	24
Kohat	95	80	87	87	30	57	88	38	62	16
Kohistan				81	3	41	81	3	41	31
Kurram				80	35	54	80	35	54	23
Lakki Marwat	94	86	90	92	36	67	92	41	69	13
Lower Dir	96	81	90	92	58	75	92	58	75	7
Malakand	71	36	57	90	70	80	88	68	79	6
Mansehra	95	75	86	89	70	79	89	71	80	5
Mardan	88	66	77	87	59	73	87	60	73	9
Mohmand				61	8	30	61	8	30	32
North Waziritan				78	5	51	78	5	51	25
Nowshera	87	71	80	81	56	69	83	59	71	11
Orakzai				88	19	58	88	19	58	19
Peshawar	88	69	79	83	44	64	85	55	71	12
Shangla				80	23	50	80	23	50	27
South Waziristan				68	15	49	68	15	49	28
Swabi	92	75	83	85	56	71	86	59	73	10
Swat	93	73	84	87	52	70	89	58	74	8
Tank	95	55	75	75	14	52	77	21	55	22
Tor Garh				79	10	41	79	10	41	30
Upper Dir	88	90	89	82	33	58	82	34	59	17

TABLE 2.14(C): YOUTH LITERACY-POPULATION 15 -24YEARS

PROVINCE & DISTRICT	URBAN			RURAL			TOTAL			RANK
	MALE	FEMALE	TOTAL	MALE	FEMALE	TOTAL	MALE	FEMALE	TOTAL	
Balochistan	**82**	**65**	**75**	**64**	**31**	**50**	**69**	**40**	**57**	
Awaran	53	17	43	57	39	50	56	36	49	16
Barkhan	77	36	58	46	13	38	50	19	41	20
Dera Bugti	73	25	49	28	3	17	37	9	25	26
Duki	83	0	45	64	1	30	66	1	32	23
Gwadar	91	81	87	75	45	63	86	68	79	1
Hernai	88	64	80	51	8	33	64	24	48	18
Jafarabad	75	52	66	43	12	29	55	24	41	19
Bolan	82	78	80	61	33	49	65	40	54	14
Kalat				57	18	39	57	18	39	22
Ketch	89	46	69	63	33	49	72	37	55	11
Kharan	95	70	85	74	29	54	79	39	62	7
Khuzdar				41	13	29	41	13	29	25
Kohlu	82	50	67	71	47	60	74	48	62	8
Lasbilla	52	42	49	69	31	52	60	36	51	15
Loralai	80	70	76	66	28	49	74	46	62	6
Mastung	90	75	83	79	29	58	81	40	64	5
Nasirabad	89	47	73	27	8	19	41	16	31	24
Nushki	97	71	84	89	47	72	91	53	74	4
Pashin	92	72	83	88	54	75	88	57	76	2
Qilla Abdullah	81	46	67	60	19	45	63	23	48	17
Qilla Saifullah				74	21	54	74	21	54	13
Quetta	85	80	83	81	55	70	83	65	76	3
Shaheed Sikandar Abad				18	1	11	18	1	11	28
Sherani				84	0	20	84	0	20	27
Sibbi	88	78	84	38	14	26	64	45	55	10
Sohbatpur	79	71	75	58	18	35	61	23	39	21
Washuk	48	0	19	75	47	63	72	38	56	9
Ziarat	94	73	86	67	34	54	67	34	55	12

2.15 Percentage of out of school Children age 5-16 years

PROVINCE & DISTRICT	URBAN			RURAL			TOTAL			RANK
	MALE	FEMALE	TOTAL	MALE	FEMALE	TOTAL	MALE	FEMALE	TOTAL	
Pakistan	**21**	**23**	**22**	**30**	**44**	**37**	**27**	**37**	**32**	
Punjab	**17**	**15**	**16**	**25**	**31**	**28**	**22**	**26**	**24**	
Attock	10	9	9	8	15	11	8	13	11	32
Bahawalnager	24	22	23	32	38	35	30	35	32	6
Bahawalpur	19	18	18	32	42	37	28	35	32	8
Bhakhar	20	19	19	21	34	27	21	32	26	15
Chakwal	13	7	10	8	11	9	9	10	9	36
Chiniot	23	29	26	21	36	28	22	34	28	12
D.G.khan	15	15	15	34	54	43	31	47	38	5
Faisalabad	18	18	18	22	25	24	20	22	21	20
Gujranwala	17	10	13	20	15	18	18	12	15	29
Gujrat	17	14	15	12	10	11	14	11	12	30
Hafizabad	19	14	17	18	20	19	19	18	18	23
Islamabad	10	11	11	8	11	9	9	11	10	33
Jehlum	9	11	10	9	10	9	9	10	10	35
Jhang	16	15	15	20	31	26	19	27	23	16
Kasur	20	13	17	21	22	21	21	20	20	22
Khanewal	13	17	15	30	37	33	27	33	30	10
Khushab	17	17	17	19	27	23	18	25	22	18
Lahore	18	15	16	0	0	0	18	15	16	27
Layyah	12	12	12	13	19	16	13	18	16	28
Lodhran	21	20	21	42	45	43	38	41	40	4
Mandi Bahuddin	13	6	10	18	17	17	18	15	16	26
Mianwali	11	20	15	19	40	29	18	36	27	14
Multan	19	20	19	32	43	37	27	34	30	9
Muzaffar Garh	33	33	33	38	53	45	37	49	43	2
Nankana Sahib	16	19	17	20	22	21	19	22	21	21
Narowal	5	3	4	12	8	10	11	7	9	37
Okara	19	15	17	22	26	24	21	23	22	17
Pakpatten	25	14	20	25	34	30	25	31	28	11
Rahim Yar Khan	22	24	23	39	52	45	36	46	41	3
Rajanpur	16	20	18	47	61	54	43	55	48	1
Rawalpindi	12	10	11	8	10	9	10	10	10	34
Sahiwal	18	18	18	25	33	29	24	30	27	13
Sargodha	14	12	13	18	21	20	17	18	18	25
Sheikhupura	26	19	23	20	21	20	22	20	21	19
Sialkot	11	7	9	12	11	11	12	10	11	31
T.T.Singh	8	11	10	19	22	21	17	20	18	24
Vehari	14	9	12	35	37	36	31	32	32	7

2.15 Percentage of out of school Children age 5-16 years

PROVINCE & DISTRICT	URBAN			RURAL			TOTAL			RANK
	MALE	FEMALE	TOTAL	MALE	FEMALE	TOTAL	MALE	FEMALE	TOTAL	
Sindh	**27**	**32**	**29**	**49**	**69**	**58**	**39**	**51**	**44**	
Badin	32	53	41	60	82	70	53	75	63	5
Dadu	23	32	27	39	52	45	35	47	40	22
Ghotki	28	42	34	47	77	60	44	72	56	9
Hyderabad	31	31	31	39	54	46	33	35	34	24
Jaccobabad	23	36	29	55	80	66	48	69	57	7
Jamshoro	21	31	25	52	64	57	43	54	48	19
Karachi Central	21	20	21	0	0	0	21	20	21	29
Karachi East	21	24	22	0	0	0	21	24	22	27
Karachi Malir	36	36	36	36	45	40	36	40	38	23
Karachi South	21	23	22	0	0	0	21	23	22	28
Karachi West	26	33	29	53	48	51	28	33	30	25
Kashmore	46	55	50	64	82	72	60	76	67	2
Khairpur	36	50	43	41	61	50	40	58	48	18
Korangi	22	25	23	0	0	0	22	25	23	26
Larkana	42	60	49	54	74	62	49	67	56	10
Matiari	27	38	32	47	60	53	42	54	48	17
Mir Pur Khas	21	31	26	52	76	63	45	66	55	11
Nowshero Feroze	23	25	24	45	54	49	42	50	45	21
Sanghar	26	37	31	43	70	55	39	61	49	14
Shahdadkot	32	51	39	55	69	60	48	63	53	12
Shaheed Benazirabad	25	39	32	38	65	51	34	58	46	20
Shikarpur	27	37	32	61	74	67	54	65	59	6
Sujawal	43	49	46	56	79	66	55	77	65	4
Sukkur	27	31	29	50	73	61	41	57	48	16
Tando Allah Yar	30	33	31	47	69	57	42	57	49	15
Tando Muhd Khan	67	68	67	58	75	66	60	73	66	3
Tharparkar	34	61	44	48	68	57	47	68	56	8
Thatta	46	53	49	71	83	76	66	78	71	1
Umer Kot	28	35	31	46	71	58	43	63	52	13

2.15 Percentage of out of school Children age 5-16 years

PROVINCE & DISTRICT	URBAN			RURAL			TOTAL			RANK
	MALE	FEMALE	TOTAL	MALE	FEMALE	TOTAL	MALE	FEMALE	TOTAL	
Khyber Pakhtunkhwa	**15**	**25**	**20**	**23**	**48**	**34**	**22**	**44**	**32**	
Abbottabad	5	0	3	9	14	11	8	11	9	32
Bajur	0	0	0	36	77	56	36	77	56	3
Bannu	5	26	16	28	54	40	27	53	39	13
Batagram	0	0	0	32	56	43	32	56	43	8
Bonair	0	0	0	24	54	38	24	54	38	15
Charsada	11	21	16	18	34	26	17	32	24	26
Chitral	20	26	22	24	31	27	24	31	27	22
D.I.Khan	26	34	30	34	62	45	33	55	42	9
Hangu	16	33	24	25	62	42	24	59	40	11
Haripur	1	2	1	9	20	15	8	19	13	31
Karak	0	24	11	16	37	26	15	36	25	25
Khyber	25	49	36	22	61	39	22	59	39	14
Kohat	15	16	15	20	51	35	20	46	32	19
Kohistan	0	0	0	33	90	60	33	90	60	1
Kurram	0	0	0	24	57	40	24	57	40	12
Lakki Marwat	12	14	13	23	58	39	22	54	36	18
Lower Dir	10	5	8	25	40	32	25	40	32	20
Malakand	37	25	31	18	27	22	20	27	23	28
Mansehra	8	19	13	14	30	21	13	29	21	29
Mardan	14	25	19	15	26	20	15	25	20	30
Mohmand	0	0	0	32	85	57	32	85	57	2
North Waziritan	0	0	0	29	83	50	29	83	50	6
Nowshera	16	27	21	17	32	24	17	31	23	27
Orakzai	0	0	0	23	64	42	23	64	42	10
Peshawar	13	26	19	18	43	29	16	36	25	24
Shangla	0	0	0	32	58	43	32	58	43	7
South Waziristan	0	0	0	41	70	52	41	70	52	5
Swabi	15	15	15	21	35	28	20	32	26	23
Swat	18	33	25	21	47	33	20	43	31	21
Tank	12	18	15	29	60	41	27	52	37	17
Tor Garh	0	0	0	32	84	55	32	84	55	4
Upper Dir	20	31	25	26	51	37	26	50	37	16

2.15 Percentage of out of school Children age 5-16 years

PROVINCE & DISTRICT	URBAN			RURAL			TOTAL			RANK
	MALE	FEMALE	TOTAL	MALE	FEMALE	TOTAL	MALE	FEMALE	TOTAL	
Balochistan	**29**	**42**	**35**	**41**	**65**	**51**	**38**	**59**	**47**	
Awaran	54	35	46	52	56	54	53	53	53	15
Barkhan	14	48	31	37	83	57	34	77	53	13
Dera Bugti	54	60	57	66	83	72	63	76	68	3
Duki	40	71	55	42	94	62	42	92	61	6
Gwadar	13	41	26	33	49	40	24	45	33	25
Hernai	57	49	54	61	82	70	60	74	66	5
Jafarabad	41	44	42	55	77	64	50	64	56	9
Bolan	20	24	22	52	69	59	49	64	55	10
Kalat	0	0	0	39	68	53	39	68	53	14
Ketch	12	33	21	43	63	51	32	52	41	21
Kharan	17	22	19	25	49	36	24	44	33	26
Khuzdar	0	0	0	50	76	60	50	76	60	7
Kohlu	5	33	16	55	70	61	43	60	49	18
Lasbilla	45	64	51	36	51	42	42	58	48	19
Loralai	24	33	28	30	69	46	28	54	39	22
Mastung	18	32	26	29	49	37	27	45	35	23
Nasirabad	43	49	45	69	83	73	64	76	68	4
Nushki	3	16	9	15	41	27	12	35	23	28
Pashin	9	30	18	23	47	33	21	45	31	27
Qilla Abdullah	45	61	52	44	72	56	44	70	55	11
Qilla Saifullah	0	0	0	33	76	51	33	76	51	17
Quetta	26	40	32	28	48	36	27	45	35	24
Shaheed Sikandar Abad	0	0	0	65	92	76	65	92	76	1
Sherani	0	0	0	50	97	70	50	97	70	2
Sibbi	19	31	25	67	85	76	45	62	53	12
Sohbatpur	39	48	43	46	60	52	45	58	51	16
Washuk	50	83	61	35	46	40	37	50	43	20
Ziarat	46	44	45	48	72	58	48	71	58	8

3-INFORMATION COMMUNICATION TECHNOLOGY

3.1 Introduction

Information and Communication Technologies (ICT) are so deeply rooted in developed countries. Most economic and financial sectors (from banking to the manufacturing industry, from logistics to air traffic) would nearly collapse if these systems stopped. The developing countries like Pakistan will more easily incorporate into the current economic environment, which is heading towards the global village, if they exploit at their best the opportunities offered by the new technologies. Pakistan will be able to develop its economic and industrial system in a sustainable way, to foster democracy, to identify solutions for environmental problems locally and at a world-wide level, to improve their health care system, by exchange of data and information.

ICT gives new exceptional opportunities to effectively fight against poverty in the developing countries: there are already several examples that show how ICT can support the poor in business development, making it easier to access information and new markets. ICT is also an effective tool to foster poor empowerment, facilitating access to education and health, helping improve the environment.

In the past ICT was generally considered a luxury good, but now world is constantly evolving and digital age has transformed the way people communicate, seek help, access information and learn. ICT has an impact on nearly every aspect of our lives i.e. from working to social life, learning to play. Young generation has now-a-days access to internet through a variety of means such as computers, laptops, tablets and mobile phones. Government of Pakistan is committed to provide the internet facility to the citizens of Pakistan. Currently Pakistan Telecommunication Policy 2015 and Broad Band Policy 2013 are applicable. National Broad Band Policy 2021 has been formulated/ drafted. Policy will play an important role in the achievement of the targets set in the Digital Pakistan Policy.

By considering the importance of ICT sector, a separate individual level module has been added in PSLM Questionnaire for reporting and monitoring of the progress of ICT development in Pakistan, it produces variety of key indicators for all provinces with Urban/Rural breakdown and is also one of the major sources for monitoring of Sustainable Development Goal (SDG's). Household Characteristics module of PSLM /HIES survey has also been revised for monitoring and reporting of Information Communication facilities at household level.

Three SDGs indictors:

4.4.1: Proportion of Population with information and communications technology (ICT) skills, by type of skill. Disaggregation by gender.

5. b. 1: Proportion of individuals who own a mobile telephone, by sex

17.8.1: Proportion of individuals using the Internet.

Is being reported through PSLM 2019-20, disaggregation by age, gender, educational level. Labour. Residence are included and reported through PSLM 2019-20. International Telecommunication Union (ITU) is custodian of ICT indicators to compare information for the comparability purpose throughout the globe; ITU also required data on Information Communication indicators for calculation of Information Development Index (IDI). Hence, this chapter will mainly cover indicators on household's level with the facility of computer, Laptop, Tablet, mobile and Internet for Individuals who are 10 years and older using Computer, ICT Skills, internet and ownership & usage of Mobile/ Smart phone.

3.2 Percentage of Household with Computer, Mobile and Internet

The importance of ICT is considerable in all sectors and become an essential part of life for many people, World is becoming global village. Households who are having at least one facility such as Computer, Laptop and Tablet are around 12 percent overall. Percentage is higher in urban with 19 percent areas as compared to rural areas with 7 percent. (Figure 1, Table 3.1)

Punjab at top with 13 percent household having at least one facility such as computer/Laptop/Tablet, 22 percent in urban area and 8 percent in rural areas and Balochistan is at bottom with 6 percent whereas 13 percent in urban and only 4 percent in rural households reported to use any of the facility.

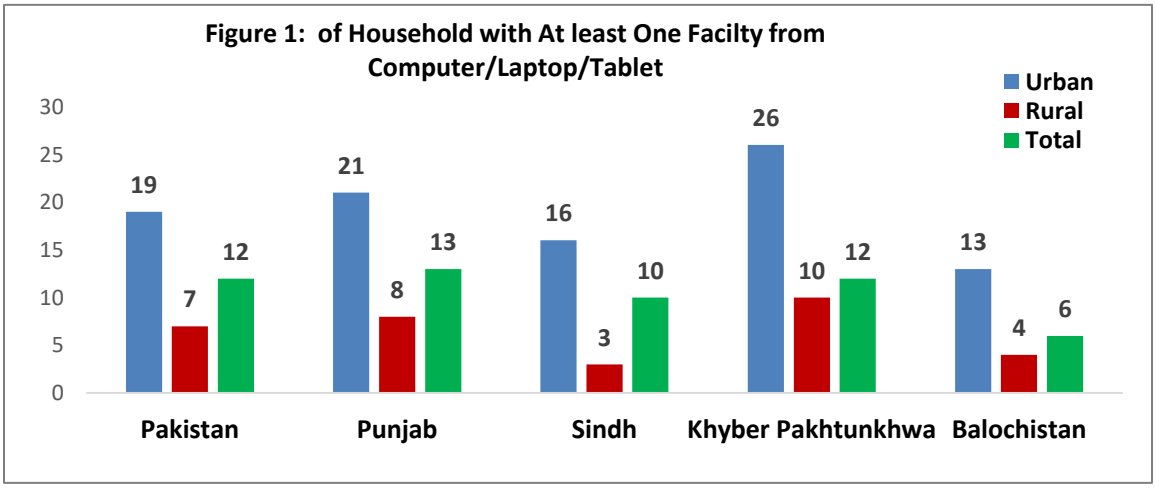

In Islamabad 40 percent of household reported having at least one facility such as computer/Laptop/Tablet. In Punjab, Lahore with 24 percent at top and Rajanpur at is at bottom with 3 percent. In Sindh, Karachi East at top with 33 percent and Tharparkar at bottom with 1 percent households. In Khyber Pakhtunkhwa, Peshawar with 25 percent at top and Kohistan at bottom with 2 percent having at least one

Facility such as computer/Laptop/Tablet, In Balochistan, Barkhan with 20 percent at top and Khuzdar at bottom with no household having at least one facility such as computer/Laptop/Tablet. (Table 3.1)

3.2.1 Mobile/Smart Phones: In modern era mobile phones become necessary for everyone. It provides the means to communicate with friends, family, co-workers, and indeed most of the world's population instantly. Modern cell Phones / Smart Phones are capable of much more than just sending and receiving phone calls or messages, these phones connect you with your family members by video calls and with sending picture. Now Smart Phones are taking place of PC, Laptops, camera and calculator etc., because modern smart phone have advance features with best performances. That's why demand is increasing world-wide day by day. In Pakistan almost 93 percent of household reported with Mobile/Smart Phone. Percentage is higher in urban area that is 96 percent as compared to 91 percent in rural areas. Khyber Pakhtunkhawa is at top with 95 percent of Household with facility of mobile phones, with 98 percent and 94 percent urban and rural areas respectively. In Punjab 94 percent, Balochistan with 92 percent and Sindh with 91 percent household reported with mobile/smart phone. (Table 3.1)

In Islamabad 99 percent of Household have mobile/smart phone facility, District wise situation reveal that, Layyah with 98 percent, Korangi with 99, Shangla with 99 percent and Pishin with 99 percent are top ranked districts with in their respective provinces. While Khanewal with 82, Dadu with 72 percent, Mohmand with 80 percent and Khuzdar with 70 percent are bottom ranked districts with respect mobile/smart phones. (Table 3.1)

3.2.2 The Internet: Internet is a developing innovation that continually adds new highlights so peoples can be more advantageous with its utilization. Since the introduction of internet, current existence of individuals has gotten simple and familiar. From Bank, Healthcare, Business to economical different divisions is being profited with the web. They additionally empower you to send any data right away to anybody on the planet. With the Internet, online gatherings permit individuals to interface with one another, where they can share normal interests and talk about what they appreciate. Besides, you can impart your thoughts or perspectives to anybody by settling on an online video decision through applications like skype, line, and so forth.

In PSLM 2019-20 Household were asked about internet facility and type of facility including cable / wired connections, wireless connections e.g. PTCL, Telecard, Wateen and Mobile Companies provided internet including; Mobilink, Telenor, U-fone etc. In Pakistan is 33 percent household reported internet facility at home. It is observed that this percentage is more in urban areas with 48 percent and 23 percent in rural areas. Punjab with 34 percent have highest household who have access to internet facility, whereas regional gap has been observed with 50 percent urban household and 25 percent rural household with internet facility. Khyber Pakhtunkhwa with 33 percent, followed by Sindh with 32 percent and only 21 percent households of Balochistan reported the access to facility of Internet. (Figure 2)

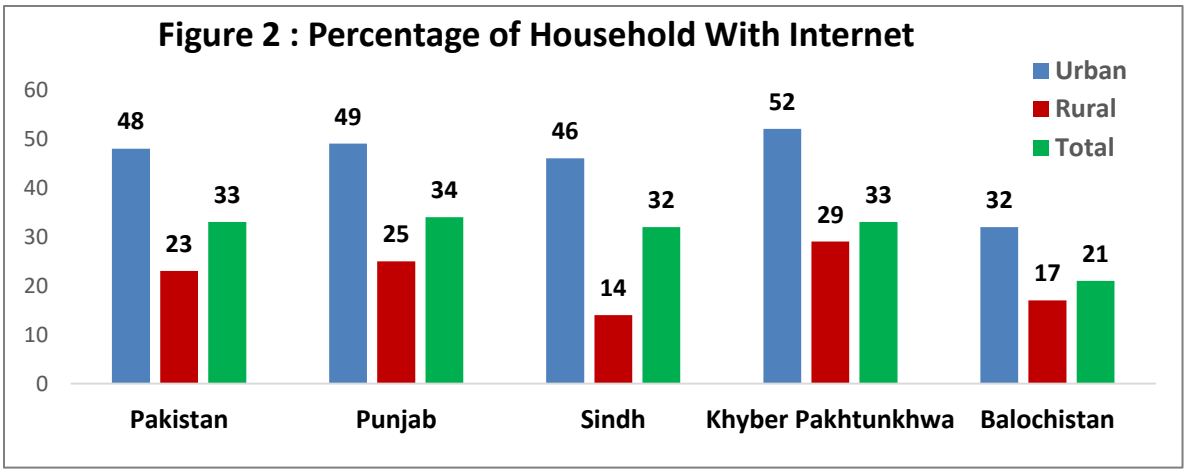

In Islamabad with 70 percent household have internet facility, whereas district wise situation of Provinces reveal that in Punjab, Rawalpindi is at top with 57 percent, Karachi East with 68 percent, Peshawar with 51 percent and Kohlu with 51 percent are at top ranked districts with respect to household with internet facility within their respective provinces. Whereas Rajanpur with 8 percent, Tharparkar with 3 percent South Waziristan with 2 percent and Shaheed Sikandarabad with 1 percent household with internet facility are bottom ranked districts within respective provinces (Table 3.1)

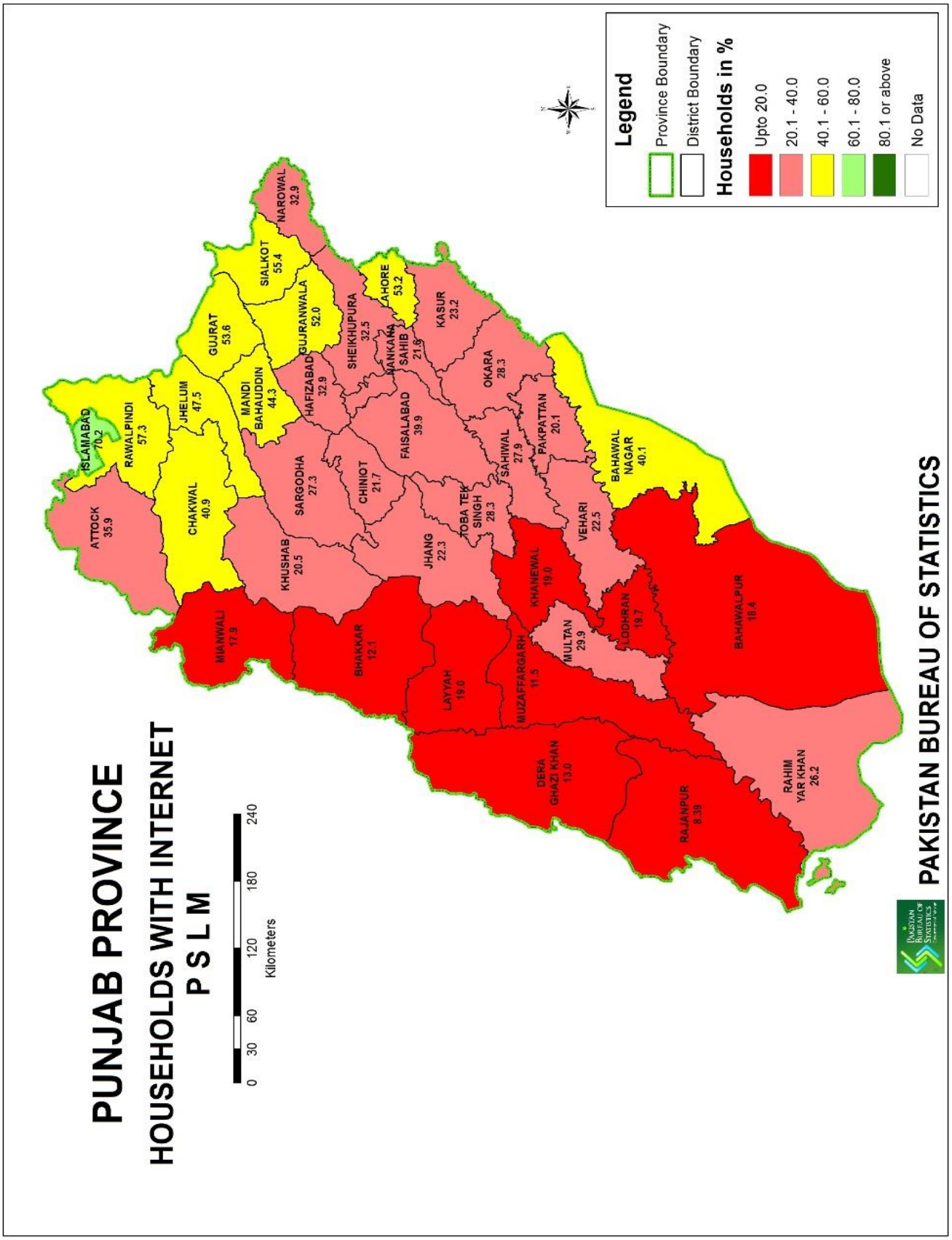
PUNJAB PROVINCE
HOUSEHOLDS WITH INTERNET
P S L M
0 30 60 120 180 240
Kilometers
Legend
Province Boundary
District Boundary
Households in %
Upto 20.0
20.1 - 40.0
40.1 - 60.0
60.1 - 80.0
80.1 or above
No Data
PAKISTAN BUREAU OF STATISTICS
ISLAMABAD 70.2
RAWALPINDI 57.3
ATTOCK 35.9
JHELUM 47.5
CHAKWAL 40.9
GUJRAT 53.6
MANDI BAHAUDDIN 44.3
SIALKOT 55.4
NAROWAL 32.9
GUJRANWALA 52.0
HAFIZABAD 32.9
SHEIKHUPURA 32.5
LAHORE 53.2
NANKANA SAHIB 21.6
KASUR 23.2
OKARA 28.3
SARGODHA 27.3
CHINIOT 21.7
FAISALABAD 39.9
SAHIWAL 27.9
PAKPATTAN 20.1
BAHAWAL NAGAR 40.1
KHUSHAB 20.5
JHANG 22.3
TOBA TEK SINGH 28.3
VEHARI 22.5
MIANWALI 17.9
BHAKKAR 12.1
LAYYAH 19.0
KHANEWAL 19.0
MULTAN 29.9
LODHRAN 19.7
MUZAFFARGARH 11.5
BAHAWALPUR 18.4
DERA GHAZI KHAN 13.0
RAJANPUR 8.39
RAHIM YAR KHAN 26.2

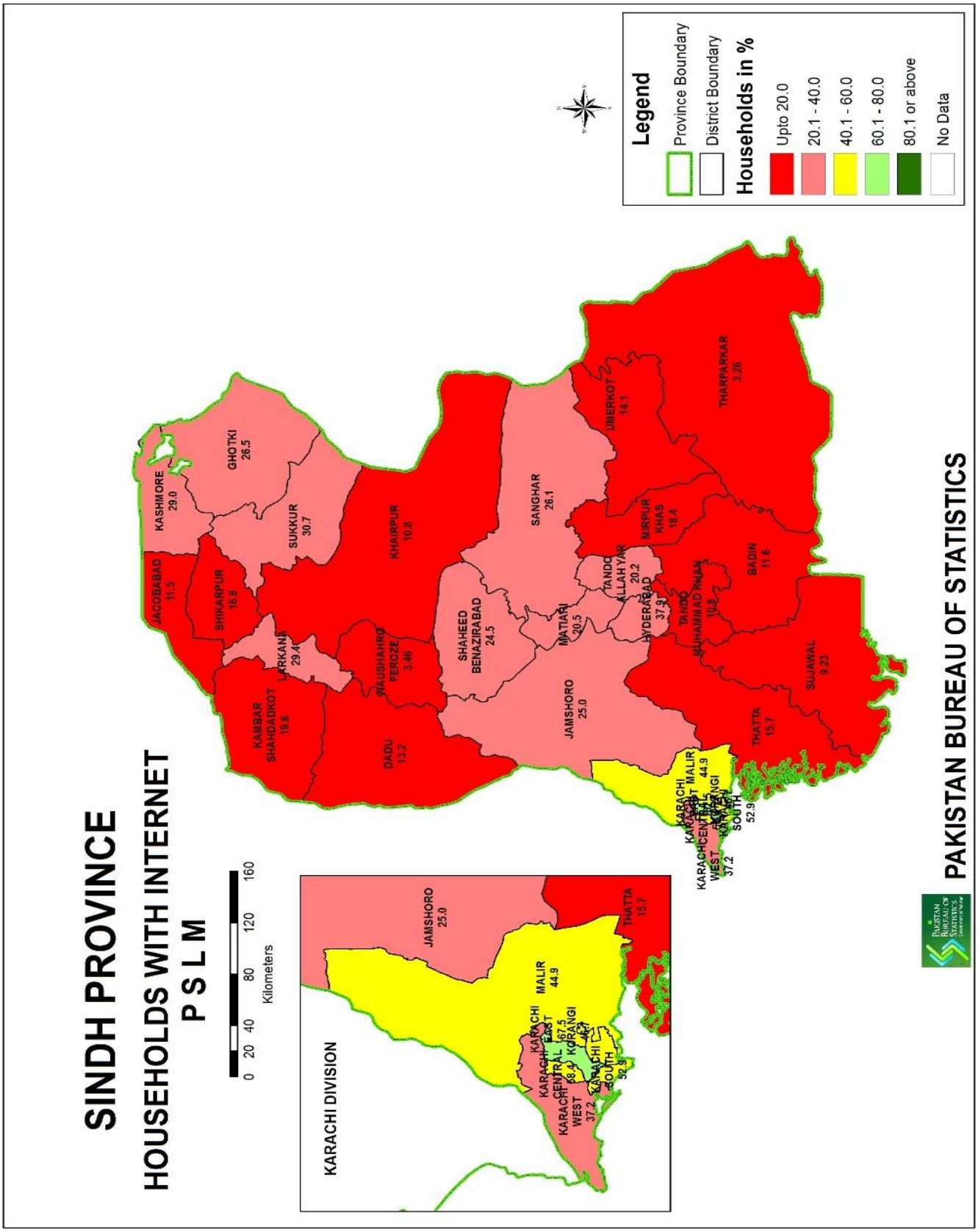
SINDH PROVINCE
HOUSEHOLDS WITH INTERNET
P S L M
0 20 40 80 120 160
Kilometers
KARACHI DIVISION
JAMSHORO 25.0
THATTA 15.7
MALIR 44.9
KARACHI EAST 67.5
KARACHI CENTRAL 68.4
KORANGI 46.1
KARACHI WEST 37.2
KARACHI SOUTH 52.9
Legend
Province Boundary
District Boundary
Households in %
Upto 20.0
20.1 - 40.0
40.1 - 60.0
60.1 - 80.0
80.1 or above
No Data
KASHMORE 29.0
GHOTKI 26.5
SUKKUR 30.7
JACOBABAD 11.5
SHIKARPUR 16.8
KHAIRPUR 10.8
KAMBAR SHAHDADKOT 19.6
LARKANA 29.4
NAUSHAHRO FEROZE 3.46
DADU 13.2
SHAHEED BENAZIRABAD 24.5
SANGHAR 26.1
MATIARI 20.5
JAMSHORO 25.0
UMERKOT 14.1
THARPARKAR 3.26
MIRPUR KHAS 18.4
TANDO ALLAHYAR 20.2
HYDERABAD 37.9
TANDO MUHAMMAD KHAN 10.8
BADIN 11.6
SUJAWAL 9.23
THATTA 15.7
KARACHI MALIR 44.9
KARACHI EAST 67.5
KARACHI CENTRAL 68.4
KORANGI 46.1
KARACHI WEST 37.2
KARACHI SOUTH 52.9
PAKISTAN BUREAU OF STATISTICS

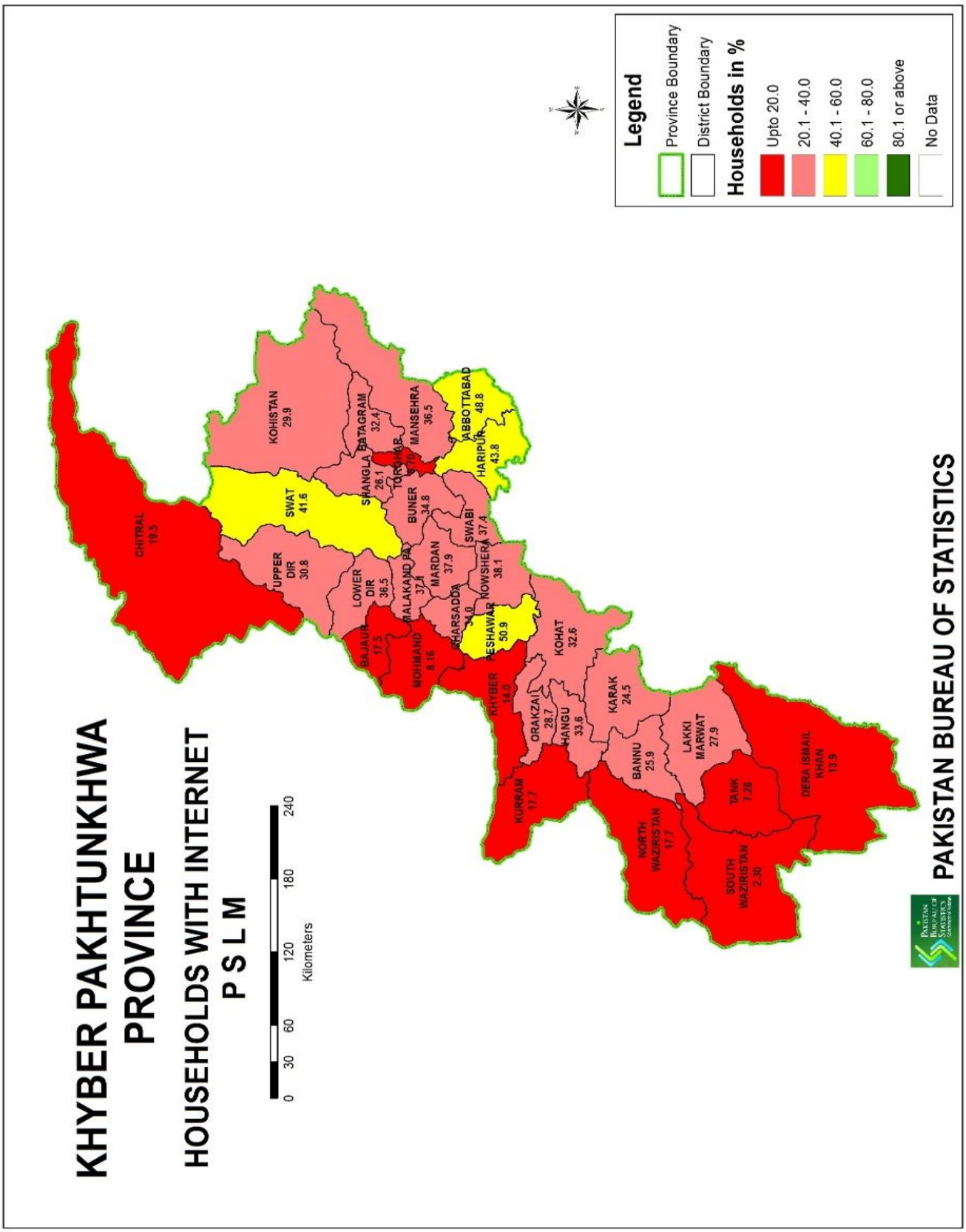
KHYBER PAKHTUNKHWA PROVINCE
HOUSEHOLDS WITH INTERNET
P S L M
0 30 60 120 180 240
Kilometers
Legend
Province Boundary
District Boundary
Households in %
Upto 20.0
20.1 - 40.0
40.1 - 60.0
60.1 - 80.0
80.1 or above
No Data
PAKISTAN BUREAU OF STATISTICS
CHITRAL 19.5
KOHISTAN 29.9
SWAT 41.6
UPPER DIR 30.8
LOWER DIR 36.5
MALAKAND PA 37.1
SHANGLA 26.1
BATAGRAM 32.4
TORGHAR 17.0
MANSEHRA 36.5
ABBOTTABAD 48.8
HARIPUR 43.8
BUNER 34.8
SWABI 37.4
MARDAN 37.9
CHARSADDA 34.0
NOWSHERA 38.1
PESHAWAR 50.9
BAJAUR 17.5
MOHMAND 8.16
KHYBER 14.0
ORAKZAI 28.7
KURRAM 17.7
KOHAT 32.6
HANGU 33.6
KARAK 24.5
BANNU 25.9
LAKKI MARWAT 27.9
NORTH WAZIRISTAN 17.7
SOUTH WAZIRISTAN 2.30
TANK 7.28
DERA ISMAIL KHAN 13.9

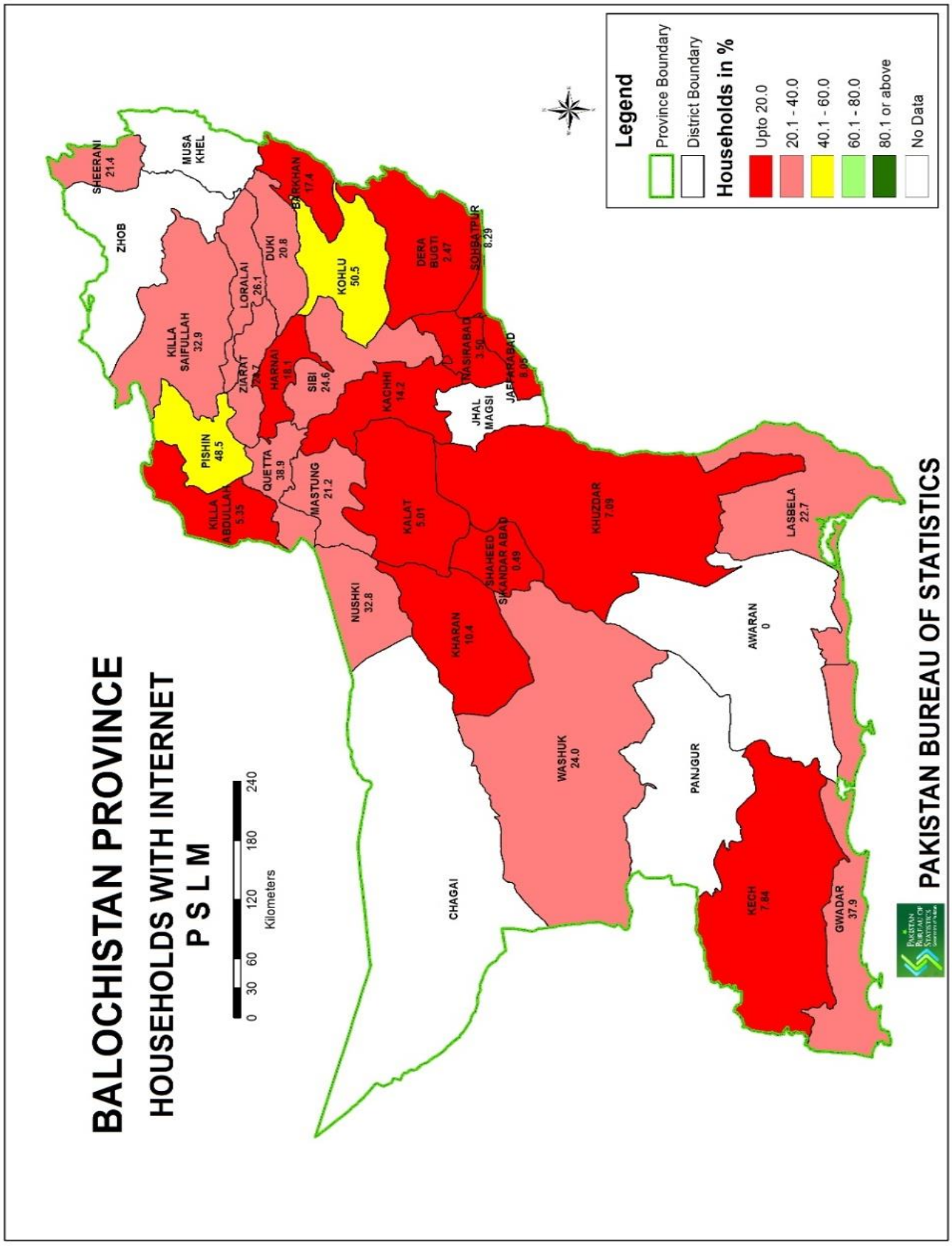
BALOCHISTAN PROVINCE
HOUSEHOLDS WITH INTERNET
P S L M
0 30 60 120 180 240
Kilometers
Legend
Province Boundary
District Boundary
Households in %
Upto 20.0
20.1 - 40.0
40.1 - 60.0
60.1 - 80.0
80.1 or above
No Data
PAKISTAN BUREAU OF STATISTICS
SHEERANI 21.4
MUSA KHEL
ZHOB
KILLA SAIFULLAH 32.9
LORALAI 26.1
DUKI 20.8
BARKHAN 17.4
KOHLU 50.5
DERA BUGTI 2.47
SOHBATPUR 8.29
ZIARAT
HARNAI 18.1
SIBI 24.6
KACHHI 14.2
NASIRABAD 3.50
JAFFARABAD
JHAL MAGSI
PISHIN 48.5
QUETTA 38.9
KILLA ABDULLAH 5.35
MASTUNG 21.2
KALAT 5.01
SHAHEED SIKANDAR ABAD 0.49
KHUZDAR 7.09
LASBELA 22.7
NUSHKI 32.8
KHARAN 10.4
AWARAN 0
WASHUK 24.0
PANJGUR
CHAGAI
KECH 7.84
GWADAR 37.9

3.3 Population Using Computer/Laptop/Tablet

PSLM 2019-20 collected information on use of Computer, Laptop, Tablet etc. and ICT skills, Ownership of Mobile and Use of Internet. Overall 7 percent individuals 10 years and older reported use of Computer/Laptop/Tablet in last three months. Punjab is at top where 8 percent individuals with age of 10 years and older are using Computer, Laptop or Tablet whereas Balochistan is at bottom with 4 percent. Situation of Balochistan rural is where with 2 percent individuals are using Computer, Laptop, and Tablet. (Figure 3)

.

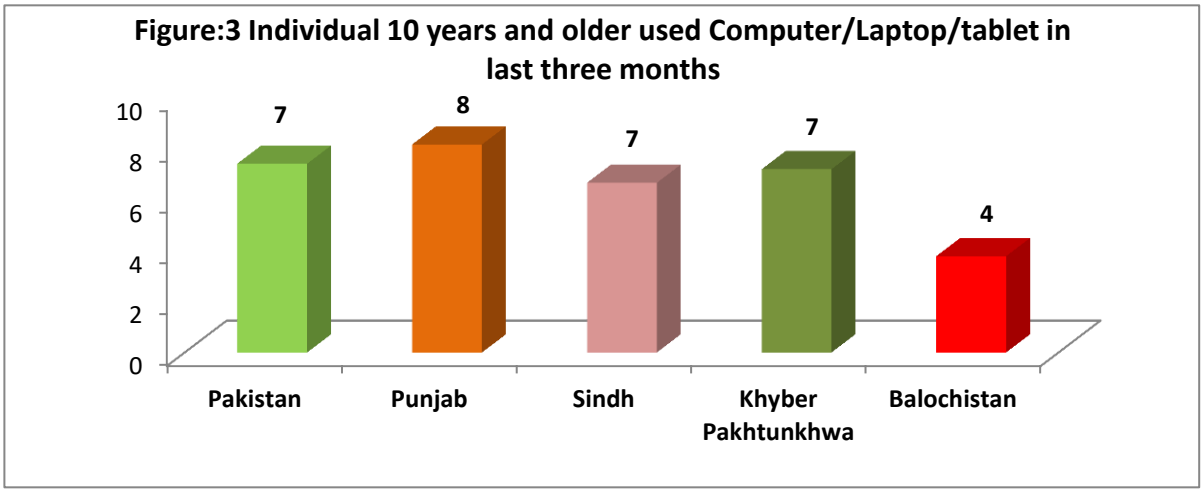

Reasons for not using Computer/Laptop/ was also part of survey, 63 individuals reported that they even don't know how to use these devices and 7 percent reported that they are not using Computer/Laptop/tablet because they are using substitutes mobile/Smart phones (Table 3-A)

Table 3-A: Reasons for not using Computer/Laptop/Tablet	
Don't know how to use it	63
Do not use it because (not useful, not interested, cultural reasons)	19
Affordability	8
Use substitutes mobile phone/smartphone etc.	7
Other Specify	3

3.4 Type of ICT Skills: ICT skills are about understanding and applying a range of computer programmes, software and other applications. These include: word processing, spread sheets, databases, power points and search engines. Proportion of population by type of ICT Skills is expressed in the (Figure 4). Most of the

population 10 year and older using Computer/Laptop/Tablet are familiar with Copy & Paste with 63 percent and Copy & Move with 53 percent respectively. Least population is aware of Programming with 20 percent followed by making Power Point Presentations with 21 percent. Percentage of individuals using Computer/ Laptop/Tablet for Entertainment and involved in Social Media activities is relatively high with 59 percent and 45 percent respectively. (Figure 4)

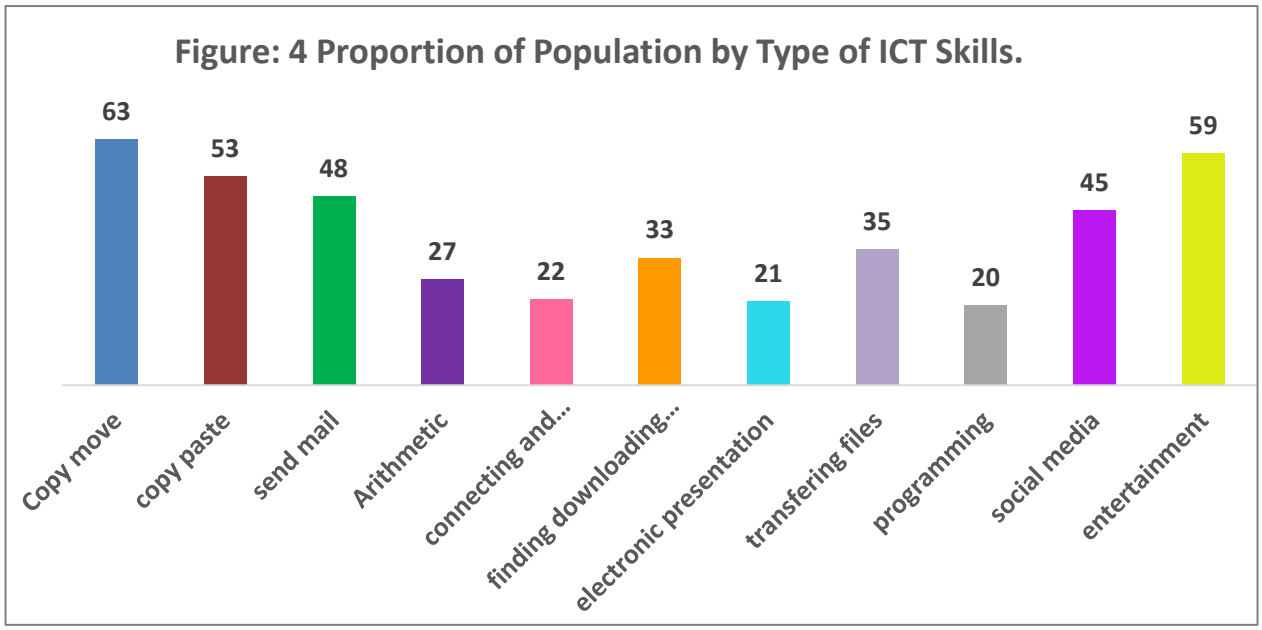

3.5 Mobile/Smart Phone by Ownership and Usage: In Pakistan, 46 percent individuals 10 years and older reported that they own Mobile Phone (SDG 5.b.1). Gender gap has been observed in Mobile Ownership as 65 percent of male population own mobile whereas only 25 percent of female population reported Mobile Ownership. (Figure 5)

Sindh with 49 percent is observed where highest number of individuals 10 years and older reported that they own Mobile Phone, Gender gap is evident as 67 percent of male and only 29 percent of female reported Mobile Ownership. While in Punjab 44 percent of population reported mobile ownership, with 64 percent male and 25 percent of female. Mobile Ownership in Khyber Pakhtunkhwa is observed as 43 percent, with wide gender gap i.e. 65 percent and 23 percent male and female respectively. Balochistan is at bottom with 42 percent of mobile ownership, gender gap is also high as 63 percent of male and 15 percent of female individual 10 years and older own with mobile Phone. (Figure 5)

In Islamabad 64 percent of individuals 10 years and older reported that they own Mobile Phone. District situation reveal that, In Punjab, Lahore with 56 percent, Karachi East with 73 percent, Abbottabad with 53 and

Kohlu with 56 percent are top ranked districts. Whereas Muzaffar Garh with 34 percent, Badin with 29 percent, Mohmand with 27 percent and Khuzdar with 23 percent are districts where lowest number of individual 10 years and older reported that they own Mobile Phone. (Table 3.2)

Figure 5: Percentage of Individual 10 years and Older by Mobile phone Ownership

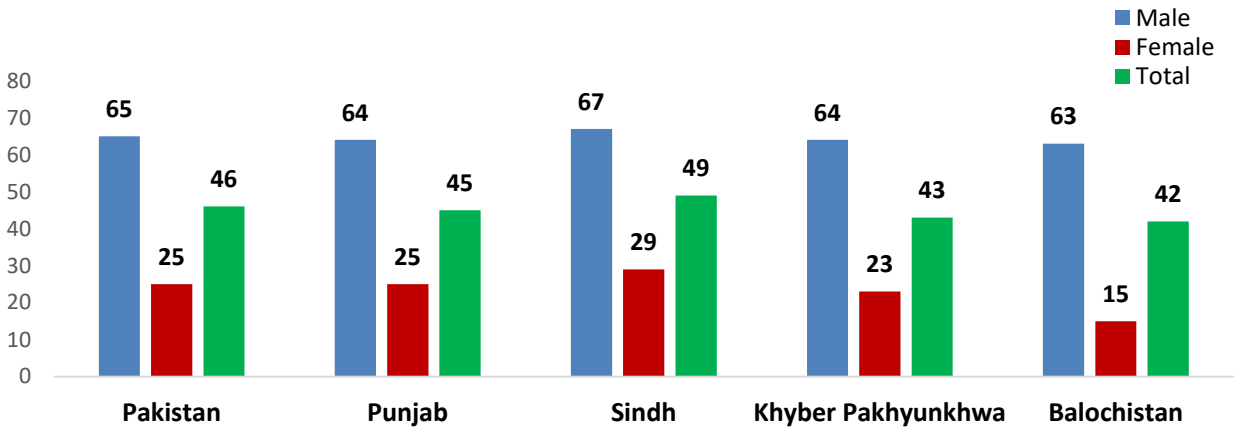

3.6 Individual Age 10 years and Older with Use of Internet in last Three Months

People use internet for communication, information seeking, education and research purpose, shopping, banking entertainment etc. In Pakistan 19 percent individuals age 10 years and older reported that they used Internet in past three months, where 24 percent of male are using internet as compared to 14 percent of female. Regional gap is also observed as 30 percent population in urban areas reported the use of internet as compared to only 12 percent rural population. Provincial comparison reveals that individuals 10 years and older in Sindh with 22 percent are highest who used Internet in past three months while Balochistan percentage is lowest with 12 percent. Whereas Punjab with 19 percent and Khyber Pakhtunkhwa with 14 percent individuals age 10 years and older reported that they used Internet in past three months. (Figure 6)

Figure 6: Percentage of Individual 10 years and Older Used Internet in Last Three Months

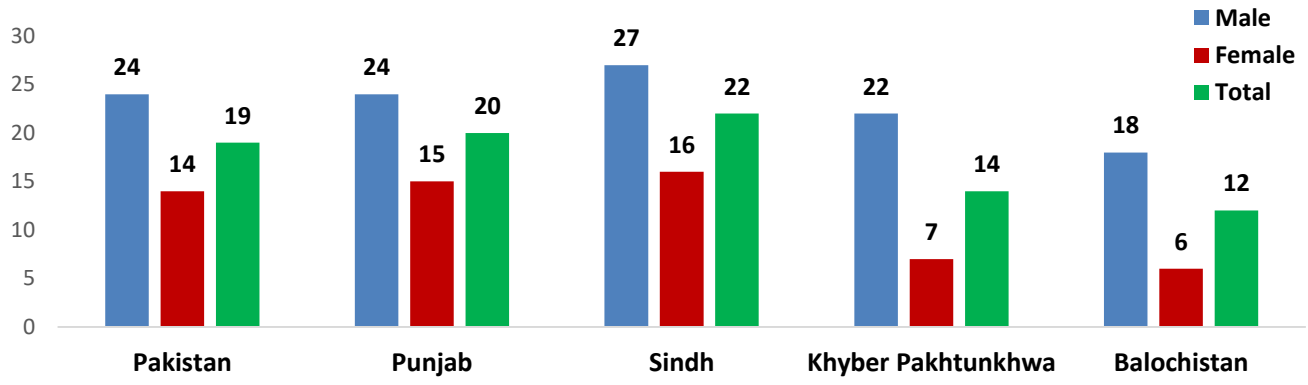

In Islamabad 52 percent individuals reported that they used Internet in last three months who are using Internet. District wise situation reveal that, Rawalpindi with 37 percent, Karachi East with 55 percent, Abbottabad with 27 percent, and Kohlu with 23 percent are top ranked districts within the respective provinces. Rajanpur at with 3 percent Tharparkar with 2 percent , South Waziristan with 1 percent and Dera Bhughti with 1 percent are bottom ranked where individuals 10 years and older used Internet in last three months . (Table 3.3)

PSLM 2019-20 collected information from the individual 10 years and older who used internet in last three months regarding the frequency of usage of the internet during the last three months. About 46 percent population reported that they used internet at least once in a day, where 47 percent male and 43 percent of females reported use of internet at least once a day. Urban and Rural comparison showed that 50 percent urban and 39 percent of rural population reported that they used internet at least once in a day, where gender gap is more in rural areas where only 34 Percent females used internet at least once in a day. (Table 3-B)

Table 3-B : Frequency of Use of Internet by Region and Gender

Region\Gender	Male	Female	Total
Overall			
At least Once a day	47	43	46
At least Once a Week	11	14	12
At least Once in a Month	2	2	2
When Needed	39	40	40
Urban			
At least Once a day	51	47	50
At least Once a Week	9	12	10
At least Once in a Month	1	2	1
When Needed	39	39	39
Rural			
At least Once a day	42	34	39
At least Once a Week	15	19	16
At least Once in a Month	3	4	3
When Needed	4	41	41

Information was also collected regarding type of activity which was carried out through Internet. Vast majority with 73 percent of individuals 10 years and older reported that they use internet for Voice and Video calls, 66 percent of individuals 10 years and older reported that they use internet for Email, Chatting and Facebook, etc. While almost 13 percent reported that they used Internet for Online Shopping and Banking. (Figure7).

Figure: 7 Percentage of Population Used Internet by Type of Activity

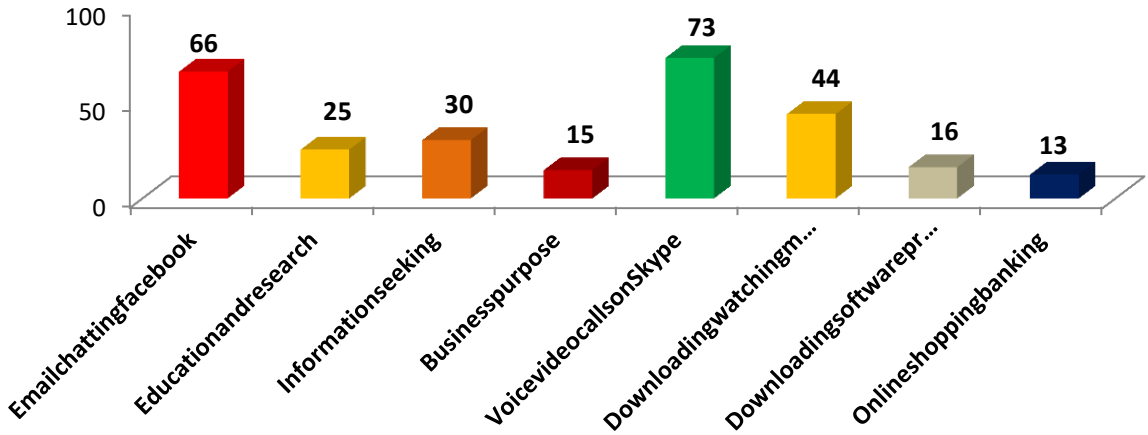

Table 3.1: Percentage of household with Computer/Mobile/Internet

Province & Region	Computer/Laptop/Tablet	MobileSmart Phone	Internet
Pakistan	**11.75**	**93.15**	**32.77**
Urban	19.42	96.46	47.76
Rural	6.92	91.06	23.32
Punjab	**12.90**	**93.93**	**34.40**
Urban	21.61	96.47	49.61
Rural	7.60	92.38	25.14
Attock	9.38	97.26	35.95
Urban	19.73	98.09	51.08
Rural	5.53	96.95	30.32
Bahawalnagar	7.24	91.17	40.14
Urban	14.13	93.64	41.05
Rural	5.46	90.53	39.90
Bahawalpur	9.02	90.32	18.50
Urban	20.20	95.44	31.01
Rural	3.92	87.99	12.79
Bhakhar	6.30	92.73	12.11
Urban	13.96	97.05	23.41
Rural	4.98	91.98	10.16
Chakwal	11.72	97.10	40.99
Urban	19.34	95.41	48.50
Rural	10.19	97.44	39.49
Chiniot	9.00	87.27	21.78
Urban	11.46	94.88	36.34
Rural	7.80	83.56	14.70
D. G. Khan	5.04	94.94	13.05
Urban	14.40	96.66	33.57
Rural	3.03	94.57	8.65
Faisalabad	18.19	95.28	39.92
Urban	20.60	97.31	44.86
Rural	15.98	93.42	35.41
Gujranwala	17.31	96.52	52.02
Urban	23.42	97.47	61.68
Rural	8.12	95.09	37.47
Gujrat	11.97	97.98	53.66
Urban	14.15	97.65	57.57
Rural	11.09	98.12	52.09
Hafizabad	9.44	96.36	32.98
Urban	13.65	97.56	41.77
Rural	7.08	95.68	28.06
Islamabad	39.74	99.42	70.33
Urban	44.96	99.29	74.79
Rural	34.20	99.57	65.60
Jehlum	11.58	97.27	47.56
Urban	22.69	99.84	62.02
Rural	8.16	96.48	43.10
Jhang	10.00	91.52	22.31
Urban	16.61	94.61	40.30
Rural	7.53	90.36	15.58
Kasur	7.63	92.99	23.26
Urban	12.55	95.65	35.01
Rural	6.05	92.13	19.47
Khanewal	8.49	81.50	19.08
Urban	16.35	89.51	32.81
Rural	6.61	79.58	15.79
Khushab	8.37	94.78	20.60
Urban	17.56	97.30	33.83
Rural	4.90	93.83	15.59

Table 3.1: Percentage of household with Computer/Mobile/Internet

Province & Region	Computer/Laptop/Tablet	MobileSmart Phone	Internet
Lahore	24.19	97.04	53.26
Urban	24.19	97.04	53.26
Rural			
Layyah	8.97	98.30	19.05
Urban	6.33	98.74	25.10
Rural	9.55	98.20	17.73
Lodhran	4.29	87.21	19.78
Urban	10.64	96.07	30.47
Rural	3.08	85.52	17.74
Mandi Bahauddin	10.28	96.91	44.39
Urban	19.11	97.10	61.39
Rural	8.55	96.87	41.07
Mianwali	10.69	90.23	17.99
Urban	17.66	93.43	24.34
Rural	8.99	89.46	16.45
Multan	12.18	91.32	29.90
Urban	22.39	92.83	43.77
Rural	4.59	90.20	19.57
Muzaffar Garh	3.31	83.97	11.51
Urban	11.67	85.22	26.17
Rural	1.85	83.75	8.95
Nankana Sahib	7.12	94.57	21.61
Urban	6.12	95.10	27.14
Rural	7.36	94.44	20.31
Narowal	13.34	92.96	32.95
Urban	37.55	97.84	73.31
Rural	8.65	92.01	25.13
Okara	6.45	96.39	28.35
Urban	11.72	98.49	47.19
Rural	4.63	95.66	21.80
Pakpattan	4.12	93.66	20.19
Urban	8.64	98.20	39.27
Rural	3.35	92.88	16.93
Rahim Yar Khan	8.27	92.99	26.22
Urban	20.43	95.61	50.53
Rural	5.05	92.29	19.77
Rajanpur	2.63	96.14	8.39
Urban	4.46	100.00	16.25
Rural	2.24	95.29	6.68
Rawalpindi	22.33	97.51	57.38
Urban	28.25	97.56	65.83
Rural	16.24	97.45	48.68
Sahiwal	8.07	94.12	27.97
Urban	19.83	95.06	46.82
Rural	4.93	93.87	22.94
Sargodha	12.50	94.70	27.39
Urban	25.74	96.85	43.43
Rural	6.89	93.79	20.60
Sheikhupura	9.67	95.51	32.58
Urban	13.64	97.81	41.25
Rural	7.63	94.32	28.11
Sialkot	16.67	95.87	55.39
Urban	24.48	95.81	70.06
Rural	13.18	95.89	48.82
T.T. Singh	14.63	94.82	28.37
Urban	25.66	98.19	41.52
Rural	11.56	93.88	24.71
Vehari	6.65	91.98	22.59
Urban	18.61	93.31	47.12
Rural	4.18	91.70	17.54

Table 3.1: Percentage of household with Computer/Mobile/Internet

Province & Region	Computer/Laptop/Tablet	MobileSmart Phone	Internet
Sindh	**10.18**	**90.85**	**31.92**
Urban	**15.94**	**96.32**	**46.11**
Rural	**3.04**	**84.08**	**14.33**
Badin	2.40	73.51	11.67
Urban	6.72	83.86	29.88
Rural	1.01	70.18	5.80
Dadu	4.20	71.94	13.22
Urban	14.40	81.96	20.70
Rural	1.28	69.07	11.09
Ghotki	5.07	88.68	26.50
Urban	13.86	95.30	45.50
Rural	2.82	86.99	21.64
Hyderabad	13.91	90.55	37.91
Urban	15.40	91.87	41.83
Rural	4.95	82.64	14.35
Jacobabad	6.20	89.94	11.54
Urban	16.37	94.45	32.35
Rural	2.94	88.49	4.87
Jamshoro	5.27	89.60	25.04
Urban	8.96	94.62	42.04
Rural	2.99	86.49	14.50
Karachi Central	21.87	96.62	58.43
Urban	21.87	96.62	58.43
Rural			
Karachi East	32.64	96.98	67.61
Urban	32.64	96.98	67.61
Rural			
Karachi Malir	10.12	96.46	44.93
Urban	10.11	98.54	49.58
Rural	10.13	94.08	39.60
Karachi South	16.35	98.49	52.91
Urban	16.35	98.49	52.91
Rural			
Karachi West	8.03	98.27	37.28
Urban	8.44	98.82	38.28
Rural	0.00	87.63	17.69
Kashmore	5.61	96.38	29.09
Urban	9.04	98.58	25.55
Rural	4.65	95.77	30.08
Khairpur	7.79	85.07	10.84
Urban	13.16	89.48	17.80
Rural	5.46	83.15	7.82
Korangi	14.53	98.68	46.78
Urban	14.53	98.68	46.78
Rural			
Larkana	2.88	93.31	29.46
Urban	5.42	95.85	40.49
Rural	.65	91.07	19.76
Matiari	5.39	79.22	20.58
Urban	11.17	87.58	36.99
Rural	3.84	76.97	16.17
Mir Pur Khas	5.44	89.02	18.43
Urban	15.01	98.09	38.28
Rural	2.02	85.78	11.34

Table 3.1: Percentage of household with Computer/Mobile/Internet

Province & Region	Computer/Laptop/Tablet	MobileSmart Phone	Internet
Nowshero Feroze	5.14	86.84	3.47
Urban	8.01	91.77	2.27
Rural	4.56	85.85	3.71
Sanghar	6.10	86.98	26.13
Urban	11.63	95.13	40.79
Rural	4.17	84.13	21.00
Shahdadkot	4.19	92.36	19.65
Urban	10.50	99.00	25.42
Rural	1.02	89.01	16.74
Shaheed Banazir Abad	4.66	82.12	24.57
Urban	8.58	87.96	32.59
Rural	3.37	80.18	21.92
Shikarpur	5.78	87.27	16.82
Urban	13.93	95.97	41.00
Rural	3.27	84.58	9.37
Sujawal	2.64	82.21	9.24
Urban	9.51	87.81	18.12
Rural	1.92	81.62	8.30
Sukkur	11.33	91.12	30.82
Urban	20.10	97.45	45.65
Rural	4.39	86.10	19.08
Tando Allah Yar	3.77	77.39	20.24
Urban	9.18	94.30	39.44
Rural	1.30	69.66	11.47
Tando Muhammad Khan	3.25	77.52	10.82
Urban	8.72	90.13	8.51
Rural	1.62	73.77	11.50
Tharparkar	1.02	92.25	3.27
Urban	1.60	96.79	11.23
Rural	.97	91.85	2.57
Thatta	1.11	86.68	15.73
Urban	2.34	93.59	34.21
Rural	.75	84.71	10.47
Umer Kot	3.28	90.18	14.13
Urban	11.30	98.34	32.76
Rural	1.11	87.97	9.08

Table 3.1: Percentage of household with Computer/Mobile/Internet

Province & Region	Computer/Laptop/Tablet	MobileSmart Phone	Internet
Khyber Pakhtunkhwa	**12.37**	**94.94**	**32.72**
Urban	**26.46**	**97.52**	**52.09**
Rural	**9.72**	**94.46**	**29.07**
Abbottabad	17.92	96.97	48.81
Urban	37.90	99.27	79.67
Rural	12.84	96.38	40.95
Bajur	3.16	97.90	17.59
Urban			
Rural	3.16	97.90	17.59
Bannu	10.92	96.26	25.94
Urban	29.72	100.00	53.66
Rural	10.05	96.08	24.65
Batagram	6.46	93.86	32.50
Urban			
Rural	6.46	93.86	32.50
Bunair	11.52	95.94	34.80
Urban			
Rural	11.52	95.94	34.80
Charsada	13.89	95.20	34.08
Urban	21.75	96.56	43.99
Rural	11.92	94.86	31.60
Chitral	10.52	96.61	19.52
Urban	15.84	100.00	28.71
Rural	9.84	96.18	18.34
D. I. Khan	8.46	88.50	13.97
Urban	20.16	88.85	26.63
Rural	5.32	88.41	10.58
Hangu	7.01	93.20	33.63
Urban	18.28	97.57	49.91
Rural	5.35	92.56	31.22
Haripur	16.23	95.01	43.81
Urban	42.03	97.35	64.02
Rural	12.76	94.69	41.09
Karak	11.42	88.63	24.59
Urban	25.00	92.86	42.86
Rural	10.86	88.46	23.85
Khyber	8.51	96.63	14.01
Urban	6.90	93.10	3.45
Rural	8.82	97.29	15.99
Kohat	9.21	95.42	32.64
Urban	19.83	98.55	49.45
Rural	7.18	94.82	29.44
Kohistan	1.58	94.04	29.95
Urban			
Rural	1.58	94.04	29.95
Kurram	9.45	81.99	17.73
Urban			
Rural	9.45	81.99	17.73
Lakki Marwat	11.22	95.33	27.97
Urban	18.36	98.47	27.04
Rural	10.40	94.97	28.08
Lower Dir	10.09	98.39	36.60
Urban	20.00	100.00	70.00
Rural	10.00	98.38	36.29
Malakand	15.99	97.23	37.10
Urban	3.70	100.00	25.93
Rural	17.25	96.95	38.26

Table 3.1: Percentage of household with Computer/Mobile/Internet

Province & Region	Computer/Laptop/Tablet	MobileSmart Phone	Internet
Mansehra	9.48	97.07	36.57
Urban	29.49	98.33	50.00
Rural	8.15	96.99	35.67
Mardan	15.33	96.12	37.93
Urban	15.57	98.65	40.32
Rural	15.28	95.56	37.40
Mohmand	6.58	79.58	8.16
Urban			
Rural	6.58	79.58	8.16
North Waziristan	6.38	95.99	17.74
Urban			
Rural	6.38	95.99	17.74
Nowshera	15.25	94.52	38.13
Urban	18.92	98.41	41.72
Rural	14.18	93.40	37.08
Orakzai	6.96	94.50	28.72
Urban			
Rural	6.96	94.50	28.72
Peshawar	25.32	96.27	50.94
Urban	36.35	98.74	65.81
Rural	16.47	94.29	39.02
Shangla	4.23	99.20	26.16
Urban			
Rural	4.23	99.20	26.16
South Waziristan	4.59	82.92	2.30
Urban			
Rural	4.59	82.92	2.30
Swabi	14.59	96.92	37.46
Urban	33.65	95.91	58.76
Rural	11.04	97.10	33.50
Swat	9.67	98.55	41.65
Urban	13.53	99.34	49.48
Rural	7.75	98.15	37.77
Tank	7.16	92.95	7.29
Urban	36.67	96.67	40.00
Rural	5.20	92.71	5.11
Tor Garh	3.10	93.29	8.70
Urban			
Rural	3.10	93.29	8.70
Upper Dir	11.98	97.86	30.81
Urban	50.00	100.00	50.00
Rural	10.15	97.76	29.88

Table 3.1: Percentage of household with Computer/Mobile/Internet

Province & Region	Computer/Laptop/Tablet	MobileSmart Phone	Internet
Balochistan	**6.45**	**91.88**	**21.15**
Urban	**12.95**	**96.13**	**31.97**
Rural	**4.03**	**90.30**	**17.13**
Awaran	0.00	92.25	0.00
Urban	0.00	100.00	0.00
Rural	0.00	91.41	0.00
Barkhan	19.90	94.51	17.46
Urban	53.33	83.33	13.33
Rural	12.62	96.95	18.36
Dera Bugti	.76	84.40	2.48
Urban	0.00	98.90	4.42
Rural	1.05	78.90	1.74
Duki	.56	95.00	20.87
Urban	0.00	100.00	73.33
Rural	.63	94.32	13.78
Gwadar	9.92	93.18	37.99
Urban	14.94	97.20	54.81
Rural	1.43	86.37	9.49
Harnai	1.46	92.17	18.11
Urban	4.43	100.00	28.05
Rural	.27	89.05	14.15
Jaffarabad	1.27	81.93	8.05
Urban	4.18	84.76	8.20
Rural	.14	80.83	7.99
Kachhi/ Bolan	.59	92.19	14.21
Urban	2.12	92.80	26.77
Rural	.38	92.11	12.48
Kalat	1.59	81.96	5.01
Urban			
Rural	1.59	81.96	5.01
Kech/Turbat	4.88	93.23	7.84
Urban	10.37	96.72	11.15
Rural	2.33	91.60	6.30
Kharan	3.99	94.58	10.49
Urban	11.72	97.40	5.95
Rural	1.96	93.84	11.68
Khuzdar	.08	69.92	7.09
Urban			
Rural	.08	69.92	7.09
Kohlu	6.84	97.89	50.60
Urban	7.69	100.00	42.31
Rural	6.70	97.53	51.99
Lasbela	.74	97.33	22.76
Urban	.56	97.44	27.56
Rural	.94	97.22	17.56
Loralai	13.71	94.36	26.14
Urban	20.85	92.27	20.92
Rural	8.19	95.97	30.17
Mastung	4.14	94.74	21.24
Urban	11.31	100.00	27.93
Rural	2.44	93.50	19.65
Nasirabad/ Tamboo	.76	76.36	3.51
Urban	1.05	97.54	4.91
Rural	.70	71.97	3.21

Table 3.1: Percentage of household with Computer/Mobile/Internet

Province & Region	Computer/Laptop/Tablet	MobileSmart Phone	Internet
Nushki	2.47	98.03	32.87
Urban	2.52	100.00	77.20
Rural	2.46	97.43	19.26
Pishin	18.56	98.89	48.58
Urban	13.83	100.00	72.13
Rural	1.68	98.62	42.95
Qilla Abdullah	4.12	96.04	5.35
Urban	1.36	98.98	13.42
Rural	.81	95.65	4.29
Qilla Saifullah		98.74	32.95
Urban	.81		
Rural	17.02	98.74	32.95
Quetta	22.02	97.24	38.95
Urban	12.64	96.64	41.82
Rural	0.00	97.77	36.45
Shaheed Sikandar Abad		79.94	.50
Urban	0.00		
Rural	0.00	79.94	.50
Sherani		88.03	21.45
Urban	0.00		
Rural	5.99	88.03	21.45
Sibbi	15.13	91.83	24.66
Urban	0.00	97.77	49.92
Rural	0.00	87.94	8.10
Sohbatpur	0.00	92.95	8.29
Urban	0.00	89.29	46.43
Rural	2.82	93.25	5.17
Washuk	1.73	83.87	24.09
Urban	3.03	81.06	0.00
Rural		84.40	28.66
Ziarat	.69	98.35	24.74
Urban	0.00	100.00	15.38
Rural	.70	98.33	24.90

Table: Percentage of Individual with Mobile Ownership

Province and Region	Urban			Rural			Total		
	Male	Female	Total	Male	Female	Total	Male	Female	Total
Pakistan	**71.22**	**38.08**	**55.24**	**61.08**	**17.36**	**39.48**	**65.02**	**25.19**	**45.52**
Punjab	**69.12**	**36.43**	**53.1**	**61.39**	**18.63**	**39.91**	**64.38**	**25.33**	**44.95**
Attock	73.79	40.36	56.21	72.03	28.18	49.44	72.49	31.45	51.23
Bahawalnagar	65.36	21.85	44.36	58.3	9.8	35.14	59.72	12.26	37.01
Bahawalpur	65.37	31.38	48.33	59.2	11.68	34.41	61.28	17.96	38.97
Bhakhar	71.15	24.26	48.38	66.04	11.2	38.65	66.81	13.07	40.08
Chakwal	71.3	42.91	57.57	73.13	31.08	51.44	72.83	32.81	52.39
Chiniot	64.98	18.31	41.66	54.32	8.5	31.12	58.02	11.85	34.74
D. G. Khan	72.6	30.82	51.72	64.92	8.1	36.78	66.33	12.32	39.54
Faisalabad	67.96	32.79	50.77	62.2	24.33	43.14	65.02	28.35	46.82
Gujranwala	68.77	41.17	55.11	58.06	22.96	40.46	64.45	33.71	49.15
Gujrat	66.95	37.29	51.82	65.64	32.93	48.37	66.04	34.17	49.37
Hafizabad	67.65	31.54	49.27	58.81	17.66	38.71	61.8	22.61	42.37
Islamabad	77.92	52.41	66.06	74.86	50.5	63.2	76.44	51.46	64.65
Jehlum	70.97	45.47	57.66	64.7	27.61	45.65	66.08	31.64	48.32
Jhang	64.63	28.95	46.51	59.34	10.78	35.26	60.72	15.69	38.25
Kasur	65.15	29.47	47.41	61.08	16.22	39.83	62.03	19.56	41.68
Khanewal	62.27	28.64	44.96	52.62	15.72	33.85	54.53	18.33	36.07
Khushab	66.25	27.37	45.88	63.28	16	38.93	64.04	18.99	40.74
Lahore	70.72	41.75	56.94				70.72	41.75	56.94
Layyah	67.92	28.49	49.05	63.01	24.98	44.21	63.91	25.59	45.07
Lodhran	64.32	30.73	48.25	60.56	17.54	39.5	61.24	19.84	41.05
Mandi Bahauddin	71.05	38.59	55.16	64.2	27.43	45.14	65.33	29.1	46.71
Mianwali	70.27	21.25	44.96	66.41	20.88	42.77	67.27	20.96	43.26
Multan	67.78	34.89	51.65	62.9	16.26	40.46	65	24.46	45.33
Muzaffar Garh	56.94	24.56	40.85	56.14	9.19	32.93	56.27	11.68	34.21
Nankana Sahib	68.43	29	49.63	64.09	21.4	43.21	64.89	22.74	44.37
Narowal	66.38	32	47.95	49.25	23.44	34.78	52.49	24.93	37.16
Okara	69.8	35.97	52.25	64.38	20.79	42.48	65.85	25.11	45.2
Pakpattan	68.63	26.83	48.27	64.87	14.08	39.3	65.48	16.04	40.71
Rahim Yar Khan	64.42	26.61	46.19	57.45	7.3	32.74	58.92	11.25	35.53
Rajanpur	67.37	17.33	43.01	61.97	6.35	35.29	62.93	8.35	36.68
Rawalpindi	73.92	41.77	58.45	70.55	34.77	52.65	72.35	38.36	55.68
Sahiwal	72.77	46.02	59.09	64.38	22.23	42.78	66.13	27.19	46.18
Sargodha	69.54	36.63	53.07	61.48	20.66	40.48	63.92	25.3	44.21
Sheikhupura	70.31	32.06	51.92	63.49	20.49	42.52	65.83	24.39	45.72
Sialkot	66.63	37.78	51.19	57.17	25.91	40.63	59.97	29.48	43.78
T.T. Singh	64.59	26.7	45.38	60.83	17.63	38.78	61.7	19.7	40.29
Vehari	63.84	25.39	43.68	55.21	9.1	32.26	56.69	12.15	34.31

Table: Percentage of Individual with Mobile Ownership

Province and Region	Urban			Rural			Total		
	Male	Female	Total	Male	Female	Total	Male	Female	Total
Sindh	**75.03**	**44.43**	**60.59**	**57.6**	**8.97**	**34.72**	**67.43**	**29.01**	**49.33**
Badin	62.77	10.8	37.55	45.63	3.39	25.53	50.07	5.37	28.69
Dadu	57.6	11.82	36.2	45.65	3.45	26.48	48.68	5.66	28.98
Ghotki	71.09	19.26	46.82	57.09	8.02	34.41	59.95	10.35	36.96
Hyderabad	69.55	32.81	52.1	52.73	6.97	31.91	67.12	29.32	49.27
Jacobabad	67.47	13.37	42.99	64.25	4.31	36.14	65.22	6.9	38.16
Jamshoro	66.56	28.24	48.74	59.23	7.28	36.1	61.78	14.96	40.61
Karachi Central	79.18	55.44	67.87				79.18	55.44	67.87
Karachi East	81.12	64.72	73.34				81.12	64.72	73.34
Karachi Malir	76.63	56.88	67.52	74	45.4	60.97	75.46	51.87	64.64
Karachi South	77.83	50.57	64.81				77.83	50.57	64.81
Karachi West	75.52	46.06	61.9	54.74	29.3	42.98	74.55	45.27	61.01
Kashmore	77.38	13.65	47.03	77.06	7.53	43.58	77.13	8.87	44.34
Khairpur	59.76	8.28	35.17	51.94	2.5	28.32	54.3	4.25	30.39
Korangi	77.01	54.77	66.44				77.01	54.77	66.44
Larkana	70.25	45.01	58.65	62.86	28.57	47.33	66.34	36.41	52.69
Matiari	67.92	21.64	46.31	53.01	8.68	32.02	56.38	11.55	35.22
Mir Pur Khas	70.57	26.72	50.33	57.09	4.18	32.48	60.69	10.14	37.22
Nowshero Feroze	77.75	32.56	55.97	65.02	12.79	39.5	67.22	16.13	42.31
Sanghar	70.47	15.88	44.18	60.64	5.34	33.68	63.51	8.36	36.72
Shahdadkot	85.96	31.8	60.33	65	25.19	47.11	71.43	27.36	51.3
Shaheed Banazir Abad	62.95	13.22	38.72	57.33	4.94	31.66	58.86	7.18	33.58
Shikarpur	71.06	23.97	48.58	51.35	2.16	27.32	56.42	7.59	32.7
Sujawal	68.08	51.17	60.02	52.14	8.07	32.01	53.34	11.56	34.19
Sukkur	72.58	24.33	50.17	54.25	5.21	30.98	62.82	13.95	39.86
Tando Allah Yar	70.6	27.91	49.91	49.45	5.11	28.34	55.96	12.3	35.06
Tando Muhammad Khan	58.05	10.2	35.44	52.35	5.9	30.72	53.62	6.88	31.78
Tharparkar	69.14	10.87	43.46	59.07	3.01	32.79	59.88	3.58	33.62
Thatta	67.72	31.68	52	56.63	6.54	33.42	59	11.46	37.24
Umer Kot	75.13	29.63	54.08	62.76	2.79	34.47	65.85	9.3	39.3

Table: Percentage of Individual with Mobile Ownership

Province and Region	Urban			Rural			Total		
	Male	Female	Total	Male	Female	Total	Male	Female	Total
Khyber Pakhtunkhwa	**70.65**	**29.84**	**50.52**	**62.78**	**21.44**	**41.95**	**64.15**	**22.85**	**43.41**
Abbottabad	77.02	41.51	59.64	69.15	36.09	51.13	71.14	37.25	53.11
Bajur				54.84	21.5	36.42	54.84	21.5	36.42
Bannu	81.12	24.65	54.22	67.97	12.21	41.69	68.49	12.72	42.19
Batagram				52.67	24.44	38.43	52.67	24.44	38.43
Bunair				59.37	17.19	36.63	59.37	17.19	36.63
Charsada	65.11	15.05	38.83	63.28	18.03	39.8	63.67	17.38	39.59
Chitral	67.77	28.37	49.23	68.82	29.76	49.61	68.69	29.61	49.57
D. I. Khan	72.85	25.55	50.95	66.36	16.17	43.96	67.76	18.3	45.5
Hangu	69	17.46	40.77	58.45	8.34	30.82	59.73	9.43	32.02
Haripur	74.2	46.96	59.92	63.98	32.69	47.16	65.34	34.49	48.8
Karak	69.7	22.58	46.88	62.99	22.71	44.59	63.31	22.7	44.7
Khyber	65.38	20.55	43.71	64.84	16.31	41.92	64.93	16.99	42.2
Kohat	66.57	26.02	45.51	61.25	10.89	34.15	62.21	13.45	36.13
Kohistan				66.48	5.04	35.23	66.48	5.04	35.23
Kurram				57.53	12.97	32.71	57.53	12.97	32.71
Lakki Marwat	72.85	31.05	52.84	65.77	18.2	43.45	66.5	19.57	44.44
Lower Dir	65.48	50.63	58.28	62.86	34.72	48.41	62.89	34.88	48.51
Malakand	50.79	25.4	38.1	62.89	27.7	45.42	61.83	27.5	44.77
Mansehra	66.4	32.38	50.14	65.49	28.15	46.15	65.56	28.43	46.43
Mardan	68.78	22.13	44.79	62.97	15.25	38.41	63.98	16.44	39.51
Mohmand				54	6.3	27.36	54	6.3	27.36
North Waziristan				58.25	23.61	43.99	58.25	23.61	43.99
Nowshera	65.37	27.98	47.34	63.09	14.44	38.46	63.6	17.24	40.37
Orakzai				60.47	10	35.71	60.47	10	35.71
Peshawar	72.36	27.91	50.55	63.75	16.8	40.77	67.73	21.95	45.29
Shangla				61.36	41.85	50.74	61.36	41.85	50.74
South Waziristan				51.65	7.34	32.97	51.65	7.34	32.97
Swabi	69.06	25.61	46.87	61.92	30.03	45.18	63.06	29.36	45.44
Swat	71.71	47.27	59.88	62.61	32.91	47.64	65.47	37.18	51.38
Tank	58.82	22.09	40.35	68.18	27.55	50.16	67.18	26.83	49.01
Tor Garh				46.52	29.88	37.21	46.52	29.88	37.21
Upper Dir	59.42	56.67	58.14	60.43	25.98	43.29	60.38	27.29	43.96

Table: Percentage of Individual with Mobile Ownership

Province and Region	Urban			Rural			Total		
	Male	Female	Total	Male	Female	Total	Male	Female	Total
Balochistan	**67.41**	**22.74**	**47.35**	**61.85**	**11.44**	**39.28**	**63.43**	**14.68**	**41.59**
Awaran	50	2.56	32.04	53.79	1.35	31.91	53.36	1.47	31.92
Barkhan	64.15	30	47.57	69.57	8.97	44.86	68.79	12.91	45.3
Dera Bugti	56.58	0	31.36	42.89	1.3	25.24	46.45	0.94	26.88
Duki	91.89	15.15	55.71	79.03	0.33	43.24	80.41	2.03	44.62
Gwadar	72.01	12.4	43.73	53.16	1.97	29.56	65.3	8.82	38.76
Harnai	73.31	7.89	46.16	61.6	2.58	34.71	65.28	4.07	38.13
Jaffarabad	60.52	1.78	33.67	55.44	1.9	30.41	57.17	1.86	31.5
Kachhi/ Bolan	55.58	1.03	30.04	57.54	2.24	32.36	57.29	2.08	32.06
Kalat				59.6	2.21	32.82	59.6	2.21	32.82
Kech/Turbat	63.18	11.46	38.77	63.35	6.63	35.94	63.29	8.22	36.89
Kharan	60.69	25.21	45	56.92	21.26	40.41	57.73	22.06	41.37
Khuzdar				40.36	1.65	23.6	40.36	1.65	23.6
Kohlu	75.56	0	44.74	77.85	40.35	61.07	77.47	34.47	58.5
Lasbela	76.06	35.84	59.38	72.92	22.8	50.48	74.55	29.13	54.97
Loralai	68.52	39.81	57.04	63.54	10.88	40.02	65.9	23.2	47.73
Mastung	81.11	9.52	47.41	67.46	6.61	40.14	70.32	7.26	41.71
Nasirabad/ Tamboo	63.94	15.52	42.81	51.5	3.53	30.68	54.04	5.99	33.16
Nushki	59.19	29.24	44.17	57.56	24.14	42.09	57.92	25.42	42.58
Pishin	76.6	53.53	65.91	68.6	19.57	47.28	69.89	25.6	50.42
Qilla Abdullah	57.88	9.78	37.56	63.9	20.44	45.24	62.92	18.74	44
Qilla Saifullah				67.61	7.81	42.2	67.61	7.81	42.2
Quetta	67.62	28.37	50.07	63.2	19.78	43.84	65.18	23.64	46.63
Shaheed Sikandar Abad				49.3	1.15	27.14	49.3	1.15	27.14
Sherani				82.87	0.16	41.71	82.87	0.16	41.71
Sibbi	66.35	20.42	44.05	65.03	2.46	35.15	65.65	11.06	39.37
Sohbatpur	53.85	0	29.47	73.15	0.87	38.91	71.23	0.79	38
Washuk	55.28	4.13	28.94	57.84	13.59	36.71	57.43	11.86	35.37
Ziarat	69.64	8.7	42.16	66.15	1.64	38.6	66.2	1.74	38.65

Table 3.3 : Percentage of individual using internet

Province and Region	Urban			Rural			Total		
	Male	Female	Total	Male	Female	Total	Male	Female	Total
Pakistan	**36.71**	**24.17**	**30.66**	**15.98**	**7.20**	**11.65**	**24.04**	**13.62**	**18.94**
Punjab	**36.06**	**25.05**	**30.66**	**16.39**	**9.38**	**12.87**	**24.01**	**15.27**	**19.66**
Attock	37.62	26.57	31.81	20.27	9.18	14.56	24.78	13.85	19.12
Bahawalnagar	20.77	8.68	14.93	7.8	2.3	5.17	10.41	3.6	7.15
Bahawalpur	27.65	17.19	22.4	11.04	3.56	7.13	16.63	7.9	12.14
Bhakhar	17.48	4.93	11.39	8.35	0.98	4.67	9.72	1.55	5.65
Chakwal	36.54	27.3	32.07	27.85	16.55	22.02	29.27	18.13	23.58
Chiniot	24.08	11.59	17.84	10.48	2.38	6.38	15.2	5.52	10.32
D. G. Khan	22.51	13.27	17.89	5.99	1.77	3.9	9.01	3.91	6.48
Faisalabad	31.49	18.69	25.24	24	13.97	18.96	27.67	16.21	21.98
Gujranwala	44.78	36.03	40.45	24.24	18.31	21.27	36.49	28.78	32.65
Gujrat	36.43	28.2	32.23	36.35	31.03	33.54	36.38	30.23	33.16
Hafizabad	29.32	19.42	24.28	20.52	10.61	15.68	23.5	13.75	18.67
Islamabad	63.32	53.06	58.55	51.2	39.87	45.78	57.45	46.49	52.28
Jehlum	45.95	40.14	42.92	27.03	21.23	24.05	31.19	25.49	28.25
Jhang	32.39	15.92	24.03	13.07	3.94	8.54	18.11	7.18	12.65
Kasur	26.04	13.02	19.57	13.61	5.39	9.72	16.53	7.31	12.11
Khanewal	20.49	13.9	17.1	11.88	6.69	9.24	13.58	8.14	10.81
Khushab	19.76	8.64	13.93	11.16	1.75	6.31	13.36	3.56	8.29
Lahore	38.46	26.97	33				38.46	26.97	33
Layyah	15.34	3.9	9.86	10.03	4.72	7.4	11	4.57	7.84
Lodhran	22.85	7.06	15.29	12.79	8.26	10.57	14.61	8.05	11.41
Mandi Bahauddin	43.97	35.22	39.69	25.39	19.32	22.24	28.45	21.7	24.98
Mianwali	24.33	9.86	16.86	16.75	5.56	10.94	18.43	6.51	12.25
Multan	35.58	27.58	31.66	13.31	6.52	10.04	22.91	15.79	19.46
Muzaffar Garh	20.51	12.46	16.51	6.25	3.15	4.72	8.53	4.66	6.62
Nankana Sahib	21.65	18.06	19.94	12.56	6.8	9.75	14.24	8.79	11.59
Narowal	61.86	49.41	55.18	14.7	9.7	11.9	23.62	16.61	19.72
Okara	29.39	13.48	21.13	13.61	5.58	9.58	17.9	7.83	12.79
Pakpattan	26.61	12.22	19.6	11.53	3.86	7.67	13.98	5.15	9.55
Rahim Yar Khan	24.91	15.67	20.45	10.91	4.7	7.85	13.87	6.94	10.47
Rajanpur	7.69	5.25	6.5	3.87	0.96	2.47	4.55	1.74	3.2
Rawalpindi	51.27	37.6	44.69	34.88	22.46	28.66	43.61	30.24	37.05
Sahiwal	37.89	27.33	32.49	15.31	7.96	11.55	20.04	12	15.92
Sargodha	31.5	17.34	24.41	12.61	5.51	8.96	18.32	8.95	13.54
Sheikhupura	28.67	20.23	24.61	18.87	7.93	13.53	22.24	12.08	17.3
Sialkot	48.29	46.38	47.27	30.27	22.42	26.12	35.59	29.62	32.42
T.T. Singh	31.49	18.75	25.03	16.24	10.36	13.24	19.76	12.27	15.94
Vehari	28.06	13.69	20.53	9.92	4.9	7.42	13.03	6.54	9.77

Table 3.3 : Percentage of individual using internet

Province and Region	Urban			Rural			Total		
	Male	Female	Total	Male	Female	Total	Male	Female	Total
Sindh	**38.97**	**26.77**	**33.21**	**12.06**	**3.11**	**7.85**	**27.24**	**16.48**	**22.17**
Badin	24.11	10.71	17.61	5.43	1.47	3.55	10.27	3.94	7.24
Dadu	18.57	9.18	14.18	9.12	2.14	5.95	11.51	3.99	8.07
Ghotki	34.87	17.93	26.94	14.29	2.05	8.63	18.49	5.35	12.4
Hyderabad	36.55	25.11	31.12	14.69	2.59	9.19	33.39	22.07	28.04
Jacobabad	25.74	5.16	16.43	3.3	0.29	1.89	10.03	1.68	6.16
Jamshoro	31.17	25.57	28.57	12.7	3.95	8.81	19.13	11.87	15.85
Karachi Central	48.46	36.84	42.92				48.46	36.84	42.92
Karachi East	60.31	48.67	54.78				60.31	48.67	54.78
Karachi Malir	35.29	26.63	31.3	38.3	23.73	31.67	36.62	25.37	31.46
Karachi South	45.19	37.33	41.44				45.19	37.33	41.44
Karachi West	32.08	19.83	26.42	11.82	2.86	7.68	31.12	19.04	25.54
Kashmore	23.43	9.18	16.65	24.74	4.93	15.2	24.45	5.86	15.52
Khairpur	14.4	3.11	9.01	6.55	0.47	3.64	8.92	1.27	5.27
Korangi	38.4	29.96	34.39				38.4	29.96	34.39
Larkana	35.55	18.25	27.6	19.42	6.92	13.76	27.01	12.33	20.31
Matiari	42.15	17.64	30.71	17.96	5.59	12.1	23.43	8.26	16.27
Mir Pur Khas	30.69	11.68	21.92	10.35	2.96	6.91	15.78	5.26	10.9
Nowshero Feroze	16.08	1.55	9.08	7.81	1.84	4.89	9.24	1.79	5.61
Sanghar	28.09	3.86	16.42	16.42	0.99	8.9	19.82	1.82	11.08
Shahdadkot	36.66	8.21	23.19	15.12	7.52	11.71	21.73	7.74	15.34
Shaheed Banazir Abad	25.19	5.69	15.69	16.13	0.46	8.45	18.6	1.88	10.42
Shikarpur	31.91	14.92	23.8	7.21	1.14	4.24	13.56	4.57	9.19
Sujawal	14.56	4.8	9.91	6.14	2.21	4.34	6.77	2.42	4.78
Sukkur	36.59	14.11	26.15	13.64	2.05	8.14	24.36	7.56	16.47
Tando Allah Yar	35.76	19.6	27.93	10.35	2.21	6.47	18.18	7.69	13.16
Tando Muhammad Khan	6.72	4.24	5.55	9.39	1.66	5.79	8.79	2.25	5.74
Tharparkar	11.32	0	6.33	2.37	0.14	1.32	3.09	0.13	1.71
Thatta	25.39	9.7	18.55	7.39	0.88	4.37	11.23	2.61	7.28
Umer Kot	29.88	10.73	21.02	7.89	0.54	4.42	13.37	3.01	8.51

Table 3.3 : Percentage of individual using internet

Province and Region	Urban			Rural			Total		
	Male	Female	Total	Male	Female	Total	Male	Female	Total
Khyber Pakhtunkhwa	**35.91**	**13.27**	**24.74**	**18.8**	**5.59**	**12.15**	**21.77**	**6.88**	**14.3**
Abbottabad	58.28	31.46	45.15	30.14	13.93	21.31	37.28	17.68	26.85
Bajur				9.38	0.43	4.44	9.38	0.43	4.44
Bannu	44.66	9.82	28.06	19.77	0.8	10.83	20.76	1.17	11.52
Batagram				18.28	12.62	15.43	18.28	12.62	15.43
Bunair				23.17	11.42	16.84	23.17	11.42	16.84
Charsada	26.76	5.74	15.73	23.44	7.34	15.09	24.15	6.99	15.23
Chitral	16.94	0.46	9.19	10.18	1.76	6.04	11	1.62	6.41
D. I. Khan	17.47	5.31	11.84	7.35	0.35	4.22	9.53	1.47	5.9
Hangu	33.32	9.75	20.41	18.37	3.97	10.43	20.18	4.66	11.63
Haripur	42.37	37.09	39.6	27.1	17.57	21.98	29.12	20.04	24.25
Karak	22.73	1.61	12.5	17.48	2.21	10.51	17.73	2.18	10.61
Khyber	2.56	0	1.32	9.12	0.23	4.92	8.1	0.19	4.35
Kohat	32.16	7.92	19.57	19.03	1.63	9.67	21.4	2.7	11.39
Kohistan				20.94	0.89	10.74	20.94	0.89	10.74
Kurram				14.66	4.2	8.83	14.66	4.2	8.83
Lakki Marwat	33.42	9.59	22.01	18.21	0.58	9.94	19.78	1.55	11.21
Lower Dir	35.71	10.13	23.31	21.34	5.81	13.36	21.5	5.86	13.47
Malakand	14.29	1.59	7.94	19.66	4.79	12.27	19.18	4.5	11.89
Mansehra	32.97	14.77	24.27	23.97	8.09	15.75	24.66	8.54	16.36
Mardan	26.98	10.86	18.69	23.19	7.48	15.11	23.84	8.07	15.72
Mohmand				8.72	1.22	4.53	8.72	1.22	4.53
North Waziristan				11.7	0.28	7	11.7	0.28	7
Nowshera	26.33	8.61	17.79	21.5	5.19	13.24	22.58	5.9	14.22
Orakzai				15.62	1.81	8.84	15.62	1.81	8.84
Peshawar	45.72	17.8	32.02	24.41	7.1	15.94	34.26	12.05	23.38
Shangla				18.31	0.95	8.86	18.31	0.95	8.86
South Waziristan				1.83	0.37	1.21	1.83	0.37	1.21
Swabi	34.2	15.63	24.72	20.87	9.02	14.65	23	10.02	16.21
Swat	31.81	4.62	18.64	20.68	8.28	14.43	24.18	7.19	15.72
Tank	17.65	2.33	9.94	4.32	0.36	2.57	5.74	0.62	3.44
Tor Garh				6.63	1.37	3.69	6.63	1.37	3.69
Upper Dir	26.09	1.67	14.73	15.61	5.04	10.35	16.12	4.9	10.55

Table 3.3 : Percentage of individual using internet

Province and Region	Urban			Rural			Total		
	Male	Female	Total	Male	Female	Total	Male	Female	Total
Balochistan	**29.38**	**12.43**	**21.77**	**17.12**	**5.47**	**11.9**	**20.62**	**7.46**	**14.73**
Awaran	0.00	0.00	0.00	0.00	0.00	0.00	0.00	0.00	0.00
Barkhan	30.19	14.00	22.33	14.03	1.25	8.82	16.36	3.64	11.01
Dera Bugti	3.12	.78	2.08	.51	0.00	.29	1.19	.22	.77
Duki	64.86	6.06	37.14	23.17	0.00	12.63	27.66	.69	15.35
Gwadar	28.08	3.18	16.26	5.20	.42	2.99	19.93	2.23	11.61
Harnai	15.83	3.05	10.53	8.89	.32	4.99	11.08	1.08	6.64
Jaffarabad	8.20	0.00	4.45	6.66	.25	3.66	7.19	.17	3.93
Kachhi/ Bolan	17.62	0.00	9.37	8.53	.61	4.93	9.69	.53	5.50
Kalat				3.90	0.00	2.08	3.90	0.00	2.08
Kech/Turbat	9.83	1.02	5.67	4.51	1.50	3.06	6.32	1.34	3.93
Kharan	45.26	30.15	38.58	18.28	2.61	11.03	24.11	8.18	16.81
Khuzdar				8.08	6.86	7.55	8.08	6.86	7.55
Kohlu	37.78	9.68	26.32	36.96	7.74	23.89	37.09	8.03	24.27
Lasbela	24.81	10.23	18.77	14.60	5.87	10.69	19.91	7.99	14.77
Loralai	33.06	17.88	26.98	23.43	6.74	15.97	27.98	11.48	20.96
Mastung	24.19	4.03	14.70	13.56	4.57	9.52	15.79	4.45	10.64
Nasirabad/ Tamboo	14.57	1.12	8.70	3.92	.33	2.37	6.09	.49	3.66
Nushki	30.38	9.50	19.91	21.87	11.79	17.20	23.76	11.22	17.84
Pishin	54.12	3.99	30.89	32.82	1.88	19.36	36.25	2.25	21.30
Qilla Abdullah	14.71	1.02	8.93	7.26	.62	4.41	8.48	.69	5.14
Qilla Saifullah				21.60	15.62	19.06	21.60	15.62	19.06
Quetta	37.08	19.06	29.02	19.60	9.81	15.23	27.42	13.96	21.41
Shaheed Sikandar Abad				0.00	0.00	0.00	0.00	0.00	0.00
Sherani				18.75	0.00	9.42	18.75	0.00	9.42
Sibbi	33.78	17.66	25.95	6.75	1.97	4.47	19.48	9.48	14.67
Sohbatpur	30.77	0.00	16.84	6.07	0.00	3.19	8.53	0.00	4.50
Washuk	1.76	0.00	.85	18.38	4.41	11.71	15.69	3.61	9.84
Ziarat	12.50	2.17	7.84	14.08	.36	8.22	14.06	.38	8.21

4. Health

Pakistan shows accelerating growth in health sector as compare to Last five years. The results show that each health measure indicates positive health profile in all districts; erstwhile some less Developed districts of Sindh, Khyber Pakhtunkhwa and Balochistan. The graph of Khyber Pakhtunkhwa is remarkably flourishing but on other side the merger of FATA affects it. FATA merger is an incredible achievement of the government in previous years it helps the provincial government to play its role in the development of those districts which were out of the legislative limitation in the past.

Agenda

The goal behind the health section of this survey is to identify different indicators in our health sector from maternal health to infant health and to enlighten where our health system stands in terms of public and private sector in each district.

Pakistan Social and Living Standard Measurement (PSLM) Survey data on Health provides platform to government agencies, stake holders and non-government organizations to monitor the progress in Health sector by analysing the results of our health indicators which are as follows:

- Percentage of population who got Sick or Injured
- Type of health consultation
- Immunization in children's under five years of age
- Diarrhoea and consultation for the treatment of diarrhoea
- Pre and Post-natal care
- Tetanus toxoid during last pregnancy
- Place of infant delivery
- Skilled Birth Attendant

The tables given in this report give present the latest data with the previous trends. This chapter will provide key indicators on Health at National/Provincial and District level to overview the Progress and to assess the areas to enhance the coverage of health facilities as per the requirements.

Figure 1 Key health indicators of Pakistan's health sector.

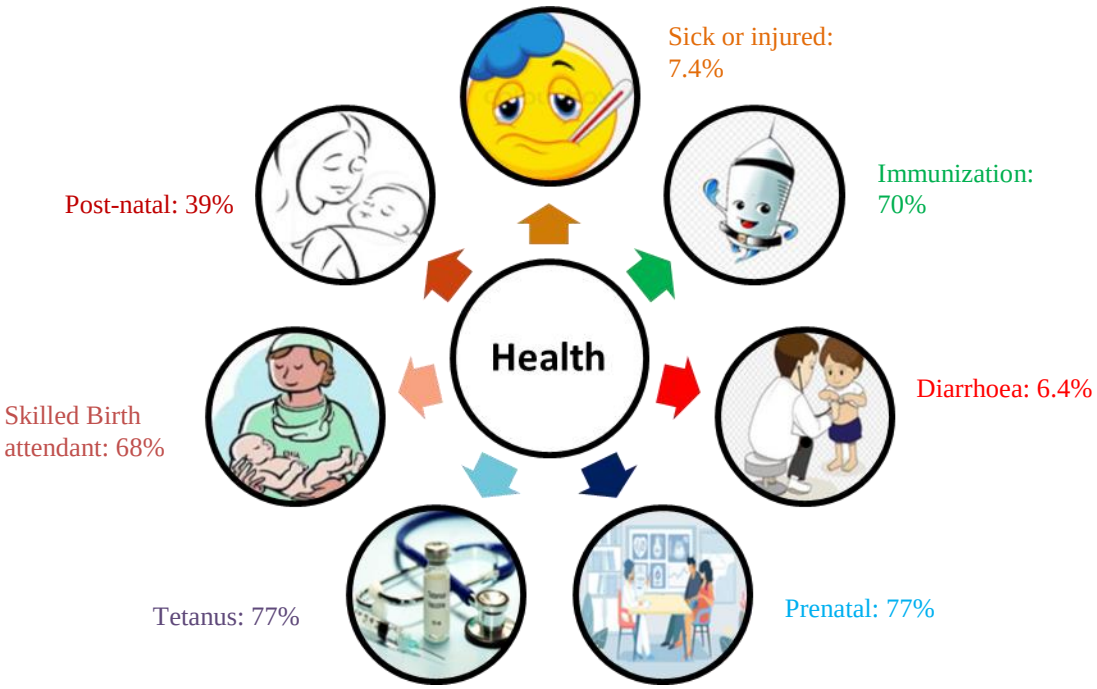

4.1 Sick or Injured

According to survey the reference period of two weeks prior to the date of interview 7.4 percent of the population in 2019-20 have reported as sick or injured in Pakistan. Khyber Pakhtunkhwa (KP) with 8.6 percent has comparatively higher prevalence of sick or injured population, district Orakzai at top with 14.7 percent sick or injured population and district Khyber is at bottom with 3.1 percent population. Sindh with 8.1 percent has comparatively less sick or injured population, district Larkana is at top with 25.1 percent sick or injured population and district Shikarpur is at bottom with 1.8 percent population. Punjab has 6.8 percent prevalence rate, district Toba Tek Singh is at top with 10.9 percent sick or injured population and district Sialkot is at bottom with 2.8 percent population. Balochistan with 6.1 percent has lowest sick or injured population district Gawadar is at top with 14.1 percent sick or injured population. In Islamabad reported number of cases fallen sick or injured is 4.8 percent. About 95 percent of sick and injured persons had some type of health consultation (Table 4.1b).

Overall 58 percent of sick or injured persons consulted private dispensary/hospitals, 28 percent visited government dispensary/hospitals and 6 percent visited RHC/BHU for their treatment (Table 4.2). Analysing the type of consultation, it is observed that Punjab has the highest rate for private

dispensary/hospital for consultation i.e. 64 percent; follow up by Sindh with 58 percent private dispensary/hospital; then Balochistan with 50 percent and Khyber Pakhtunkhwa have the lowest level of private dispensary/hospital consultations i.e. 45 percent. Whereas in case of government dispensary/hospitals consultation highest rate prevails for Balochistan i.e. 39 percent, and Sindh with 9 percent rate of RHC/BHU consultation is highest among provinces (Figure 2) however the pattern of consultation varies among the districts.

Figure 2

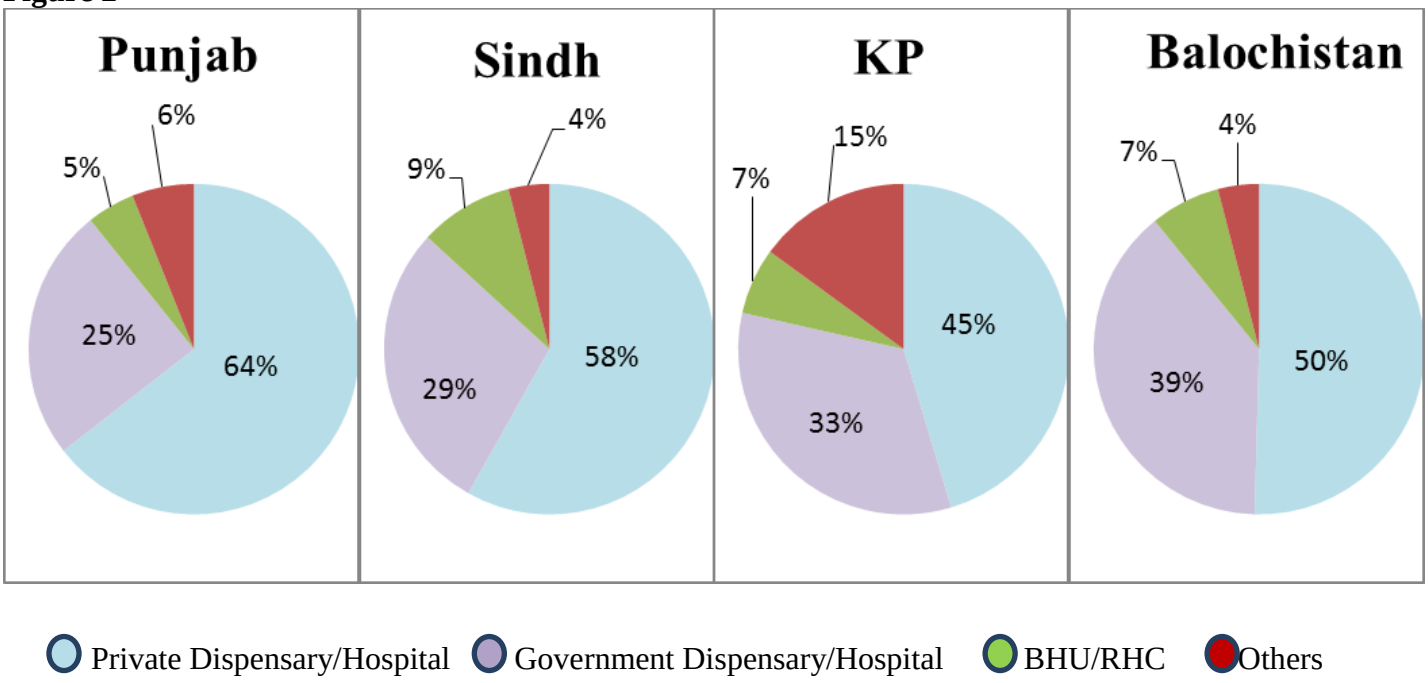

4.2 Immunization

IMMUNIZATION is an easy and effective way to protect an infant against deadly diseases by injecting certain substances to their immune, which stimulate the production of disease-fighting antibodies into the body. According to health experts immunization is equally necessary for a society as healthy food and one of the most successful and cost effective health interventions. It reduces the spread of viral diseases from one child to another and prevents the effect of small pox, lowered the global incidence of polio, pertussis (whooping cough), influenza, hepatitis-B, Pneumonia, tetanus, rotavirus, typhoid, and measles and achieved histrionic reduction in disability.

Pakistan is part of the Expanded Programme on Immunization (EPI) since 1978 to eradicate polio and other diseases under the instructions of world health organization (WHO) and other donor agencies. Immunizing children with these vaccines may avert up to 17% of childhood mortality in Pakistan and this programme thus help in Pakistan to protect against eight vaccine preventable diseases in children below 23

months of age and may reduce up to 17 percent of childhood mortality in Pakistan and also contribute towards achieving Sustainable Development Goal 3, on reducing child morbidity and mortality.

The World Health Organization suggests that a child must receive a dose of Bacillus Chalmette Guerin (BCG) vaccination in order to get protected against tuberculosis, three doses of Penta-Valent which is combination of five doses to have protection against (Diphtheria, Pertussis, Tetanus, Hepatitis B and Influenza B), three doses of Pneumococcal against the bacterium Streptococcus pneumonia, three doses of polio vaccine and two doses of measles vaccination. In polio endemic countries WHO recommends a birth dose (zero dose) for polio and at least a single dose of IPV should be included in their vaccination schedule. These all vaccinations are administered at specific time intervals as mentioned below:

Disease	Causative agent	Vaccine	Doses	Age
Childhood TB	Bacteria	BCG	1	Soon after birth
Poliomyelitis	Virus	OPV	4	OPV0: soon after birth OPV1: 6 weeks OPV2: 10 weeks OPV3: 14 weeks
		IPV	1	IPV: 14 weeks
Diphtheria	Bacteria	Pentavalent vaccine	3	PENTA1: 6 weeks PENTA2: 10 weeks PENTA3: 14 weeks
Tetanus	Bacteria			
Pertussis	Bacteria			
Hepatitis B	Virus			
Influenza B	Virus			
Hib pneumonia and meningitis	Bacteria	Pneumococcal	3	PNEU1: 6 weeks PNEU 2: 10 weeks PNEU 3: 14 weeks
Measles	Virus	Measles	2	Measles1: 9 months Measles2:15months

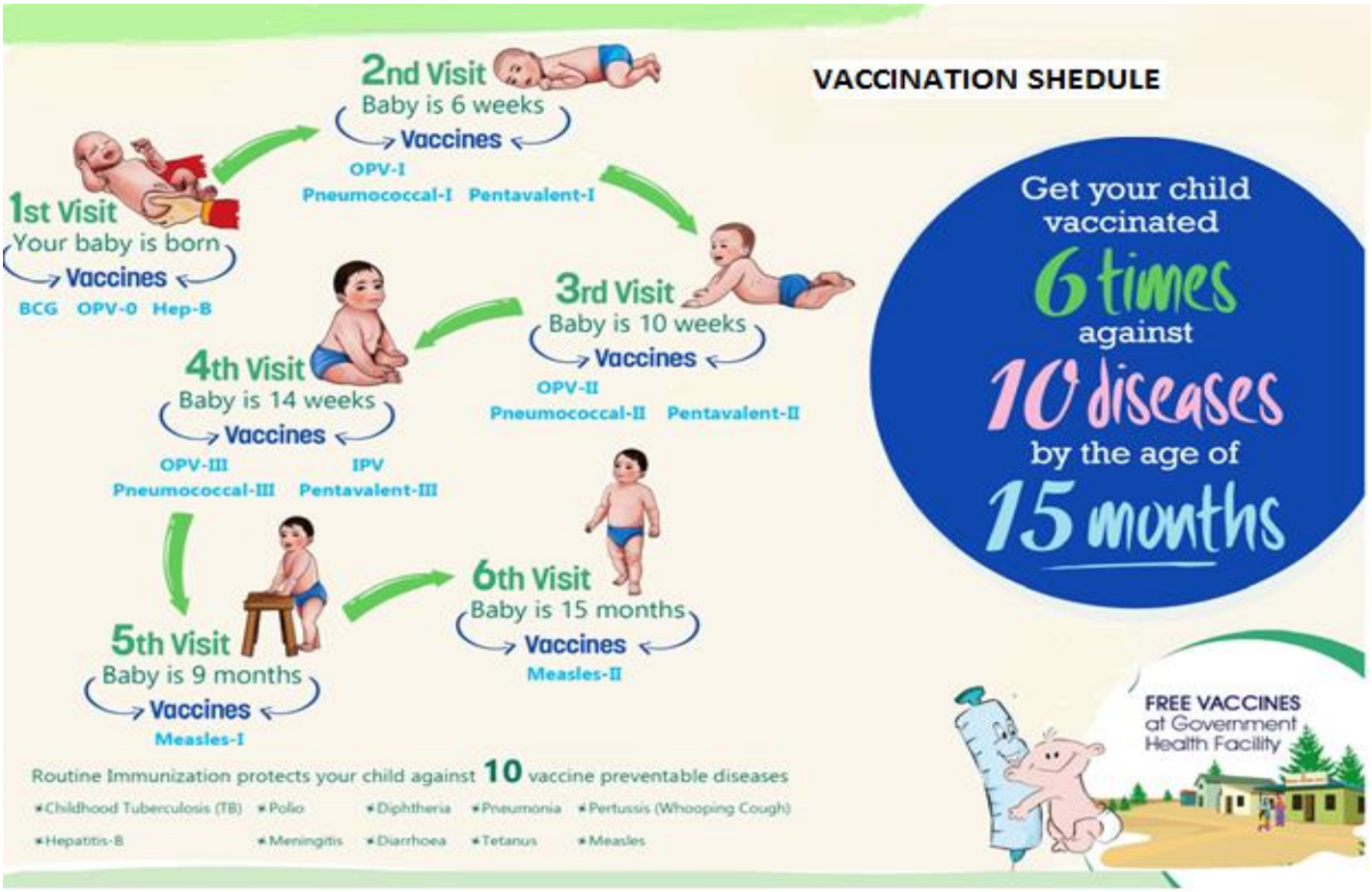

In Pakistan primarily government health care provider issue immunization card to every new born, which help parents and their health care provider to keep child on schedule and by reminding them when next immunizations are due. However, assessing immunization coverage from a large sample size is a very difficult task; parents often do not have their children's immunization / health cards with record of how many vaccinations received; which underestimate the coverage of immunization rate based only on the information given on immunization cards categorized as 'based on record'. The alternative way is to ask parents about their child's vaccination history, and calculate coverage rates using this information termed as 'based on recall'. But there is a definite risk that parents will not remember vaccinations and will confuse different types of vaccines or other injections with vaccinations.

However questions are asked in questionnaire in a way to filter out such cases and during training the enumerators are also briefed about probing techniques to get better and reliable information. In this report, both of these measures are calculated for all children of the age range 12 to 23 month. Table 4.3a and 4.3b shows the results at district level as well as provincial and Pakistan level.

Full immunization rates (all the 11 recommended vaccines) based on record increased to 70 percent in 2019-20 from 60 percent in 2014-15. Regarding the urban and rural comparison the immunization rates for urban areas has increased to 73 percent in 2019-20 as compared to 70 percent in 2014-15 and similar pattern is observed in rural areas 69 percent in 2019-20 as compared to 56 percent in 2014-15 thus, rate of increase is more rural areas as compare to urban areas. Among provinces Punjab with 81 percent in 2019-20 has the highest percentage of children who are fully immunized based on record as compared to 70 percent in 2014-15 followed by Khyber Pakhtunkhwa with 69 percent in 2019-20 as compared to 58 percent in 2014-15, Sindh with 52 percent in 2019-20 as compared to 45 percent in 2014-15 and Balochistan immunization rate increased to 35 percent in 2019-20 as compared to 27 percent in 2014-15 (Table 4.3 b).

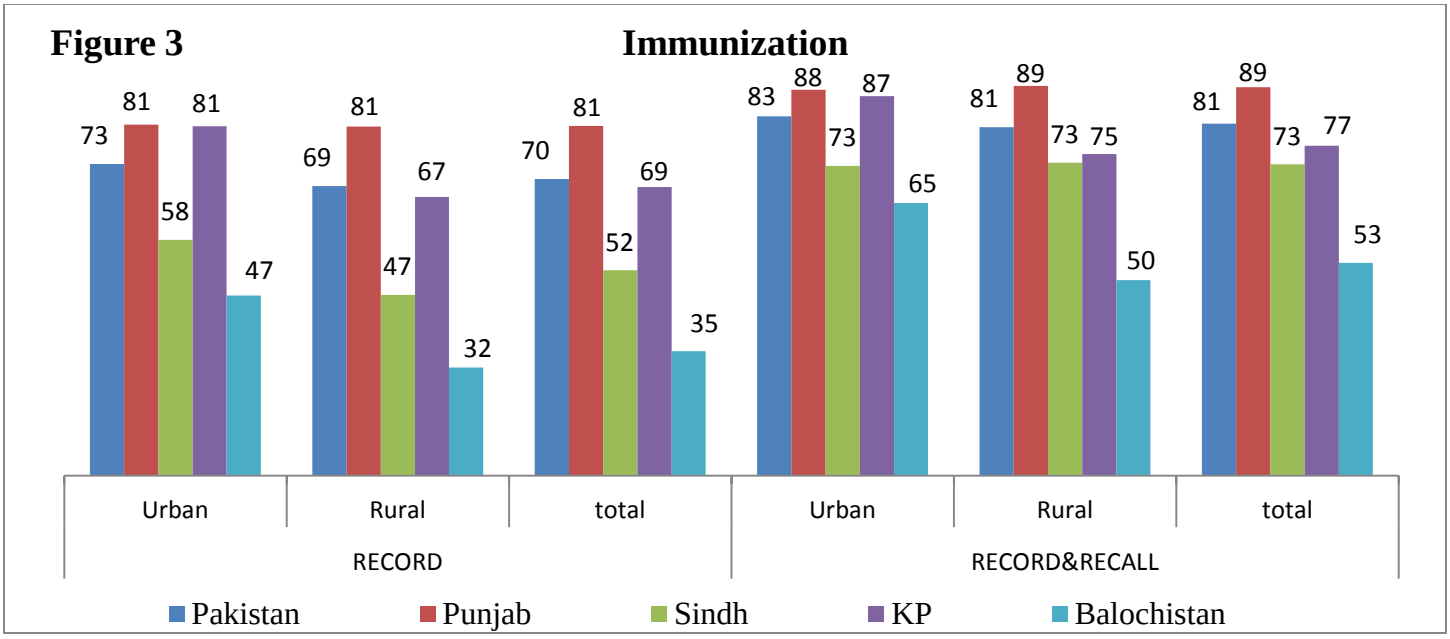

Full immunization rates based on recall and record is 81 percent in 2019-20 as compare to 82 percent in 2014-15. Islamabad increased to 96 percent in 2019-20 as compare to 90 percent in 2014-15. While analysing the district level pattern, Gujrat with 99 percent in Punjab, Dadu with 93 percent in Sindh, Malakand with 100 percent in Khyber Pakhtunkhwa and Shaheed Sikandarabad with 91 percent in Balochistan are the top ranked districts. While Pakpattan with 75 percent in Punjab, Tharparkar with 35 percent in Sindh, North Waziristan with 37 percent in Khyber Pakhtunkhwa and Kohlu with 0 percent in Balochistan are the bottom ranked (Table 4.3c).

Table 4.3b (record Based) and Table 4.3c (based on record and recall) provides coverage Antigen wise. Having a look at record based measure, the visible increase is seen in all antigens at provincial level as

compared to 2014-15, however coverage of measles vaccination with 67 percent in 2019-20 as compared to 61 percent in 2014-15 is still very low as compared to other vaccinations. Besides this, Khyber Pakhtunkhwa results indicate relatively higher increase than other provinces. Bahawalnagar in Punjab, Jacobabad in Sindh, and South Waziristan in Khyber Pakhtunkhwa and Kohlu in Balochistan have lowest coverage of all antigens with in their respective provinces. Measles coverage is highest in Punjab with 83 percent followed by Khyber Pakhtunkhwa with 70 percent, Sindh with 54percent and Balochistan with 39 percent antigen wise based on record.

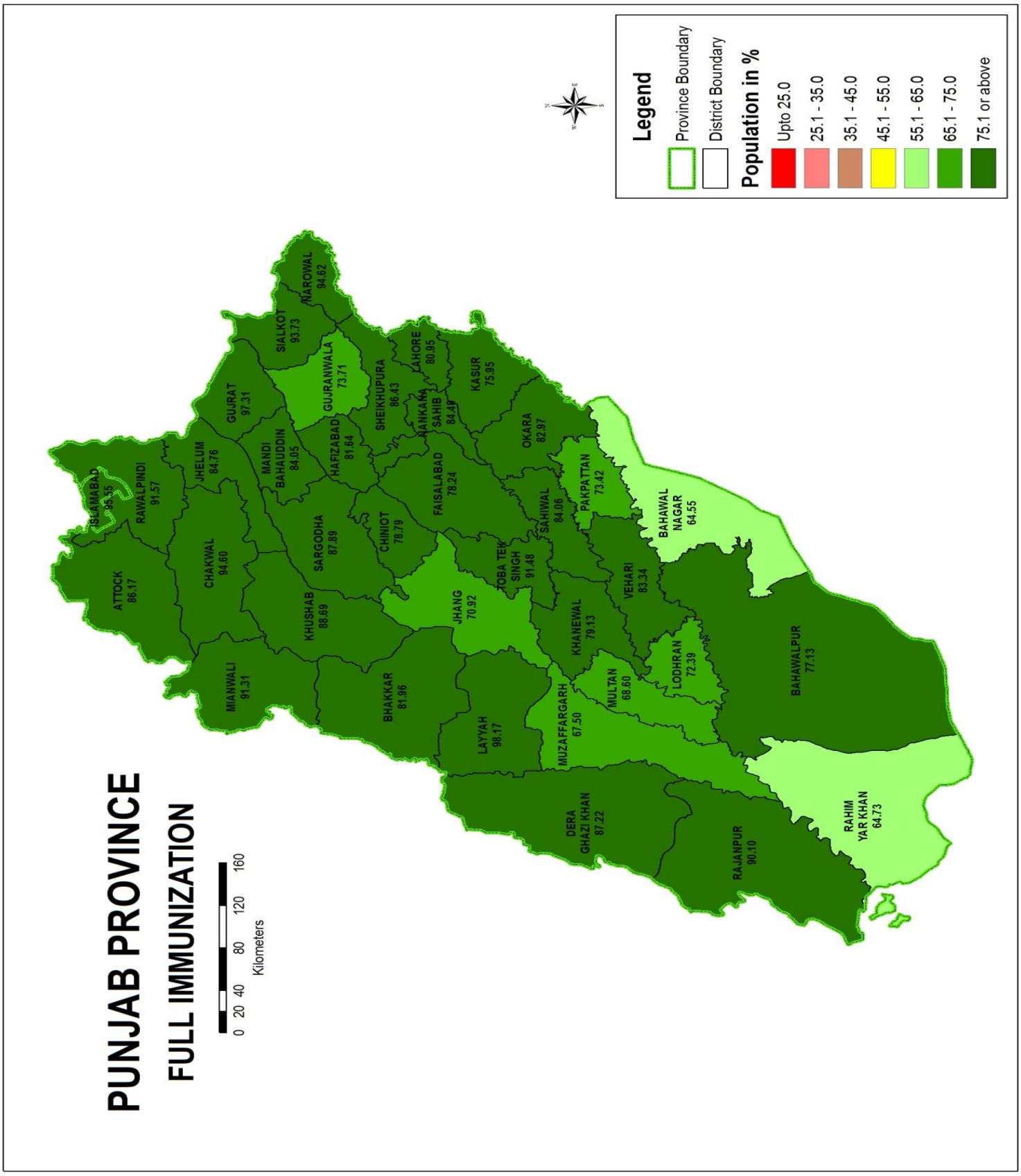
PUNJAB PROVINCE
FULL IMMUNIZATION
Legend
Province Boundary
District Boundary
Population in %
Upto 25.0
25.1 - 35.0
35.1 - 45.0
45.1 - 55.0
55.1 - 65.0
65.1 - 75.0
75.1 or above
0 20 40 80 120 160
Kilometers
NAROWAL 94.62
SIALKOT 93.73
LAHORE 80.95
GUJRANWALA 73.71
SHEIKHUPURA 86.43
NANKANA SAHIB 84.49
KASUR 75.95
GUJRAT 97.31
JHELUM 84.76
MANDI BAHAUDDIN 84.05
HAFIZABAD 81.64
OKARA 82.97
ISLAMABAD 95.55
RAWALPINDI 91.57
FAISALABAD 78.24
PAKPATTAN 73.42
CHAKWAL 94.60
SARGODHA 87.89
CHINIOT 78.79
SAHIWAL 84.06
BAHAWAL NAGAR 64.55
ATTOCK 86.17
KHUSHAB 88.69
JHANG 70.92
TOBA TEK SINGH 91.48
VEHARI 83.34
MIANWALI 91.31
BHAKKAR 81.96
KHANEWAL 79.13
LODHRAN 72.39
BAHAWALPUR 77.13
LAYYAH 98.17
MUZAFFARGARH 67.50
MULTAN 68.60
DERA GHAZI KHAN 87.22
RAJANPUR 90.10
RAHIM YAR KHAN 64.73

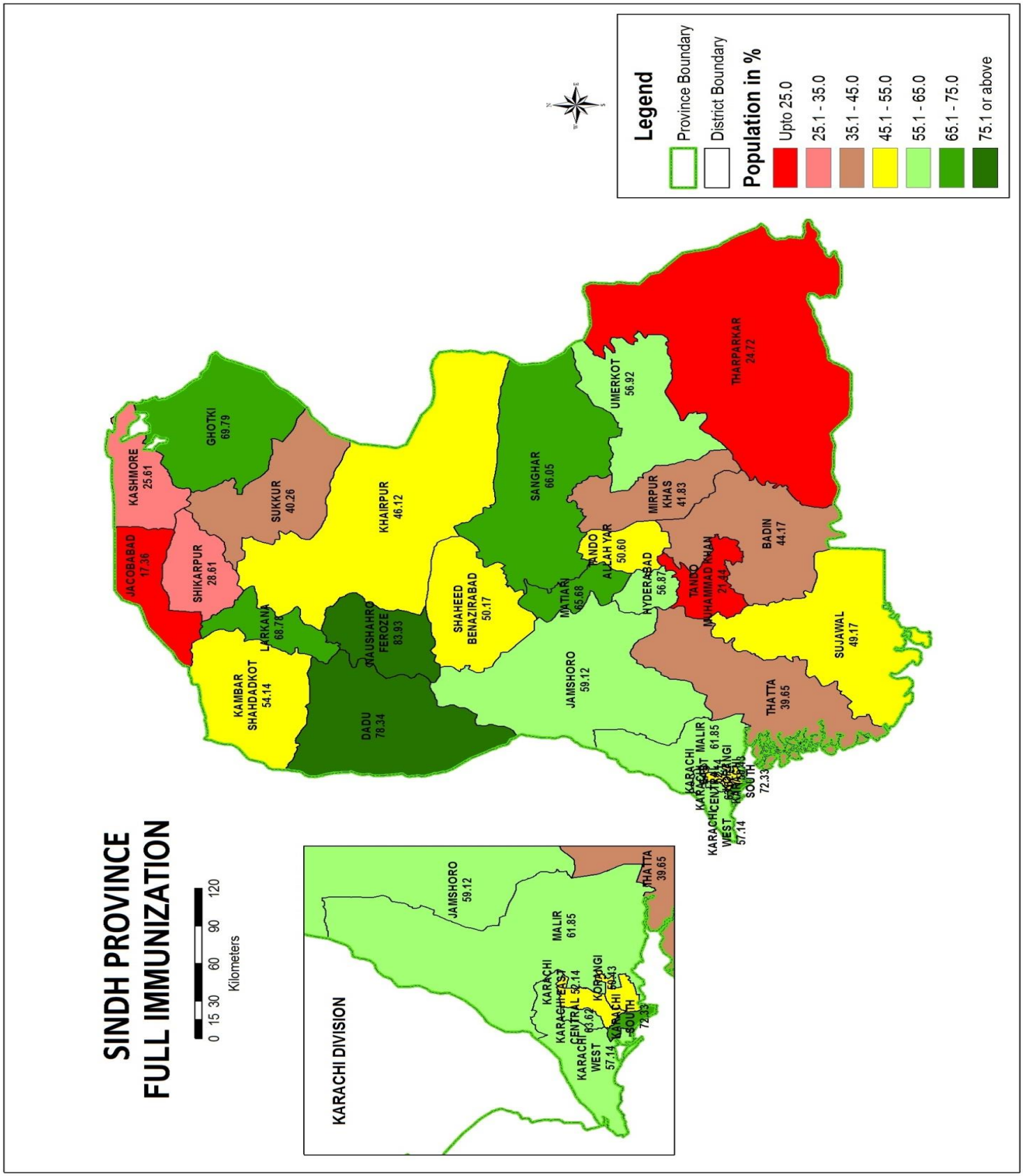
SINDH PROVINCE
FULL IMMUNIZATION
0 15 30 60 90 120
Kilometers
Legend
Province Boundary
District Boundary
Population in %
Upto 25.0
25.1 - 35.0
35.1 - 45.0
45.1 - 55.0
55.1 - 65.0
65.1 - 75.0
75.1 or above
KASHMORE 25.61
GHOTKI 69.79
SUKKUR 40.26
KHAIRPUR 46.12
SANGHAR 66.05
UMERKOT 56.92
THARPARKAR 24.72
JACOBABAD 17.36
SHIKARPUR 28.61
MIRPUR KHAS 41.83
BADIN 44.17
TANDO ALLAH YAR 50.60
LARKANA 68.78
SHAHEED BENAZIRABAD 50.17
MATIARI 65.68
HYDERABAD 56.87
TANDO MUHAMMAD KHAN 21.44
KAMBAR SHAHDADKOT 54.14
QAMBAR SHAHDADKOT FEROZE 83.93
DADU 78.34
JAMSHORO 59.12
SUJAWAL 49.17
THATTA 39.65
KARACHI MALIR 61.85
KARACHI SOUTH 72.33
KARACHI WEST 57.14
KARACHI DIVISION

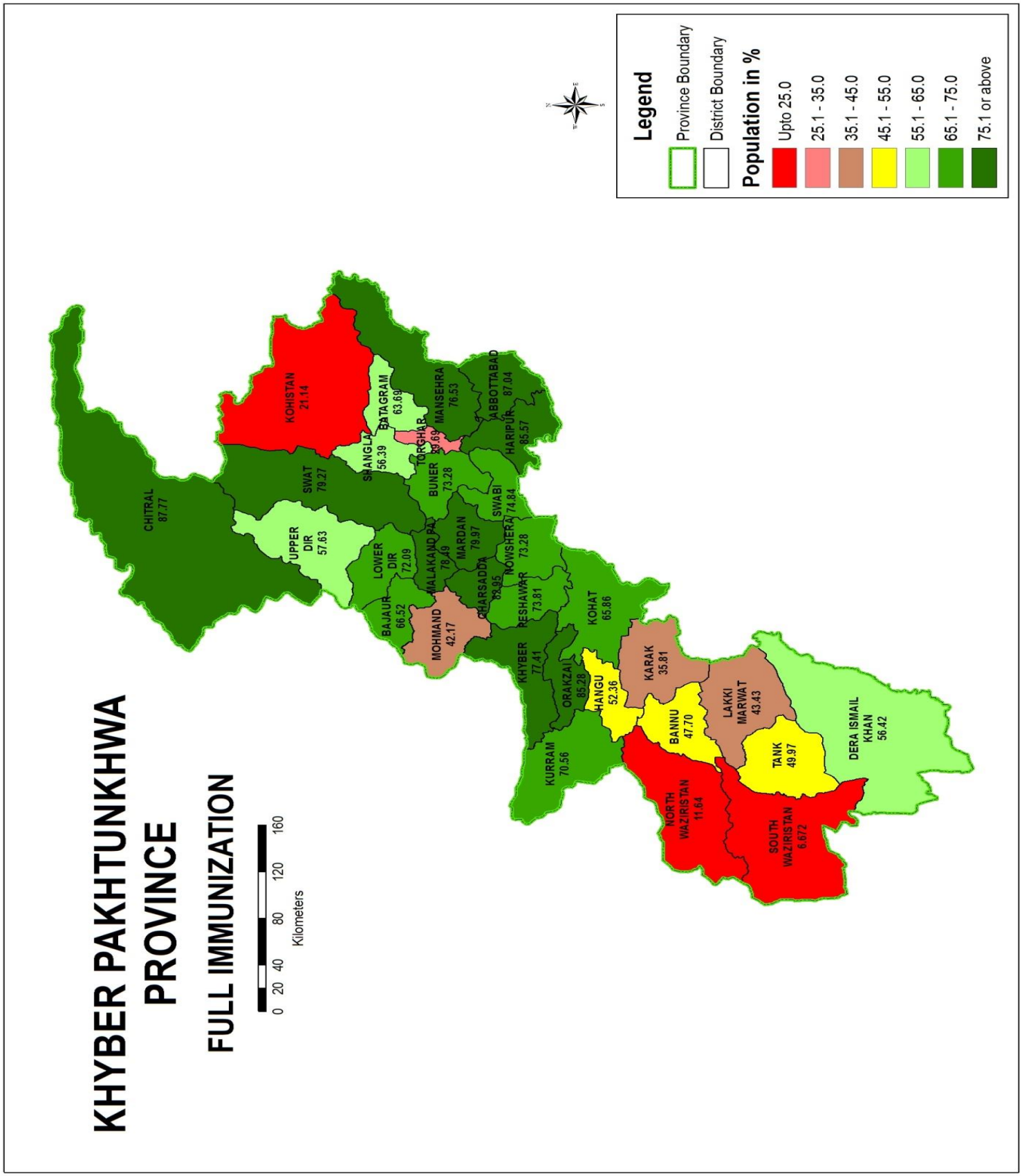
KHYBER PAKHTUNKHWA
PROVINCE
FULL IMMUNIZATION
0 20 40 80 120 160
Kilometers
Legend
Province Boundary
District Boundary
Population in %
Upto 25.0
25.1 - 35.0
35.1 - 45.0
45.1 - 55.0
55.1 - 65.0
65.1 - 75.0
75.1 or above
CHITRAL 87.77
KOHISTAN 21.14
SHANGLA 56.39
BATAGRAM 63.69
TORGHAR 39.69
MANSEHRA 76.53
ABBOTTABAD 87.04
HARIPUR 85.57
SWAT 79.27
BUNER 73.28
SWABI 74.84
UPPER DIR 57.63
LOWER DIR 72.09
MALAKAND PA 78.49
MARDAN 79.97
NOWSHERA 73.28
CHARSADDA 83.95
PESHAWAR 73.81
BAJAUR 66.52
MOHMAND 42.17
KOHAT 65.86
KHYBER 77.41
ORAKZAI 85.28
HANGU 52.36
KARAK 35.81
KURRAM 70.56
BANNU 47.70
LAKKI MARWAT 43.43
TANK 49.97
DERA ISMAIL KHAN 56.42
NORTH WAZIRISTAN 11.64
SOUTH WAZIRISTAN 6.672

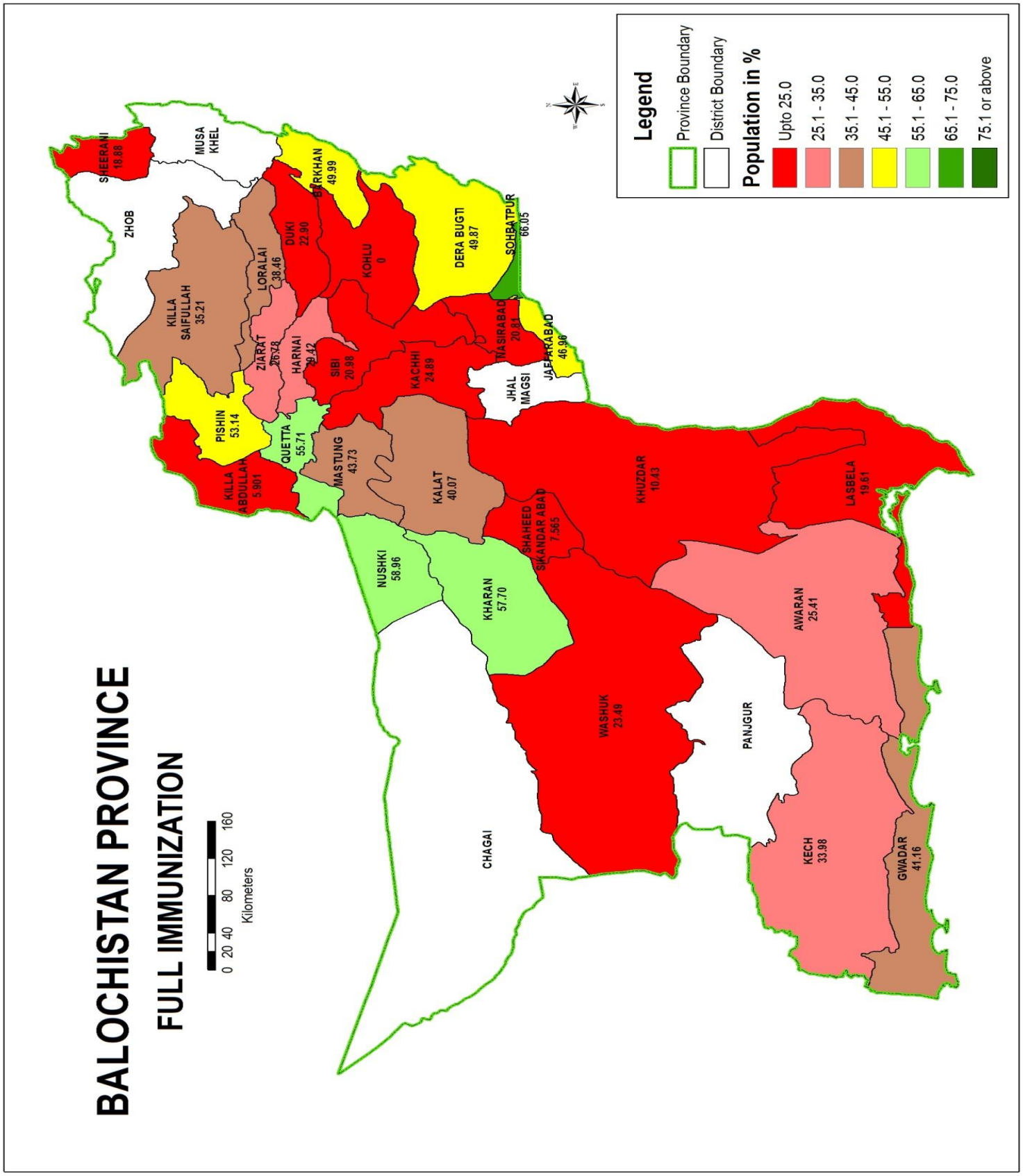
BALOCHISTAN PROVINCE
FULL IMMUNIZATION
Legend
Province Boundary
District Boundary
Population in %
Upto 25.0
25.1 - 35.0
35.1 - 45.0
45.1 - 55.0
55.1 - 65.0
65.1 - 75.0
75.1 or above
0 20 40 80 120 160
Kilometers
SHEERANI 18.88
MUSA KHEL
ZHOB
KILLA SAIFULLAH 35.21
LORALAI 38.46
DUKI 22.90
BARKHAN 49.99
KOHLU 0
DERA BUGTI 49.87
SOHBATPUR 66.05
ZIARAT 26.28
HARNAI 29.42
SIBI 20.98
KACHHI 24.89
TASIRABAD 20.81
JAFFARABAD 46.90
JHAL MAGSI
PISHIN 53.14
QUETTA 55.71
KILLA ABDULLAH 5.901
MASTUNG 43.73
KALAT 40.07
NUSHKI 58.96
KHARAN 57.70
SHAHEED SIKANDAR ABAD 7.565
KHUZDAR 10.43
LASBELA 19.61
AWARAN 25.41
WASHUK 23.49
PANJGUR
CHAGAI
KECH 33.98
GWADAR 41.16

4.3 Diarrhoea

Loose, watery stools, abdominal cramps, Fever, Blood in the stool, Nausea are some of the main reason of diarrheal disorder. It may be infectious or non-infectious. Generally acute diarrhoea last for one to two days and usually resolves by its own at home treatment through Oral Rehydration Salt (ORS) or a recommended home fluid (RHF), but if there is a chronic one and last for weeks than its dangerous and indicate that there is some persisted infection in your bowel. Diarrhoea can be dangerous in new born and infants. In small children, severe diarrhoea lasting just a day or two can lead to dehydration and can cause death.

Diarrheal disease is the second leading cause of death in children under five years old. It is both preventable and treatable. Globally, there are nearly 1.7 billion cases of childhood diarrheal disease every year; out of these around 5.25 laces children fewer than five dies every year. A significant proportion of diarrheal disease can be prevented through safe drinking-water and adequate sanitation and hygiene[1].

Diarrhoea can last several days, and can leave the body without the water and salts that are necessary for survival. Most children who die from diarrhoea actually die from severe dehydration and fluid loss. Childhood diarrhoea has been a serious health problem in Pakistan. Both its prevention, through improved water and sanitation, and the treatment of dehydration through oral re-hydration salt (ORS) are goals of the government.

Households were asked to report whether a child had diarrhoea in past 15 days prior to the survey. If child suffered from diarrhoea in last 15 days, series of questions were asked whether they have consulted someone for it or not, type of practitioner to be consulted and whether ORS has been given to child or not.

Overall percentage of children who have suffered from diarrhoea in the 15 days prior to survey is 6 percent in 2019-20

Figure 4 Diarrhea

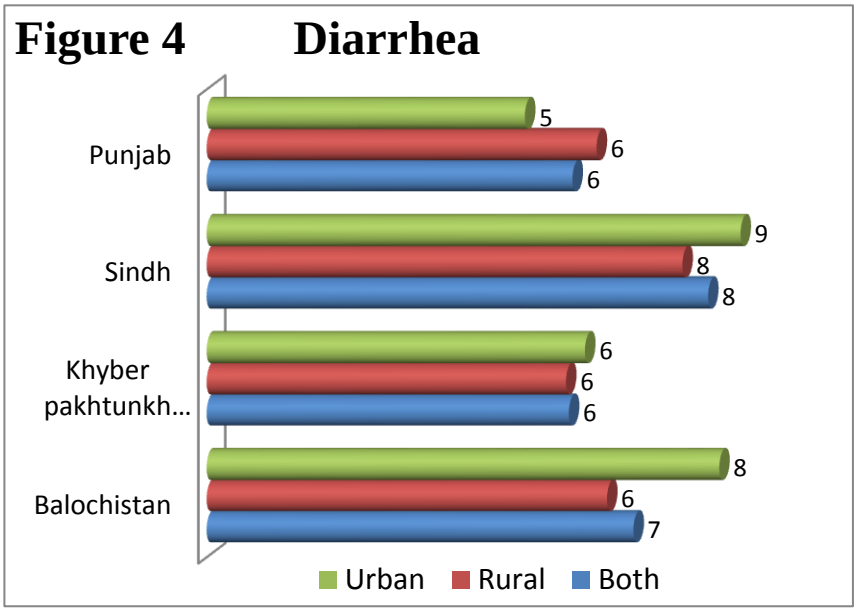

[1]WHO, Newsroom, Fact sheet, Detail, Diarrheal Disease.

as compared to 9 percent in 2014-15. Highest percentage of diarrhoea cases were reported in Sindh with 8 percent in 2019-20 as compared to 6 percent in 2014-15 followed by Balochistan with 7 percent in 2019-20 as compare to 11 percent in 2014-15 and lowest rate of Diarrhoea has observed in Punjab and Khyber Pakhtunkhwa with 6 percent as compare to 9 and 10 percent in 2014-15 respectively. In Islamabad percentage of cases affected by diarrhoea is 2 percent 2019-20 as compare to 5 percent 2014-15. While observing the district level position Layyah with 18 percent, Larkana, Shahdadkot and Thatta with 16 percent, South Waziristan with 17 percent, Kech/Turbat with 20 percent have the highest percentage of cases reported with diarrhoea in last 15 days within their respective provinces (Table 4.6).

Overall 91 percent of diarrhoea cases a practitioner of some kind were consulted and 84 percent of children get ORS in diarrhoea cases 2019-20. Sindh with 93 percent rate of diarrhea consultation is at top and percentage of ORS to children is 94. Then Punjab and Khyber Pakhtunkhwa have 90 percent consultation rate and rate of ORS is 76 percent and 87 percent respectively in both provinces. Similarly, Balochistan with 86 percent consultation for diarrhea and 87percent children get ORS after diarrheal disorder. District level analysis reveals that Narowal with 66 percent, Sujawal with 50 percent, Abbottabad with 58 percent and Harnai with 27 percent have the lowest rate of consultation in their respected provinces. Whereas, rate of ORS is lowest in Chiniot 21 percent, Sujawal 71 percent, Shangla 24 percent and Harnai with 0 percent cases who reported use of ORS for treatment of diarrhoea (Table 4.7a & 4.7b).

In cases of diarrhoea, the most consulted practitioner constitutes to be a private practitioner with 50 percent in 2019-20 as compared to 73 percent in 2014-15. Government health sector has consulted 29 percent in 2019-20 as compared to 17 percent in 2014-15, Basic health units (BHU) and rural health centers (RHC) were consulted by 8 percent of the cases in Pakistan, which gives some indication of the very limited use of the government primary health network for these kinds of curative services. In Punjab 60 percent diarrhea cases received consultation from private dispensaries/hospitals whereas 34 percent received consultation from government facilities[2]. In Sindh 43 percent of diarrhea cases received consultation from private dispensaries/hospitals whereas 56 percent received consultation from government facilities. In Khyber Pakhtunkhwa consultation from private health facility is 39 percent and 50 percent get treatment from government facilities. Balochistan has 40 percent private consultation rate and 48 percent government facilities consultation rate. At district level Jhelum with 74 percent, Tharparkar with 95 percent, Khyber with 77 percent and Khuzdar with 100 percent are the districts where highest numbers of cases used government facilities for the treatment of diarrhea in their respective districts (Table 4.8).

[2]hospitals, dispensaries, RHC, BHU, LHV, LHW, Nurse

4.4 Pre-Natal Consultation:

If a nation needs a healthy generation then they must pay best care to maternal health. Getting early and consistent check-up's ensure the chances of healthy baby and is very important to curb down level of complications at early stages. Prenatal care is the foundation of healthy pregnancy besides medication nutritional food and exercise is a healthy choice for a mother and baby, approximately a woman need 300 to 500 extra calories a day during this period, healthy snacks, fruits and vegetables are the best choice whereas, junk food, alcoholic drinks etc. can hurt the fetus and causing developmental disabilities and birth defects.

Prenatal is a debating topic in developing countries due to its predicted damages to new-born's like, pre-mature deliveries, low birth weight, toxin infectious deceases in mothers, eclampsia, chronic illness, blood deficiency and many other life threatening problems. Similarly, environmental and social challenges are of keen importance for a woman because stress establishes the foundation to abnormal new-born's and one of the basic reasons for still birth in the world.

In Pakistan 77 percent of mothers who had given birth in the last three years went for pre-natal consultations during their last pregnancy in 2019-20 as compared to 73 percent in 2014-15. Pre-natal consultations have stagnant at 86 percent in urban areas but have increased to 72 percent in 2019-20 as compared to 67 percent in 2014-15 in rural areas. Punjab has the highest consultation rate with 83 percent in 2019-20 as compared to 78 percent in 2014-15 and Balochistan has the lowest with 63 percent in 2019-20 as compared to 47 percent in 2014-15. In Islamabad, 97 percent women went for pre-natal consultation. While observing the district level position, Jhelum with 96 percent, Karachi south with 95 percent, Orakzai with 89 percent, Sohbatpur with 88 percent are the top ranked districts within their respective provinces. While Dera Ghazi Khan with 53 percent, Mir Pur Khas with 49 percent, South Waziristan with 15 percent and Khuzdar with 5 percent are at the bottom within their respective provinces.

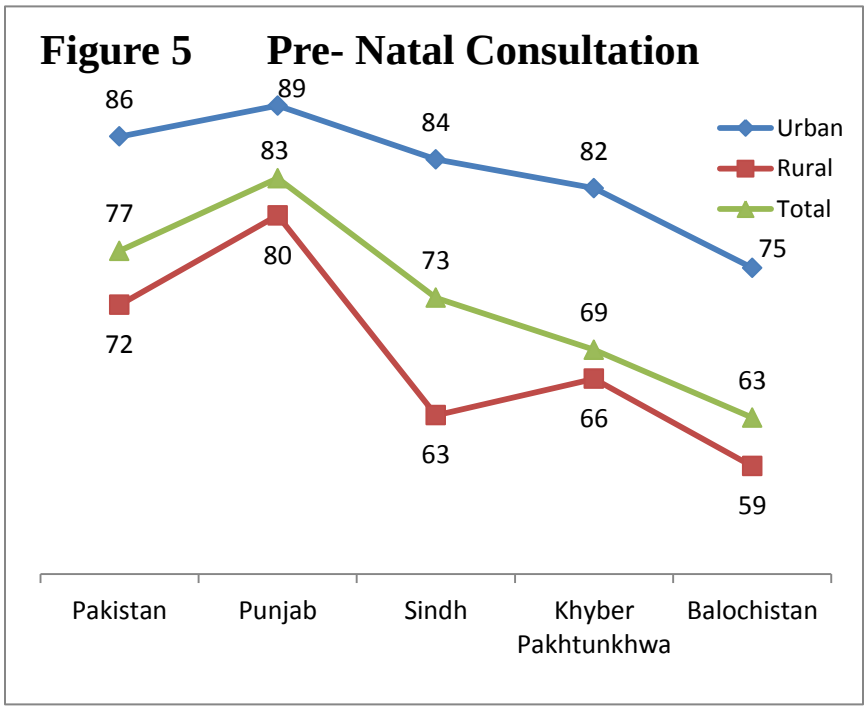

It is observed that in majority of districts of Punjab and Sindh women are seeking consultation from private hospital/clinic while the trend is reverse in Khyber Pakhtunkhwa and Balochistan where women in majority of districts went

to public hospitals for consultations. In Overall Pakistan, the four most commonly consulted sources for pre-natal care were private hospital/clinic with 47 percent, government hospital/clinic with 42 percent followed by home LHW with 4 percent and home LHV with 3 percent each (Table 4.9).

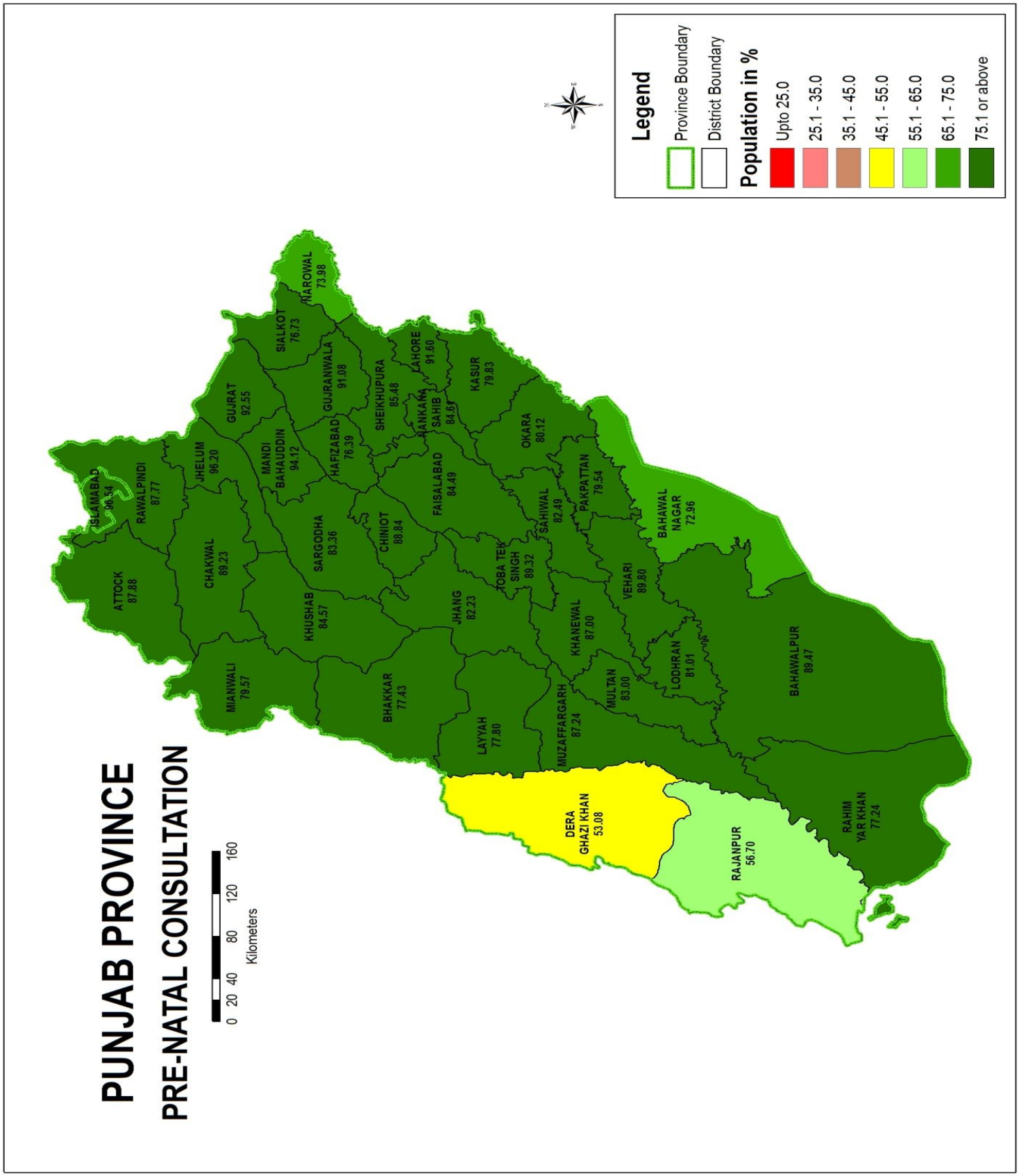
PUNJAB PROVINCE
PRE-NATAL CONSULTATION
Legend
Province Boundary
District Boundary
Population in %
Upto 25.0
25.1 - 35.0
35.1 - 45.0
45.1 - 55.0
55.1 - 65.0
65.1 - 75.0
75.1 or above
0 20 40 80 120 160
Kilometers
ISLAMABAD 96.54
RAWALPINDI 87.77
ATTOCK 87.88
JHELUM 96.20
CHAKWAL 89.23
MIANWALI 79.57
GUJRAT 92.55
MANDI BAHAUDDIN 94.12
SARGODHA 83.36
KHUSHAB 84.57
BHAKKAR 77.43
NAROWAL 73.98
SIALKOT 76.73
GUJRANWALA 91.08
HAFIZABAD 76.39
CHINIOT 88.84
JHANG 82.23
LAYYAH 77.80
SHEIKHUPURA 85.48
LAHORE 91.60
NANKANA SAHIB 84.67
FAISALABAD 84.49
TOBA TEK SINGH 89.32
KHANEWAL 87.00
MULTAN 83.00
MUZAFFARGARH 87.24
DERA GHAZI KHAN 53.08
KASUR 79.83
OKARA 80.12
SAHIWAL 82.49
PAKPATTAN 79.54
VEHARI 89.80
LODHRAN 81.01
RAJANPUR 56.70
BAHAWAL NAGAR 72.96
BAHAWALPUR 89.47
RAHIM YAR KHAN 77.24

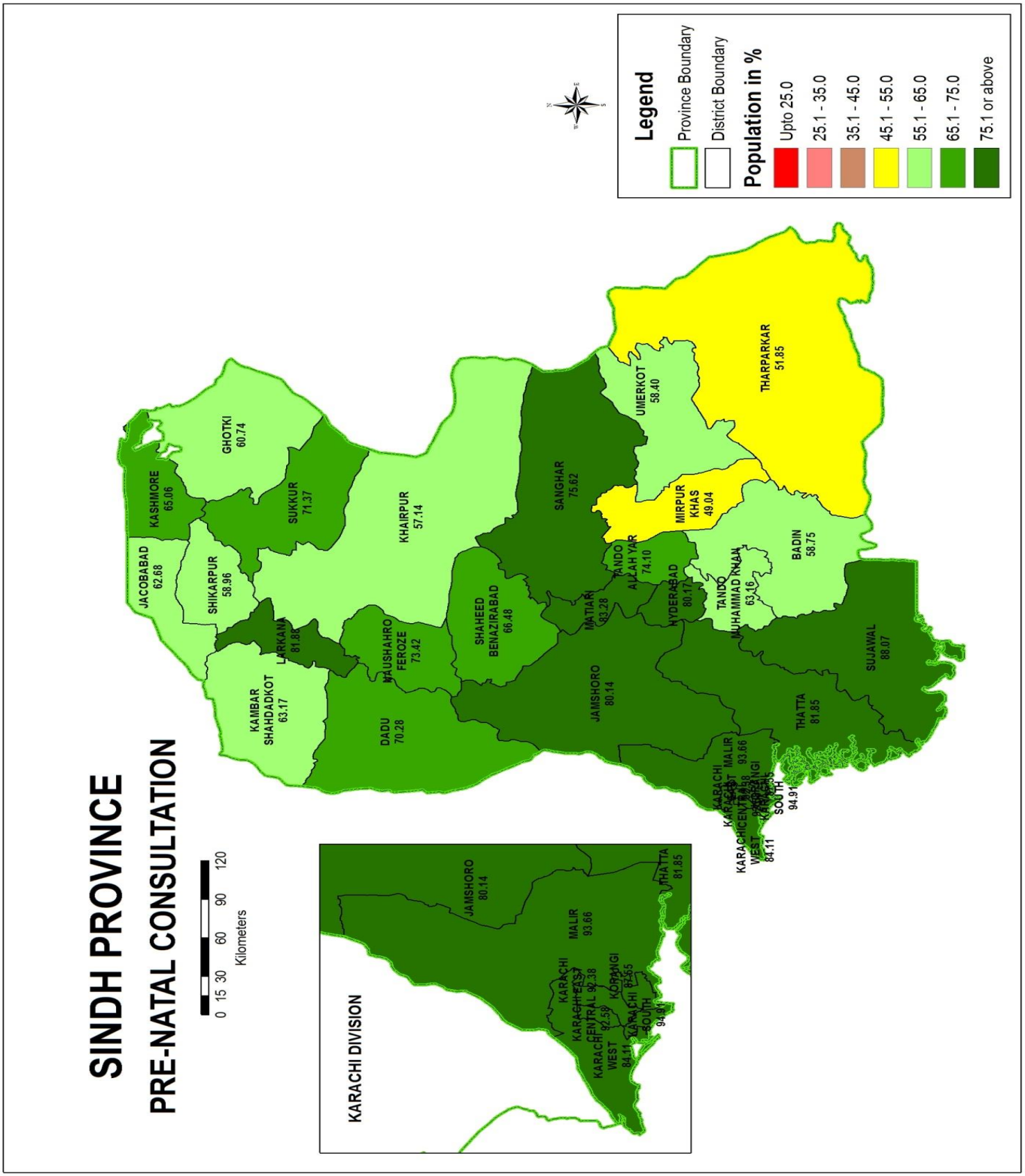
SINDH PROVINCE
PRE-NATAL CONSULTATION
Legend
Province Boundary
District Boundary
Population in %
Upto 25.0
25.1 - 35.0
35.1 - 45.0
45.1 - 55.0
55.1 - 65.0
65.1 - 75.0
75.1 or above
0 15 30 60 90 120
Kilometers
KARACHI DIVISION
GHOTKI 60.74
KASHMORE 65.06
SUKKUR 71.37
KHAIRPUR 57.14
SANGHAR 75.62
UMERKOT 58.40
THARPARKAR 51.85
JACOBABAD 62.68
SHIKARPUR 58.96
MIRPUR KHAS 49.04
BADIN 58.75
TANDO ALLAH YAR 74.10
HYDERABAD 80.17
TANDO MUHAMMAD KHAN 63.16
MATIARI 83.28
SHAHEED BENAZIRABAD 66.48
LARKANA 81.86
NAUSHAHRO FEROZE 73.42
SUJAWAL 88.07
KAMBAR SHAHDADKOT 63.17
DADU 70.28
JAMSHORO 80.14
THATTA 81.85
MALIR 93.66
KARACHI WEST 84.11
KARACHI SOUTH 94.91

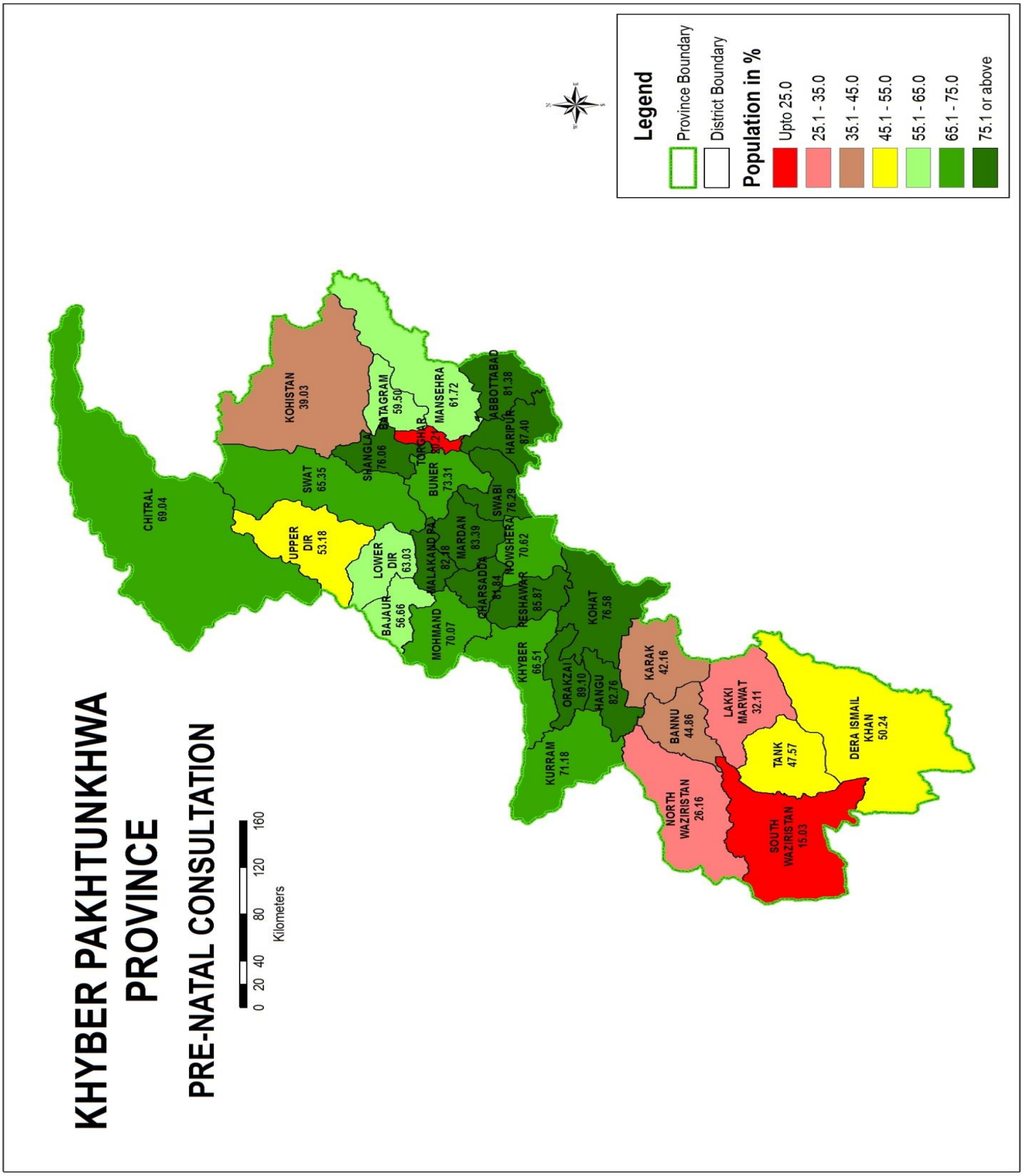
KHYBER PAKHTUNKHWA
PROVINCE
PRE-NATAL CONSULTATION
0 20 40 80 120 160
Kilometers
Legend
Province Boundary
District Boundary
Population in %
Upto 25.0
25.1 - 35.0
35.1 - 45.0
45.1 - 55.0
55.1 - 65.0
65.1 - 75.0
75.1 or above
CHITRAL 69.04
KOHISTAN 39.03
SWAT 65.35
UPPER DIR 53.18
LOWER DIR 63.03
BAJAUR 56.66
MOHMAND 70.07
SHANGLA 76.06
BATAGRAM 59.50
TORGHAR 30.21
MANSEHRA 61.72
ABBOTTABAD 81.38
HARIPUR 87.40
BUNER 73.31
SWABI 76.29
MALAKAND PA 82.16
MARDAN 83.39
CHARSADDA 81.84
NOWSHERA 70.62
PESHAWAR 85.87
KOHAT 76.58
KHYBER 66.51
ORAKZAI 89.10
HANGU 82.76
KURRAM 71.18
KARAK 42.16
BANNU 44.86
LAKKI MARWAT 32.11
TANK 47.57
DERA ISMAIL KHAN 50.24
NORTH WAZIRISTAN 26.16
SOUTH WAZIRISTAN 15.03

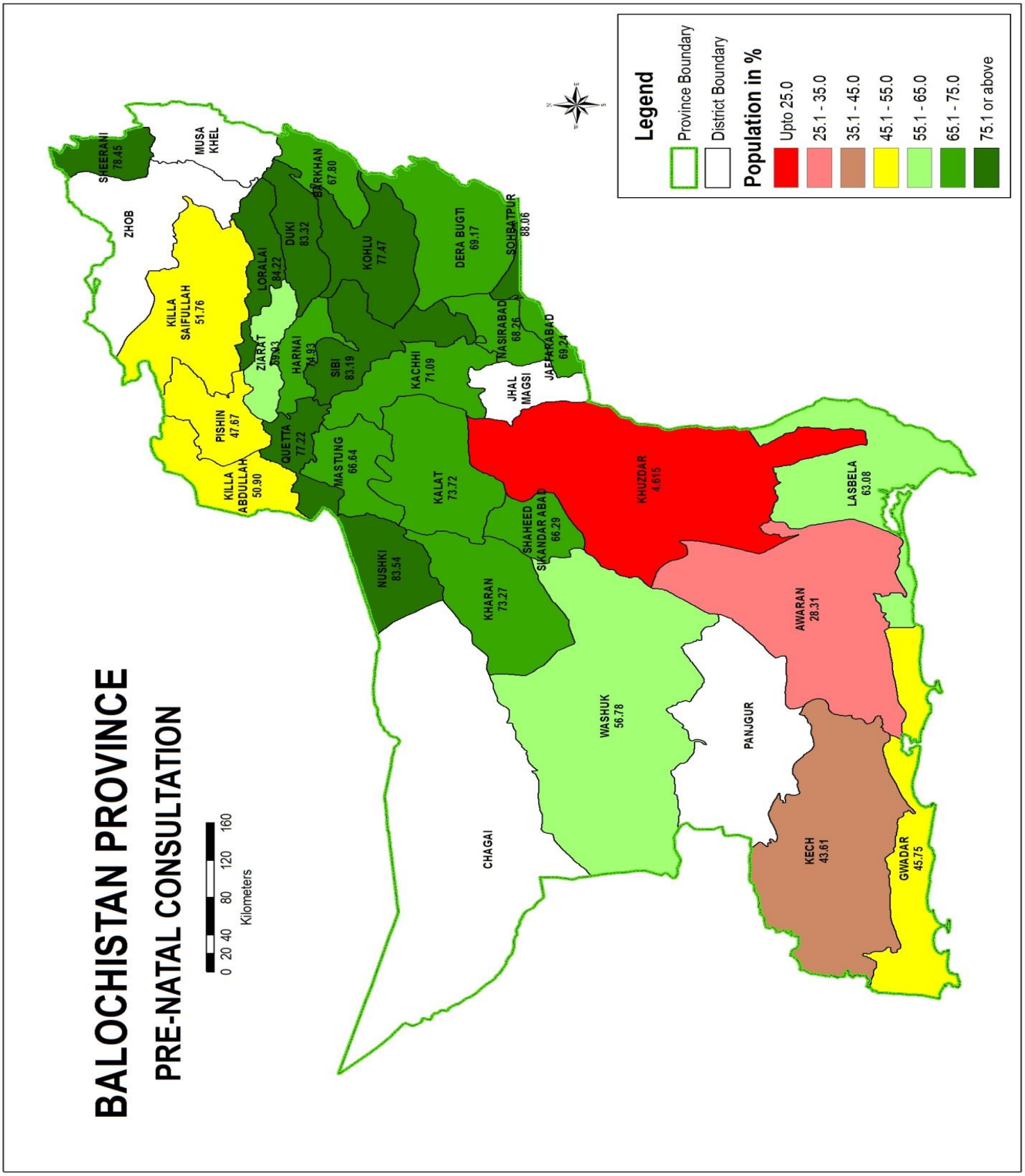
BALOCHISTAN PROVINCE
PRE-NATAL CONSULTATION
Legend
Province Boundary
District Boundary
Population in %
Upto 25.0
25.1 - 35.0
35.1 - 45.0
45.1 - 55.0
55.1 - 65.0
65.1 - 75.0
75.1 or above
0 20 40 80 120 160
Kilometers
SHEERANI 78.45
MUSA KHEL
ZHOB
KILLA SAIFULLAH 51.76
LORALAI 84.22
DUKI 83.32
BARKHAN 67.80
KOHLU 77.47
DERA BUGTI 69.17
SOHBATPUR 88.06
ZIARAT 59.93
HARNAI 74.93
SIBI 83.19
KACHHI 71.09
NASIRABAD 68.26
JAFFARABAD 69.24
JHAL MAGSI
PISHIN 47.67
QUETTA 77.22
KILLA ABDULLAH 50.90
MASTUNG 66.64
KALAT 73.72
KHUZDAR 4.615
LASBELA 63.08
NUSHKI 83.54
SHAHEED SIKANDAR ABAD 66.29
KHARAN 73.27
AWARAN 28.31
WASHUK 56.78
PANJGUR
CHAGAI
KECH 43.61
GWADAR 45.75

4.5 Tetanus Toxoid:

Neo Natal tetanus is one of the serious reasons in infant mortality. A woman received at least two doses of tetanus vaccine during pregnancy period protects their new-born against tetanus by developing 80 percent antibodies in first two months of life. If a woman received proper pre-natal consultation there should more than 95 percent chances that she must immunize with tetanus vaccine by health practitioner.

Overall 77 percent of mothers in 2019-20 as compared to 75 percent in 2014-15 had received a tetanus toxoid injection during their last pregnancy. Punjab is at top with 83 percent in 2019-20 as compared to 84 percent in 2014-15 and Balochistan is at bottom with 45 percent in 2019-20 as compared to 34 percent in 2014-15.

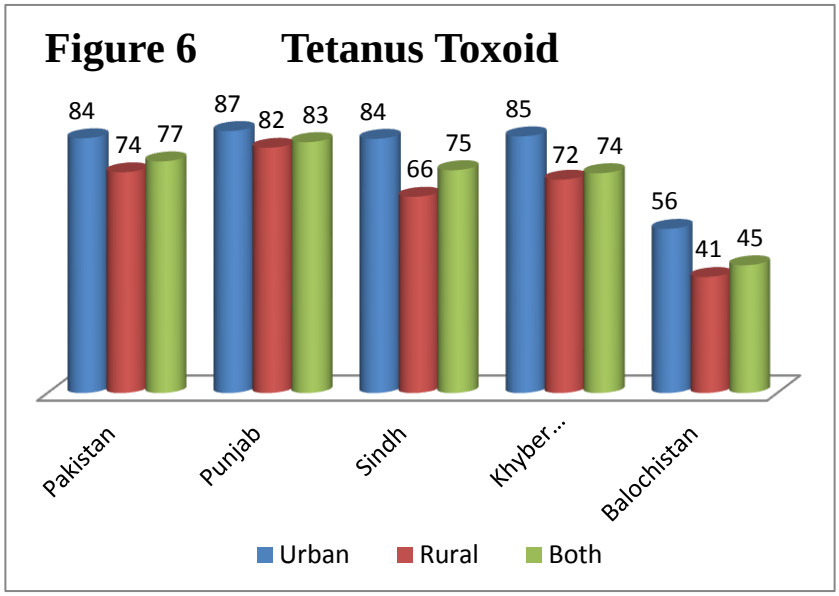

In Islamabad, 96 percent women received tetanus toxoid injections. While observing the district level position Sialkot with 99 percent, Kashmore with 100 percent, Chitral with 99 percent and Nushki with 96 percent are the top ranked districts with in their respective provinces (Table 4.10).

4.6 Skilled Birth Attendant:

Delivery through skilled birth attendant plays crucial role to control child morbidity and mortality. In developing countries like Pakistan where health facilitation centre in rural and remote areas are very less in number have been facing the shortage of trained health staff at the time of delivery. Mostly, family members, relatives and local Dai's attend the woman at the time of delivery which is not able to handle any complexity and sensitivity at this life or death situation. Skilled Birth Attendants i.e. Doctor, Nurse, Midwife and LHV are fully trained and well equipped to solve multi-complex issues at one time. Every round of PSLM data illustrate that delivery assisted by skilled birth attendant is increasing in Pakistan which is a positive sign for our health sector indicators.

In Pakistan skilled birth attendants has increased to 68 percent in 2019-20 as compared to 58 percent in 2014-15. Among them majority of the deliveries were performed by the doctors in all four provinces. Percentage of deliveries assisted by doctors is highest in Sindh with 61 percent followed by Punjab with 55 percent, Khyber Pakhtunkhwa with 46 percent and Balochistan with 34 percent. While analysing district level position Gujrat with 90, Karachi Malir and Karachi South with 95 percent, Malakand with 85

percent and Duki with 86 percent are the top ranked districts with in their respective provinces who have obtained the services of skilled birth attendants for delivery cases. On the other side Dera Ghazi Khan with 25 percent, Tharparkar with 23 percent, Tank with 8 percent and Sohbatpur with 0 percent are the bottom ranked districts with in their respective provinces. Whereas, skilled birth attendants in Islamabad has been reported as 94 percent (Table4.11).

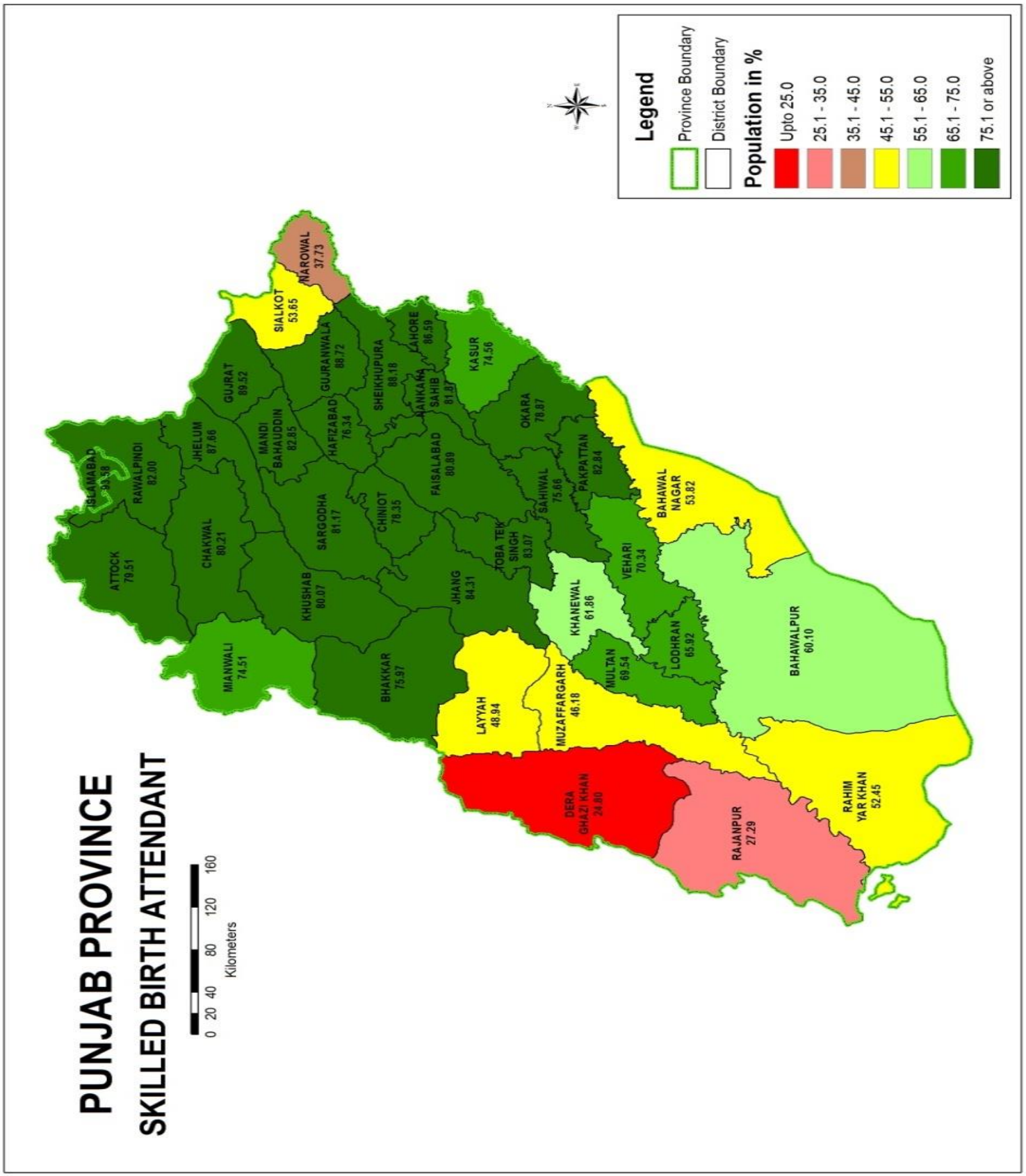
PUNJAB PROVINCE
SKILLED BIRTH ATTENDANT
Legend
Province Boundary
District Boundary
Population in %
Upto 25.0
25.1 - 35.0
35.1 - 45.0
45.1 - 55.0
55.1 - 65.0
65.1 - 75.0
75.1 or above
0 20 40 80 120 160
Kilometers
NAROWAL 37.73
SIALKOT 53.65
LAHORE 86.59
GUJRANWALA 88.72
SHEIKHUPURA 88.18
NANKANA SAHIB 81.87
KASUR 74.56
GUJRAT 89.52
OKARA 78.87
ISLAMABAD 93.58
RAWALPINDI 82.00
JHELUM 87.66
MANDI BAHAUDDIN 82.85
HAFIZABAD 76.34
FAISALABAD 80.89
PAKPATTAN 82.84
SAHIWAL 75.66
BAHAWAL NAGAR 53.82
ATTOCK 79.51
CHAKWAL 80.21
SARGODHA 81.17
CHINIOT 78.35
TOBA TEK SINGH 83.07
VEHARI 70.34
KHUSHAB 80.07
JHANG 84.31
KHANEWAL 61.86
BAHAWALPUR 60.10
MIANWALI 74.51
BHAKKAR 75.97
MULTAN 69.54
LODHRAN 65.92
LAYYAH 48.94
MUZAFFARGARH 46.18
DERA GHAZI KHAN 24.80
RAJANPUR 27.29
RAHIM YAR KHAN 52.45

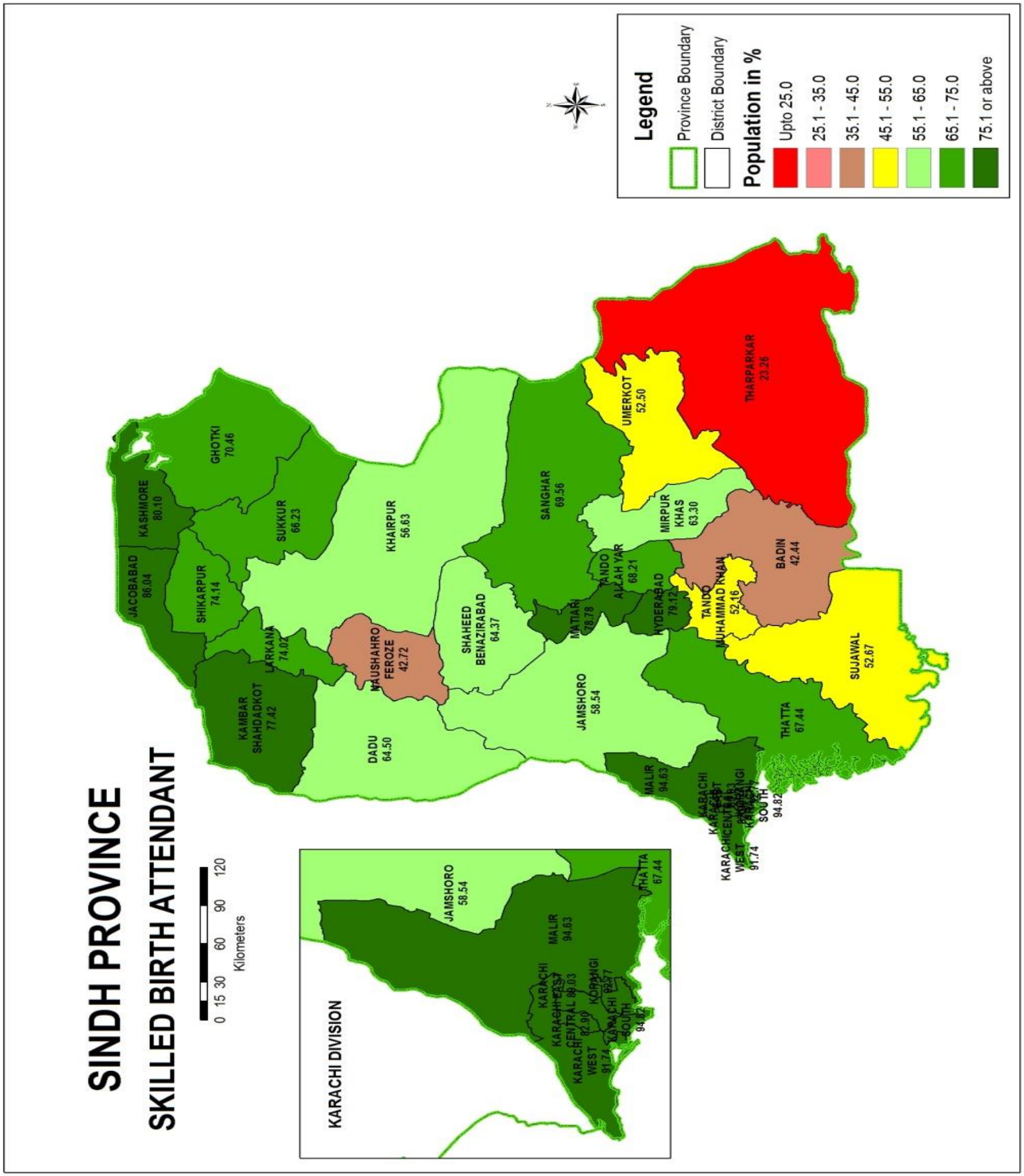
SINDH PROVINCE
SKILLED BIRTH ATTENDANT
0 15 30 60 90 120
Kilometers
Legend
Province Boundary
District Boundary
Population in %
Upto 25.0
25.1 - 35.0
35.1 - 45.0
45.1 - 55.0
55.1 - 65.0
65.1 - 75.0
75.1 or above
KARACHI DIVISION
JAMSHORO 58.54
MALIR 94.63
THATTA 67.44
KARACHI WEST 91.74
KARACHI CENTRAL 89.03
KORANGI 92.77
KARACHI SOUTH 94.82
KARACHI EAST 82.90
KASHMORE 80.10
GHOTKI 70.46
JACOBABAD 86.04
SHIKARPUR 74.14
SUKKUR 66.23
KHAIRPUR 56.63
LARKANA 74.02
KAMBAR SHAHDADKOT 77.42
NAUSHAHRO FEROZE 42.72
DADU 64.50
SHAHEED BENAZIRABAD 64.37
SANGHAR 69.56
MATIARI 78.78
JAMSHORO 58.54
TANDO ALLAH YAR 68.21
HYDERABAD 79.12
MIRPUR KHAS 63.30
UMERKOT 52.50
THARPARKAR 23.26
BADIN 42.44
TANDO MUHAMMAD KHAN 52.16
SUJAWAL 52.67
THATTA 67.44

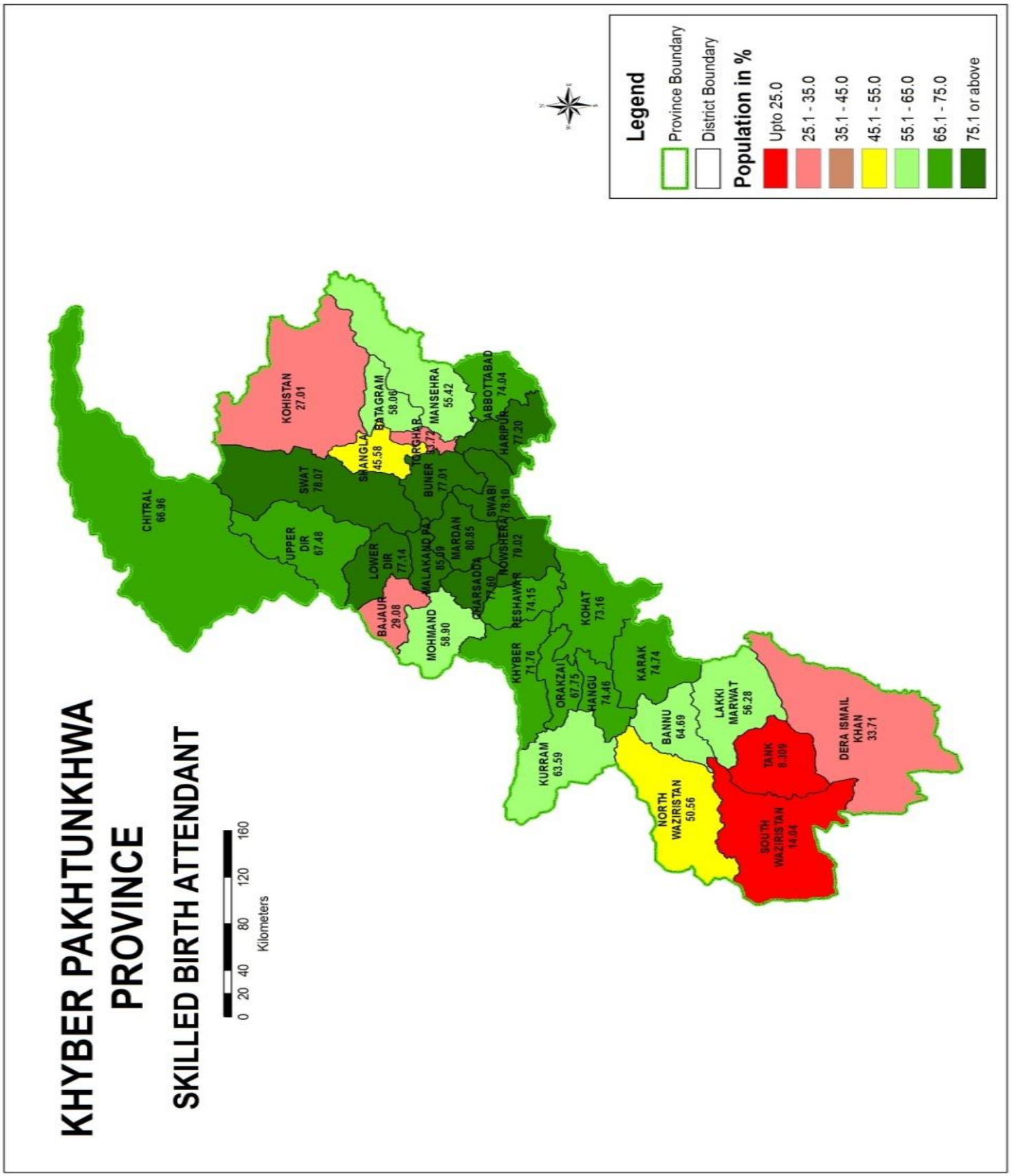
KHYBER PAKHTUNKHWA
PROVINCE
SKILLED BIRTH ATTENDANT
0 20 40 80 120 160
Kilometers
Legend
Province Boundary
District Boundary
Population in %
Upto 25.0
25.1 - 35.0
35.1 - 45.0
45.1 - 55.0
55.1 - 65.0
65.1 - 75.0
75.1 or above
CHITRAL 66.96
KOHISTAN 27.01
SHANGLA 45.58
BATAGRAM 58.06
TORGHAR 53.72
MANSEHRA 55.42
ABBOTTABAD 74.04
HARIPUR 77.20
SWAT 78.07
BUNER 77.01
SWABI 78.10
UPPER DIR 67.48
LOWER DIR 77.14
MALAKAND PA 85.09
MARDAN 80.85
NOWSHERA 79.02
CHARSADDA 77.60
BAJAUR 29.08
MOHMAND 58.90
PESHAWAR 74.15
KOHAT 73.16
KHYBER 71.76
ORAKZAI 67.75
HANGU 74.46
KARAK 74.74
KURRAM 63.59
BANNU 64.69
LAKKI MARWAT 56.28
TANK 8.309
DERA ISMAIL KHAN 33.71
NORTH WAZIRISTAN 50.56
SOUTH WAZIRISTAN 14.04

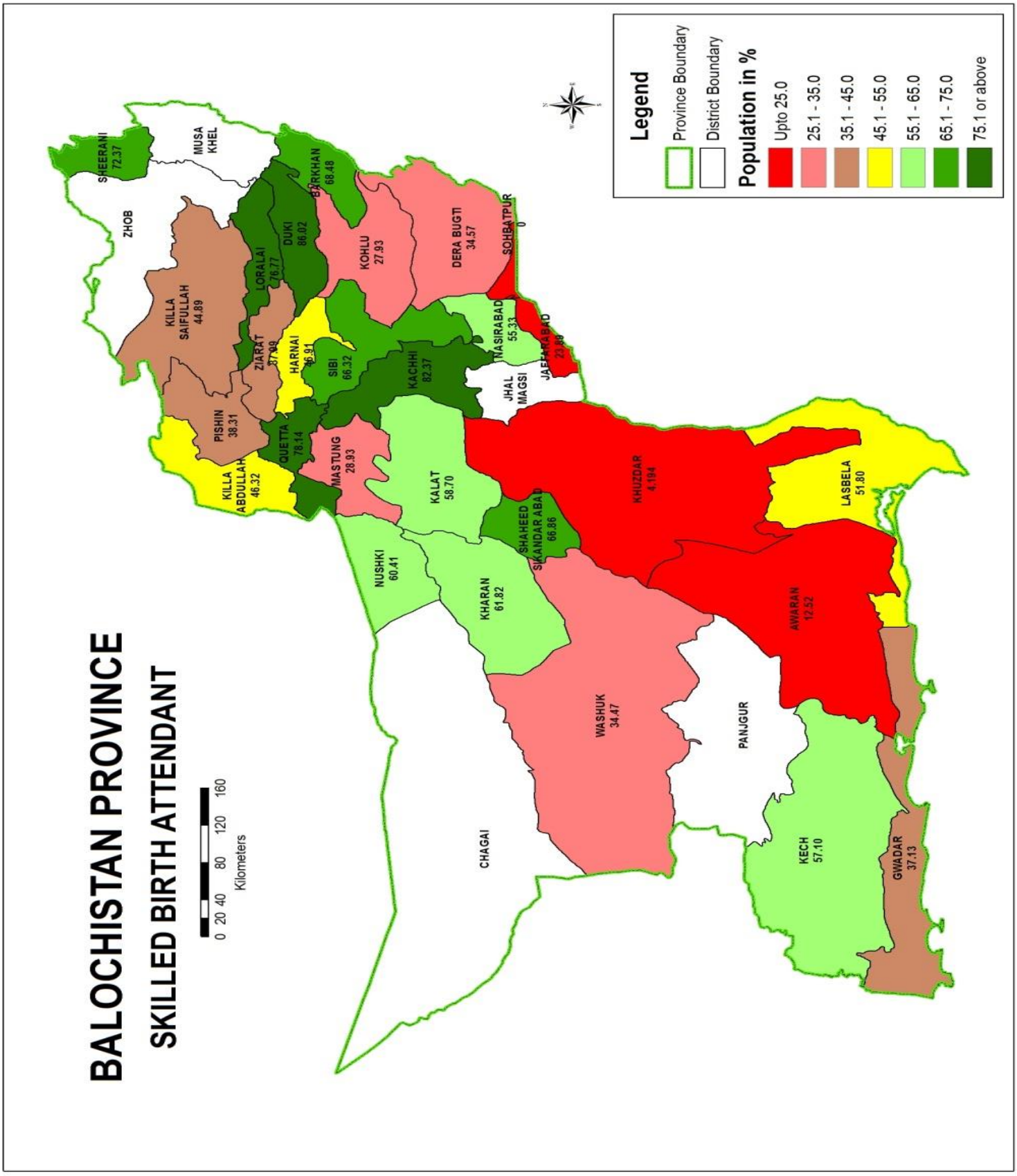
BALOCHISTAN PROVINCE
SKILLED BIRTH ATTENDANT
Legend
Province Boundary
District Boundary
Population in %
Upto 25.0
25.1 - 35.0
35.1 - 45.0
45.1 - 55.0
55.1 - 65.0
65.1 - 75.0
75.1 or above
0 20 40 80 120 160
Kilometers
SHEERANI 72.37
MUSA KHEL
ZHOB
KILLA SAIFULLAH 44.89
LORALAI 76.77
DUKI 86.02
BARKHAN 68.48
KOHLU 27.93
DERA BUGTI 34.57
SOHBATPUR 0
ZIARAT 37.09
HARNAI 36.91
SIBI 66.32
KACHHI 82.37
NASIRABAD 55.33
JAFFARABAD 23.89
JHAL MAGSI
PISHIN 38.31
QUETTA 78.14
KILLA ABDULLAH 46.32
MASTUNG 28.93
KALAT 58.70
SHAHEED SIKANDAR ABAD 66.86
KHUZDAR 4.194
LASBELA 51.80
NUSHKI 60.41
KHARAN 61.82
AWARAN 12.52
WASHUK 34.47
PANJGUR
CHAGAI
KECH 57.10
GWADAR 37.13

4.7 Post-Natal Consultation:

Post-Natal care is the number of visits a mother and her new-born needs in two to six weeks after delivery sometimes health visitors like LHV, LHW etc. visits the woman and baby at home to provide different medications and suggestions according to their medical condition. But, unfortunately in Pakistan women and her family couldn't provide much attention to post-natal care as they are concerned with pre-natal consultation which is one of the main reasons of neo-natal mortality. Different studies and gynaecologist suggests that in post-natal period mother and her infant needs as much attention as they required in pre-natal period because after birth there are physical as well as medical changes arise in mother which needs to be properly treated by expert dieticians and doctors.

There should be counselling sessions between mother and gynaecologist during pre-natal period on the importance of first six weeks after delivery. The doctor should ensure her patient to use sterilize and hygienic products, proper hand washing, quality and fresh food items and the way to identify any critical condition as early as possible and go to nearby health facility to get required treatment.

Post-natal consultation in 2019-20 has increased to 39 percent as compare to 29 percent in 2014-15 which is an encouraging signal but it's still much lower than the pre-natal consultation rates In Pakistan. Post-natal consultation is higher in urban areas with 48 percent as compared to rural areas with 35 percent. In Islamabad, 66 percent women visited for post-natal consultations. While observing the district level position, Layyah with 68 percent, Larkana with 74 percent, Tank with 49 percent and Nushki with 71 percent are the top ranked districts for post-natal consultations within their respective provinces (Table 4.12a).

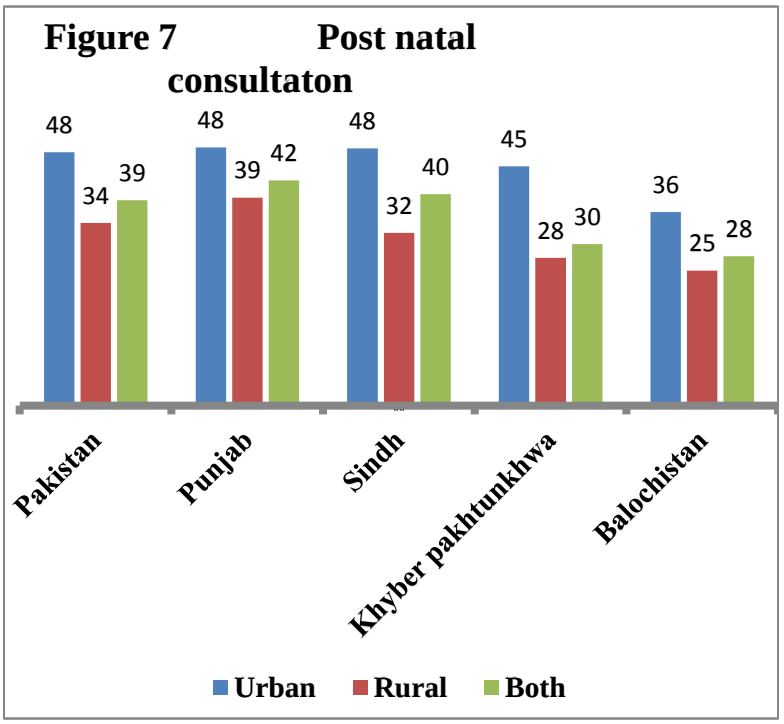

The most commonly visited sources of post-natal care in urban areas as well as rural areas were private hospital/clinic with 56 percent and 47 percent respectively followed by government hospital/clinic with 36 percent and 37 percent respectively in both urban areas and rural areas (Table 4.12b).

Following graphs show the comparison of major health indicators of provinces as well as comparison of major cities i.e. Islamabad, Lahore, Karachi, Peshawar, Quetta to summarize current situation of health sector in Pakistan.

Figure8

TABLE 4.1: PERCENTAGE DISTRIBUTAION OF POPULATION FALLEN SICK OR INJURED DURING LAST TWO WEEKS OF THE INTERVIEW AND BY HEALTH CONSULTION.

PROVINCE & DISTRICT		SICK OR INJURED			HEALTH CONSULTATION		
		MALE	FEMALE	TOTAL	MALE	FEMALE	TOTAL
Pakistan	**Total**	**6.92**	**7.87**	**7.38**	**95.19**	**95.51**	**95.35**
	Urban	7.77	8.59	8.17	94.91	95.26	95.09
	Rural	6.42	7.45	6.93	95.39	95.67	95.54
Punjab	**Total**	**6.48**	**7.12**	**6.79**	**95.97**	**96.74**	**96.37**
	Urban	7.15	7.70	7.42	95.47	96.40	95.94
	Rural	6.08	6.78	6.43	96.33	96.97	96.66
Attock	**Total**	3.01	3.61	3.32	94.41	92.12	93.15
	Urban	1.72	1.37	1.54	86.98	66.19	77.56
	Rural	3.47	4.43	3.95	95.72	95.04	95.34
Bahawalnager	**Total**	6.50	8.44	7.43	93.20	93.19	93.20
	Urban	4.87	7.63	6.20	89.38	91.01	90.35
	Rural	6.92	8.65	7.75	93.88	93.69	93.78
Bahawalpur	**Total**	8.34	8.90	8.63	97.33	98.72	98.06
	Urban	7.66	7.78	7.72	94.65	96.25	95.44
	Rural	8.65	9.37	9.02	98.42	99.58	99.04
Bhakhar	**Total**	5.63	6.48	6.05	96.16	100.00	98.20
	Urban	5.27	6.47	5.84	96.49	100.00	98.35
	Rural	5.69	6.48	6.09	96.10	100.00	98.18
Chakwal	**Total**	5.22	6.16	5.70	93.59	96.59	95.24
	Urban	3.80	3.94	3.87	100.00	100.00	100.00
	Rural	5.48	6.55	6.03	92.76	96.23	94.69
Chinniot	**Total**	7.55	8.87	8.22	97.50	98.25	97.91
	Urban	6.49	8.32	7.41	100.00	96.88	98.24
	Rural	8.09	9.15	8.63	96.49	98.87	97.77
D.G.Khan	**Total**	8.51	7.79	8.16	98.53	99.50	98.98
	Urban	11.35	9.93	10.64	98.46	100.00	99.18
	Rural	7.94	7.32	7.64	98.56	99.35	98.92
Faisalabad	**Total**	8.05	8.77	8.41	97.79	97.63	97.71
	Urban	7.37	8.50	7.92	98.40	98.26	98.33
	Rural	8.69	9.02	8.85	97.31	97.10	97.21
Gujranwala	**Total**	5.67	6.58	6.12	98.28	97.61	97.93
	Urban	5.41	6.03	5.72	97.69	97.71	97.70
	Rural	6.03	7.35	6.69	99.05	97.50	98.20
Gujrat	**Total**	6.78	6.54	6.65	97.83	97.43	97.63
	Urban	5.87	4.55	5.20	96.45	98.02	97.15
	Rural	7.15	7.32	7.24	98.29	97.29	97.76
Hafizabad	**Total**	3.99	5.10	4.53	97.92	95.51	96.60
	Urban	4.05	4.71	4.38	97.13	96.84	96.97
	Rural	3.96	5.31	4.61	98.33	94.86	96.40
Islamabad	**Total**	4.12	5.57	4.81	95.63	95.65	95.64
	Urban	3.25	5.16	4.13	94.72	97.42	96.29
	Rural	5.00	5.97	5.46	96.22	94.18	95.16

TABLE 4.1: PERCENTAGE DISTRIBUTAION OF POPULATION FALLEN SICK OR INJURED DURING LAST TWO WEEKS OF THE INTERVIEW AND BY HEALTH CONSULTION.

PROVINCE & DISTRICT		SICK OR INJURED			HEALTH CONSULTATION		
		MALE	FEMALE	TOTAL	MALE	FEMALE	TOTAL
Jehlum	**Total**	5.05	5.02	5.04	92.72	96.76	94.78
	Urban	3.22	4.93	4.10	94.48	97.49	96.34
	Rural	5.56	5.05	5.30	92.43	96.56	94.44
Jhang	**Total**	10.21	11.47	10.84	93.24	95.82	94.59
	Urban	13.60	14.15	13.88	89.17	96.36	92.86
	Rural	9.01	10.49	9.74	95.41	95.55	95.48
Kasur	**Total**	6.65	8.15	7.37	95.40	95.63	95.52
	Urban	10.34	11.86	11.08	98.17	95.30	96.66
	Rural	5.53	6.96	6.21	93.82	95.81	94.88
Khanewal	**Total**	3.62	3.73	3.67	94.81	99.65	97.26
	Urban	4.65	4.14	4.39	100.00	98.41	99.24
	Rural	3.38	3.63	3.50	93.15	100.00	96.67
Khushab	**Total**	8.77	10.04	9.43	93.96	94.96	94.51
	Urban	8.27	8.88	8.58	94.47	95.44	94.99
	Rural	8.95	10.45	9.72	93.80	94.82	94.36
Lahore	**Total**	9.08	9.65	9.35	95.00	96.31	95.64
	Urban	9.08	9.65	9.35	95.00	96.31	95.64
	Rural	0.00	0.00	0.00	0.00	0.00	0.00
Layyah	**Total**	8.12	10.46	9.29	99.26	100.00	99.68
	Urban	4.75	2.76	3.77	100.00	100.00	100.00
	Rural	8.81	11.98	10.40	99.18	100.00	99.65
Lodhran	**Total**	5.07	7.17	6.08	98.85	98.24	98.51
	Urban	6.20	8.22	7.17	100.00	100.00	100.00
	Rural	4.83	6.95	5.86	98.55	97.82	98.13
Mandi Bahuddin	**Total**	5.40	5.53	5.47	97.79	98.33	98.07
	Urban	5.51	6.16	5.84	93.34	100.00	96.88
	Rural	5.38	5.42	5.40	98.66	97.98	98.31
Mianwali	**Total**	5.68	5.41	5.54	96.51	98.11	97.30
	Urban	4.51	4.92	4.71	95.00	98.34	96.74
	Rural	5.99	5.53	5.76	96.81	98.06	97.42
Multan	**Total**	3.66	4.31	3.98	95.40	94.33	94.84
	Urban	4.16	4.68	4.41	97.33	94.17	95.67
	Rural	3.32	4.05	3.67	93.73	94.48	94.12
Muzaffar Garh	**Total**	2.89	3.85	3.37	96.32	97.58	97.03
	Urban	4.01	5.25	4.65	91.23	100.00	96.30
	Rural	2.70	3.59	3.14	97.61	96.92	97.22
Nankana Sahib	**Total**	5.55	5.62	5.58	93.83	92.47	93.17
	Urban	6.95	9.36	8.07	88.86	85.66	87.14
	Rural	5.24	4.87	5.06	95.27	95.09	95.18
Narowal	**Total**	3.80	3.30	3.53	94.56	100.00	97.32
	Urban	2.00	1.61	1.79	100.00	100.00	100.00
	Rural	4.17	3.64	3.88	94.02	100.00	97.07

TABLE 4.1: PERCENTAGE DISTRIBUTAION OF POPULATION FALLEN SICK OR INJURED DURING LAST TWO WEEKS OF THE INTERVIEW AND BY HEALTH CONSULTION.

PROVINCE & DISTRICT		SICK OR INJURED			HEALTH CONSULTATION		
		MALE	FEMALE	TOTAL	MALE	FEMALE	TOTAL
Okara	**Total**	5.40	6.04	5.72	97.07	97.31	97.20
	Urban	5.00	3.78	4.40	100.00	94.90	97.84
	Rural	5.54	6.86	6.21	96.09	97.80	97.03
Pakpatten	**Total**	6.06	5.94	6.00	96.50	94.52	95.53
	Urban	5.91	6.53	6.21	100.00	94.25	97.08
	Rural	6.08	5.84	5.96	95.88	94.57	95.25
Rahim Yar Khan	**Total**	5.81	5.89	5.85	94.83	97.37	96.08
	Urban	6.98	5.30	6.17	90.11	92.51	91.10
	Rural	5.51	6.04	5.77	96.37	98.44	97.43
Rajanpur	**Total**	7.02	6.88	6.96	99.01	100.00	99.48
	Urban	5.28	5.08	5.18	100.00	100.00	100.00
	Rural	7.36	7.24	7.30	98.87	100.00	99.40
Rawalpindi	**Total**	5.72	6.42	6.06	93.11	93.55	93.34
	Urban	6.22	6.82	6.51	91.74	94.35	93.05
	Rural	5.17	5.99	5.58	94.98	92.58	93.70
Sahiwal	**Total**	6.01	6.91	6.46	98.77	97.02	97.82
	Urban	5.71	6.89	6.32	100.00	100.00	100.00
	Rural	6.08	6.91	6.50	98.47	96.25	97.28
Sargodha	**Total**	7.83	9.34	8.60	91.88	93.95	93.02
	Urban	6.48	8.43	7.45	93.13	92.01	92.50
	Rural	8.40	9.70	9.07	91.48	94.62	93.20
Sheikhupura	**Total**	10.22	11.17	10.68	97.43	97.40	97.42
	Urban	11.63	12.58	12.09	99.23	99.40	99.32
	Rural	9.50	10.46	9.96	96.31	96.18	96.24
Sialkot	**Total**	2.95	2.73	2.84	96.40	96.52	96.46
	Urban	1.77	2.32	2.05	92.87	92.91	92.89
	Rural	3.45	2.90	3.16	97.15	97.72	97.42
T.T.Singh	**Total**	10.69	11.19	10.94	95.42	95.41	95.42
	Urban	11.52	12.14	11.83	92.28	94.57	93.46
	Rural	10.45	10.91	10.68	96.44	95.68	96.05
Vehari	**Total**	3.03	4.01	3.52	96.95	98.91	98.06
	Urban	6.17	8.07	7.14	96.52	98.76	97.81
	Rural	2.38	3.12	2.75	97.17	98.99	98.19

NOTES

1. Fallen Sick or Injured: Number of persons fallen sick or injured expressed as percentage of total population during last two weeks. 2. Health Consultation: Number of persons who consulted for treatment expressed as percentage of total persons fallen sick or injured during last two weeks.

TABLE 4.1: PERCENTAGE DISTRIBUTAION OF POPULATION FALLEN SICK OR INJURED DURING LAST TWO WEEKS OF THE INTERVIEW AND BY HEALTH CONSULTION.

PROVINCE & DISTRICT		SICK OR INJURED			HEALTH CONSULTATION		
		MALE	FEMALE	TOTAL	MALE	FEMALE	TOTAL
SINDH	**Total**	**7.66**	**8.61**	**8.10**	**95.32**	**94.79**	**95.06**
	Urban	8.50	9.62	9.03	95.02	94.63	94.82
	Rural	6.70	7.44	7.05	95.76	95.02	95.40
Badin	**Total**	6.80	8.51	7.61	90.50	94.41	92.59
	Urban	6.03	11.20	8.45	96.84	97.06	96.97
	Rural	7.06	7.62	7.33	88.63	93.12	90.87
Dadu	**Total**	2.02	2.08	2.05	96.04	100.00	97.91
	Urban	7.14	7.71	7.41	97.81	100.00	98.89
	Rural	0.34	0.13	0.24	83.85	100.00	87.78
Ghotki	**Total**	7.18	9.74	8.37	97.90	97.09	97.46
	Urban	5.51	7.55	6.47	98.84	99.05	98.95
	Rural	7.58	10.28	8.83	97.73	96.74	97.20
Hyderabad	**Total**	8.55	12.33	10.33	96.28	95.74	95.97
	Urban	8.65	12.37	10.42	96.31	95.30	95.74
	Rural	7.99	12.09	9.84	96.10	98.42	97.38
Jaccobabad	**Total**	1.91	2.18	2.04	93.73	96.23	94.98
	Urban	2.65	3.01	2.81	97.96	88.95	93.55
	Rural	1.66	1.91	1.77	91.38	100.00	95.74
Jamshoro	**Total**	5.40	5.58	5.48	95.85	86.98	91.71
	Urban	2.81	4.61	3.69	97.66	81.87	88.03
	Rural	6.67	6.15	6.44	95.47	89.23	92.84
Karachi Central	**Total**	8.56	9.76	9.12	89.31	87.97	88.63
	Urban	8.56	9.76	9.12	89.31	87.97	88.63
	Rural	0.00	0.00	0.00	0.00	0.00	0.00
Karachi East	**Total**	8.58	9.64	9.07	95.49	95.30	95.40
	Urban	8.58	9.64	9.07	95.49	95.30	95.40
	Rural	0.00	0.00	0.00	0.00	0.00	0.00
Karachi Malir	**Total**	6.61	9.66	8.01	99.67	99.01	99.30
	Urban	7.11	11.07	8.95	100.00	98.46	99.12
	Rural	5.98	7.85	6.84	99.17	100.00	99.61
Karachi South	**Total**	10.64	10.85	10.74	94.94	94.61	94.78
	Urban	10.64	10.85	10.74	94.94	94.61	94.78
	Rural	0.00	0.00	0.00	0.00	0.00	0.00
Karachi west	**Total**	8.62	8.89	8.74	89.90	90.65	90.25
	Urban	8.22	8.66	8.42	90.30	91.24	90.74
	Rural	16.08	13.23	14.78	86.06	83.35	84.95
Kashmore	**Total**	9.84	8.74	9.31	99.62	100.00	99.79
	Urban	3.41	4.51	3.94	94.85	100.00	97.72
	Rural	11.57	9.91	10.77	100.00	100.00	100.00
Khairpur	**Total**	3.61	4.07	3.83	100.00	98.16	99.07
	Urban	2.90	3.68	3.27	100.00	97.82	98.83
	Rural	3.90	4.23	4.05	100.00	98.28	99.15

TABLE 4.1: PERCENTAGE DISTRIBUTAION OF POPULATION FALLEN SICK OR INJURED DURING LAST TWO WEEKS OF THE INTERVIEW AND BY HEALTH CONSULTION.

PROVINCE & DISTRICT		SICK OR INJURED			HEALTH CONSULTATION		
		MALE	FEMALE	TOTAL	MALE	FEMALE	TOTAL
Korangi	**Total**	9.39	10.08	9.72	96.52	95.61	96.07
	Urban	9.39	10.08	9.72	96.52	95.61	96.07
	Rural	0.00	0.00	0.00	0.00	0.00	0.00
Larkana	**Total**	24.26	26.23	25.12	99.45	99.55	99.49
	Urban	27.13	28.68	27.81	99.19	99.66	99.40
	Rural	21.59	23.94	22.62	99.74	99.43	99.60
Matiari	**Total**	8.60	12.36	10.39	97.53	99.18	98.47
	Urban	6.41	8.20	7.28	100.00	100.00	100.00
	Rural	9.18	13.51	11.23	97.07	99.05	98.20
Mir Pur Khas	**Total**	3.93	3.75	3.84	94.57	88.77	91.90
	Urban	7.22	6.02	6.66	98.53	100.00	99.15
	Rural	2.81	2.99	2.90	91.12	81.22	86.29
Nowshero Feroze	**Total**	3.91	8.02	5.89	97.13	98.91	98.30
	Urban	3.13	7.54	5.22	100.00	96.15	97.37
	Rural	4.07	8.12	6.02	96.68	99.41	98.46
Sanghar	**Total**	4.66	5.44	5.04	98.10	98.32	98.22
	Urban	5.07	5.77	5.41	98.13	97.62	97.87
	Rural	4.51	5.32	4.90	98.09	98.60	98.36
Shahdadkot	**Total**	22.83	20.89	22.01	100.00	99.88	99.95
	Urban	22.67	20.21	21.59	100.00	100.00	100.00
	Rural	22.91	21.22	22.20	100.00	99.83	99.93
Shaheed Banazir Abad	**Total**	3.12	3.51	3.31	95.68	98.26	96.99
	Urban	2.71	3.25	2.97	100.00	97.86	98.87
	Rural	3.26	3.60	3.42	94.40	98.38	96.42
Shikarpur	**Total**	1.59	2.11	1.84	96.24	97.99	97.22
	Urban	0.67	1.70	1.16	100.00	100.00	100.00
	Rural	1.90	2.24	2.06	95.79	97.51	96.70
Sujawal	**Total**	8.45	9.14	8.77	88.64	83.91	86.36
	Urban	5.05	2.43	3.82	100.00	100.00	100.00
	Rural	8.69	9.64	9.13	88.17	83.61	85.94
Sukkur	**Total**	6.31	7.45	6.85	97.61	96.79	97.19
	Urban	6.99	6.95	6.97	98.64	97.05	97.91
	Rural	5.77	7.83	6.75	96.62	96.62	96.62
Tando Allah Yar	**Total**	10.25	9.65	9.97	96.37	96.85	96.59
	Urban	10.76	13.20	11.93	96.59	94.97	95.73
	Rural	10.02	7.99	9.07	96.27	98.29	97.10
Tando Muhd Khan	**Total**	8.69	12.76	10.59	95.04	91.33	92.96
	Urban	3.77	4.83	4.27	81.80	90.54	86.41
	Rural	10.02	14.90	12.29	96.39	91.40	93.57
Tharparkar	**Total**	3.83	5.05	4.40	87.56	82.41	84.82
	Urban	2.74	6.73	4.54	100.00	100.00	100.00
	Rural	3.92	4.92	4.39	86.82	80.47	83.51

TABLE 4.1: PERCENTAGE DISTRIBUTAION OF POPULATION FALLEN SICK OR INJURED DURING LAST TWO WEEKS OF THE INTERVIEW AND BY HEALTH CONSULTION.

PROVINCE & DISTRICT		SICK OR INJURED			HEALTH CONSULTATION		
		MALE	FEMALE	TOTAL	MALE	FEMALE	TOTAL
Thatta	**Total**	10.49	11.88	11.12	88.84	84.87	86.91
	Urban	9.57	8.36	9.04	100.00	100.00	100.00
	Rural	10.73	12.71	11.64	86.25	82.51	84.38
Umer Kot	**Total**	2.53	3.04	2.77	94.44	91.68	93.03
	Urban	1.36	2.40	1.84	100.00	100.00	100.00
	Rural	2.88	3.24	3.05	93.66	89.81	91.75

TABLE 4.1: PERCENTAGE DISTRIBUTAION OF POPULATION FALLEN SICK OR INJURED DURING LAST TWO WEEKS OF THE INTERVIEW AND BY HEALTH CONSULTION.

PROVINCE & DISTRICT		SICK OR INJURED			HEALTH CONSULTATION		
		MALE	FEMALE	TOTAL	MALE	FEMALE	TOTAL
Khyber Pakhtunkhwa	**Total**	**7.78**	**9.52**	**8.64**	**93.88**	**93.96**	**93.92**
	Urban	9.32	10.63	9.96	93.39	93.99	93.70
	Rural	7.47	9.31	8.38	94.00	93.96	93.98
Abbottabad	**Total**	10.46	11.63	11.06	76.64	74.04	75.23
	Urban	12.76	13.76	13.24	48.62	33.93	41.29
	Rural	9.74	11.08	10.44	88.03	86.99	87.45
Bajaur	**Total**	3.47	4.17	3.84	95.55	100.00	98.10
	Urban	0.00	0.00	0.00	0.00	0.00	0.00
	Rural	3.47	4.17	3.84	95.55	100.00	98.10
Bannu	**Total**	10.99	14.80	12.81	97.80	97.84	97.82
	Urban	14.29	13.55	13.94	100.00	100.00	100.00
	Rural	10.86	14.85	12.76	97.68	97.77	97.73
Batagram	**Total**	7.97	12.27	10.08	91.01	90.71	90.83
	Urban	0.00	0.00	0.00	0.00	0.00	0.00
	Rural	7.97	12.27	10.08	91.01	90.71	90.83
Bonair	**Total**	12.64	12.94	12.80	93.75	96.01	94.94
	Urban	0.00	0.00	0.00	0.00	0.00	0.00
	Rural	12.64	12.94	12.80	93.75	96.01	94.94
Charsada	**Total**	13.60	13.76	13.68	95.92	97.93	96.94
	Urban	18.19	19.22	18.72	89.17	94.91	92.18
	Rural	12.46	12.38	12.42	98.37	99.12	98.74
Chitral	**Total**	2.61	5.50	4.01	91.33	100.00	97.08
	Urban	1.66	7.06	4.14	100.00	100.00	100.00
	Rural	2.74	5.32	3.99	90.65	100.00	96.71
D.I.Khan	**Total**	4.23	5.86	4.96	97.48	98.67	98.11
	Urban	2.99	4.15	3.54	96.15	96.90	96.56
	Rural	4.54	6.35	5.35	97.71	99.00	98.39
Hangu	**Total**	7.96	11.90	10.04	91.50	84.26	86.98
	Urban	7.80	7.56	7.68	98.05	100.00	99.06
	Rural	7.98	12.49	10.35	90.63	82.97	85.76
Haripur	**Total**	6.85	7.26	7.06	95.00	94.20	94.57
	Urban	4.65	5.47	5.06	100.00	100.00	100.00
	Rural	7.18	7.51	7.35	94.50	93.62	94.03
Karak	**Total**	5.67	8.99	7.20	98.80	100.00	99.49
	Urban	4.71	7.69	6.13	100.00	100.00	100.00
	Rural	5.72	9.06	7.25	98.75	100.00	99.47
Khyber	**Total**	1.95	4.36	3.07	97.02	100.00	98.99
	Urban	1.69	3.81	2.69	100.00	100.00	100.00
	Rural	1.99	4.46	3.14	96.55	100.00	98.83
Kohat	**Total**	5.63	7.74	6.73	86.14	88.57	87.60
	Urban	9.21	10.20	9.71	94.47	92.73	93.54
	Rural	4.90	7.27	6.14	82.94	87.45	85.74

TABLE 4.1: PERCENTAGE DISTRIBUTAION OF POPULATION FALLEN SICK OR INJURED DURING LAST TWO WEEKS OF THE INTERVIEW AND BY HEALTH CONSULTION.

PROVINCE & DISTRICT		SICK OR INJURED			HEALTH CONSULTATION		
		MALE	FEMALE	TOTAL	MALE	FEMALE	TOTAL
Kohistan	**Total**	8.68	13.01	10.80	95.52	96.52	96.11
	Urban	0.00	0.00	0.00	0.00	0.00	0.00
	Rural	8.68	13.01	10.80	95.52	96.52	96.11
Kurram	**Total**	5.88	6.64	6.29	95.53	94.95	95.20
	Urban	0.00	0.00	0.00	0.00	0.00	0.00
	Rural	5.88	6.64	6.29	95.53	94.95	95.20
Lakki Marwat	**Total**	9.20	11.96	10.49	100.00	100.00	100.00
	Urban	5.04	7.77	6.32	100.00	100.00	100.00
	Rural	9.66	12.41	10.95	100.00	100.00	100.00
Lower Dir	**Total**	2.85	4.40	3.63	98.50	98.27	98.36
	Urban	3.20	4.31	3.73	100.00	100.00	100.00
	Rural	2.84	4.41	3.63	98.48	98.25	98.34
Malakand	**Total**	5.49	9.36	7.42	97.85	98.81	98.45
	Urban	4.30	6.32	5.32	100.00	100.00	100.00
	Rural	5.62	9.68	7.64	97.67	98.73	98.34
Mansehra	**Total**	7.74	8.89	8.32	55.00	53.03	53.94
	Urban	0.45	5.86	2.98	100.00	100.00	100.00
	Rural	8.29	9.09	8.69	54.81	51.07	52.84
Mardan	**Total**	11.71	13.33	12.53	97.19	95.52	96.29
	Urban	10.80	11.52	11.15	96.47	99.50	98.01
	Rural	11.90	13.69	12.81	97.33	94.86	95.99
Mohmand	**Total**	7.27	8.62	7.98	96.61	94.76	95.57
	Urban	0.00	0.00	0.00	0.00	0.00	0.00
	Rural	7.27	8.62	7.98	96.61	94.76	95.57
North Waziristan	**Total**	7.74	14.78	10.73	100.00	100.00	100.00
	Urban	0.00	0.00	0.00	0.00	0.00	0.00
	Rural	7.74	14.78	10.73	100.00	100.00	100.00
Nowshera	**Total**	11.40	13.17	12.28	95.82	95.23	95.51
	Urban	15.31	13.45	14.43	97.92	97.49	97.73
	Rural	10.29	13.10	11.70	94.93	94.64	94.77
Orakzai	**Total**	13.70	15.84	14.74	99.34	99.43	99.39
	Urban	0.00	0.00	0.00	0.00	0.00	0.00
	Rural	13.70	15.84	14.74	99.34	99.43	99.39
Peshawar	**Total**	10.13	10.89	10.50	97.29	98.39	97.84
	Urban	12.01	13.14	12.56	98.68	99.28	98.99
	Rural	8.58	9.00	8.78	95.69	97.30	96.48
Shangla	**Total**	5.61	8.80	7.27	95.69	97.30	96.48
	Urban	0.00	0.00	0.00	0.00	0.00	0.00
	Rural	5.61	8.80	7.27	94.93	98.06	96.90
South Waziristan	**Total**	6.95	9.04	7.84	97.79	98.86	98.31
	Urban	0.00	0.00	0.00	0.00	0.00	0.00
	Rural	6.95	9.04	7.84	97.79	98.86	98.31

TABLE 4.1: PERCENTAGE DISTRIBUTAION OF POPULATION FALLEN SICK OR INJURED DURING LAST TWO WEEKS OF THE INTERVIEW AND BY HEALTH CONSULTION.

PROVINCE & DISTRICT		SICK OR INJURED			HEALTH CONSULTATION		
		MALE	FEMALE	TOTAL	MALE	FEMALE	TOTAL
Swabi	**Total**	7.00	7.29	7.15	98.02	99.23	98.65
	Urban	5.89	8.75	7.34	90.20	98.84	95.42
	Rural	7.20	7.03	7.12	99.15	99.32	99.24
Swat	**Total**	2.52	4.41	3.45	100.00	98.03	98.76
	Urban	2.45	4.15	3.26	100.00	100.00	100.00
	Rural	2.55	4.52	3.53	100.00	97.30	98.27
Tank	**Total**	6.66	6.48	6.58	100.00	100.00	100.00
	Urban	4.88	6.98	5.95	100.00	100.00	100.00
	Rural	6.89	6.40	6.67	100.00	100.00	100.00
Tor gah	**Total**	5.77	9.90	7.96	84.66	82.95	83.53
	Urban	0.00	0.00	0.00	0.00	0.00	0.00
	Rural	5.77	9.90	7.96	84.66	82.95	83.53
Upper Dir	**Total**	5.17	6.38	5.76	99.53	99.65	99.59
	Urban	6.19	8.99	7.53	100.00	100.00	100.00
	Rural	5.12	6.26	5.68	99.50	99.62	99.57

TABLE 4.1: PERCENTAGE DISTRIBUTAION OF POPULATION FALLEN SICK OR INJURED DURING LAST TWO WEEKS OF THE INTERVIEW AND BY HEALTH CONSULTION.

PROVINCE & DISTRICT		SICK OR INJURED			HEALTH CONSULTATION		
		MALE	FEMALE	TOTAL	MALE	FEMALE	TOTAL
Balochistan	**Total**	**5.39**	**6.87**	**6.05**	**91.59**	**93.42**	**92.52**
	Urban	6.80	8.33	7.50	90.44	90.01	90.22
	Rural	4.87	6.31	5.51	92.19	95.13	93.70
Awaran	**Total**	0.00	0.00	0.00	0.00	0.00	0.00
	Urban	0.00	0.00	0.00	0.00	0.00	0.00
	Rural	0.00	0.00	0.00	0.00	0.00	0.00
Barkhan	**Total**	11.21	14.45	12.65	99.55	99.57	99.56
	Urban	18.67	31.65	25.32	100.00	100.00	100.00
	Rural	9.92	10.26	10.07	99.41	99.24	99.34
Dera Bugti	**Total**	1.54	1.97	1.74	100.00	97.45	98.69
	Urban	0.43	1.88	1.13	100.00	100.00	100.00
	Rural	1.93	2.01	1.96	100.00	96.50	98.41
Duki	**Total**	12.25	16.17	14.09	88.73	90.54	89.70
	Urban	5.26	20.37	12.61	100.00	100.00	100.00
	Rural	13.06	15.65	14.26	88.20	88.99	88.61
Gwadar	**Total**	12.71	15.73	14.13	96.81	100.00	98.48
	Urban	17.86	20.97	19.33	96.21	100.00	98.15
	Rural	5.00	7.73	6.27	100.00	100.00	100.00
Harnai	**Total**	1.64	1.23	1.46	87.51	100.00	92.15
	Urban	2.07	2.77	2.37	100.00	100.00	100.00
	Rural	1.47	0.64	1.10	80.27	100.00	85.43
Jafarabad	**Total**	4.68	5.13	4.89	94.74	100.00	97.26
	Urban	4.11	4.64	4.35	100.00	100.00	100.00
	Rural	4.93	5.36	5.12	92.83	100.00	96.23
Bolan	**Total**	9.87	14.31	11.92	91.54	90.88	91.18
	Urban	12.34	19.45	15.67	100.00	91.96	95.33
	Rural	9.55	13.61	11.42	90.09	90.67	90.41
Kalat	**Total**	4.42	6.64	5.46	91.94	96.00	94.25
	Urban	0.00	0.00	0.00	0.00	0.00	0.00
	Rural	4.42	6.64	5.46	91.94	96.00	94.25
Ketch	**Total**	6.57	11.03	8.69	95.51	98.38	97.25
	Urban	9.18	13.67	11.30	94.72	100.00	97.74
	Rural	5.26	9.73	7.39	96.21	97.26	96.87
Kharan	**Total**	5.48	6.93	6.14	78.46	85.57	82.11
	Urban	6.16	8.78	7.34	77.19	88.40	83.20
	Rural	5.31	6.47	5.84	78.84	84.62	81.76
Khuzdar	**Total**	0.34	0.36	0.35	15.04	27.55	20.74
	Urban	0.00	0.00	0.00	0.00	0.00	0.00
	Rural	0.34	0.36	0.35	15.04	27.55	20.74
Kohlu	**Total**	7.08	4.12	5.80	94.66	100.00	96.30
	Urban	3.57	7.50	5.21	100.00	100.00	100.00
	Rural	7.79	3.48	5.91	94.17	100.00	95.66

TABLE 4.1: PERCENTAGE DISTRIBUTAION OF POPULATION FALLEN SICK OR INJURED DURING LAST TWO WEEKS OF THE INTERVIEW AND BY HEALTH CONSULTION.

PROVINCE & DISTRICT		SICK OR INJURED			HEALTH CONSULTATION		
		MALE	FEMALE	TOTAL	MALE	FEMALE	TOTAL
Lasbilla	**Total**	6.93	7.66	7.24	79.12	65.73	73.07
	Urban	6.28	8.83	7.34	63.35	44.84	54.03
	Rural	7.67	6.41	7.12	93.85	96.24	94.79
Loralai	**Total**	6.51	6.41	6.46	99.33	99.25	99.30
	Urban	8.44	8.06	8.28	100.00	100.00	100.00
	Rural	4.99	5.29	5.13	98.44	98.49	98.46
Mastung	**Total**	3.62	5.53	4.49	100.00	100.00	100.00
	Urban	2.95	10.60	6.64	100.00	100.00	100.00
	Rural	3.78	4.14	3.94	100.00	100.00	100.00
Nasirabad	**Total**	3.44	3.70	3.55	92.05	91.42	91.77
	Urban	3.19	3.75	3.43	82.95	100.00	90.97
	Rural	3.50	3.69	3.58	93.97	89.35	91.95
Nushki	**Total**	3.82	6.18	4.92	80.10	80.31	80.22
	Urban	3.27	6.53	4.86	84.52	88.03	86.81
	Rural	3.99	6.06	4.94	79.02	77.59	78.21
Pashin	**Total**	5.47	6.05	5.72	97.87	100.00	98.87
	Urban	3.89	3.25	3.59	100.00	100.00	100.00
	Rural	5.75	6.63	6.14	97.61	100.00	98.74
Qilla Abdullah	**Total**	6.15	6.74	6.41	88.60	96.42	92.21
	Urban	7.41	4.83	6.25	86.56	83.92	85.64
	Rural	5.89	7.14	6.44	89.11	98.23	93.53
Qilla Saifullah	**Total**	0.61	0.83	0.70	94.11	100.00	97.11
	Urban	0.00	0.00	0.00	0.00	0.00	0.00
	Rural	0.61	0.83	0.70	94.11	100.00	97.11
Quetta	**Total**	5.13	6.18	5.60	87.86	91.80	89.81
	Urban	6.37	6.67	6.50	91.18	90.30	90.77
	Rural	4.20	5.81	4.91	84.09	93.13	88.83
Shaheed sikandarabad	**Total**	4.19	11.62	7.57	100.00	98.73	99.11
	Urban	0.00	0.00	0.00	0.00	0.00	0.00
	Rural	4.19	11.62	7.57	100.00	98.73	99.11
Sherani	**Total**	7.88	12.04	10.00	100.00	94.51	96.62
	Urban	0.00	0.00	0.00	0.00	0.00	0.00
	Rural	7.88	12.04	10.00	100.00	94.51	96.62
Sibbi	**Total**	4.31	5.79	5.03	95.28	86.07	90.13
	Urban	6.04	5.06	5.57	96.19	86.68	92.00
	Rural	2.80	6.42	4.56	93.57	85.65	88.15
Sohbatpur	**Total**	10.15	9.22	9.71	100.00	100.00	100.00
	Urban	0.00	0.00	0.00	0.00	0.00	0.00
	Rural	11.09	10.06	10.61	100.00	100.00	100.00
Washuk	**Total**	7.11	8.56	7.78	99.79	99.13	99.45
	Urban	7.31	12.75	9.90	100.00	100.00	100.00
	Rural	7.06	7.70	7.35	99.75	98.83	99.31
Ziarat	**Total**	1.77	1.96	1.85	82.50	79.29	81.03
	Urban	0.00	0.00	0.00	0.00	0.00	0.00
	Rural	1.80	1.99	1.88	82.50	79.29	81.03

NOTES:

1. The Panjgur,Chaghi,Musa Khel,Zhob and Jhal Magsi districts have been dropped from the scope of the survey due to law and order situation.

TABLE 4.2: PERCENT DISTRIBUTION OF HEALTH CONSULTATIONS IN PAST 2 WEEKS BY TYPE OF HEALTH PROVIDER CONSULTED.

PROVINCE & DISTRICT		HEALTH PROVIDER / CONSULTED							
		PRIVATE DISP/HOSP	PUBLIC DISP/HOSP	RHC/ BHU	HAKEEM/ HERBALIST	HOMEO PATH	CHEMIST/ PHARMACY	SAINA/ SAINI	OTHER
Pakistan	**Total**	**58.07**	**27.98**	**6.28**	**1.13**	**0.42**	**4.70**	**0.31**	**1.10**
	Urban	62.93	29.47	1.53	0.88	0.62	3.60	0.17	0.80
	Rural	54.77	26.98	9.50	1.30	0.29	5.45	0.41	1.30
Punjab	**Total**	**63.77**	**24.51**	**4.65**	**1.64**	**0.48**	**3.14**	**0.34**	**1.47**
	Urban	64.25	29.24	0.70	1.17	0.61	3.08	0.20	0.74
	Rural	63.44	21.34	7.29	1.96	0.40	3.18	0.43	1.96
Attock	**Total**	51.26	42.41	5.01	0.00	0.00	0.86	0.00	0.45
	Urban	5.63	89.91	4.46	0.00	0.00	0.00	0.00	0.00
	Rural	56.48	36.99	5.08	0.00	0.00	0.96	0.00	0.50
Bahawalnager	**Total**	55.66	26.44	8.58	1.33	0.93	0.84	0.23	6.01
	Urban	46.96	46.93	0.00	3.39	0.00	1.57	0.00	1.15
	Rural	57.38	22.38	10.28	0.92	1.11	0.69	0.28	6.97
Bahawalpur	**Total**	79.51	14.65	3.33	0.27	0.51	1.46	0.07	0.20
	Urban	68.15	28.46	0.00	0.56	1.66	1.17	0.00	0.00
	Rural	83.63	9.65	4.53	0.16	0.09	1.57	0.09	0.27
Bhakhar	**Total**	52.62	31.82	8.27	2.92	0.15	3.45	0.51	0.26
	Urban	51.42	40.05	0.00	0.00	0.00	7.19	1.33	0.00
	Rural	52.82	30.47	9.62	3.39	0.18	2.84	0.37	0.30
Chakwal	**Total**	50.22	38.40	9.02	0.66	0.00	0.00	0.00	1.70
	Urban	29.20	70.80	0.00	0.00	0.00	0.00	0.00	0.00
	Rural	52.79	34.43	10.13	0.74	0.00	0.00	0.00	1.91
Chinniot	**Total**	71.43	18.19	5.79	1.88	0.33	1.00	0.58	0.79
	Urban	72.09	22.09	0.00	2.32	1.09	1.85	0.00	0.56
	Rural	71.14	16.50	8.31	1.69	0.00	0.63	0.84	0.89
D.G.Khan	**Total**	66.10	29.00	1.75	2.76	0.11	0.00	0.00	0.28
	Urban	65.18	33.72	0.52	0.58	0.00	0.00	0.00	0.00
	Rural	66.37	27.63	2.10	3.39	0.15	0.00	0.00	0.37
Faisalabad	**Total**	73.37	20.20	1.94	1.34	0.67	1.46	0.07	0.96
	Urban	72.23	23.17	0.00	0.75	0.98	2.46	0.00	0.42
	Rural	74.32	17.75	3.53	1.82	0.41	0.64	0.13	1.40
Gujranwala	**Total**	67.56	26.90	2.77	0.94	0.00	1.06	0.55	0.22
	Urban	68.49	28.30	0.28	0.82	0.00	1.49	0.35	0.27
	Rural	66.43	25.21	5.77	1.08	0.00	0.55	0.79	0.16
Gujrat	**Total**	67.39	17.07	13.18	0.94	0.60	0.00	0.66	0.15
	Urban	79.42	19.88	0.70	0.00	0.00	0.00	0.00	0.00
	Rural	63.94	16.27	16.76	1.21	0.77	0.00	0.85	0.19
Hafizabad	**Total**	61.47	31.18	6.58	0.77	0.00	0.00	0.00	0.00
	Urban	56.01	36.03	7.96	0.00	0.00	0.00	0.00	0.00
	Rural	64.25	28.71	5.87	1.16	0.00	0.00	0.00	0.00
Islamabad	**Total**	65.81	32.10	0.19	0.00	0.00	1.27	0.00	0.63
	Urban	68.88	30.52	0.00	0.00	0.00	0.59	0.00	0.00
	Rural	63.51	33.28	0.33	0.00	0.00	1.77	0.00	1.11
Jehlum	**Total**	45.96	43.20	4.53	0.95	0.00	0.94	0.00	4.41
	Urban	53.80	43.90	0.00	0.00	0.00	0.00	0.00	2.30
	Rural	44.22	43.05	5.53	1.16	0.00	1.15	0.00	4.88

TABLE 4.2: PERCENT DISTRIBUTION OF HEALTH CONSULTATIONS IN PAST 2 WEEKS BY TYPE OF HEALTH PROVIDER CONSULTED.

PROVINCE & DISTRICT		HEALTH PROVIDER / CONSULTED							
		PRIVATE DISP/HOSP	PUBLIC DISP/HOSP	RHC/ BHU	HAKEEM/ HERBALIST	HOMEO PATH	CHEMIST/ PHARMACY	SAINA/ SAINI	OTHER
Jhang	**Total**	69.52	20.60	0.56	3.57	1.18	2.69	0.86	1.02
	Urban	59.86	25.97	0.00	3.67	2.64	4.18	1.79	1.89
	Rural	74.36	17.91	0.84	3.52	0.45	1.94	0.39	0.59
Kasur	**Total**	65.29	24.64	4.43	1.53	0.43	1.82	0.21	1.65
	Urban	75.62	20.65	0.13	1.09	0.13	1.82	0.00	0.56
	Rural	59.41	26.91	6.88	1.78	0.60	1.82	0.33	2.27
Khanewal	**Total**	48.91	27.17	5.73	2.61	0.00	7.19	1.84	6.54
	Urban	55.15	31.66	6.69	2.16	0.00	3.20	1.15	0.00
	Rural	47.00	25.80	5.44	2.75	0.00	8.42	2.06	8.53
Khushab	**Total**	65.36	14.40	2.28	5.42	0.44	11.29	0.23	0.57
	Urban	70.51	26.04	0.00	0.90	0.00	2.54	0.00	0.00
	Rural	63.75	10.75	3.00	6.84	0.58	14.03	0.30	0.75
Lahore	**Total**	65.63	28.56	0.49	1.05	0.25	3.15	0.11	0.75
	Urban	65.63	28.56	0.49	1.05	0.25	3.15	0.11	0.75
	Rural	0.00	0.00	0.00	0.00	0.00	0.00	0.00	0.00
Layyah	**Total**	63.44	24.44	7.68	2.02	0.26	1.27	0.24	0.65
	Urban	53.57	36.11	5.15	5.16	0.00	0.00	0.00	0.00
	Rural	64.16	23.59	7.87	1.79	0.27	1.36	0.26	0.70
Lodhran	**Total**	64.26	14.89	14.00	1.26	0.00	2.81	1.77	1.00
	Urban	61.59	31.52	6.89	0.00	0.00	0.00	0.00	0.00
	Rural	64.95	10.62	15.83	1.59	0.00	3.53	2.23	1.26
Mandi Bahuddin	**Total**	58.08	33.52	6.54	0.80	0.00	0.20	0.86	0.00
	Urban	53.57	40.10	0.00	3.06	0.00	0.00	3.27	0.00
	Rural	58.99	32.21	7.84	0.35	0.00	0.25	0.37	0.00
Mianwali	**Total**	54.13	28.91	6.13	4.41	0.46	4.26	1.15	0.55
	Urban	52.34	37.40	5.31	2.48	0.00	2.48	0.00	0.00
	Rural	54.51	27.11	6.31	4.82	0.56	4.63	1.39	0.67
Multan	**Total**	54.88	27.26	5.40	1.34	1.84	7.24	0.60	1.43
	Urban	54.11	29.98	0.23	2.25	3.94	6.77	0.88	1.83
	Rural	55.55	24.88	9.93	0.54	0.00	7.66	0.36	1.08
Muzaffar Garh	**Total**	45.58	28.33	11.26	2.46	0.06	5.36	3.81	3.14
	Urban	37.74	43.52	0.00	0.00	0.00	13.64	2.45	2.64
	Rural	47.64	24.33	14.22	3.11	0.08	3.18	4.16	3.28
Nankana Sahib	**Total**	57.13	35.57	5.48	1.18	0.32	0.32	0.00	0.00
	Urban	80.26	19.74	0.00	0.00	0.00	0.00	0.00	0.00
	Rural	50.07	40.41	7.16	1.53	0.41	0.41	0.00	0.00
Narowal	**Total**	73.24	18.48	6.42	0.57	0.29	0.37	0.00	0.62
	Urban	72.03	27.97	0.00	0.00	0.00	0.00	0.00	0.00
	Rural	73.36	17.57	7.04	0.63	0.32	0.41	0.00	0.68
Okara	**Total**	60.33	13.06	21.33	4.89	0.00	0.00	0.20	0.19
	Urban	72.07	9.82	13.75	4.37	0.00	0.00	0.00	0.00
	Rural	57.24	13.92	23.33	5.03	0.00	0.00	0.25	0.23
Pakpatten	**Total**	63.19	9.94	18.35	5.38	0.66	0.00	0.00	2.49
	Urban	77.61	12.42	3.25	3.70	1.36	0.00	0.00	1.66
	Rural	60.45	9.46	21.21	5.70	0.53	0.00	0.00	2.64

TABLE 4.2: PERCENT DISTRIBUTION OF HEALTH CONSULTATIONS IN PAST 2 WEEKS BY TYPE OF HEALTH PROVIDER CONSULTED.

PROVINCE & DISTRICT		HEALTH PROVIDER / CONSULTED							
		PRIVATE DISP/HOSP	PUBLIC DISP/HOSP	RHC/ BHU	HAKEEM/ HERBALIST	HOMEO PATH	CHEMIST/ PHARMACY	SAINA/ SAINI	OTHER
Rahim Yar Khan	**Total**	59.14	21.88	2.81	0.83	0.38	11.63	0.41	2.91
	Urban	48.05	40.95	0.00	0.00	0.59	10.41	0.00	0.00
	Rural	61.95	17.05	3.53	1.05	0.32	11.94	0.51	3.65
Rajanpur	**Total**	56.81	33.69	8.37	0.66	0.16	0.00	0.31	0.00
	Urban	66.96	33.04	0.00	0.00	0.00	0.00	0.00	0.00
	Rural	55.41	33.78	9.52	0.75	0.18	0.00	0.36	0.00
Rawalpindi	**Total**	55.53	39.18	1.88	0.70	0.26	1.15	0.05	1.25
	Urban	54.61	39.84	0.89	1.08	0.46	1.66	0.09	1.37
	Rural	56.70	38.35	3.14	0.21	0.00	0.49	0.00	1.11
Sahiwal	**Total**	63.04	12.26	10.67	6.95	1.90	0.14	0.00	5.04
	Urban	69.49	21.34	0.98	6.45	1.73	0.00	0.00	0.00
	Rural	61.39	9.94	13.15	7.07	1.95	0.18	0.00	6.33
Sargodha	**Total**	54.89	17.87	3.62	1.95	1.17	19.31	0.13	1.06
	Urban	50.72	26.22	0.00	1.96	2.17	17.11	0.00	1.84
	Rural	56.28	15.09	4.83	1.95	0.84	20.04	0.18	0.80
Sheikhupura	**Total**	65.37	24.90	5.96	0.94	0.61	2.03	0.03	0.16
	Urban	64.04	33.49	0.22	0.49	0.98	0.78	0.00	0.00
	Rural	66.22	19.43	9.61	1.22	0.37	2.83	0.05	0.26
Sialkot	**Total**	67.93	26.85	3.45	0.55	0.62	0.00	0.00	0.60
	Urban	67.83	32.17	0.00	0.00	0.00	0.00	0.00	0.00
	Rural	67.96	25.48	4.33	0.69	0.78	0.00	0.00	0.76
T.T.Singh	**Total**	64.06	24.73	0.45	1.06	0.61	2.72	0.11	6.26
	Urban	65.19	27.59	0.00	0.73	0.00	5.42	0.00	1.07
	Rural	63.71	23.83	0.59	1.17	0.80	1.87	0.14	7.89
Vehari	**Total**	66.41	14.99	8.37	0.00	0.42	2.90	0.00	6.90
	Urban	60.77	27.88	2.59	0.00	0.00	3.15	0.00	5.60
	Rural	69.52	7.89	11.56	0.00	0.65	2.76	0.00	7.61

NOTES:

1. Number of persons fallen sick or injured who consulted for treatment the above health providers expressed as percentage of total population fallen sick or injured during the last two weeks

TABLE 4.2: PERCENT DISTRIBUTION OF HEALTH CONSULTATIONS IN PAST 2 WEEKS BY TYPE OF HEALTH PROVIDER CONSULTED.

PROVINCE & DISTRICT		HEALTH PROVIDER / CONSULTED							
		PRIVATE DISP/HOSP	PUBLIC DISP/HOSP	RHC/ BHU	HAKEEM/ HERBALIST	HOMEO PATH	CHEMIST/ PHARMACY	SAINA/ SAINI	OTHER
SINDH	**Total**	**58.26**	**28.72**	**9.19**	**0.54**	**0.45**	**1.76**	**0.18**	**0.90**
	Urban	66.94	26.09	2.89	0.59	0.70	1.85	0.13	0.81
	Rural	45.68	32.52	18.32	0.46	0.09	1.63	0.26	1.04
Badin	**Total**	45.81	37.41	13.11	0.99	0.00	0.00	1.18	1.50
	Urban	53.12	33.75	12.96	0.00	0.00	0.00	0.00	0.17
	Rural	42.77	38.94	13.17	1.40	0.00	0.00	1.67	2.06
Dadu	**Total**	58.05	29.99	9.43	0.71	0.00	0.00	0.00	1.82
	Urban	61.15	30.19	5.91	0.77	0.00	0.00	0.00	1.98
	Rural	21.99	27.75	50.26	0.00	0.00	0.00	0.00	0.00
Ghotki	**Total**	73.00	16.08	10.41	0.51	0.00	0.00	0.00	0.00
	Urban	81.79	17.13	0.00	1.08	0.00	0.00	0.00	0.00
	Rural	71.42	15.90	12.28	0.41	0.00	0.00	0.00	0.00
Hyderabad	**Total**	58.24	25.69	9.14	0.25	0.38	0.15	0.16	6.00
	Urban	63.03	24.79	5.33	0.29	0.45	0.18	0.18	5.75
	Rural	29.64	31.02	31.90	0.00	0.00	0.00	0.00	7.44
Jaccobabad	**Total**	64.78	30.42	3.61	0.00	0.00	0.00	0.00	1.19
	Urban	59.92	36.62	0.00	0.00	0.00	0.00	0.00	3.46
	Rural	67.32	27.18	5.50	0.00	0.00	0.00	0.00	0.00
Jamshoro	**Total**	20.21	32.53	37.72	0.00	0.00	0.00	0.60	8.94
	Urban	35.12	58.64	0.00	0.00	0.00	0.00	0.00	6.24
	Rural	15.90	24.99	48.62	0.00	0.00	0.00	0.77	9.72
Karachi Central	**Total**	78.32	17.62	0.00	0.38	0.78	2.09	0.48	0.33
	Urban	78.32	17.62	0.00	0.38	0.78	2.09	0.48	0.33
	Rural	0.00	0.00	0.00	0.00	0.00	0.00	0.00	0.00
Karachi East	**Total**	84.67	9.63	0.12	0.70	1.92	2.64	0.00	0.32
	Urban	84.67	9.63	0.12	0.70	1.92	2.64	0.00	0.32
	Rural	0.00	0.00	0.00	0.00	0.00	0.00	0.00	0.00
Karachi Malir	**Total**	76.34	22.58	0.00	0.45	0.63	0.00	0.00	0.00
	Urban	79.68	19.30	0.00	0.00	1.02	0.00	0.00	0.00
	Rural	70.88	27.93	0.00	1.19	0.00	0.00	0.00	0.00
Karachi South	**Total**	77.57	15.96	0.00	1.81	0.85	3.61	0.00	0.20
	Urban	77.57	15.96	0.00	1.81	0.85	3.61	0.00	0.20
	Rural	0.00	0.00	0.00	0.00	0.00	0.00	0.00	0.00
Karachi west	**Total**	73.11	20.62	0.00	1.03	0.45	4.66	0.00	0.13
	Urban	73.28	20.04	0.00	1.12	0.49	5.06	0.00	0.00
	Rural	71.11	27.28	0.00	0.00	0.00	0.00	0.00	1.61
Kashmore	**Total**	79.23	9.16	11.61	0.00	0.00	0.00	0.00	0.00
	Urban	77.53	8.84	13.63	0.00	0.00	0.00	0.00	0.00
	Rural	79.40	9.19	11.42	0.00	0.00	0.00	0.00	0.00
Khairpur	**Total**	44.10	35.85	16.96	0.47	0.11	0.47	0.46	1.58
	Urban	41.96	37.47	16.87	0.00	0.45	0.91	0.00	2.34
	Rural	44.79	35.33	16.98	0.62	0.00	0.33	0.60	1.33
Korangi	**Total**	76.15	21.63	0.00	0.15	1.04	0.75	0.14	0.14
	Urban	76.15	21.63	0.00	0.15	1.04	0.75	0.14	0.14
	Rural	0.00	0.00	0.00	0.00	0.00	0.00	0.00	0.00

TABLE 4.2: PERCENT DISTRIBUTION OF HEALTH CONSULTATIONS IN PAST 2 WEEKS BY TYPE OF HEALTH PROVIDER CONSULTED.

PROVINCE & DISTRICT		HEALTH PROVIDER / CONSULTED							
		PRIVATE DISP/HOSP	PUBLIC DISP/HOSP	RHC/ BHU	HAKEEM/ HERBALIST	HOMEO PATH	CHEMIST/ PHARMACY	SAINA/ SAINI	OTHER
Larkana	**Total**	15.58	47.22	35.77	0.24	0.06	1.14	0.00	0.00
	Urban	19.10	61.03	18.01	0.45	0.00	1.41	0.00	0.00
	Rural	11.54	31.41	56.10	0.00	0.12	0.82	0.00	0.00
Matiari	**Total**	58.72	21.36	18.70	0.00	0.21	0.26	0.00	0.75
	Urban	76.67	23.33	0.00	0.00	0.00	0.00	0.00	0.00
	Rural	55.54	21.01	22.02	0.00	0.24	0.31	0.00	0.88
Mir Pur Khas	**Total**	61.27	37.60	0.00	0.40	0.00	0.00	0.34	0.39
	Urban	77.49	20.86	0.00	0.84	0.00	0.00	0.00	0.82
	Rural	46.87	52.49	0.00	0.00	0.00	0.00	0.65	0.00
Nowshero Feroze	**Total**	58.48	35.68	5.84	0.00	0.00	0.00	0.00	0.00
	Urban	65.16	34.84	0.00	0.00	0.00	0.00	0.00	0.00
	Rural	57.35	35.82	6.83	0.00	0.00	0.00	0.00	0.00
Sanghar	**Total**	81.14	16.46	2.00	0.40	0.00	0.00	0.00	0.00
	Urban	86.82	11.03	2.15	0.00	0.00	0.00	0.00	0.00
	Rural	78.83	18.67	1.94	0.56	0.00	0.00	0.00	0.00
Shahdadkot	**Total**	20.73	56.98	20.49	0.10	0.20	1.03	0.00	0.45
	Urban	11.16	78.25	10.16	0.00	0.00	0.00	0.00	0.44
	Rural	25.09	47.31	25.19	0.15	0.30	1.51	0.00	0.46
Shaheed Banazir Abad	**Total**	75.35	19.27	4.35	0.00	0.00	0.00	0.00	1.03
	Urban	54.58	39.13	3.63	0.00	0.00	0.00	0.00	2.66
	Rural	81.88	13.02	4.58	0.00	0.00	0.00	0.00	0.51
Shikarpur	**Total**	52.45	41.16	6.40	0.00	0.00	0.00	0.00	0.00
	Urban	46.76	53.24	0.00	0.00	0.00	0.00	0.00	0.00
	Rural	53.53	38.86	7.61	0.00	0.00	0.00	0.00	0.00
Sujawal	**Total**	25.48	40.10	19.33	0.00	0.00	13.98	0.58	0.52
	Urban	0.00	100.00	0.00	0.00	0.00	0.00	0.00	0.00
	Rural	26.38	37.98	20.02	0.00	0.00	14.48	0.60	0.54
Sukkur	**Total**	56.74	29.10	13.39	0.00	0.00	0.00	0.00	0.77
	Urban	57.03	42.52	0.00	0.00	0.00	0.00	0.00	0.45
	Rural	56.49	18.19	24.28	0.00	0.00	0.00	0.00	1.04
Tando Allah Yar	**Total**	43.17	42.48	8.19	0.86	0.00	0.00	0.34	4.96
	Urban	48.84	45.40	0.00	1.04	0.00	0.00	0.92	3.80
	Rural	39.84	40.76	13.02	0.75	0.00	0.00	0.00	5.64
Tando Muhd Khan	**Total**	39.62	31.75	23.22	0.51	0.00	0.00	0.23	4.67
	Urban	62.50	27.58	9.91	0.00	0.00	0.00	0.00	0.00
	Rural	37.65	32.11	24.37	0.55	0.00	0.00	0.25	5.07
Tharparkar	**Total**	22.09	76.64	0.75	0.00	0.00	0.00	0.53	0.00
	Urban	15.94	76.09	7.97	0.00	0.00	0.00	0.00	0.00
	Rural	22.72	76.70	0.00	0.00	0.00	0.00	0.58	0.00
Thatta	**Total**	35.65	31.80	11.76	4.02	0.58	15.61	0.00	0.58
	Urban	37.52	56.08	2.08	3.33	0.00	0.00	0.00	0.98
	Rural	35.23	26.23	13.98	4.18	0.71	19.19	0.00	0.48
Umer Kot	**Total**	52.95	37.83	3.64	0.00	0.00	0.00	4.65	0.93
	Urban	80.91	2.25	0.00	0.00	0.00	0.00	11.23	5.62
	Rural	47.38	44.91	4.37	0.00	0.00	0.00	3.34	0.00

TABLE 4.2: PERCENT DISTRIBUTION OF HEALTH CONSULTATIONS IN PAST 2 WEEKS BY TYPE OF HEALTH PROVIDER CONSULTED.

PROVINCE & DISTRICT		HEALTH PROVIDER / CONSULTED							
		PRIVATE DISP/HOSP	PUBLIC DISP/HOSP	RHC/ BHU	HAKEEM/ HERBALIST	HOMEO PATH	CHEMIST/ PHARMACY	SAINA/ SAINI	OTHER
Khyber Pakhtunkhwa	**Total**	**45.46**	**33.26**	**6.51**	**0.66**	**0.27**	**12.98**	**0.32**	**0.53**
	Urban	45.05	38.05	0.56	0.63	0.36	14.03	0.25	1.07
	Rural	45.56	32.15	7.90	0.66	0.25	12.74	0.34	0.41
Abbottabad	**Total**	64.09	30.53	3.06	0.24	0.00	1.05	0.07	0.96
	Urban	62.23	37.77	0.00	0.00	0.00	0.00	0.00	0.00
	Rural	64.40	29.30	3.58	0.28	0.00	1.22	0.08	1.13
Bajaur	**Total**	47.41	45.68	0.00	0.00	0.00	6.91	0.00	0.00
	Urban	0.00	0.00	0.00	0.00	0.00	0.00	0.00	0.00
	Rural	47.41	45.68	0.00	0.00	0.00	6.91	0.00	0.00
Bannu	**Total**	59.20	25.89	10.96	0.36	0.59	3.00	0.00	0.00
	Urban	51.84	48.16	0.00	0.00	0.00	0.00	0.00	0.00
	Rural	59.52	24.91	11.44	0.37	0.61	3.14	0.00	0.00
Batagram	**Total**	25.47	67.80	0.74	0.93	0.00	3.90	0.95	0.21
	Urban	0.00	0.00	0.00	0.00	0.00	0.00	0.00	0.00
	Rural	25.47	67.80	0.74	0.93	0.00	3.90	0.95	0.21
Bonair	**Total**	31.13	29.69	15.30	0.18	0.00	23.54	0.16	0.00
	Urban	0.00	0.00	0.00	0.00	0.00	0.00	0.00	0.00
	Rural	31.13	29.69	15.30	0.18	0.00	23.54	0.16	0.00
Charsada	**Total**	40.44	35.33	5.67	0.43	0.00	17.24	0.11	0.78
	Urban	51.00	44.01	0.00	0.35	0.00	4.64	0.00	0.00
	Rural	36.70	32.26	7.67	0.46	0.00	21.69	0.15	1.06
Chitral	**Total**	19.58	63.66	16.00	0.75	0.00	0.00	0.00	0.00
	Urban	8.69	91.31	0.00	0.00	0.00	0.00	0.00	0.00
	Rural	21.02	60.00	18.12	0.85	0.00	0.00	0.00	0.00
D.I.Khan	**Total**	51.66	34.39	8.32	2.17	0.22	2.22	0.00	1.02
	Urban	48.14	47.85	0.00	2.23	0.00	0.00	0.00	1.78
	Rural	52.27	32.05	9.77	2.16	0.26	2.61	0.00	0.88
Hangu	**Total**	44.50	15.46	4.53	0.00	0.13	35.38	0.00	0.00
	Urban	50.72	31.41	0.00	0.00	1.27	16.60	0.00	0.00
	Rural	43.78	13.61	5.06	0.00	0.00	37.56	0.00	0.00
Haripur	**Total**	72.43	18.74	5.75	0.34	0.27	1.53	0.00	0.94
	Urban	82.55	11.87	0.00	0.00	2.79	2.79	0.00	0.00
	Rural	71.35	19.47	6.36	0.38	0.00	1.40	0.00	1.04
Karak	**Total**	78.24	10.21	6.75	0.00	0.00	4.23	0.00	0.56
	Urban	60.00	20.00	0.00	0.00	0.00	20.00	0.00	0.00
	Rural	79.07	9.77	7.06	0.00	0.00	3.52	0.00	0.59
Khyber	**Total**	14.87	85.13	0.00	0.00	0.00	0.00	0.00	0.00
	Urban	0.00	100.00	0.00	0.00	0.00	0.00	0.00	0.00
	Rural	17.29	82.71	0.00	0.00	0.00	0.00	0.00	0.00
Kohat	**Total**	51.17	18.92	7.50	0.32	0.00	20.41	0.95	0.72
	Urban	51.00	25.91	0.00	1.28	0.00	20.54	1.28	0.00
	Rural	51.22	16.55	10.06	0.00	0.00	20.36	0.84	0.97
Kohistan	**Total**	43.51	33.85	16.94	4.48	0.19	0.78	0.25	0.00
	Urban	0.00	0.00	0.00	0.00	0.00	0.00	0.00	0.00
	Rural	43.51	33.85	16.94	4.48	0.19	0.78	0.25	0.00

TABLE 4.2: PERCENT DISTRIBUTION OF HEALTH CONSULTATIONS IN PAST 2 WEEKS BY TYPE OF HEALTH PROVIDER CONSULTED.

PROVINCE & DISTRICT		HEALTH PROVIDER / CONSULTED							
		PRIVATE DISP/HOSP	PUBLIC DISP/HOSP	RHC/ BHU	HAKEEM/ HERBALIST	HOMEO PATH	CHEMIST/ PHARMACY	SAINA/ SAINI	OTHER
Kurram	**Total**	64.15	29.47	4.06	0.21	0.00	2.11	0.00	0.00
	Urban	0.00	0.00	0.00	0.00	0.00	0.00	0.00	0.00
	Rural	64.15	29.47	4.06	0.21	0.00	2.11	0.00	0.00
Lakki Marwat	**Total**	54.36	15.58	25.11	0.17	0.27	4.51	0.00	0.00
	Urban	40.92	54.53	0.00	0.00	4.55	0.00	0.00	0.00
	Rural	55.21	13.13	26.69	0.18	0.00	4.79	0.00	0.00
Lower Dir	**Total**	45.23	46.46	1.92	0.00	0.28	5.85	0.00	0.27
	Urban	77.78	22.22	0.00	0.00	0.00	0.00	0.00	0.00
	Rural	44.87	46.73	1.94	0.00	0.28	5.92	0.00	0.27
Malakand	**Total**	30.68	53.15	10.93	0.00	0.35	4.47	0.00	0.43
	Urban	20.00	80.00	0.00	0.00	0.00	0.00	0.00	0.00
	Rural	31.48	51.12	11.75	0.00	0.38	4.80	0.00	0.46
Mansehra	**Total**	35.57	53.09	9.21	0.27	0.37	0.82	0.37	0.31
	Urban	68.95	31.05	0.00	0.00	0.00	0.00	0.00	0.00
	Rural	34.05	54.09	9.63	0.28	0.38	0.86	0.38	0.32
Mardan	**Total**	46.42	24.75	2.06	0.65	0.11	25.40	0.28	0.34
	Urban	55.23	25.63	0.00	1.50	0.42	15.46	0.55	1.21
	Rural	44.82	24.59	2.43	0.50	0.05	27.19	0.23	0.19
Mohmand	**Total**	29.34	17.80	12.45	0.32	0.00	39.78	0.32	0.00
	Urban	0.00	0.00	0.00	0.00	0.00	0.00	0.00	0.00
	Rural	29.34	17.80	12.45	0.32	0.00	39.78	0.32	0.00
North Waziristan	**Total**	88.04	11.96	0.00	0.00	0.00	0.00	0.00	0.00
	Urban	0.00	0.00	0.00	0.00	0.00	0.00	0.00	0.00
	Rural	88.04	11.96	0.00	0.00	0.00	0.00	0.00	0.00
Nowshera	**Total**	30.94	37.59	2.07	0.81	0.33	27.71	0.55	0.00
	Urban	26.46	46.89	0.35	0.82	0.00	25.13	0.35	0.00
	Rural	32.47	34.40	2.66	0.81	0.44	28.60	0.61	0.00
Orakzai	**Total**	45.46	22.17	8.38	1.38	1.75	17.87	2.90	0.08
	Urban	0.00	0.00	0.00	0.00	0.00	0.00	0.00	0.00
	Rural	45.46	22.17	8.38	1.38	1.75	17.87	2.90	0.08
Peshawar	**Total**	41.22	34.64	3.04	0.49	0.48	18.36	0.26	1.52
	Urban	41.96	36.01	0.98	0.59	0.39	18.19	0.10	1.80
	Rural	40.31	32.97	5.57	0.37	0.59	18.58	0.46	1.17
Shangla	**Total**	46.49	24.79	5.75	0.00	0.89	22.09	0.00	0.00
	Urban	0.00	0.00	0.00	0.00	0.00	0.00	0.00	0.00
	Rural	46.49	24.79	5.75	0.00	0.89	22.09	0.00	0.00
South Waziristan	**Total**	47.62	48.88	0.86	1.49	0.00	1.14	0.00	0.00
	Urban	0.00	0.00	0.00	0.00	0.00	0.00	0.00	0.00
	Rural	47.62	48.88	0.86	1.49	0.00	1.14	0.00	0.00
Swabi	**Total**	42.26	43.95	4.12	0.69	0.20	8.49	0.13	0.16
	Urban	63.45	30.06	1.58	0.73	1.36	2.83	0.00	0.00
	Rural	38.56	46.37	4.57	0.69	0.00	9.47	0.15	0.19
Swat	**Total**	38.11	50.01	3.84	0.41	0.51	6.01	1.10	0.00
	Urban	37.87	54.11	0.00	0.00	0.00	6.81	1.21	0.00
	Rural	38.21	48.39	5.36	0.57	0.71	5.70	1.06	0.00

TABLE 4.2: PERCENT DISTRIBUTION OF HEALTH CONSULTATIONS IN PAST 2 WEEKS BY TYPE OF HEALTH PROVIDER CONSULTED.

PROVINCE & DISTRICT		HEALTH PROVIDER / CONSULTED							
		PRIVATE DISP/HOSP	PUBLIC DISP/HOSP	RHC/ BHU	HAKEEM/ HERBALIST	HOMEO PATH	CHEMIST/ PHARMACY	SAINA/ SAINI	OTHER
Tank	**Total**	27.20	35.48	34.34	0.00	0.00	0.79	1.41	0.79
	Urban	73.33	13.33	0.00	0.00	0.00	6.67	0.00	6.67
	Rural	21.01	38.45	38.94	0.00	0.00	0.00	1.60	0.00
Tor gah	**Total**	26.40	16.01	40.77	5.69	0.00	8.71	2.42	0.00
	Urban	0.00	0.00	0.00	0.00	0.00	0.00	0.00	0.00
	Rural	26.40	16.01	40.77	5.69	0.00	8.71	2.42	0.00
Upper Dir	**Total**	36.28	46.95	6.18	0.67	1.21	4.37	2.63	1.73
	Urban	64.29	28.57	0.00	0.00	0.00	0.00	7.14	0.00
	Rural	34.55	48.08	6.56	0.71	1.28	4.64	2.35	1.83

TABLE 4.2: PERCENT DISTRIBUTION OF HEALTH CONSULTATIONS IN PAST 2 WEEKS BY TYPE OF HEALTH PROVIDER CONSULTED.

PROVINCE & DISTRICT		HEALTH PROVIDER / CONSULTED							
		PRIVATE	PUBLIC	RHC/	HAKEEM/	HOMEO	CHEMIST/	SAINA/	OTHER
		DISP/HOSP	DISP/HOSP	BHU	HERBALIST	PATH	PHARMACY	SAINI	
Balochistan	**Total**	**50.27**	**38.59**	**6.83**	**0.97**	**0.19**	**1.65**	**0.78**	**0.71**
	Urban	49.88	45.01	1.33	0.47	0.54	1.80	0.00	0.98
	Rural	50.47	35.43	9.55	1.22	0.01	1.58	1.16	0.58
Awaran	**Total**	0.00	0.00	0.00	0.00	0.00	0.00	0.00	0.00
	Urban	0.00	0.00	0.00	0.00	0.00	0.00	0.00	0.00
	Rural	0.00	0.00	0.00	0.00	0.00	0.00	0.00	0.00
Barkhan	**Total**	72.17	26.27	0.19	0.60	0.00	0.00	0.77	0.00
	Urban	46.15	53.85	0.00	0.00	0.00	0.00	0.00	0.00
	Rural	85.58	12.05	0.29	0.91	0.00	0.00	1.17	0.00
Dera Bugti	**Total**	50.36	46.98	2.66	0.00	0.00	0.00	0.00	0.00
	Urban	60.00	40.00	0.00	0.00	0.00	0.00	0.00	0.00
	Rural	48.29	48.48	3.23	0.00	0.00	0.00	0.00	0.00
Duki	**Total**	48.09	45.55	2.95	2.84	0.00	0.00	0.57	0.00
	Urban	21.43	71.43	7.14	0.00	0.00	0.00	0.00	0.00
	Rural	51.29	42.45	2.45	3.18	0.00	0.00	0.64	0.00
Gwadar	**Total**	40.30	53.98	4.16	0.58	0.17	0.00	0.00	0.81
	Urban	45.96	51.42	1.63	0.00	0.00	0.00	0.00	0.99
	Rural	14.42	65.69	15.70	3.24	0.96	0.00	0.00	0.00
Harnai	**Total**	60.30	24.30	15.41	0.00	0.00	0.00	0.00	0.00
	Urban	67.07	32.93	0.00	0.00	0.00	0.00	0.00	0.00
	Rural	53.51	15.64	30.85	0.00	0.00	0.00	0.00	0.00
Jafarabad	**Total**	44.15	51.92	3.93	0.00	0.00	0.00	0.00	0.00
	Urban	45.15	54.85	0.00	0.00	0.00	0.00	0.00	0.00
	Rural	43.76	50.78	5.46	0.00	0.00	0.00	0.00	0.00
Bolan	**Total**	43.40	48.54	7.36	0.00	0.00	0.70	0.00	0.00
	Urban	76.76	23.24	0.00	0.00	0.00	0.00	0.00	0.00
	Rural	36.91	53.46	8.79	0.00	0.00	0.83	0.00	0.00
Kalat	**Total**	45.02	25.39	25.90	2.72	0.00	0.00	0.98	0.00
	Urban	0.00	0.00	0.00	0.00	0.00	0.00	0.00	0.00
	Rural	45.02	25.39	25.90	2.72	0.00	0.00	0.98	0.00
Ketch	**Total**	28.43	60.98	9.56	1.02	0.00	0.00	0.00	0.00
	Urban	34.59	61.17	2.32	1.91	0.00	0.00	0.00	0.00
	Rural	23.72	60.84	15.10	0.34	0.00	0.00	0.00	0.00
Kharan	**Total**	40.96	21.29	29.46	0.00	0.00	0.00	1.55	6.73
	Urban	60.58	33.06	0.00	0.00	0.00	0.00	0.00	6.36
	Rural	34.65	17.51	38.94	0.00	0.00	0.00	2.05	6.86
Khuzdar	**Total**	0.00	22.08	77.92	0.00	0.00	0.00	0.00	0.00
	Urban	0.00	0.00	0.00	0.00	0.00	0.00	0.00	0.00
	Rural	0.00	22.08	77.92	0.00	0.00	0.00	0.00	0.00
Kohlu	**Total**	52.65	47.35	0.00	0.00	0.00	0.00	0.00	0.00
	Urban	40.00	60.00	0.00	0.00	0.00	0.00	0.00	0.00
	Rural	54.95	45.05	0.00	0.00	0.00	0.00	0.00	0.00
Lasbilla	**Total**	23.94	50.60	16.95	0.00	1.34	4.79	0.00	2.39
	Urban	27.20	57.26	0.00	0.00	3.39	12.15	0.00	0.00
	Rural	21.82	46.27	27.98	0.00	0.00	0.00	0.00	3.94

TABLE 4.2: PERCENT DISTRIBUTION OF HEALTH CONSULTATIONS IN PAST 2 WEEKS BY TYPE OF HEALTH PROVIDER CONSULTED.

PROVINCE & DISTRICT		HEALTH PROVIDER / CONSULTED							
		PRIVATE DISP/HOSP	PUBLIC DISP/HOSP	RHC/ BHU	HAKEEM/ HERBALIST	HOMEO PATH	CHEMIST/ PHARMACY	SAINA/ SAINI	OTHER
Loralai	**Total**	34.51	64.57	0.49	0.15	0.00	0.00	0.27	0.00
	Urban	29.59	70.41	0.00	0.00	0.00	0.00	0.00	0.00
	Rural	40.44	57.53	1.08	0.34	0.00	0.00	0.60	0.00
Mastung	**Total**	26.52	54.89	8.22	8.07	0.00	0.80	0.66	0.84
	Urban	8.30	91.70	0.00	0.00	0.00	0.00	0.00	0.00
	Rural	34.34	39.10	11.74	11.52	0.00	1.14	0.95	1.20
Nasirabad	**Total**	70.25	23.33	4.06	0.79	0.00	0.00	1.57	0.00
	Urban	96.23	3.77	0.00	0.00	0.00	0.00	0.00	0.00
	Rural	64.50	27.67	4.96	0.96	0.00	0.00	1.92	0.00
Nushki	**Total**	52.10	21.45	17.74	1.85	0.00	0.00	0.84	6.01
	Urban	57.44	23.01	0.00	0.00	0.00	0.00	0.00	19.55
	Rural	50.29	20.92	23.75	2.48	0.00	0.00	1.12	1.43
Pashin	**Total**	71.00	13.39	2.54	0.25	0.00	11.24	1.58	0.00
	Urban	55.04	25.05	19.90	0.00	0.00	0.00	0.00	0.00
	Rural	72.83	12.05	0.55	0.28	0.00	12.53	1.76	0.00
Qilla Abdullah	**Total**	69.26	14.03	9.31	2.15	0.00	1.00	2.67	1.58
	Urban	77.14	18.74	0.00	0.00	0.00	4.12	0.00	0.00
	Rural	67.81	13.17	11.02	2.55	0.00	0.42	3.17	1.87
Qilla Saifullah	**Total**	97.28	2.72	0.00	0.00	0.00	0.00	0.00	0.00
	Urban	0.00	0.00	0.00	0.00	0.00	0.00	0.00	0.00
	Rural	97.28	2.72	0.00	0.00	0.00	0.00	0.00	0.00
Quetta	**Total**	66.38	28.75	0.86	0.39	0.54	1.92	0.52	0.64
	Urban	62.16	32.87	0.48	0.53	1.06	1.63	0.00	1.26
	Rural	70.73	24.51	1.25	0.24	0.00	2.22	1.05	0.00
Shaheed sikandarabad	**Total**	7.87	69.09	21.75	1.29	0.00	0.00	0.00	0.00
	Urban	0.00	0.00	0.00	0.00	0.00	0.00	0.00	0.00
	Rural	7.87	69.09	21.75	1.29	0.00	0.00	0.00	0.00
Sherani	**Total**	32.73	46.77	10.01	3.50	0.00	0.00	6.99	0.00
	Urban	0.00	0.00	0.00	0.00	0.00	0.00	0.00	0.00
	Rural	32.73	46.77	10.01	3.50	0.00	0.00	6.99	0.00
Sibbi	**Total**	39.47	45.19	7.40	0.00	0.00	4.58	0.00	3.36
	Urban	69.07	15.85	0.00	0.00	0.00	8.70	0.00	6.39
	Rural	6.55	77.81	15.63	0.00	0.00	0.00	0.00	0.00
Sohbatpur	**Total**	52.86	47.14	0.00	0.00	0.00	0.00	0.00	0.00
	Urban	0.00	0.00	0.00	0.00	0.00	0.00	0.00	0.00
	Rural	52.86	47.14	0.00	0.00	0.00	0.00	0.00	0.00
Washuk	**Total**	28.91	37.58	29.25	2.05	0.00	2.21	0.00	0.00
	Urban	25.85	64.45	9.70	0.00	0.00	0.00	0.00	0.00
	Rural	29.74	30.29	34.55	2.60	0.00	2.81	0.00	0.00
Ziarat	**Total**	69.48	24.67	5.85	0.00	0.00	0.00	0.00	0.00
	Urban	0.00	0.00	0.00	0.00	0.00	0.00	0.00	0.00
	Rural	69.48	24.67	5.85	0.00	0.00	0.00	0.00	0.00

NOTES:

1. The Panjgur,Chaghi,Musa Khel,Zhob and Jhal Magsi districts have been dropped from the scope of the survey due to law and order situation.

TABLE 4.3: PERCENTAGE OF CHILDREN AGED 12-23 MONTHS THAT HAVE BEEN IMMUNISED
A: BASED ON RECALL - AT LEAST ONE IMMUNISATION

PROVINCE & DISTRICT	URBAN			RURAL			TOTAL		
	MALE	FEMALE	TOTAL	MALE	FEMALE	TOTAL	MALE	FEMALE	TOTAL
Pakistan	**98**	**98**	**98**	**97**	**97**	**97**	**98**	**97**	**98**
Punjab	**98**	**99**	**99**	**98**	**98**	**98**	**98**	**98**	**98**
1. Attock	100	100	100	98	100	99	98	100	99
2. Bahawalnagar	100	96	98	97	95	96	97	95	96
3. Bahawalpur	100	97	99	99	99	99	99	99	99
4. Bhakhar	88	100	94	97	99	98	96	99	98
5. Chakwal	100	100	100	100	100	100	100	100	100
6. Chiniot	100	100	100	98	98	98	99	99	99
7. D. G. Khan	100	100	100	92	96	94	93	96	94
8. Faisalabad	100	100	100	98	96	97	99	98	99
9. Gujranwala	100	99	99	100	99	99	100	99	99
10. Gujrat	100	100	100	100	100	100	100	100	100
11. Hafizabad	100	94	97	95	100	98	97	98	98
12. Islamabad	100	100	100	100	98	99	100	99	99
13. Jehlum	100	100	100	100	99	99	100	99	99
14. Jhang	100	100	100	99	98	98	99	98	99
15. Kasur	100	97	98	95	95	95	96	95	96
16. Khanewal	95	93	94	93	94	94	94	94	94
17. Khushab	100	100	100	97	97	97	98	98	98
18. Lahore	98	99	98	0	0	0	98	99	98
19. Layyah	100	100	100	100	100	100	100	100	100
20. Lodhran	100	100	100	95	98	96	96	99	97
21. Mandi Bahuddin	100	100	100	98	96	97	98	97	98
22. Mianwali	96	100	97	100	100	100	99	100	100
23. Multan	96	99	97	96	95	95	96	97	96
24. Muzaffar Garh	91	93	92	97	98	97	96	97	97
25. Nankana Sahib	100	100	100	98	98	98	98	99	99
26. Narowal	100	100	100	100	100	100	100	100	100
27. Okara	100	100	100	100	100	100	100	100	100
28. Pakpatten	100	100	100	99	100	99	99	100	99
29. Rahim Yar Khan	96	100	98	99	99	99	99	99	99
30. Rajanpur	100	87	95	99	96	98	99	95	97
31. Rawalpindi	98	100	99	100	100	100	99	100	100
32. Sahiwal	100	100	100	100	100	100	100	100	100
33. Sargodha	100	100	100	100	100	100	100	100	100
34. Sheikhupura	100	100	100	100	100	100	100	100	100
35. Sialkot	85	100	93	100	99	99	96	99	98
36. Toba Tek Singh	100	100	100	100	100	100	100	100	100
37. Vehari	100	100	100	100	99	99	100	99	100

NOTES:

1. Note that even the record-based measure cannot be based exclusively on vaccinations recorded on the health card, since it is not possible to identify the source of the information on each antigen. Instead, it is calculated for all children who had a health card, using all immunizations reported, whether or not these were recorded on the card. It is likely that most will have been recorded on the card.
2. Full immunization means that the child has received: BCG, DPT1, DPT2, DPT3, Polio1, Polio2, Polio3, H.B1, H.B2, H.B3 and measles .

TABLE 4.3: PERCENTAGE OF CHILDREN AGED 12-23 MONTHS THAT HAVE BEEN IMMUNISED
A: BASED ON RECALL - AT LEAST ONE IMMUNISATION

PROVINCE & DISTRICT	URBAN			RURAL			TOTAL		
	MALE	FEMALE	TOTAL	MALE	FEMALE	TOTAL	MALE	FEMALE	TOTAL
Sindh	**98**	**97**	**97**	**97**	**97**	**97**	**97**	**97**	**97**
1. Badin	100	100	100	96	100	98	97	100	98
2. Dadu	100	89	94	99	95	97	99	93	96
3. Ghotki	100	100	100	99	100	99	99	100	99
4. Hyderabad	100	97	98	100	100	100	100	97	99
5. Jacobabad	100	92	95	99	96	97	99	95	97
6. Jamshoro	100	100	100	100	100	100	100	100	100
7. Karachi Central	97	100	98	0	0	0	97	100	98
8. Karachi East	95	99	96	0	0	0	95	99	96
9. Karachi Malir	100	100	100	100	100	100	100	100	100
10. Karachi South	100	100	100	0	0	0	100	100	100
11. Karachi west	97	95	96	100	100	100	97	95	96
12. Kashmore	100	100	100	97	95	96	97	97	97
13. Khairpur	100	93	96	93	93	93	94	93	94
14. korangi	92	93	93	0	0	0	92	93	93
15. Larkana	100	100	100	100	100	100	100	100	100
16. Matiari	100	81	94	100	100	100	100	97	99
17. Mir Pur Khas	100	100	100	100	98	99	100	99	99
18. Nowshero Feroze	100	100	100	100	95	98	100	96	98
19. Sanghar	100	100	100	94	93	94	95	95	95
20. Shahdadkot	100	100	100	94	100	96	96	100	97
21. Shaheed Benazirabad	100	100	100	100	100	100	100	100	100
22. Shikarpur	100	100	100	98	98	98	98	98	98
23. Sujawal	0	0	0	91	95	93	91	95	93
24. Sukkur	90	81	86	96	97	97	93	92	93
25. Tando Allah Yar	100	100	100	92	100	95	95	100	97
26. Tando Muhammad Khan	100	100	100	95	97	96	96	98	97
27. Tharparkar	100	100	100	100	100	100	100	100	100
28. Thatta	100	100	100	93	100	96	95	100	97
29. Umer Kot	94	96	95	100	100	100	99	99	99

TABLE 4.3: PERCENTAGE OF CHILDREN AGED 12-23 MONTHS THAT HAVE BEEN IMMUNISED
A: BASED ON RECALL - AT LEAST ONE IMMUNISATION

PROVINCE & DISTRICT	URBAN			RURAL			TOTAL		
	MALE	FEMALE	TOTAL	MALE	FEMALE	TOTAL	MALE	FEMALE	TOTAL
Khyber Pakhtunkhwa	**99**	**98**	**99**	**97**	**97**	**97**	**98**	**97**	**97**
1. Abbottabad	100	100	100	100	100	100	100	100	100
2. Bajur	0	0	0	100	99	100	100	99	100
3. Bannu	100	100	100	100	77	86	100	78	87
4. Batagram	0	0	0	100	100	100	100	100	100
5. Buner	0	0	0	99	96	98	99	96	98
6. Charsadda	100	100	100	99	98	99	99	99	99
7. Chitral	100	100	100	100	100	100	100	100	100
8. D. I. Khan	100	100	100	100	100	100	100	100	100
9. Hangu	100	100	100	100	100	100	100	100	100
10. Haripur	100	100	100	100	100	100	100	100	100
11. Karak	100	0	100	81	82	81	83	82	83
12. Khyber	100	100	100	98	98	98	98	98	98
13. Kohat	100	100	100	100	100	100	100	100	100
14. Kohistan	0	0	0	99	97	98	99	97	98
15. Kurram	0	0	0	99	98	98	99	98	98
16. Lakki Marwat	0	100	100	78	85	80	78	86	81
17. Lower Dir	100	100	100	90	93	91	90	93	91
18. Malakand PA	100	100	100	100	100	100	100	100	100
19. Manshera	100	100	100	100	100	100	100	100	100
20. Mardan	100	100	100	100	99	100	100	99	100
21. Mohmand	0	0	0	97	98	98	97	98	98
22. North Waziristan	0	0	0	56	43	49	56	43	49
23. Nowsehra	100	100	100	100	100	100	100	100	100
24. orakzai	0	0	0	100	100	100	100	100	100
25. Peshawar	99	96	97	98	100	99	98	98	98
26. Shangla	0	0	0	100	100	100	100	100	100
27. South Waziristan	0	0	0	100	96	98	100	96	98
28. Swabi	100	100	100	98	99	98	98	99	99
29. Swat	100	100	100	100	100	100	100	100	100
30. Tank	0	100	100	86	100	91	86	100	92
31. Tor Garh	0	0	0	37	58	46	37	58	46
32. Upper Dir	0	0	0	96	91	93	96	91	93

TABLE 4.3: PERCENTAGE OF CHILDREN AGED 12-23 MONTHS THAT HAVE BEEN IMMUNISED
A: BASED ON RECALL - AT LEAST ONE IMMUNISATION

PROVINCE & DISTRICT	URBAN			RURAL			TOTAL		
	MALE	FEMALE	TOTAL	MALE	FEMALE	TOTAL	MALE	FEMALE	TOTAL
Balochistan	**97**	**91**	**94**	**94**	**91**	**93**	**94**	**91**	**93**
1. Awaran	100	100	100	100	100	100	100	100	100
2. Barkhan	100	100	100	100	100	100	100	100	100
3. Dera Bugti	50	89	82	71	77	75	66	82	78
4. Duki	100	0	100	91	95	93	92	95	93
5. Gwader	100	100	100	100	100	100	100	100	100
6. harnai	100	100	100	96	60	88	97	81	91
7. Jaffarabad	100	100	100	83	74	79	87	80	84
8. Bolan/ Kachhi	100	100	100	100	100	100	100	100	100
9. Kalat	0	0	0	89	97	93	89	97	93
10. kech/turbat	100	100	100	96	100	98	97	100	99
11. Kharan	100	87	91	100	100	100	100	97	98
12. Khuzdar	0	0	0	99	99	99	99	99	99
13. Kohlu	0	0	0	0	0	0		0	0
14. Lasbela	100	79	90	100	100	100	100	89	94
15. Loralai	73	86	82	93	99	96	89	94	92
16. Mastung	100	100	100	86	100	91	88	100	92
17. Nasirabad/ Tamboo	100	100	100	100	100	100	100	100	100
18. Nushki	100	100	100	100	99	100	100	99	100
19. Pishin	100	100	100	95	97	96	96	98	97
20. Killa Abdullah	76	55	65	98	87	92	95	82	88
21. Killa Saifullah	0	0	0	92	86	89	92	86	89
22. Quetta	100	96	98	94	93	94	96	94	95
23. Shaheed Sikandar abad	0	0	0	100	100	100	100	100	100
24. Sheerani	0	0	0	89	72	75	89	72	75
25. Sibbi	100	100	100	100	100	100	100	100	100
26. Sohbatpur	100	100	100	89	76	80	91	77	82
27. Washuk	33	75	57	48	54	50	46	59	51
28. Ziarat	100	100	100	90	100	96	90	100	96

NOTE:
1. The Panjgur,Chaghi,Musa Khel,Zhob and Jhal Magsi districts have been dropped from the scope of the survey due to law and order situation.

TABLE 4.3: PERCENTAGE OF CHILDREN AGED 12-23 MONTHS THAT HAVE BEEN IMMUNIZED

B: BASED ON RECORD - FULLY IMMUNIZED

PROVINCE & DISTRICT	URBAN			RURAL			TOTAL			RANK	TOTAL 14-15
	MALE	FEMALE	TOTAL	MALE	FEMALE	TOTAL	MALE	FEMALE	TOTAL		
Pakistan	**72**	**74**	**73**	**69**	**69**	**69**	**70**	**71**	**70**		**60**
Punjab	**80**	**82**	**81**	**81**	**81**	**81**	**81**	**81**	**81**		**70**
1. Attock	85	100	92	87	80	84	87	85	86	15	83
2. Bahawalnagar	70	69	70	61	65	63	63	66	65	37	71
3. Bahawalpur	80	85	82	72	79	75	74	81	77	28	53
4. Bhakhar	88	82	85	80	83	82	81	83	82	22	72
5. Chakwal	89	87	88	97	94	96	96	93	95	5	85
6. Chiniot	73	71	72	85	81	83	81	77	79	26	66
7. D. G. Khan	94	100	96	84	89	86	85	90	87	13	60
8. Faisalabad	81	78	80	79	74	77	80	76	78	27	58
9. Gujranwala	59	69	65	87	86	86	71	76	74	30	74
10. Gujrat	93	100	97	95	100	98	95	100	97	2	92
11. Hafizabad	83	89	86	78	79	79	80	83	82	23	71
12. Islamabad	100	97	99	95	91	93	97	94	96	3	79
13. Jehlum	100	100	100	81	81	81	85	85	85	16	92
14. Jhang	71	72	71	74	67	71	73	69	71	33	45
15. Kasur	87	95	92	70	71	71	74	78	76	29	86
16. Khanewal	77	81	79	78	81	79	78	81	79	25	57
17. Khushab	93	84	89	97	82	89	95	83	89	11	66
18. Lahore	78	85	81	0	0	0	78	85	81	24	79
19. Layyah	100	100	100	100	95	98	100	96	98	1	82
20. Lodhran	88	73	80	65	79	71	68	78	72	32	55
21. Mandi Bahuddin	100	92	96	83	78	81	87	81	84	19	81
22. Mianwali	93	100	95	86	95	91	87	96	91	9	74
23. Multan	74	67	71	68	67	67	70	67	69	34	65
24. Muzaffar Garh	68	67	67	64	72	68	64	71	68	35	47
25. Nankana Sahib	79	78	78	82	89	86	82	87	84	17	93
26. Narowal	100	89	92	97	94	95	97	92	95	4	85
27. Okara	81	54	74	89	83	86	87	80	83	21	79
28. Pakpatten	92	65	78	70	75	73	74	73	73	31	74
29. Rahim Yar Khan	66	78	72	66	59	63	66	63	65	36	39
30. Rajanpur	100	87	95	93	86	90	94	86	90	10	68
31. Rawalpindi	90	88	89	95	94	95	92	91	92	7	81
32. Sahiwal	75	86	82	85	84	84	84	85	84	18	89
33. Sargodha	86	86	86	91	87	89	89	86	88	12	68
34. Sheikhupura	93	89	91	87	80	84	89	83	86	14	78
35. Sialkot	82	100	91	92	97	95	90	98	94	6	93
36. Toba Tek Singh	92	88	91	95	89	92	94	89	91	8	69
37. Vehari	72	74	73	86	85	85	84	83	83	20	73

identify the source of the information on each antigen. Instead, it is calculated for all children who had a health card, using all immunizations reported, whether or not these were recorded on the card. It is likely that most will have been recorded on the card.

2. Full immunization means that the child has received: BCG, DPT1, DPT2, DPT3, Polio1, Polio2, Polio3, H.B1, H.B2, H.B3 and measles

TABLE 4.3: PERCENTAGE OF CHILDREN AGED 12-23 MONTHS THAT HAVE BEEN IMMUNIZED

B: BASED ON RECORD - FULLY IMMUNIZED

PROVINCE & DISTRICT	URBAN			RURAL			TOTAL			RANK	TOTAL 14-15
	MALE	FEMALE	TOTAL	MALE	FEMALE	TOTAL	MALE	FEMALE	TOTAL		
Sindh	**56**	**59**	**58**	**47**	**47**	**47**	**51**	**52**	**52**		**45**
1. Badin	55	30	42	42	47	45	44	44	44	21	42
2. Dadu	96	85	90	81	64	73	85	71	78	2	72
3. Ghotki	83	84	83	65	68	66	68	72	70	4	9
4. Hyderabad	61	59	60	44	37	41	58	56	57	13	46
5. Jacobabad	44	33	37	17	13	14	20	16	17	29	6
6. Jamshoro	64	85	78	46	46	46	51	65	59	10	47
7. Karachi Central	68	58	64	0	0	0	68	58	64	8	74
8. Karachi East	45	63	52	0	0	0	45	63	52	15	
9. Karachi Malir	52	64	57	66	66	66	60	65	62	9	
10. Karachi South	75	69	72	0	0	0	75	69	72	3	
11. Karachi west	55	61	58	45	32	38	55	60	57	11	
12. Kashmore	0	11	6	26	43	34	19	32	26	26	9
13. Khairpur	67	46	55	40	48	44	44	48	46	20	21
14. korangi	49	52	50	0	0	0	49	52	50	17	
15. Larkana	61	80	68	72	70	71	64	76	69	5	56
16. Matiari	51	62	54	67	70	68	64	68	66	7	46
17. Mir Pur Khas	49	79	66	30	42	36	33	50	42	22	50
18. Nowshero Feroze	76	59	67	91	83	87	89	79	84	1	51
19. Sanghar	72	96	86	68	54	61	69	63	66	6	25
20. Shahdadkot	41	45	42	51	75	60	48	65	54	14	44
21. Shaheed Benazirabad	54	68	62	50	40	46	51	49	50	18	34
22. Shikarpur	17	55	31	26	30	28	23	34	29	25	15
23. Sujawal	0	0	0	46	53	49	46	53	49	19	37
24. Sukkur	42	43	43	44	35	39	43	38	40	23	35
25. Tando Allah Yar	72	86	77	29	49	36	43	62	51	16	43
26. Tando Muhammad Khan	22	0	13	25	20	23	25	18	21	28	34
27. Tharparkar	100	20	33	22	27	24	24	26	25	27	22
28. Thatta	19	9	14	50	44	47	43	36	40	24	38
29. Umer Kot	73	59	64	49	60	54	54	60	57	12	63

TABLE 4.3: PERCENTAGE OF CHILDREN AGED 12-23 MONTHS THAT HAVE BEEN IMMUNIZED

B: BASED ON RECORD - FULLY IMMUNIZED

PROVINCE & DISTRICT	URBAN			RURAL			TOTAL			RANK	TOTAL 14-15
	MALE	FEMALE	TOTAL	MALE	FEMALE	TOTAL	MALE	FEMALE	TOTAL		
Khyber Pakhtunkhwa	**79**	**83**	**81**	**66**	**67**	**67**	**68**	**69**	**69**		**58**
1. Abbottabad	87	100	93	91	80	85	90	84	87	2	77
2. Bajur	0	0	0	64	69	67	64	69	67	17	
3. Bannu	84	67	77	57	38	46	60	40	48	25	22
4. Batagram	0	0	0	62	65	64	62	65	64	19	42
5. Buner	0	0	0	76	69	73	76	69	73	13	60
6. Charsadda	43	70	61	84	88	86	81	85	83	5	64
7. Chitral	100	100	100	82	91	86	84	92	88	1	73
8. D. I. Khan	13	100	65	41	68	54	36	78	56	21	49
9. Hangu	75	100	87	51	46	48	53	51	52	23	52
10. Haripur	65	65	65	86	92	89	82	89	86	3	73
11. Karak	0	0	0	44	28	38	40	28	36	28	31
12. Khyber	100	100	100	77	72	75	79	76	77	9	
13. Kohat	100	96	97	60	63	62	64	68	66	18	67
14. Kohistan	0	0	0	14	31	21	14	31	21	30	16
15. Kurram	0	0	0	71	70	71	71	70	71	16	
16. Lakki Marwat	0	0	0	41	51	44	41	48	43	26	21
17. Lower Dir	100	100	100	67	77	72	68	78	72	15	77
18. Malakand PA	100	100	100	82	73	78	83	74	78	8	60
19. Manshera	64	100	83	67	87	76	67	88	77	10	57
20. Mardan	88	72	81	80	79	80	82	78	80	6	70
21. Mohmand	0	0	0	49	35	42	49	35	42	27	
22. North Waziristan	0	0	0	20	4	12	20	4	12	31	
23. Nowsehra	73	58	67	75	74	75	75	71	73	14	67
24. orakzai	0	0	0	88	81	85	88	81	85	4	
25. Peshawar	81	81	81	70	67	69	74	73	74	12	74
26. Shangla	0	0	0	56	56	56	56	56	56	22	29
27. South Waziristan	0	0	0	9	4	7	9	4	7	32	
28. Swabi	52	50	51	84	71	78	80	68	75	11	66
29. Swat	100	95	97	69	78	74	76	82	79	7	65
30. Tank	0	100	100	59	0	40	59	38	50	24	40
31. Tor Garh	0	0	0	34	23	30	34	23	30	29	2
32. Upper Dir	0	0	0	61	54	58	61	54	58	20	60

TABLE 4.3: PERCENTAGE OF CHILDREN AGED 12-23 MONTHS THAT HAVE BEEN IMMUNIZED

B: BASED ON RECORD - FULLY IMMUNIZED

PROVINCE & DISTRICT	URBAN			RURAL			TOTAL			RANK	TOTAL 14-15
	MALE	FEMALE	TOTAL	MALE	FEMALE	TOTAL	MALE	FEMALE	TOTAL		
Balochistan	**47**	**46**	**47**	**33**	**31**	**32**	**36**	**35**	**35**		**27**
1. Awaran	100	0	20	30	24	26	35	20	25	17	46
2. Barkhan	67	40	50	52	46	50	57	42	50	6	43
3. Dera Bugti	50	67	64	44	39	41	46	51	50	7	0
4. Duki	0	0	0	7	37	24	7	37	23	20	
5. Gwader	42	100	49	37	28	32	40	43	41	10	35
6. harnai	56	57	57	19	22	20	23	40	29	15	21
7. Jaffarabad	44	62	51	51	39	46	49	44	47	8	11
8. Bolan/ Kachhi	50	71	66	27	10	19	29	22	25	18	34
9. Kalat	0	0	0	44	37	40	44	37	40	11	36
10. kech/turbat	47	14	31	26	43	35	32	36	34	14	
11. Kharan	54	68	63	57	56	56	56	59	58	3	39
12. Khuzdar	0	0	0	9	12	10	9	12	10	25	10
13. Kohlu	0	0	0	0	0	0	0	0	0	28	30
14. Lasbela	10	10	10	32	32	32	19	20	20	23	38
15. Loralai	27	25	25	37	50	43	35	42	38	12	18
16. Mastung	0	65	38	50	34	45	45	42	44	9	33
17. Nasirabad/ Tamboo	42	28	38	17	16	17	24	17	21	22	7
18. Nushki	84	85	84	58	28	49	64	50	59	2	28
19. Pishin	100	100	100	37	65	51	41	66	53	5	35
20. Killa Abdullah	8	0	3	5	8	6	5	6	6	27	13
21. Killa Saifullah	0	0	0	38	33	35	38	33	35	13	37
22. Quetta	78	82	80	49	34	43	57	54	56	4	58
23. Shaheed Sikandar abad	0	0	0	13	0	8	13	0	8	26	
24. Sheerani	0	0	0	18	19	19	18	19	19	24	33
25. Sibbi	32	0	9	20	37	26	22	20	21	21	46
26. Sohbatpur	0	0	0	89	66	73	74	62	66	1	
27. Washuk	33	50	43	15	29	20	17	34	23	19	4
28. Ziarat	0	0	0	0	47	28	0	44	27	16	29

NOTE:

1. The Panjgur,Chaghi,Musa Khel,Zhob and Jhal Magsi districts have been dropped from the scope of the survey due to law and order situation.

TABLE 4.3: PERCENTAGE OF CHILDREN AGED 12-23 MONTHS THAT HAVE BEEN IMMUNIZED

C: BASED ON RECALL AND RECORD - FULLY IMMUNIZED

PROVINCE & DISTRICT	URBAN			RURAL			TOTAL			RANK	TOTAL 14-15
	MALE	FEMALE	TOTAL	MALE	FEMALE	TOTAL	MALE	FEMALE	TOTAL		
Pakistan	**82**	**84**	**83**	**80**	**81**	**81**	**81**	**82**	**81**		**82**
Punjab	**87**	**90**	**88**	**89**	**89**	**89**	**88**	**89**	**89**		**89**
1. Attock	85	100	92	87	80	84	87	85	86	27	97
2. Bahawalnagar	87	90	88	77	80	79	79	82	80	34	79
3. Bahawalpur	92	90	91	87	92	89	88	92	90	19	83
4. Bhakhar	88	95	92	86	90	88	86	90	88	24	87
5. Chakwal	89	100	94	97	94	96	96	95	96	7	96
6. Chiniot	100	97	99	96	89	93	98	92	95	10	90
7. D. G. Khan	100	100	100	84	92	87	86	93	89	23	75
8. Faisalabad	95	96	95	94	93	94	94	95	94	13	88
9. Gujranwala	84	87	85	95	95	95	89	90	89	21	91
10. Gujrat	100	100	100	98	100	99	99	100	99	1	92
11. Hafizabad	90	94	92	92	97	95	91	96	94	14	97
12. Islamabad	100	97	99	95	91	93	97	94	96	8	90
13. Jehlum	100	100	100	82	81	81	86	85	85	28	98
14. Jhang	86	89	88	95	91	93	93	90	92	17	89
15. Kasur	96	95	96	71	72	72	77	79	78	35	86
16. Khanewal	80	81	81	81	88	84	81	87	83	31	95
17. Khushab	100	92	97	97	93	95	98	93	95	9	91
18. Lahore	78	86	82		0	0	78	86	82	33	89
19. Layyah	100	100	100	100	95	98	100	96	98	3	89
20. Lodhran	100	100	100	79	93	85	81	94	87	25	95
21. Mandi Bahuddin	100	100	100	93	88	90	94	90	92	16	92
22. Mianwali	96	100	97	98	97	97	97	97	97	4	90
23. Multan	79	80	79	74	73	74	76	75	76	36	92
24. Muzaffar Garh	86	78	81	82	85	83	83	83	83	32	88
25. Nankana Sahib	79	78	78	82	89	86	82	87	84	29	96
26. Narowal	100	89	92	97	94	95	97	92	95	12	99
27. Okara	81	54	74	89	86	87	87	82	84	30	91
28. Pakpatten	92	65	78	73	75	74	76	73	75	37	94
29. Rahim Yar Khan	82	93	88	88	91	89	87	91	89	22	83
30. Rajanpur	100	87	95	95	86	91	96	86	91	18	91
31. Rawalpindi	91	90	91	97	94	95	94	92	93	15	92
32. Sahiwal	75	86	82	88	87	87	86	87	87	26	91
33. Sargodha	89	91	90	99	97	98	96	96	96	6	91
34. Sheikhupura	96	95	95	88	85	86	91	88	90	20	86
35. Sialkot	82	100	91	94	98	96	91	98	95	11	94
36. Toba Tek Singh	92	100	95	100	96	98	98	97	97	5	91
37. Vehari	100	100	100	97	99	98	97	99	98	2	92

NOTES:

1. Note that even the record-based measure cannot be based exclusively on vaccinations recorded on the health card, since it is not possible to identify the source of the information on each antigen. Instead, it is calculated for all children who had a health card, using all immunizations reported, whether or not these were recorded on the card. It is likely that most will have been recorded on the card.
2. Full immunization means that the child has received: BCG, DPT1, DPT2, DPT3, Polio1, Polio2, Polio3, H.B1, H.B2, H.B3 and measle

TABLE 4.3: PERCENTAGE OF CHILDREN AGED 12-23 MONTHS THAT HAVE BEEN IMMUNIZED

C: BASED ON RECALL AND RECORD - FULLY IMMUNIZED

PROVINCE & DISTRICT	URBAN			RURAL			TOTAL			RANK	TOTAL 14-15
	MALE	FEMALE	TOTAL	MALE	FEMALE	TOTAL	MALE	FEMALE	TOTAL		
Sindh	**72**	**73**	**73**	**71**	**76**	**73**	**72**	**75**	**73**		**73**
1. Badin	62	38	50	63	66	65	63	61	62	22	73
2. Dadu	100	89	94	99	84	92	99	86	93	1	83
3. Ghotki	100	95	97	85	85	85	87	88	87	7	62
4. Hyderabad	95	85	90	60	65	62	89	83	86	9	84
5. Jacobabad	88	82	84	90	90	90	90	89	89	3	65
6. Jamshoro	100	86	90	59	61	60	71	73	72	16	82
7. Karachi Central	70	63	67		0	0	70	63	67	19	80
8. Karachi East	47	65	54		0	0	47	65	54	26	
9. Karachi Malir	65	85	72	70	88	79	68	87	76	14	
10. Karachi South	77	79	78	0	0	0	77	79	78	13	
11. Karachi west	68	66	67	100	68	81	69	66	68	18	
12. Kashmore	92	80	85	55	68	61	64	72	68	17	73
13. Khairpur	97	93	95	83	86	84	85	88	87	8	80
14. korangi	60	54	57	0	0	0	60	54	57	24	
15. Larkana	80	93	85	100	94	97	86	94	89	5	70
16. Matiari	90	62	81	77	88	81	80	84	81	11	87
17. Mir Pur Khas	73	100	89	52	69	61	56	76	66	20	64
18. Nowshero Feroze	76	59	67	93	89	91	91	84	88	6	71
19. Sanghar	100	96	98	90	89	90	92	91	91	2	65
20. Shahdadkot	53	45	50	60	75	65	57	65	60	23	62
21. Shaheed Benazirabad	79	90	85	86	83	85	84	85	85	10	76
22. Shikarpur	80	77	79	51	67	60	59	69	64	21	65
23. Sujawal	0	0	0	49	53	51	49	53	51	27	48
24. Sukkur	71	81	76	96	97	97	86	92	89	4	80
25. Tando Allah Yar	80	100	88	62	74	66	68	83	74	15	85
26. Tando Muhammad Khan	100	100	100	53	43	48	60	49	55	25	63
27. Tharparkar	100	20	33	32	39	35	34	36	35	29	38
28. Thatta	19	9	14	61	55	58	51	45	48	28	51
29. Umer Kot	87	88	88	69	83	75	73	85	79	12	67

TABLE 4.3: PERCENTAGE OF CHILDREN AGED 12-23 MONTHS THAT HAVE BEEN IMMUNIZED

C: BASED ON RECALL AND RECORD - FULLY IMMUNIZED

PROVINCE & DISTRICT	URBAN			RURAL			TOTAL			RANK	TOTAL 14-15
	MALE	FEMALE	TOTAL	MALE	FEMALE	TOTAL	MALE	FEMALE	TOTAL		
Khyber Pakhtunkhwa	**85**	**88**	**87**	**74**	**77**	**75**	**75**	**79**	**77**		**78**
1. Abbottabad	100	100	100	91	84	87	93	87	90	2	94
2. Bajur	0	0	0	70	76	73	70	76	73	19	
3. Bannu	84	100	90	62	45	52	65	47	54	26	57
4. Batagram	0	0	0	77	77	77	77	77	77	14	51
5. Buner	0	0	0	83	76	80	83	76	80	11	78
6. Charsadda	100	100	100	92	96	94	93	97	95	3	98
7. Chitral	100	100	100	82	91	86	84	92	88	4	98
8. D. I. Khan	29	100	71	49	75	61	45	82	63	23	65
9. Hangu	82	100	91	51	46	48	54	51	53	27	75
10. Haripur	65	65	65	88	92	90	84	89	87	7	82
11. Karak	0	0	0	44	41	43	40	41	41	31	63
12. Khyber	100	100	100	80	79	80	81	83	82	10	
13. Kohat	100	96	97	66	73	70	69	76	73	18	84
14. Kohistan	0	0	0	38	68	51	38	68	51	28	22
15. Kurram	0	0	0	78	76	77	78	76	77	13	
16. Lakki Marwat	0	0	0	44	58	49	44	54	48	29	49
17. Lower Dir	100	100	100	70	81	75	70	82	75	17	84
18. Malakand PA	100	100	100	100	100	100	100	100	100	1	95
19. Manshera	64	100	83	67	87	76	67	88	77	15	77
20. Mardan	92	84	89	84	82	83	85	82	84	8	90
21. Mohmand	0	0	0	68	74	71	68	74	71	20	
22. North Waziristan	0	0	0	48	28	37	48	28	37	32	
23. Nowsehra	80	67	74	77	76	76	77	74	76	16	84
24. orakzai	0	0	0	90	81	87	90	81	87	5	
25. Peshawar	88	87	87	84	77	81	85	81	83	9	95
26. Shangla	0	0	0	64	64	64	64	64	64	22	49
27. South Waziristan	0	0	0	52	59	56	52	59	56	25	
28. Swabi	52	50	51	91	93	92	86	87	87	6	87
29. Swat	100	95	97	69	80	75	76	83	80	12	89
30. Tank	0	100	100	59	44	54	59	65	62	24	66
31. Tor Garh	0	0	0	37	58	46	37	58	46	30	3
32. Upper Dir	0	0	0	74	62	68	74	62	68	21	77

TABLE 4.3: PERCENTAGE OF CHILDREN AGED 12-23 MONTHS THAT HAVE BEEN IMMUNIZED

C: BASED ON RECALL AND RECORD - FULLY IMMUNIZED

PROVINCE & DISTRICT	URBAN			RURAL			TOTAL			RANK	TOTAL 14-15
	MALE	FEMALE	TOTAL	MALE	FEMALE	TOTAL	MALE	FEMALE	TOTAL		
Balochistan	**65**	**66**	**65**	**51**	**49**	**50**	**54**	**53**	**53**		**51**
1. Awaran	100	75	80	66	80	75	68	80	76	8	85
2. Barkhan	100	60	75	71	66	69	81	62	72	10	68
3. Dera Bugti	50	78	73	71	73	72	66	75	73	9	32
4. Duki	100	0	100	49	82	67	54	82	69	12	
5. Gwader	79	100	81	89	88	89	82	91	84	4	51
6. harnai	56	57	57	26	27	26	29	43	34	21	34
7. Jaffarabad	66	96	79	55	51	53	57	61	59	15	44
8. Bolan/ Kachhi	50	71	66	45	48	47	46	52	49	16	59
9. Kalat	0	0	0	77	82	80	77	82	80	6	84
10. kech/turbat	100	100	100	70	92	82	79	94	87	3	
11. Kharan	100	87	91	57	66	62	63	70	67	13	61
12. Khuzdar	0	0	0	44	30	37	44	30	37	20	61
13. Kohlu	0	0	0	0	0	0	0	0	0	28	31
14. Lasbela	10	20	15	64	32	48	33	25	29	25	49
15. Loralai	27	25	25	43	50	46	39	42	41	19	45
16. Mastung	100	100	100	86	92	88	88	94	90	2	75
17. Nasirabad/ Tamboo	83	86	83	30	34	32	45	40	43	18	30
18. Nushki	84	85	84	71	48	64	73	62	69	11	53
19. Pishin	100	100	100	78	79	78	79	79	79	7	49
20. Killa Abdullah	23	24	23	10	16	13	12	17	15	27	30
21. Killa Saifullah	0	0	0	48	39	43	48	39	43	17	50
22. Quetta	78	87	83	54	38	48	61	58	60	14	65
23. Shaheed Sikandar abad	0	0	0	85	100	91	85	100	91	1	
24. Sheerani	0	0	0	18	19	19	18	19	19	26	55
25. Sibbi	100	13	38	25	40	31	38	27	33	24	61
26. Sohbatpur	100	100	100	89	76	80	91	77	82	5	
27. Washuk	33	75	57	24	40	29	25	48	34	22	49
28. Ziarat	0	25	20	9	51	34	8	49	33	23	33

NOTE:

1. The Panjgur,Chaghi,Musa Khel,Zhob and Jhal Magsi districts have been dropped from the scope of the survey due to law and order situation.

TABLE 4.4: PERCENTAGE OF CHILDREN 12-23 MONTHS THAT HAVE BEEN IMMUNIZED BY TYPE OF ANTIGEN-BASED ON RECORD

PROVINCE & DISTRICT	BCG	PENTA1	PENTA2	PENTA3	PNEU1	PNEU2	PNEU3	POLIO1	POLIO2	POLIO3	MEASLES
Pakistan	**78**	**77**	**75**	**74**	**76**	**74**	**73**	**83**	**75**	**73**	**72**
Urban	83	81	78	76	79	76	75	83	77	75	76
Rural	76	75	73	72	74	73	72	84	73	72	70
Punjab	**87**	**86**	**84**	**84**	**85**	**84**	**83**	**87**	**83**	**82**	**83**
Urban	89	88	84	84	87	84	83	87	84	82	84
Rural	86	86	84	84	85	83	83	86	83	82	82
Attock	99	97	93	93	97	95	93	94	89	86	94
Urban	100	100	100	100	100	100	100	100	93	92	100
Rural	99	96	91	91	96	94	91	92	87	84	91
Bahawalnager	74	73	68	66	70	66	66	69	66	65	65
Urban	76	76	70	70	74	70	70	76	70	70	70
Rural	74	72	67	65	69	65	65	67	65	64	63
Bahawalpur	81	81	78	78	81	79	78	86	79	79	79
Urban	86	84	84	84	84	84	84	86	85	84	85
Rural	79	79	76	76	79	76	76	86	77	77	76
Bhakhar	92	90	87	87	86	86	86	91	87	86	86
Urban	88	88	88	88	88	88	88	88	85	88	88
Rural	92	90	87	87	85	85	85	92	88	85	86
Chakwal	99	99	97	96	98	96	95	98	97	96	95
Urban	94	94	88	88	94	94	88	94	94	94	88
Rural	100	100	98	97	98	97	97	98	97	96	96
Chinniot	81	81	79	79	81	80	79	81	79	79	79
Urban	74	74	72	72	74	74	72	74	72	72	72
Rural	86	86	83	83	86	84	83	86	84	84	83
D.G.Khan	88	88	88	88	88	88	88	93	88	88	88
Urban	96	96	96	96	96	96	96	96	96	96	96
Rural	86	86	86	86	86	86	86	92	86	86	86
Faisalabad	81	80	79	79	80	79	79	80	79	79	79
Urban	82	81	80	80	81	80	80	82	80	80	80
Rural	80	80	79	78	79	79	78	78	78	78	78
Gujranwala	79	79	76	76	78	76	76	80	76	74	75
Urban	72	72	68	68	72	68	68	74	68	65	67
Rural	88	88	87	88	87	87	88	88	87	86	87
Gujrat	98	97	97	97	97	97	97	97	97	97	97
Urban	97	97	97	97	97	97	97	97	97	97	97
Rural	98	98	98	98	98	98	98	98	98	98	98
Hafizabad	85	85	82	82	83	82	82	83	82	82	82
Urban	91	91	86	86	89	86	86	89	86	86	86
Rural	81	81	79	79	79	79	79	79	79	79	79
Islamabad	98	98	97	98	97	97	97	98	96	96	97
Urban	100	100	99	100	99	99	99	100	99	99	99
Rural	96	96	96	96	96	96	96	96	93	94	96

TABLE 4.4: PERCENTAGE OF CHILDREN 12-23 MONTHS THAT HAVE BEEN IMMUNIZED BY TYPE OF ANTIGEN-BASED ON RECORD

Jehlum	98	97	94	88	86	85	85	86	86	85	85
Urban	100	100	100	100	100	100	100	100	100	100	100
Rural	97	97	93	85	82	81	81	82	82	81	81
Jhang	76	73	72	72	72	72	72	75	73	74	72
Urban	80	73	73	73	73	73	73	77	78	78	73
Rural	74	73	72	71	72	72	71	73	71	72	71
Kasur	91	90	86	85	87	84	84	86	81	76	83
Urban	93	92	92	92	92	92	92	92	92	92	92
Rural	91	90	84	82	86	82	82	84	77	71	80
Khanewal	87	86	85	86	85	84	84	84	81	80	80
Urban	92	92	88	92	91	88	88	86	84	81	79
Rural	86	85	84	84	84	83	83	84	81	80	80
Khushab	90	90	89	89	90	89	89	90	89	89	89
Urban	89	89	89	89	89	89	89	89	89	89	89
Rural	91	91	89	89	90	89	89	90	89	89	89
Lahore	96	94	85	85	93	85	83	93	85	82	86
Urban	96	94	85	85	93	85	83	93	85	82	86
Rural	0	0	0	0	0	0	0	0	0	0	0
Layyah	100	100	99	99	100	99	99	100	98	99	99
Urban	100	100	100	100	100	100	100	100	100	100	100
Rural	100	100	99	99	100	99	99	100	98	99	99
Lodhran	81	80	80	80	80	80	80	81	78	73	73
Urban	80	80	80	80	80	80	80	80	80	80	80
Rural	82	80	80	80	80	80	80	81	78	72	72
Mandi Bahuddin	88	86	85	85	86	85	85	86	85	84	84
Urban	96	96	96	96	96	96	96	96	96	96	96
Rural	86	83	82	82	83	82	82	83	82	81	81
Mianwali	93	93	93	93	93	93	93	93	93	91	92
Urban	95	95	95	95	95	95	95	95	95	95	95
Rural	92	92	92	92	92	92	92	92	92	91	91
Multan	83	83	80	79	81	79	78	82	73	69	73
Urban	84	83	80	78	78	75	74	82	75	71	76
Rural	83	82	80	80	82	81	80	81	72	68	71
Muzaffar Garh	75	75	74	74	74	73	73	81	72	69	71
Urban	72	72	72	69	71	69	69	69	69	67	69
Rural	75	75	75	75	74	74	74	84	73	69	71
Nankana Sahib	94	92	86	84	91	83	83	89	86	84	89
Urban	100	100	89	78	100	78	78	100	89	78	100
Rural	93	91	86	86	90	84	84	87	86	86	87
Narowal	99	97	97	97	97	97	97	97	96	95	96
Urban	100	97	97	97	97	97	97	97	94	92	94
Rural	99	97	97	97	97	97	97	97	96	96	96

TABLE 4.4: PERCENTAGE OF CHILDREN 12-23 MONTHS THAT HAVE BEEN IMMUNIZED BY TYPE OF ANTIGEN-BASED ON RECORD

Okara	94	86	83	83	84	83	83	84	83	83	84
Urban	100	74	74	74	74	74	74	74	74	74	74
Rural	92	90	86	86	87	86	86	87	86	86	87
Pakpatten	83	77	76	75	75	75	75	75	74	74	74
Urban	93	86	82	82	82	82	82	82	78	82	82
Rural	82	75	74	73	74	73	73	74	74	73	73
Rahim Yar Khan	70	69	68	68	70	68	68	75	68	65	67
Urban	81	78	78	77	80	77	77	83	77	72	75
Rural	67	67	66	66	67	66	66	73	65	63	65
Rajanpur	91	91	90	90	92	91	91	94	92	92	91
Urban	95	95	95	95	95	95	95	95	95	95	95
Rural	90	90	90	90	91	91	91	94	91	92	91
Rawalpindi	97	96	96	94	95	94	94	95	93	92	93
Urban	95	94	94	93	93	93	93	93	92	89	92
Rural	99	98	97	96	97	96	96	97	95	95	95
Sahiwal	87	87	86	86	86	85	85	88	86	85	85
Urban	89	89	89	89	89	89	89	89	89	82	89
Rural	86	87	85	85	85	84	85	87	86	86	84
Sargodha	91	90	89	89	90	89	89	92	88	88	89
Urban	93	93	89	89	93	89	90	90	86	87	88
Rural	90	90	89	89	90	89	89	93	89	89	89
Sheikhupura	95	94	89	88	93	88	87	94	90	88	90
Urban	95	94	92	92	94	94	92	94	93	92	92
Rural	95	94	87	86	92	85	83	93	88	85	88
Sialkot	97	97	97	96	96	96	96	97	95	94	94
Urban	93	93	93	93	91	91	91	93	93	93	91
Rural	98	98	98	97	97	97	97	98	96	95	95
T.T.Singh	93	92	92	92	92	92	92	92	91	91	91
Urban	95	91	91	91	91	91	91	91	91	91	91
Rural	92	92	92	92	92	92	92	93	92	92	92
Vehari	85	85	85	85	85	85	85	84	84	83	84
Urban	73	73	73	73	73	73	73	73	73	73	73
Rural	87	87	87	87	87	87	87	86	86	85	86

TABLE 4.4: PERCENTAGE OF CHILDREN 12-23 MONTHS THAT HAVE BEEN IMMUNIZED BY TYPE OF ANTIGEN-BASED ON RECORD

Sindh	**60**	**58**	**55**	**54**	**56**	**53**	**53**	**74**	**57**	**56**	**54**
Urban	70	67	62	61	64	60	59	73	63	62	61
Rural	51	50	49	48	49	48	48	74	52	51	48
Badin	44	44	44	44	44	44	44	83	44	44	44
Urban	43	43	42	42	43	43	42	89	43	42	43
Rural	45	45	45	45	45	45	45	82	45	45	45
Dadu	82	82	78	78	82	78	78	80	78	78	78
Urban	90	90	90	90	90	90	90	92	90	90	90
Rural	78	78	73	73	78	73	73	75	73	73	73
Ghotki	70	70	70	70	70	70	70	81	71	71	70
Urban	83	83	83	83	83	83	83	86	83	83	83
Rural	66	66	66	66	66	66	66	79	68	68	66
Hyderabad	60	59	59	59	59	59	59	75	58	57	57
Urban	64	63	63	62	62	62	62	72	61	60	60
Rural	41	41	41	41	41	41	41	96	41	41	41
Jaccobabad	21	21	20	19	19	19	19	29	20	20	19
Urban	37	37	37	37	37	37	37	37	37	37	37
Rural	18	18	17	16	16	16	16	28	18	17	17
Jamshoro	63	63	62	62	63	62	62	89	59	62	63
Urban	85	85	85	85	85	85	85	89	78	85	85
Rural	47	47	46	46	47	46	46	89	46	46	47
Karachi Central	81	77	68	66	75	66	67	74	68	67	71
Urban	81	77	68	66	75	66	67	74	68	67	71
Rural	0	0	0	0	0	0	0	0	0	0	0
Karachi East	79	70	55	53	63	56	53	66	61	58	63
Urban	79	70	55	53	63	56	53	66	61	58	63
Rural	0	0	0	0	0	0	0	0	0	0	0
Karachi Malir	79	76	62	62	76	62	62	64	64	64	71
Urban	73	84	57	57	84	57	57	57	57	57	78
Rural	84	69	66	66	69	66	66	70	70	70	66
Karachi South	82	82	79	77	75	74	72	82	80	80	72
Urban	82	82	79	77	75	74	72	82	80	80	72
Rural	0	0	0	0	0	0	0	0	0	0	0
Karachi west	74	72	68	64	64	60	58	73	69	65	60
Urban	75	74	69	65	65	60	59	74	70	66	61
Rural	38	38	38	38	38	38	38	56	38	38	38
Kashmore	31	31	31	27	25	25	25	54	31	29	29
Urban	6	6	6	6	6	6	6	29	6	6	6
Rural	42	42	42	36	33	33	33	65	42	38	39
Khairpur	52	51	49	49	51	49	49	79	46	47	50
Urban	56	56	56	56	56	56	56	89	56	55	56
Rural	51	50	48	48	50	48	48	77	44	45	48

TABLE 4.4: PERCENTAGE OF CHILDREN 12-23 MONTHS THAT HAVE BEEN IMMUNIZED BY TYPE OF ANTIGEN-BASED ON RECORD

Korangi	54	54	53	53	51	50	50	62	53	53	50
Urban	54	54	53	53	51	50	50	62	53	53	50
Rural	0	0	0	0	0	0	0	0	0	0	0
Larkana	78	75	72	70	75	70	71	78	70	69	71
Urban	81	75	71	68	76	68	70	76	68	68	70
Rural	74	74	74	74	74	74	74	82	74	71	74
Matiari	72	72	69	69	72	69	69	86	67	66	67
Urban	61	61	61	61	61	61	61	67	54	54	54
Rural	74	74	70	70	74	70	70	90	70	68	70
Mir Pur Khas	42	43	43	42	43	42	42	89	49	49	42
Urban	66	66	66	66	66	66	66	88	75	75	66
Rural	36	37	37	36	37	36	36	90	42	42	36
Nowshero Feroze	93	91	91	87	88	87	89	93	86	87	90
Urban	89	78	78	78	78	78	78	88	67	78	78
Rural	93	93	93	88	90	88	92	93	89	88	92
Sanghar	68	67	67	67	67	67	67	77	66	66	67
Urban	86	86	86	86	86	86	86	94	86	86	86
Rural	63	62	62	62	62	62	62	72	61	61	62
Shahdadkot	90	75	72	70	70	64	62	75	77	60	70
Urban	92	57	68	76	50	58	52	69	83	60	61
Rural	88	85	74	67	80	67	67	78	74	60	75
Shaheed Banazir Abad	56	54	52	51	54	51	51	78	54	52	52
Urban	65	65	62	62	65	62	62	77	65	62	62
Rural	52	50	49	47	50	47	47	78	50	48	49
Shikarpur	33	30	30	30	29	29	29	37	30	29	30
Urban	31	31	31	31	31	31	31	60	31	31	31
Rural	34	30	30	30	28	28	28	30	30	29	29
Sujawal	64	53	53	49	51	49	49	83	63	57	49
Urban	0	0	0	0	0	0	0	0	0	0	0
Rural	64	53	53	49	51	49	49	83	63	57	49
Sukkur	42	40	40	40	40	40	40	70	41	41	40
Urban	48	43	43	43	43	43	43	59	45	45	43
Rural	39	39	39	39	39	39	39	75	39	39	39
Tando Allah Yar	52	52	52	52	52	52	52	74	52	52	52
Urban	82	82	82	82	82	82	82	91	77	77	77
Rural	36	36	36	36	36	36	36	65	38	38	38
Tando Muhd Khan	23	23	23	23	23	23	23	65	23	21	23
Urban	13	13	13	13	13	13	13	58	13	13	13
Rural	24	24	24	24	24	24	24	66	24	23	24
Tharparkar	33	30	26	25	29	28	25	91	51	50	25
Urban	100	100	50	33	83	67	33	100	33	33	33
Rural	27	24	24	24	24	24	24	90	53	52	24

TABLE 4.4: PERCENTAGE OF CHILDREN 12-23 MONTHS THAT HAVE BEEN IMMUNIZED BY TYPE OF ANTIGEN-BASED ON RECORD

Thatta	57	46	40	40	45	40	40	66	46	46	41
Urban	52	32	14	14	26	14	14	47	26	26	20
Rural	58	51	47	47	51	47	47	72	52	52	47
Umer Kot	58	58	58	58	58	58	58	87	66	65	57
Urban	64	64	64	64	64	64	64	71	64	64	64
Rural	56	56	56	56	56	56	56	93	67	66	54

TABLE 4.4: PERCENTAGE OF CHILDREN 12-23 MONTHS THAT HAVE BEEN IMMUNIZED BY TYPE OF ANTIGEN-BASED ON RECORD

Khyber Pakhtunkhwa	**80**	**79**	**78**	**75**	**79**	**77**	**75**	**88**	**78**	**76**	**70**
Urban	91	91	89	83	90	88	83	90	87	84	85
Rural	78	77	76	74	77	76	73	88	77	74	68
Abbottabad	95	94	94	93	94	94	93	94	94	91	87
Urban	93	93	93	93	93	93	93	93	93	93	93
Rural	95	95	95	93	95	95	93	95	95	90	85
Bajur	73	73	73	71	73	73	71	92	74	74	67
Urban	0	0	0	0	0	0	0	0	0	0	0
Rural	73	73	73	71	73	73	71	92	74	74	67
Bannu	59	59	59	58	59	56	55	73	58	57	49
Urban	77	77	77	77	77	77	77	87	77	77	77
Rural	58	58	58	56	58	54	53	72	57	56	47
Batagram	69	67	67	67	67	67	67	98	70	70	64
Urban	0	0	0	0	0	0	0	0	0	0	0
Rural	69	67	67	67	67	67	67	98	70	70	64
Bonair	84	84	80	76	84	80	76	90	82	77	74
Urban	0	0	0	0	0	0	0	0	0	0	0
Rural	84	84	80	76	84	80	76	90	82	77	74
Charsada	85	85	85	83	85	85	83	87	85	83	83
Urban	61	61	61	61	61	61	61	61	61	61	61
Rural	88	88	88	86	88	88	86	90	88	86	86
Chitral	99	99	99	98	99	99	98	100	99	98	88
Urban	100	100	100	100	100	100	100	100	100	100	100
Rural	99	99	99	97	99	99	97	100	99	97	86
D.I.Khan	67	65	65	62	65	65	65	87	81	81	60
Urban	85	79	79	72	79	79	79	79	79	79	72
Rural	60	60	60	58	60	60	60	90	82	82	56
Hangu	63	61	61	61	61	61	59	99	64	64	52
Urban	91	91	91	91	91	91	91	96	96	96	87
Rural	59	58	58	57	58	58	56	99	61	61	48
Haripur	97	97	97	92	97	97	92	99	93	91	91
Urban	100	100	100	65	100	100	65	100	72	65	100
Rural	96	96	96	96	96	96	96	99	96	95	90
Karak	61	61	61	61	56	56	56	76	45	41	36
Urban	0	0	0	0	0	0	0	0	0	0	0
Rural	65	65	65	65	60	60	60	81	48	43	38
Khyber	81	81	81	80	81	81	80	95	81	80	77
Urban	100	100	100	100	100	100	100	100	100	100	100
Rural	79	79	79	78	79	79	78	95	79	78	75
Kohat	79	79	76	70	79	76	72	93	79	71	69
Urban	97	97	97	97	97	97	97	100	97	97	97
Rural	77	77	74	66	77	74	68	92	76	67	65

TABLE 4.4: PERCENTAGE OF CHILDREN 12-23 MONTHS THAT HAVE BEEN IMMUNIZED BY TYPE OF ANTIGEN-BASED ON RECORD

Kohistan	29	31	26	25	30	27	24	74	31	29	23
Urban	0	0	0	0	0	0	0	0	0	0	0
Rural	29	31	26	25	30	27	24	74	31	29	23
Kurram	71	71	71	71	71	71	71	91	72	72	71
Urban	0	0	0	0	0	0	0	0	0	0	0
Rural	71	71	71	71	71	71	71	91	72	72	71
Lakki Marwat	61	61	61	61	59	59	59	71	57	54	43
Urban	100	100	100	100	100	100	100	100	100	100	0
Rural	60	60	60	60	58	58	58	70	56	53	44
Lower Dir	86	86	85	84	86	85	84	87	85	85	72
Urban	100	100	100	100	100	100	100	100	100	100	100
Rural	86	86	85	84	86	85	84	87	85	85	72
Malakand	78	78	78	78	78	78	78	78	78	78	78
Urban	100	100	100	100	100	100	100	100	100	100	100
Rural	78	78	78	78	78	78	78	78	78	78	78
Mansehra	91	95	94	88	95	94	88	96	94	89	79
Urban	100	100	100	83	100	100	83	100	100	83	83
Rural	91	95	94	89	95	94	89	96	94	90	79
Mardan	93	93	90	89	92	90	89	94	92	90	80
Urban	85	84	84	84	84	84	84	84	84	84	81
Rural	94	94	91	90	93	91	89	95	93	91	80
Mohmand	45	45	44	44	45	44	44	68	45	44	42
Urban	0	0	0	0	0	0	0	0	0	0	0
Rural	45	45	44	44	45	44	44	68	45	44	42
North Waziristan	13	13	13	12	11	2	0	48	13	13	13
Urban	0	0	0	0	0	0	0	0	0	0	0
Rural	13	13	13	12	11	2	0	48	13	13	13
Nowshera	96	95	91	87	94	89	87	93	89	86	76
Urban	92	92	88	85	92	88	85	92	88	85	67
Rural	97	95	91	88	94	89	87	94	89	86	78
orakzai	99	99	99	99	99	99	99	99	99	99	85
Urban	0	0	0	0	0	0	0	0	0	0	0
Rural	99	99	99	99	99	99	99	99	99	99	85
Peshawar	88	87	85	80	86	83	80	86	83	81	79
Urban	91	91	89	83	90	87	82	90	88	84	88
Rural	86	84	82	79	83	81	78	84	81	80	73
Shangla	59	59	58	59	58	58	58	91	58	56	58
Urban	0	0	0	0	0	0	0	0	0	0	0
Rural	59	59	58	59	58	58	58	91	58	56	58
South Waziristan	11	11	11	7	11	11	7	98	13	9	7
Urban	0	0	0	0	0	0	0	0	0	0	0
Rural	11	11	11	7	11	11	7	98	13	9	7

TABLE 4.4: PERCENTAGE OF CHILDREN 12-23 MONTHS THAT HAVE BEEN IMMUNIZED BY TYPE OF ANTIGEN-BASED ON RECORD

Swabi	86	85	82	76	85	82	77	86	80	76	76
Urban	100	94	74	51	94	74	51	94	65	51	57
Rural	84	84	83	80	84	83	81	84	82	80	79
Swat	99	95	92	88	94	92	87	95	92	87	79
Urban	100	100	97	97	97	97	97	97	97	97	97
Rural	99	93	90	85	93	90	84	94	90	84	74
Tank	58	58	50	50	58	58	50	92	73	73	50
Urban	100	100	100	100	100	100	100	100	100	100	100
Rural	49	49	40	40	49	49	40	91	67	67	40
Tor Garh	30	30	30	30	30	30	30	36	30	30	30
Urban	0	0	0	0	0	0	0	0	0	0	0
Rural	30	30	30	30	30	30	30	36	30	30	30
Upper Dir	79	79	77	78	79	78	78	83	78	77	58
Urban	0	0	0	0	0	0	0	0	0	0	0
Rural	79	79	77	78	79	78	78	83	78	77	58

TABLE 4.4: PERCENTAGE OF CHILDREN 12-23 MONTHS THAT HAVE BEEN IMMUNIZED BY TYPE OF ANTIGEN-BASED ON RECORD

Balochistan	**45**	**43**	**42**	**39**	**40**	**40**	**37**	**68**	**44**	**42**	**39**
Urban	63	63	62	54	52	52	49	69	62	56	50
Rural	39	38	37	34	36	36	33	68	39	38	36
Awaran	25	25	25	25	25	25	25	86	28	28	25
Urban	20	20	20	20	20	20	20	40	40	40	20
Rural	26	26	26	26	26	26	26	92	26	26	26
Barkhan	78	50	50	50	50	50	50	66	56	56	50
Urban	75	50	50	50	50	50	50	50	50	50	50
Rural	81	50	50	50	50	50	50	81	62	62	50
Dera Bugti	55	55	53	51	53	55	51	68	55	55	53
Urban	73	73	73	64	73	73	64	82	73	73	73
Rural	43	43	41	43	41	43	43	59	43	43	41
Duki	37	37	37	26	37	37	26	51	33	34	40
Urban	0	0	0	0	0	0	0	100	0	0	0
Rural	39	39	39	27	39	39	27	49	35	36	42
Gwadar	41	41	41	41	41	41	41	41	41	41	41
Urban	49	49	49	49	49	49	49	49	49	49	49
Rural	32	32	32	32	32	32	32	32	32	32	32
Harnai	54	52	45	30	51	45	29	58	51	34	32
Urban	85	85	77	57	85	77	57	85	85	69	57
Rural	42	41	34	20	39	33	20	48	39	22	24
Jafarabad	49	49	49	49	49	48	48	49	47	47	47
Urban	51	51	51	51	51	51	51	54	51	51	51
Rural	49	49	49	49	49	47	47	48	46	46	46
Bolan	63	63	60	26	63	63	44	70	56	47	63
Urban	100	100	100	66	100	100	100	100	100	100	100
Rural	58	58	54	20	58	58	35	66	49	39	58
Kalat	40	40	40	40	40	40	40	58	40	40	40
Urban	0	0	0	0	0	0	0	0	0	0	0
Rural	40	40	40	40	40	40	40	58	40	40	40
Ketch	34	34	34	34	34	34	32	61	34	34	34
Urban	31	31	31	31	31	31	31	31	31	31	31
Rural	35	35	35	35	35	35	33	73	35	35	35
Kharan	60	60	59	58	60	59	58	85	60	59	58
Urban	63	63	63	63	63	63	63	63	63	63	63
Rural	59	59	58	56	59	58	56	90	59	58	56
Khuzdar	11	10	10	10	10	10	10	90	12	12	10
Urban	0	0	0	0	0	0	0	0	0	0	0
Rural	11	10	10	10	10	10	10	90	12	12	10
Kohlu	0	0	0	0	0	0	0	0	0	0	0
Urban	0	0	0	0	0	0	0	0	0	0	0
Rural	0	0	0	0	0	0	0	0	0	0	0

TABLE 4.4: PERCENTAGE OF CHILDREN 12-23 MONTHS THAT HAVE BEEN IMMUNIZED BY TYPE OF ANTIGEN-BASED ON RECORD

Lasbilla	68	68	68	46	20	20	20	70	68	55	20
Urban	76	76	76	38	10	10	10	80	76	53	10
Rural	57	57	57	57	32	32	32	57	57	57	32
Loralai	78	49	47	43	47	47	44	48	45	46	43
Urban	59	59	50	41	51	51	42	51	42	51	34
Rural	85	46	46	44	46	46	44	47	46	45	46
Mastung	44	44	44	44	44	44	44	44	44	44	44
Urban	38	38	38	38	38	38	38	38	38	38	38
Rural	45	45	45	45	45	45	45	45	45	45	45
Nasirabad	21	21	21	21	21	21	21	54	21	21	21
Urban	41	41	41	41	41	38	38	89	38	38	38
Rural	17	17	17	17	17	17	17	46	17	17	17
Nushki	59	59	59	59	62	62	62	87	66	66	62
Urban	84	84	84	84	84	84	84	100	92	92	84
Rural	49	49	49	49	53	53	53	83	56	56	53
Pashin	54	54	53	53	54	54	53	72	56	54	54
Urban	100	100	100	100	100	100	100	100	100	100	100
Rural	52	52	51	51	52	52	51	71	53	52	52
Qilla Abdullah	7	7	6	6	7	6	5	70	14	13	6
Urban	9	9	3	3	9	7	3	35	7	3	3
Rural	6	6	6	6	6	6	5	76	15	15	6
Qilla Saifullah	39	38	38	35	39	36	35	86	38	39	39
Urban	0	0	0	0	0	0	0	0	0	0	0
Rural	39	38	38	35	39	36	35	86	38	39	39
Quetta	68	67	64	63	65	66	60	80	69	65	68
Urban	85	88	88	88	88	88	87	87	88	84	88
Rural	59	56	52	50	53	54	47	77	59	56	58
Shaheed Sikandar abad	8	8	8	8	8	8	8	20	12	12	8
Urban	0	0	0	0	0	0	0	0	0	0	0
Rural	8	8	8	8	8	8	8	20	12	12	8
Sheani	33	33	32	19	33	33	24	66	33	33	33
Urban	0	0	0	0	0	0	0	0	0	0	0
Rural	33	33	32	19	33	33	24	66	33	33	33
Sibbi	33	33	33	21	33	33	21	46	33	21	21
Urban	50	50	50	9	50	50	9	61	50	9	9
Rural	26	26	26	26	26	26	26	40	26	26	26
Sohbatpur	66	66	66	66	66	66	66	66	66	66	66
Urban	0	0	0	0	0	0	0	0	0	0	0
Rural	73	73	73	73	73	73	73	73	73	73	73
Washuk	24	24	24	23	24	24	23	43	26	26	23
Urban	43	43	43	43	43	43	43	43	43	43	43
Rural	21	21	21	20	21	21	20	43	23	23	20
Ziarat	66	66	62	27	66	55	27	86	62	55	35
Urban	0	0	0	0	0	0	0	80	0	0	0
Rural	69	69	65	28	69	58	28	86	65	58	37

NOTES:

1. The Panjgur,Chaghi,Musa Khel,Zhob and Jhal Magsi districts have been dropped from the scope of the survey due to law and order situation.

TABLE 4.5: PERCENTAGE OF CHILDREN 12-23 MONTHS THAT HAVE BEEN IMMUNIZED BY TYPE OF ANTIGEN-BASED ON RECORD AND RECALL.

PROVINCE & DISTRICT	BCG	PENT A1	PENT A2	PENTA 3	PNEU1	PNEU2	PNEU3	POLIO 1	POLI O2	POLI O3	MEASLES
Pakistan	**91**	**89**	**87**	**85**	**88**	**85**	**84**	**93**	**91**	**88**	**84**
Urban	95	93	88	86	90	86	85	92	89	87	86
Rural	89	88	86	85	86	85	84	93	91	89	83
Punjab	**96**	**95**	**92**	**92**	**94**	**92**	**91**	**94**	**92**	**90**	**91**
Urban	97	96	92	91	95	91	91	95	91	89	91
Rural	95	94	92	92	93	92	92	94	92	91	91
Attock	99	97	93	93	97	95	93	94	89	86	94
Urban	100	100	100	100	100	100	100	100	93	92	100
Rural	99	96	91	91	96	94	91	92	87	84	91
Bahawalnager	94	91	84	83	88	83	83	87	83	81	80
Urban	98	95	88	88	92	88	88	95	88	88	88
Rural	94	90	83	81	86	82	81	85	82	80	79
Bahawalpur	94	94	91	91	94	92	91	98	97	96	92
Urban	96	94	94	94	94	94	94	95	97	95	95
Rural	94	94	91	91	94	91	91	99	97	96	91
Bhakhar	98	96	94	93	92	92	92	96	94	92	93
Urban	94	94	94	94	94	94	94	94	92	94	94
Rural	98	97	94	93	91	91	91	97	94	92	92
Chakwal	100	100	98	97	99	97	96	99	98	97	96
Urban	100	100	94	94	100	100	94	100	100	100	94
Rural	100	100	98	97	98	97	97	98	97	96	96
Chiniot	99	99	95	95	99	97	95	97	96	96	95
Urban	100	100	99	99	100	100	99	100	99	99	99
Rural	98	98	93	93	98	95	93	96	94	94	93
D.G.Khan	89	89	89	89	89	89	89	94	94	94	89
Urban	100	100	100	100	100	100	100	100	100	100	100
Rural	88	88	88	88	88	88	88	93	94	94	88
Faisalabad	98	97	96	95	96	96	95	97	96	96	95
Urban	99	98	96	95	97	95	95	98	96	96	95
Rural	97	97	95	95	96	96	95	95	95	95	94
Gujranwala	99	98	93	93	97	94	93	98	94	90	93
Urban	99	98	91	90	97	92	90	98	92	87	90
Rural	99	98	97	98	97	97	98	98	98	96	97
Gujrat	100	99	99	99	99	99	99	99	99	99	99
Urban	100	100	100	100	100	100	100	100	100	100	100
Rural	100	99	99	99	99	99	99	99	99	99	99
Hafizabad	98	98	94	94	95	94	94	95	95	95	94
Urban	97	97	92	92	95	92	92	95	92	92	92
Rural	98	98	95	95	96	95	95	96	96	96	95
Islamabad	99	99	99	99	99	99	99	99	97	96	99
Urban	100	100	99	100	99	99	99	100	99	99	99
Rural	99	99	99	99	99	99	99	99	96	94	99

TABLE 4.5: PERCENTAGE OF CHILDREN 12-23 MONTHS THAT HAVE BEEN IMMUNIZED BY TYPE OF ANTIGEN-BASED ON RECORD AND RECALL.

PROVINCE & DISTRICT	BCG	PENT A1	PENT A2	PENTA 3	PNEU1	PNEU2	PNEU3	POLIO 1	POLI O2	POLI O3	MEASLES
Jehlum	98	98	95	88	86	85	85	86	86	85	85
Urban	100	100	100	100	100	100	100	100	100	100	100
Rural	98	97	93	86	83	82	82	83	83	81	82
Jhang	98	94	93	92	93	92	92	97	95	96	92
Urban	99	90	89	89	90	89	89	98	96	96	89
Rural	98	96	94	94	95	94	94	96	95	95	94
Kasur	93	92	88	87	89	86	86	88	83	79	85
Urban	97	96	96	96	96	96	96	97	97	97	96
Rural	92	91	85	83	87	83	83	85	78	72	81
Khanewal	92	91	89	90	90	88	88	88	86	85	84
Urban	94	94	89	94	92	89	89	87	86	82	81
Rural	92	90	89	89	90	88	88	89	86	85	85
Khushab	98	98	95	95	97	95	96	96	95	95	95
Urban	100	100	97	97	100	97	100	97	97	97	97
Rural	97	97	95	95	96	95	95	96	95	95	95
Lahore	97	95	86	86	94	86	85	94	87	83	87
Urban	97	95	86	86	94	86	85	94	87	83	87
Rural	0	0	0	0	0	0	0	0	0	0	0
Layyah	100	100	99	99	100	99	99	100	98	99	99
Urban	100	100	100	100	100	100	100	100	100	100	100
Rural	100	100	99	99	100	99	99	100	98	99	99
Lodhran	97	95	95	95	95	95	95	93	93	88	88
Urban	100	100	100	100	100	100	100	100	100	100	100
Rural	96	95	94	94	95	94	94	92	92	86	86
Mandi Bahuddin	98	96	95	95	96	95	95	96	95	92	94
Urban	100	100	100	100	100	100	100	100	100	100	100
Rural	97	94	93	93	94	93	93	94	93	90	92
Mianwali	99	99	99	99	99	99	99	99	99	97	98
Urban	97	97	97	97	97	97	97	97	97	97	97
Rural	99	99	99	99	99	99	99	99	99	97	98
Multan	91	90	87	86	88	86	85	87	81	76	80
Urban	93	93	88	86	88	84	83	88	84	79	85
Rural	90	89	87	87	89	87	87	86	79	75	77
Muzaffar Garh	91	90	90	89	89	88	88	91	89	86	86
Urban	89	86	86	83	84	83	83	83	83	81	83
Rural	91	91	91	91	90	90	90	93	91	87	87
Nankana Sahib	94	92	86	84	91	83	83	89	86	84	89
Urban	100	100	89	78	100	78	78	100	89	78	100
Rural	93	91	86	86	90	84	84	87	86	86	87
Narowal	100	98	97	97	98	97	97	97	96	95	96
Urban	100	97	97	97	97	97	97	97	94	92	94
Rural	100	98	97	97	98	97	97	97	96	96	96

TABLE 4.5: PERCENTAGE OF CHILDREN 12-23 MONTHS THAT HAVE BEEN IMMUNIZED BY TYPE OF ANTIGEN-BASED ON RECORD AND RECALL.

PROVINCE & DISTRICT	BCG	PENT A1	PENT A2	PENTA 3	PNEU1	PNEU2	PNEU3	POLIO 1	POLI O2	POLI O3	MEASLES
Okara	95	88	84	84	85	84	84	84	84	84	85
Urban	100	74	74	74	74	74	74	74	74	74	74
Rural	94	92	87	87	88	87	87	87	87	87	88
Pakpatten	85	78	77	76	76	76	76	76	76	75	75
Urban	93	86	82	82	82	82	82	82	78	82	82
Rural	83	76	76	74	75	74	74	74	75	74	74
Rahim Yar Khan	97	96	94	93	96	93	93	96	94	90	92
Urban	98	94	94	93	96	93	93	93	93	88	91
Rural	97	96	93	93	96	93	93	97	95	91	92
Rajanpur	92	92	91	91	93	93	93	95	94	94	93
Urban	95	95	95	95	95	95	95	95	95	95	95
Rural	92	91	91	91	93	92	92	95	93	94	93
Rawalpindi	98	98	97	96	97	96	96	97	95	93	95
Urban	97	96	96	95	96	95	95	96	94	91	93
Rural	100	99	98	97	98	97	97	98	96	96	96
Sahiwal	89	90	88	88	88	88	88	89	89	88	88
Urban	89	89	89	89	89	89	89	89	89	82	89
Rural	89	90	88	88	88	87	88	89	89	89	87
Sargodha	99	99	97	97	99	97	98	98	97	96	97
Urban	99	99	94	94	99	94	96	94	92	91	93
Rural	99	99	98	98	99	98	98	99	98	98	98
Sheikhupura	98	97	92	92	96	91	90	97	93	91	93
Urban	99	98	96	96	98	98	96	99	98	96	96
Rural	97	97	89	89	94	87	86	96	91	88	91
Sialkot	98	98	98	97	97	97	97	97	96	95	95
Urban	93	93	93	93	91	91	91	93	93	93	91
Rural	99	99	99	99	99	99	99	99	98	96	97
T.T.Singh	99	98	98	98	98	98	98	98	98	98	97
Urban	100	95	95	95	95	95	95	95	95	95	95
Rural	99	99	98	98	99	98	98	99	99	99	98
Vehari	100	100	100	100	100	100	100	99	99	98	99
Urban	100	100	100	100	100	100	100	100	100	100	100
Rural	99	99	99	99	99	99	99	99	99	98	99

TABLE 4.5: PERCENTAGE OF CHILDREN 12-23 MONTHS THAT HAVE BEEN IMMUNIZED BY TYPE OF ANTIGEN-BASED ON RECORD AND RECALL.

PROVINCE & DISTRICT	BCG	PENT A1	PENT A2	PENTA 3	PNEU1	PNEU2	PNEU3	POLIO 1	POLI O2	POLI O3	MEASLES
Sindh	**85**	**82**	**78**	**76**	**78**	**75**	**74**	**90**	**86**	**84**	**77**
Urban	90	86	79	77	81	75	74	86	83	80	78
Rural	81	78	76	75	76	74	75	93	89	87	76
Badin	65	63	63	63	63	63	63	97	97	96	62
Urban	61	54	54	54	54	54	54	100	100	96	50
Rural	65	65	65	65	65	65	65	96	96	96	65
Dadu	96	96	93	93	96	93	93	93	93	93	93
Urban	94	94	94	94	94	94	94	94	94	94	94
Rural	97	97	92	92	97	92	92	92	92	92	92
Ghotki	89	89	88	87	87	87	87	99	99	99	89
Urban	97	97	97	97	97	97	97	100	100	100	97
Rural	86	86	85	85	85	85	85	99	99	99	86
Hyderabad	89	88	88	88	88	88	88	97	97	94	87
Urban	94	93	93	92	92	92	92	97	96	94	91
Rural	62	62	62	62	62	62	62	100	100	96	62
Jaccobabad	95	95	94	92	92	92	92	95	94	93	93
Urban	90	90	90	90	90	90	90	84	84	84	84
Rural	96	96	95	92	93	92	92	96	96	94	95
Jamshoro	77	77	77	75	76	75	75	98	95	98	76
Urban	97	97	97	97	97	97	97	100	93	100	97
Rural	64	64	63	60	61	60	60	97	96	96	61
Karachi Central	89	84	72	70	82	72	71	81	74	73	78
Urban	89	84	72	70	82	72	71	81	74	73	78
Rural	0	0	0	0	0	0	0	0	0	0	0
Karachi East	83	73	58	55	67	58	56	68	65	62	66
Urban	83	73	58	55	67	58	56	68	65	62	66
Rural	0	0	0	0	0	0	0	0	0	0	0
Karachi Malir	93	90	76	76	90	76	76	80	80	80	85
Urban	89	100	72	72	100	72	72	72	72	72	94
Rural	96	82	79	79	82	79	79	86	86	86	79
Karachi South	89	89	86	84	81	79	78	89	88	88	78
Urban	89	89	86	84	81	79	78	89	88	88	78
Rural	0	0	0	0	0	0	0	0	0	0	0
Karachi west	93	91	81	75	81	70	68	90	83	78	71
Urban	93	92	81	75	82	70	68	90	82	77	71
Rural	81	81	81	81	81	81	81	100	100	100	81
Kashmore	86	86	86	74	66	66	65	95	96	84	82
Urban	98	98	98	87	82	80	80	98	98	94	98
Rural	81	82	80	69	59	60	59	93	95	80	75
Khairpur	93	92	90	90	92	90	90	92	87	88	90
Urban	96	96	96	96	96	96	96	96	96	95	96
Rural	92	91	88	88	90	88	88	90	85	86	88

TABLE 4.5: PERCENTAGE OF CHILDREN 12-23 MONTHS THAT HAVE BEEN IMMUNIZED BY TYPE OF ANTIGEN-BASED ON RECORD AND RECALL.

PROVINCE & DISTRICT	BCG	PENT A1	PENT A2	PENTA 3	PNEU1	PNEU2	PNEU3	POLIO 1	POLI O2	POLI O3	MEASLES
korangi	75	75	72	72	60	57	57	70	68	68	57
Urban	75	75	72	72	60	57	57	70	68	68	57
Rural	0	0	0	0	0	0	0	0	0	0	0
Larkana	98	95	92	90	95	90	92	95	90	89	92
Urban	98	92	88	85	93	85	87	93	85	85	87
Rural	100	100	100	100	100	100	100	100	100	97	100
Matiari	87	87	84	84	87	84	84	99	95	93	83
Urban	87	87	87	87	87	87	87	94	87	87	81
Rural	87	87	84	84	87	84	84	100	96	94	84
Mir Pur Khas	68	67	67	66	67	66	66	98	87	87	66
Urban	89	89	89	89	89	89	89	100	100	100	89
Rural	63	62	62	61	62	61	61	97	84	84	61
Nowshero Feroze	97	95	95	90	92	90	93	96	91	90	93
Urban	89	78	78	78	78	78	78	88	78	78	78
Rural	98	98	98	93	95	93	96	98	93	93	96
Sanghar	93	92	92	92	92	92	92	93	93	93	92
Urban	98	98	98	98	98	98	98	100	100	100	98
Rural	92	91	91	91	91	91	91	91	91	91	91
Shahdadkot	97	83	78	76	76	70	68	81	83	68	76
Urban	100	65	76	84	58	66	60	77	91	68	69
Rural	96	93	79	72	85	72	72	83	79	68	80
Shaheed Banazir Abad	93	92	87	85	92	87	85	99	97	92	88
Urban	97	97	85	85	97	91	85	97	97	85	88
Rural	92	90	88	86	90	86	86	100	97	95	88
Shikarpur	95	66	66	66	64	64	65	66	66	66	66
Urban	97	79	79	79	79	79	79	82	82	82	81
Rural	94	62	62	62	60	60	61	62	62	61	61
Sujawal	68	57	55	51	56	51	51	84	80	71	51
Urban	0	0	0	0	0	0	0	0	0	0	0
Rural	68	57	55	51	56	51	51	84	80	71	51
Sukkur	93	91	90	90	91	90	90	92	92	91	90
Urban	86	81	78	78	81	78	78	83	83	81	78
Rural	97	97	97	97	97	97	97	97	97	97	97
Tando Allah Yar	75	75	75	75	75	75	75	92	93	93	75
Urban	93	93	93	93	93	93	93	95	95	95	88
Rural	66	66	66	66	66	66	66	90	92	92	68
Tando Muhd Khan	61	56	56	56	56	56	56	97	97	95	56
Urban	100	100	100	100	100	100	100	100	100	100	100
Rural	55	50	50	50	50	50	50	96	96	94	50
Tharparkar	43	40	36	35	39	38	35	92	66	66	35
Urban	100	100	50	33	83	67	33	100	33	33	33
Rural	38	35	35	35	35	35	35	92	69	69	35

TABLE 4.5: PERCENTAGE OF CHILDREN 12-23 MONTHS THAT HAVE BEEN IMMUNIZED BY TYPE OF ANTIGEN-BASED ON RECORD AND RECALL.

PROVINCE & DISTRICT	BCG	PENT A1	PENT A2	PENTA 3	PNEU1	PNEU2	PNEU3	POLIO 1	POLI O2	POLI O3	MEASLES
Thatta	75	56	48	48	54	48	48	78	77	78	49
Urban	74	38	14	14	32	14	14	47	43	47	20
Rural	75	61	58	58	61	58	58	88	88	88	58
Umer Kot	80	80	80	80	80	80	80	97	88	87	79
Urban	88	88	88	88	88	88	88	93	88	88	88
Rural	77	77	77	77	77	77	77	99	88	87	75

TABLE 4.5: PERCENTAGE OF CHILDREN 12-23 MONTHS THAT HAVE BEEN IMMUNIZED BY TYPE OF ANTIGEN-BASED ON RECORD AND RECALL.

PROVINCE & DISTRICT	BCG	PENT A1	PENT A2	PENTA 3	PNEU1	PNEU2	PNEU3	POLIO 1	POLI O2	POLI O3	MEASLES
Khyber Pakhtunkhwa	**89**	**88**	**87**	**84**	**88**	**86**	**83**	**95**	**94**	**91**	**79**
Urban	98	98	96	90	97	95	90	97	94	91	91
Rural	88	87	85	83	86	85	82	95	94	91	77
Abbottabad	99	97	97	96	97	97	96	97	97	94	90
Urban	100	100	100	100	100	100	100	100	100	100	100
Rural	98	97	97	94	97	97	94	97	97	92	87
Bajur	80	80	80	77	80	80	77	98	98	96	73
Urban	0	0	0	0	0	0	0	0	0	0	0
Rural	80	80	80	77	80	80	77	98	98	96	73
Bannu	73	73	71	67	72	65	62	82	85	80	59
Urban	100	100	100	90	100	90	90	100	100	100	100
Rural	72	72	69	65	70	63	60	81	83	79	56
Batagram	83	81	81	81	81	81	81	98	98	98	77
Urban	0	0	0	0	0	0	0	0	0	0	0
Rural	83	81	81	81	81	81	81	98	98	98	77
Bonair	92	91	87	83	91	87	83	98	95	90	81
Urban	0	0	0	0	0	0	0	0	0	0	0
Rural	92	91	87	83	91	87	83	98	95	90	81
Charsada	98	97	97	95	97	97	95	98	98	96	95
Urban	100	100	100	100	100	100	100	100	100	100	100
Rural	97	96	96	94	96	96	94	98	98	96	94
Chitral	99	99	99	98	99	99	98	100	100	98	88
Urban	100	100	100	100	100	100	100	100	100	100	100
Rural	99	99	99	97	99	99	97	100	100	98	86
D.I.Khan	77	74	74	71	74	74	74	93	92	92	67
Urban	100	93	93	86	93	93	93	93	85	85	78
Rural	69	68	68	65	68	68	68	93	95	95	63
Hangu	71	62	62	61	62	62	60	100	99	99	53
Urban	95	95	95	95	95	95	95	100	100	100	91
Rural	68	58	58	57	58	58	56	100	99	99	48
Haripur	98	98	98	93	98	98	93	100	96	94	92
Urban	100	100	100	65	100	100	65	100	72	65	100
Rural	97	97	97	97	97	97	97	100	100	99	91
Karak	72	72	72	65	56	56	56	76	61	56	47
Urban	0	0	0	0	0	0	0	0	0	0	0
Rural	76	76	76	70	60	60	60	81	65	60	50
Khyber	94	86	86	86	86	86	86	98	97	94	82
Urban	100	100	100	100	100	100	100	100	100	100	100
Rural	93	85	85	84	85	85	84	98	97	93	80
Kohat	86	87	84	77	87	84	79	100	98	90	76
Urban	97	97	97	97	97	97	97	100	100	100	97
Rural	85	85	82	74	85	82	76	100	98	89	73

TABLE 4.5: PERCENTAGE OF CHILDREN 12-23 MONTHS THAT HAVE BEEN IMMUNIZED BY TYPE OF ANTIGEN-BASED ON RECORD AND RECALL.

PROVINCE & DISTRICT	BCG	PENT A1	PENT A2	PENTA 3	PNEU1	PNEU2	PNEU3	POLIO 1	POLI O2	POLI O3	MEASLES
Kohistan	61	63	57	55	62	58	55	98	98	95	53
Urban	0	0	0	0	0	0	0	0	0	0	0
Rural	61	63	57	55	62	58	55	98	98	95	53
Kurram	80	83	83	82	83	83	82	98	98	96	80
Urban	0	0	0	0	0	0	0	0	0	0	0
Rural	80	83	83	82	83	83	82	98	98	96	80
Lakki Marwat	68	68	68	66	66	66	64	76	76	73	50
Urban	100	100	100	100	100	100	100	100	100	100	0
Rural	67	67	67	65	65	65	63	75	75	72	51
Lower Dir	90	90	89	88	90	89	88	91	90	90	75
Urban	100	100	100	100	100	100	100	100	100	100	100
Rural	89	89	89	88	89	89	88	91	90	89	75
Malakand	100	100	100	100	100	100	100	100	100	100	100
Urban	100	100	100	100	100	100	100	100	100	100	100
Rural	100	100	100	100	100	100	100	100	100	100	100
Mansehra	95	97	96	90	97	96	90	99	98	93	79
Urban	100	100	100	83	100	100	83	100	100	83	83
Rural	94	97	96	91	97	96	91	99	98	94	79
Mardan	98	97	94	93	96	94	93	98	97	95	84
Urban	97	96	96	96	96	96	96	96	95	96	90
Rural	98	97	94	93	96	94	92	98	97	95	83
Mohmand	74	74	74	73	74	74	73	97	97	95	71
Urban	0	0	0	0	0	0	0	0	0	0	0
Rural	74	74	74	73	74	74	73	97	97	95	71
North Waziristan	38	38	38	37	22	13	11	49	49	49	38
Urban	0	0	0	0	0	0	0	0	0	0	0
Rural	38	38	38	37	22	13	11	49	49	49	38
Nowshera	99	97	94	90	97	91	89	96	91	89	78
Urban	100	100	96	93	100	96	93	100	96	93	74
Rural	99	97	93	89	96	90	88	95	90	88	79
orakzai	100	100	100	100	100	100	100	100	100	100	87
Urban	0	0	0	0	0	0	0	0	0	0	0
Rural	100	100	100	100	100	100	100	100	100	100	87
Peshawar	98	97	94	90	96	93	89	96	94	91	89
Urban	97	97	96	89	96	93	88	97	94	90	94
Rural	98	96	94	91	95	93	90	95	93	92	85
Shangla	66	66	65	66	65	65	65	98	97	95	65
Urban	0	0	0	0	0	0	0	0	0	0	0
Rural	66	66	65	66	65	65	65	98	97	95	65
South Waziristan	60	60	60	56	60	60	56	98	95	90	56
Urban	0	0	0	0	0	0	0	0	0	0	0
Rural	60	60	60	56	60	60	56	98	95	90	56

TABLE 4.5: PERCENTAGE OF CHILDREN 12-23 MONTHS THAT HAVE BEEN IMMUNIZED BY TYPE OF ANTIGEN-BASED ON RECORD AND RECALL.

PROVINCE & DISTRICT	BCG	PENT A1	PENT A2	PENTA 3	PNEU1	PNEU2	PNEU3	POLIO 1	POLI O2	POLI O3	MEASLES
Swabi	98	97	94	89	97	94	89	98	93	89	88
Urban	100	94	74	51	94	74	51	94	65	51	57
Rural	98	98	97	94	98	97	95	98	97	95	93
Swat	100	96	92	89	95	92	87	95	93	87	80
Urban	100	100	97	97	97	97	97	97	97	97	97
Rural	100	94	91	86	94	91	84	94	91	85	75
Tank	70	70	62	62	70	70	62	92	85	85	62
Urban	100	100	100	100	100	100	100	100	100	100	100
Rural	64	64	54	54	64	64	54	91	82	82	54
Tor Garh	46	46	46	46	46	46	46	46	46	46	46
Urban	0	0	0	0	0	0	0	0	0	0	0
Rural	46	46	46	46	46	46	46	46	46	46	46
Upper Dir	89	89	87	88	89	88	88	93	90	90	68
Urban	0	0	0	0	0	0	0	0	0	0	0
Rural	89	89	87	88	89	88	88	93	90	90	68

TABLE 4.5: PERCENTAGE OF CHILDREN 12-23 MONTHS THAT HAVE BEEN IMMUNIZED BY TYPE OF ANTIGEN-BASED ON RECORD AND RECALL.

PROVINCE & DISTRICT	BCG	PENT A1	PENT A2	PENTA 3	PNEU1	PNEU2	PNEU3	POLIO 1	POLI O2	POLI O3	MEASLES
Balochistan	**65**	**63**	**62**	**58**	**60**	**59**	**56**	**83**	**82**	**78**	**58**
Urban	83	83	82	74	72	71	69	86	86	79	69
Rural	60	58	56	54	56	56	52	82	81	78	55
Awaran	76	76	76	76	76	76	76	93	93	91	76
Urban	80	80	80	80	80	80	80	100	100	100	80
Rural	75	75	75	75	75	75	75	92	92	90	75
Barkhan	100	72	72	72	72	72	72	78	78	78	72
Urban	100	75	75	75	75	75	75	75	75	75	75
Rural	100	69	69	69	69	69	69	81	81	81	69
Dera Bugti	78	78	76	74	76	78	74	78	78	78	76
Urban	82	82	82	73	82	82	73	82	82	82	82
Rural	75	75	72	75	72	75	75	75	75	75	72
Duki	87	87	87	72	87	87	73	87	83	83	90
Urban	100	100	100	100	100	100	100	100	100	100	100
Rural	86	86	86	71	86	86	72	86	82	83	89
Gwadar	84	84	84	84	84	84	84	100	100	100	84
Urban	81	81	81	81	81	81	81	100	100	100	81
Rural	89	89	89	89	89	89	89	100	100	100	89
Harnai	61	59	52	35	58	52	34	61	58	41	37
Urban	85	85	77	57	85	77	57	85	85	69	57
Rural	52	50	44	27	49	43	26	52	49	32	30
Jafarabad	64	63	63	62	63	62	61	62	61	61	59
Urban	84	82	82	82	80	80	80	84	82	79	79
Rural	58	58	58	56	58	57	55	55	55	55	53
Bolan	88	88	85	51	88	88	68	94	88	77	88
Urban	100	100	100	66	100	100	100	100	100	100	100
Rural	86	86	82	48	86	86	63	93	87	73	86
Kalat	80	80	80	80	80	80	80	93	93	93	80
Urban	0	0	0	0	0	0	0	0	0	0	0
Rural	80	80	80	80	80	80	80	93	93	93	80
Ketch	87	87	87	87	87	87	85	99	99	97	87
Urban	100	100	100	100	100	100	100	100	100	100	100
Rural	82	82	82	82	82	82	80	98	98	95	82
Kharan	70	71	70	68	71	70	68	95	94	93	68
Urban	91	91	91	91	91	91	91	91	91	91	91
Rural	64	66	64	63	66	64	63	96	95	94	63
Khuzdar	38	37	37	37	37	37	37	96	96	96	37
Urban	0	0	0	0	0	0	0	0	0	0	0
Rural	38	37	37	37	37	37	37	96	96	96	37
Kohlu	0	0	0	0	0	0	0	0	0	0	0
Urban	0	0	0	0	0	0	0	0	0	0	0
Rural	0	0	0	0	0	0	0	0	0	0	0

TABLE 4.5: PERCENTAGE OF CHILDREN 12-23 MONTHS THAT HAVE BEEN IMMUNIZED BY TYPE OF ANTIGEN-BASED ON RECORD AND RECALL.

PROVINCE & DISTRICT	BCG	PENT A1	PENT A2	PENTA 3	PNEU1	PNEU2	PNEU3	POLIO 1	POLI O2	POLI O3	MEASLES
Lasbilla	77	77	77	56	30	29	29	77	77	64	29
Urban	81	80	80	43	15	15	15	80	80	57	15
Rural	73	73	73	73	48	48	48	73	73	73	48
Loralai	84	56	53	50	51	49	50	52	53	51	49
Urban	75	75	66	58	59	51	59	59	59	59	51
Rural	88	49	49	47	49	49	47	50	51	48	49
Mastung	90	90	90	90	88	88	88	90	90	90	90
Urban	100	100	100	100	100	100	100	100	100	100	100
Rural	88	88	88	88	86	86	86	88	88	88	88
Nasirabad	52	50	47	45	52	47	43	58	59	58	44
Urban	91	91	91	91	91	87	83	97	97	97	83
Rural	42	40	36	34	42	37	34	49	49	48	35
Nushki	71	71	71	71	74	74	74	100	100	98	72
Urban	84	84	84	84	84	84	84	100	100	100	84
Rural	66	66	66	66	70	70	70	100	100	97	68
Pashin	83	83	81	81	83	83	81	89	88	85	85
Urban	100	100	100	100	100	100	100	100	100	100	100
Rural	82	82	80	80	82	82	80	88	87	85	84
Qilla Abdullah	16	16	15	15	16	15	14	79	79	74	15
Urban	29	29	23	23	29	27	23	58	58	51	23
Rural	13	13	13	13	13	13	12	83	83	78	13
Qilla Saifullah	48	47	47	43	48	45	42	86	85	85	48
Urban	0	0	0	0	0	0	0	0	0	0	0
Rural	48	47	47	43	48	45	42	86	85	85	48
Quetta	74	72	69	68	70	71	65	88	87	81	74
Urban	88	91	91	91	91	91	90	90	91	87	91
Rural	67	62	58	57	60	61	53	87	85	78	66
Shaheed Sikandar abad	91	91	91	91	91	91	91	100	100	100	91
Urban	0	0	0	0	0	0	0	0	0	0	0
Rural	91	91	91	91	91	91	91	100	100	100	91
Sheani	33	33	32	19	33	33	24	66	64	64	33
Urban	0	0	0	0	0	0	0	0	0	0	0
Rural	33	33	32	19	33	33	24	66	64	64	33
Sibbi	81	81	81	68	81	81	68	100	100	84	33
Urban	89	89	89	49	89	89	49	100	100	49	38
Rural	77	77	77	77	77	77	77	99	99	99	31
Sohbatpur	82	82	82	82	82	82	82	82	82	82	82
Urban	100	100	100	100	100	100	100	100	100	100	100
Rural	80	80	80	80	80	80	80	80	80	80	80
Washuk	34	34	36	34	34	34	34	51	51	51	34
Urban	57	57	57	57	57	57	57	57	57	57	57
Rural	30	30	33	29	30	30	29	50	50	50	29
Ziarat	85	85	73	33	85	63	33	92	89	79	44
Urban	20	20	20	20	20	20	20	100	100	100	20
Rural	88	88	76	34	88	66	34	92	88	78	45

NOTES:

1. The Panjgur,Chaghi,Musa Khel,Zhob and Jhal Magsi districts have been dropped from the scope of the survey due to law and order situation.

TABLE 4.6: CHILDREN UNDER 5 SUFFERING FROM DIARRHEA IN PAST 30 DAYS-BY PROVINCE AND DISTRICT

PROVINCE & DISTRICT	URBAN			RURAL			TOTAL			RANK	TOTAL 14-15
	M	F	T	M	F	T	M	F	T		
Pakistan	**7**	**6**	**6**	**7**	**6**	**6**	**7**	**6**	**6**		**9**
Punjab	**5**	**5**	**5**	**7**	**6**	**6**	**6**	**6**	**6**		**9**
1 Attock	0	0	0	1	4	2	1	3	2	34	8
2 Bahawalnager	4	3	3	5	4	4	4	4	4	20	9
3 Bahawalpur	5	6	6	10	10	10	9	9	9	8	17
4 Bhakhar	1	1	1	3	4	4	3	4	4	24	8
5 Chakwal	14	11	13	7	5	6	8	6	7	12	4
6 Chinniot	1	1	1	6	6	6	5	5	5	16	6
7 D.G.khan	18	26	22	17	15	16	17	17	17	2	15
8 Faisalabad	1	2	2	4	5	4	3	3	3	26	9
9 Gujranwala	6	5	5	5	4	4	5	5	5	15	9
10 Gujrat	2	1	1	1	2	1	1	2	1	36	7
11 Hafizabad	4	1	3	4	2	3	4	2	3	29	10
12 Islamabad	0	2	1	2	5	3	1	3	2	32	5
13 Jehlum	9	6	8	8	8	8	8	8	8	9	6
14 Jhang	10	6	8	8	6	7	8	6	7	11	13
15 Kasur	7	5	6	4	4	4	5	4	4	18	8
16 Khanewal	10	4	7	17	12	15	16	10	13	4	7
17 Khushab	3	1	2	5	4	4	4	4	4	21	8
18 Lahore	6	7	6				6	7	6	13	9
19 Layyah	18	11	14	21	17	19	20	16	18	1	26
20 Lodhran	8	4	6	5	3	4	6	3	4	19	14
21 Mandi Bahuddin	0	1	1	4	2	3	3	2	2	30	9
22 Mianwali	5	2	4	6	4	5	6	4	5	14	5
23 Multan	7	11	9	9	11	10	8	11	10	6	11
24 Muzaffar Garh	16	10	13	3	3	3	5	4	4	17	7
25 Nankana Sahib	0	9	4	1	2	2	1	3	2	33	6
26 Narowal	0	0	0	2	2	2	2	1	2	35	9
27 Okara	3	10	6	8	9	8	6	9	8	10	11
28 Pakpatten	8	6	7	11	8	9	10	7	9	7	7
29 Rahim Yar Khan	2	4	3	3	2	2	3	2	2	31	8
30 Rajanpur	0	2	1	15	17	16	13	15	14	3	7
31 Rawalpindi	3	3	3	3	4	4	3	3	3	27	4
32 Sahiwal	6	12	10	11	9	10	11	10	10	5	7
33 Sargodha	1	2	2	4	3	3	3	3	3	28	11
34 Sheikhupura	4	4	4	4	3	4	4	3	4	23	6
35 Sialkot	3	2	3	1	1	1	2	1	1	37	9
36 T.T.Singh	8	1	5	4	3	3	5	2	4	25	13
37 Vehari	7	2	5	3	5	4	3	4	4	22	10

NOTES:

1. Children who have suffered from diarrhoea in last 30 days prior to the date of interveiw are expressed a percentage of all children aged less than 5 years .
2. Diarrhoea in past 30 days : The survey 2012-13 contained a question addressed to the mothers of all the children aged less than 5 years where they were asked whether they had suffered from an episode of diarrhoea in the past 30 days.

TABLE 4.6: CHILDREN UNDER 5 SUFFERING FROM DIARRHEA IN PAST 30 DAYS-BY PROVINCE AND DISTRICT

PROVINCE & DISTRICT	URBAN			RURAL			TOTAL			RANK	TOTAL 14-15
	M	F	T	M	F	T	M	F	T		
Sindh	**9**	**8**	**9**	**8**	**7**	**8**	**9**	**7**	**8**		**6**
1 Badin	8	8	8	6	6	6	7	7	7	19	5
2 Dadu	8	8	8	0	1	0	2	3	2	28	2
3 Ghotki	5	6	6	8	11	9	8	10	9	13	6
4 Hyderabad	12	10	11	14	10	12	12	10	11	8	10
5 Jaccobabad	9	14	11	6	6	6	7	7	7	17	3
6 Jamshoro	20	6	12	6	6	6	11	6	8	15	6
7 Karachi Central	7	4	6	0	0	0	7	4	6	22	8
8 Karachi East	15	12	14	0	0	0	15	12	14	6	
9 Karachi Malir	4	7	6	11	10	11	8	9	8	14	
10 Karachi South	4	7	6	0	0	0	4	7	6	20	
11 Karachi west	8	8	8	38	44	42	9	11	10	9	
12 Kashmore	6	9	7	19	14	16	16	13	14	4	2
13 Khairpur	11	13	12	17	12	15	16	12	14	5	3
14 korangi	11	9	10	0	0	0	11	9	10	10	
15 Larkana	17	5	13	18	22	20	18	12	16	1	5
16 Matiari	24	5	15	9	5	7	11	5	8	16	9
17 Mir Pur Khas	8	4	7	1	1	1	3	2	2	29	6
18 Nowshero Feroze	8	6	7	6	4	5	7	4	5	23	12
19 Sanghar	1	6	4	3	1	2	3	3	3	27	10
20 Shahdadkot	9	8	8	21	13	18	19	12	16	2	2
21 Shaheed Banazir Abad	3	1	2	2	4	3	3	3	3	26	7
22 Shikarpur	4	5	4	5	7	6	5	7	6	21	6
23 Sujawal	0	0	0	6	7	7	6	7	7	18	8
24 Sukkur	11	12	11	11	7	9	11	8	10	11	9
25 Tando Allah Yar	10	6	8	15	4	10	14	4	9	12	6
26 Tando Muhd Khan	5	0	2	14	11	13	13	9	11	7	5
27 Tharparkar	0	0	0	4	2	3	4	2	3	25	7
28 Thatta	47	21	35	13	10	12	19	13	16	3	4
29 Umer Kot	3	3	3	3	4	3	3	4	3	24	7

TABLE 4.6: CHILDREN UNDER 5 SUFFERING FROM DIARRHEA IN PAST 30 DAYS-BY PROVINCE AND DISTRICT

PROVINCE & DISTRICT	URBAN			RURAL			TOTAL			RANK	TOTAL 14-15
	M	F	T	M	F	T	M	F	T		
Khyber Pakhtunkhwa	**7**	**6**	**6**	**6**	**6**	**6**	**6**	**6**	**6**		**10**
1 Abbottabad	2	2	2	2	3	2	2	3	2	29	7
2 Bajur	0	0	0	6	5	6	6	5	6	17	
3 Bannu	32	0	19	17	13	15	17	13	15	3	14
4 Batagram	0	0	0	15	15	15	15	15	15	2	15
5 Bonair	0	0	0	3	4	4	3	4	4	24	3
6 Charsada	5	10	7	5	6	5	5	6	6	15	11
7 Chitral	0	22	10	7	6	6	6	7	7	12	5
8 D.I.Khan	0	10	5	7	8	7	6	8	7	10	15
9 Hangu	12	0	6	4	4	4	5	3	4	22	12
10 Haripur	0	0	0	3	4	3	2	4	3	27	4
11 Karak	20	17	18	2	4	3	3	5	4	23	11
12 Khyber	0	0	0	13	9	11	12	8	10	5	
13 Kohat	0	2	1	2	3	2	1	3	2	30	11
14 Kohistan	0	0	0	3	4	4	3	4	4	25	7
15 Kurram	0	0	0	7	7	7	7	7	7	9	
16 Lakki Marwat	0	10	4	6	4	5	5	4	5	19	11
17 Lower Dir	0	0	0	5	4	4	5	4	4	21	4
18 Malakand	0	6	4	10	11	10	9	10	10	6	10
19 Mansehra	15	11	13	5	5	5	6	5	6	16	5
20 Mardan	5	5	5	4	5	5	4	5	5	18	11
21 Mohmand	0	0	0	3	2	2	3	2	2	28	
22 North Waziristan	0	0	0	8	4	7	8	4	7	13	
23 Nowshera	10	5	8	6	5	6	7	5	6	14	15
24 orakzai	0	0	0	7	6	7	7	6	7	11	
25 Peshawar	9	6	8	7	6	6	8	6	7	8	16
26 Shangla	0	0	0	5	3	4	5	3	4	20	5
27 South Waziristan	0	0	0	15	18	17	15	18	17	1	
28 Swabi	5	0	3	4	4	4	4	3	4	26	7
29 Swat	4	2	3	1	1	1	2	1	2	31	6
30 Tank	0	23	10	14	9	12	11	12	11	4	9
31 Tor Garh	0	0	0	1	2	1	1	2	1	32	4
32 Upper Dir	0	18	13	9	7	8	9	7	8	7	12

TABLE 4.6: CHILDREN UNDER 5 SUFFERING FROM DIARRHEA IN PAST 30 DAYS-BY PROVINCE AND DISTRICT

PROVINCE & DISTRICT	URBAN			RURAL			TOTAL			RANK	TOTAL 14-15
	M	F	T	M	F	T	M	F	T		
Balochistan	**9**	**7**	**8**	**6**	**7**	**6**	**7**	**7**	**7**		**11**
1 Awaran	0	8	3	2	2	2	1	3	2	24	16
2 Barkhan	0	6	3	2	12	7	2	10	6	14	14
3 Dera Bugti	0	0	0	2	0	1	1	0	1	28	4
4 Duki	25	0	11	15	14	15	16	13	14	4	
5 Gwadar	17	15	16	11	10	10	14	12	13	5	12
6 Harnai	0	0	0	0	8	3	0	5	2	22	12
7 Jafarabad	6	7	7	3	2	2	3	3	3	19	6
8 Bolan	21	11	14	8	10	9	9	10	9	9	6
9 Kalat	0	0	0	7	5	6	7	5	6	1	31
10 Ketch	24	31	28	18	16	17	20	21	20	13	
11 Kharan	8	13	10	13	12	13	12	13	12	6	17
12 Khuzdar	0	0	0	3	4	3	3	4	3	18	28
13 Kohlu	0	0	0	9	0	5	8	0	4	17	8
14 Lasbilla	3	2	2	8	12	9	5	5	5	16	8
15 Loralai	9	3	6	7	5	6	7	4	6	15	24
16 Mastung	0	0	0	8	11	9	7	8	7	11	19
17 Nasirabad	12	20	16	10	10	10	10	11	11	8	18
18 Nushki	9	11	10	12	12	12	12	12	12	7	8
19 Pashin	0	2	1	4	2	3	3	2	3	20	1
20 Qillah Abdullah	4	3	4	1	3	2	1	3	2	23	1
21 Qilla Saifullah	0	0	0	2	4	3	2	4	3	21	8
22 Quetta	12	4	9	5	8	6	7	6	7	12	9
23 Shaheed Sikandar abad	0	0	0	5	11	8	5	11	8	10	
24 Sheani	0	0	0	21	11	15	21	11	15	3	0
25 Sibbi	0	0	0	0	2	1	0	1	1	27	9
26 Sohbatpur	0	0	0	1	1	1	1	1	1	26	
27 Washuk	24	20	23	18	18	18	19	18	19	2	11
28 Ziarat	0	0	0	1	2	1	1	2	1	25	6

NOTES:

1. The Panjgur,Chaghi,Musa Khel,Zhob and Jhal Magsi districts have been dropped from the scope of the survey due to law and order situation.

TABLE 4.7: TREATMENT OF DIARRHOEA IN CHILDREN UNDER 5 YEARS

PROVINCE & DISTRICT	URBAN			RURAL			TOTAL		
	MALE	FEMALE	TOTAL	MALE	FEMALE	TOTAL	MALE	FEMALE	TOTAL
A. DIARRHOEA CASES WHERE A PRACTITIONER WAS CONSULTED									
Pakistan	**93**	**91**	**92**	**90**	**89**	**90**	**91**	**90**	**91**
Punjab	**89**	**89**	**89**	**90**	**90**	**90**	**90**	**90**	**90**
Attock	0	0	0	100	59	68	100	59	68
Bahawalnager	100	76	90	94	93	94	95	91	93
Bahawalpur	100	100	100	99	99	99	99	99	99
Bhakhar	100	100	100	94	95	95	94	95	95
Chakwal	71	83	76	80	82	81	78	82	80
Chinniot	100	100	100	100	79	90	100	81	90
D.G.khan	95	100	98	95	94	95	95	95	95
Faisalabad	100	86	92	93	96	94	94	93	94
Gujranwala	91	95	93	83	79	81	88	90	89
Gujrat	100	100	100	100	87	91	100	89	93
Hafizabad	76	100	82	88	88	88	84	91	86
Islamabad	100	100	100	85	100	96	88	100	97
Jehlum	100	82	94	95	87	91	96	87	92
Jhang	77	95	84	91	97	94	86	96	90
Kasur	57	67	61	87	89	88	77	83	80
Khanewal	94	67	86	89	96	91	89	93	91
Khushab	44	100	61	83	100	91	76	100	87
Lahore	91	88	89	0	0	0	91	88	89
Layyah	100	100	100	87	79	84	89	82	86
Lodhran	100	100	100	89	100	93	92	100	94
Mandi Bahuddin	0	100	100	79	100	85	79	100	86
Mianwali	100	100	100	92	100	95	93	100	96
Multan	80	87	84	70	77	74	73	81	77
Muzaffar Garh	79	94	86	85	76	80	83	82	82
Nankana Sahib	0	70	70	28	100	77	28	88	74
Narowal	0	0	0	58	77	66	58	77	66
Okara	100	100	100	90	97	94	91	98	95
Pakpatten	100	100	100	92	93	92	93	94	93
Rahim Yar Khan	77	88	85	96	93	95	93	91	92
Rajanpur	0	100	100	90	90	90	90	91	90
Rawalpindi	100	81	91	95	83	89	98	82	90
Sahiwal	100	100	100	93	95	94	93	96	95
Sargodha	100	78	87	96	96	96	97	93	95
Sheikhupura	86	49	70	93	91	92	90	77	85
Sialkot	100	68	90	100	100	100	100	83	94
T.T.Singh	85	0	73	100	100	100	94	89	92
Vehari	63	100	70	77	77	77	72	79	76

NOTES:

1.Diarrhoea cases where a practitioner was consulted expressed as a percentage of all diarrhoea cases during past 30 days in children under 5 years.

2.Cases where a practitioner was consulted: For all the children that reported an episode of diarrhoea in the past 30 days the mothers were asked whether they consulted a practitioner for the ailment. The statistics reported here represent the percentage of cases where a practitioner was consulted

TABLE 4.7: TREATMENT OF DIARRHOEA IN CHILDREN UNDER 5 YEARS

PROVINCE & DISTRICT	URBAN			RURAL			TOTAL		
	MALE	FEMALE	TOTAL	MALE	FEMALE	TOTAL	MALE	FEMALE	TOTAL
A. DIARRHOEA CASES WHERE A PRACTITIONER WAS CONSULTED									
Sindh	**96**	**93**	**95**	**93**	**91**	**92**	**95**	**92**	**93**
Badin	93	71	84	77	94	87	83	88	86
Dadu	84	85	84	0	0	0	84	71	77
Ghotki	100	100	100	100	83	90	100	85	92
Hyderabad	98	100	99	89	100	93	96	100	98
Jaccobabad	84	76	79	70	80	75	74	79	76
Jamshoro	42	65	48	87	100	94	56	85	68
Karachi Central	86	100	91	0	0	0	86	100	91
Karachi East	100	96	98	0	0	0	100	96	98
Karachi Malir	100	100	100	100	100	100	100	100	100
Karachi South	93	89	90	0	0	0	93	89	90
Karachi west	100	83	92	65	100	87	93	89	91
Kashmore	80	87	84	98	97	98	97	96	96
Khairpur	97	82	89	96	92	94	96	90	93
korangi	100	97	99	0	0	0	100	97	99
Larkana	99	100	99	98	92	95	99	97	98
Matiari	100	100	100	80	100	87	87	100	90
Mir Pur Khas	100	100	100	100	100	100	100	100	100
Nowshero Feroze	80	100	87	100	100	100	95	100	97
Sanghar	100	100	100	100	83	95	100	93	97
Shahdadkot	100	100	100	98	100	99	99	100	99
Shaheed Banazir Abad	100	100	100	91	85	88	94	86	90
Shikarpur	100	81	91	89	73	79	92	74	82
Sujawal	0	0	0	54	46	50	54	46	50
Sukkur	96	100	98	100	91	97	98	96	97
Tando Allah Yar	100	100	100	92	78	90	94	87	92
Tando Muhd Khan	100	0	100	90	96	93	91	96	93
Tharparkar	0	0	0	100	100	100	100	100	100
Thatta	100	94	98	81	66	74	90	75	84
Umer Kot	100	100	100	100	100	100	100	100	100

TABLE 4.7: TREATMENT OF DIARRHOEA IN CHILDREN UNDER 5 YEARS

PROVINCE & DISTRICT	URBAN			RURAL			TOTAL		
	MALE	FEMALE	TOTAL	MALE	FEMALE	TOTAL	MALE	FEMALE	TOTAL
A. DIARRHOEA CASES WHERE A PRACTITIONER WAS CONSULTED									
Khyber Pakhtunkhwa	**89**	**95**	**92**	**91**	**88**	**90**	**91**	**89**	**90**
Abbottabad	0	100	33	62	63	63	48	66	58
Bajur	0	0	0	93	83	88	93	83	88
Bannu	100		100	81	73	77	82	73	78
Batagram	0	0	0	85	87	86	85	87	86
Bonair	0	0	0	80	92	87	80	92	87
Charsada	59	100	86	97	91	94	90	94	92
Chitral	0	100	100	93	49	74	93	62	78
D.I.Khan	0	100	100	90	100	95	90	100	95
Hangu	100	0	100	100	100	100	100	100	100
Haripur	0	0	0	77	100	89	77	100	89
Karak	100	100	100	47	79	65	61	83	74
Khyber	0	0	0	98	97	97	98	97	97
Kohat	0	100	100	100	46	66	100	53	69
Kohistan	0	0	0	90	91	91	90	91	91
Kurram	0	0	0	100	100	100	100	100	100
Lakki Marwat	0	100	100	100	65	87	100	71	88
Lower Dir	0	0	0	83	72	78	83	72	78
Malakand	0	100	100	95	72	84	95	75	84
Mansehra	100	100	100	95	89	92	96	90	93
Mardan	100	100	100	100	100	100	100	100	100
Mohmand	0	0	0	92	100	95	92	100	95
North Waziristan	0	0	0	77	96	82	77	96	82
Nowshera	82	79	81	97	94	96	93	91	92
orakzai	0	0	0	100	95	98	100	95	98
Peshawar	92	91	92	97	94	95	94	93	94
Shangla	0	0	0	79	88	83	79	88	83
South Waziristan	0	0	0	95	100	97	95	100	97
Swabi	69	0	69	100	94	97	94	94	94
Swat	100	100	100	30	83	57	72	88	78
Tank	0	100	100	100	82	94	100	89	95
Tor Garh	0	0	0	100	55	73	100	55	73
Upper Dir	0	100	100	92	94	93	92	94	93

TABLE 4.7: TREATMENT OF DIARRHOEA IN CHILDREN UNDER 5 YEARS

PROVINCE & DISTRICT	URBAN			RURAL			TOTAL		
	MALE	FEMALE	TOTAL	MALE	FEMALE	TOTAL	MALE	FEMALE	TOTAL
A. DIARRHOEA CASES WHERE A PRACTITIONER WAS CONSULTED									
Balochistan	**95**	**93**	**94**	**79**	**87**	**83**	**84**	**88**	**86**
Awaran	0	100	100	24	100	57	24	100	66
Barkhan	0	100	100	71	92	88	71	93	90
Dera Bugti	0	0	0	50	0	50	50	0	50
Duki	100	0	100	86	93	90	88	93	91
Gwadar	100	100	100	100	100	100	100	100	100
Harnai	0	0	0	0	27	27	0	27	27
Jafarabad	100	80	91	100	100	100	100	90	96
Bolan	100	100	100	100	86	92	100	88	93
Kalat	0	0	0	88	100	93	88	100	93
Turbat	100	100	100	96	97	97	97	98	98
Kharan	77	100	91	83	82	83	82	86	84
Khuzdar	0	0	0	38	68	54	38	68	54
Kohlu	0	0	0	100	0	100	100	0	100
Lasbilla	100	0	53	58	100	77	67	78	72
Loralai	100	100	100	75	54	66	86	63	78
Mastung	0	0	0	70	68	69	70	68	69
Nasirabad	85	100	94	64	74	69	69	81	75
Nushki	100	100	100	93	82	88	94	87	91
Pashin	0	100	100	63	100	75	63	100	76
Qilla Abdullah	100	70	87	54	64	62	79	65	69
Qilla Saifullah	0	0	0	71	100	88	71	100	88
Quetta	92	91	92	61	85	74	79	87	82
Shaheed Sikandar abad	0	0	0	100	81	88	100	81	88
Sheani	0	0	0	100	100	100	100	100	100
Sibbi	0	0	0	0	100	100	0	100	100
Sohbatpur	0	0	0	100	100	100	100	100	100
Washuk	100	100	100	95	95	95	96	96	96
Ziarat	0	0	0	100	100	100	100	100	100

NOTE:

1. The Panjgur,Chaghi,Musa Khel,Zhob and Jhal Magsi districts have been dropped from the scope of the survey due to law and order situation.

TABLE 4.7 : TREATMENT OF DIARRHOEA IN CHILDREN UNDER 5 YEARS

PROVINCE & DISTRICT	URBAN			RURAL			TOTAL			RANK	TOTAL 14-15
	MALE	FEMALE	TOTAL	MALE	FEMALE	TOTAL	MALE	FEMALE	TOTAL		
B. DIARRHEA CASES WHERE ORS WAS GIVEN TO CHILD											
Pakistan	**85**	**86**	**85**	**83**	**83**	**83**	**84**	**84**	**84**		**72**
Punjab	**70**	**76**	**73**	**76**	**77**	**77**	**75**	**77**	**76**		**63**
1 Attock	0	0	0	100	90	92	100	90	92	6	81
2 Bahawalnager	57	76	65	76	63	70	73	65	69	24	55
3 Bahawalpur	79	83	81	64	69	66	67	71	69	25	45
4 Bhakhar	0	0	0	46	70	60	44	68	58	31	88
5 Chakwal	71	100	84	78	60	71	77	72	75	21	100
6 Chiniot	0	0	0	15	31	23	14	29	21	37	51
7 D.G.khan	68	64	65	87	91	89	84	85	84	11	99
8 Faisalabad	67	41	52	42	36	39	48	37	42	36	51
9 Gujranwala	65	51	58	61	55	59	64	52	58	30	48
10 Gujrat	50	100	70	100	100	100	78	100	92	7	72
11 Hafizabad	76	0	56	79	38	65	78	28	62	29	56
12 Islamabad	100	100	100	85	93	91	88	94	93	5	83
13 Jehlum	100	100	100	96	99	97	97	99	98	1	95
14 Jhang	47	55	50	60	46	54	56	49	53	32	50
15 Kasur	42	64	51	83	90	87	69	83	75	20	49
16 Khanewal	72	48	65	67	68	67	67	67	67	26	62
17 Khushab	0	0	0	64	58	61	53	53	53	33	65
18 Lahore	72	83	78	0	0	0	72	83	78	17	68
19 Layyah	100	100	100	96	97	96	96	97	97	3	73
20 Lodhran	70	82	74	87	88	87	83	86	84	12	70
21 Mandi Bahuddin		100	100	37	69	46	37	75	49	35	59
22 Mianwali	100	100	100	85	80	83	88	81	85	10	81
23 Multan	70	74	72	86	81	83	81	78	79	16	75
24 Muzaffar Garh	60	88	72	54	69	61	57	76	66	27	66
25 Nankana Sahib	0	59	59	64	69	68	64	65	65	28	41
26 Narowal	0	0	0	83	61	74	83	61	74	22	42
27 Okara	100	100	100	81	63	71	83	71	76	19	66
28 Pakpatten	84	74	80	81	88	83	81	86	83	13	58
29 Rahim Yar Khan	69	76	74	96	85	91	92	81	87	8	49
30 Rajanpur	0	100	100	95	97	96	95	97	96	4	100
31 Rawalpindi	88	93	90	76	90	83	82	91	87	9	92
32 Sahiwal	63	67	66	72	69	70	71	68	70	23	66
33 Sargodha	100	78	87	76	77	76	78	77	78	18	61
34 Sheikhupura	78	64	72	77	92	83	78	83	80	15	34
35 Sialkot	100	100	100	64	42	56	86	73	81	14	56
36 T.T.Singh	15	100	27	62	54	59	45	59	50	34	55
37 Vehari	100	100	100	100	95	97	100	95	97	2	78

NOTES:

1. Diarrhoea cases where ORS was administered to the child expressed as a percentage of all diarrhoea cases during the past 30 days in children under 5 years.
2. Cases where ORS was administered: For all children that reported an episode of diarrhoea in the past 30 days, the mothers were asked if ORS had been given to the child. The statistics reported here represent the percentage of cases where ORS was given to the child.

TABLE 4.7 : TREATMENT OF DIARRHOEA IN CHILDREN UNDER 5 YEARS

PROVINCE & DISTRICT	URBAN			RURAL			TOTAL			RANK	TOTAL 14-15
	MALE	FEMALE	TOTAL	MALE	FEMALE	TOTAL	MALE	FEMALE	TOTAL		
B. DIARRHEA CASES WHERE ORS WAS GIVEN TO CHILD											
Sindh	**97**	**96**	**97**	**93**	**90**	**92**	**95**	**93**	**94**		**87**
1 Badin	93	100	96	73	85	79	81	89	85	23	59
2 Dadu	100	85	92		0	0	100	71	84	25	87
3 Ghotki	100	100	100	100	95	97	100	95	98	6	92
4 Hyderabad	97	97	97	100	100	100	98	97	98	7	87
5 Jaccobabad	83	88	86	100	100	100	96	96	96	12	88
6 Jamshoro	86	94	89	100	90	95	91	92	91	19	71
7 Karachi Central	92	93	92	0	0	0	92	93	92	18	100
8 Karachi East	98	98	98	0	0	0	98	98	98	4	
9 Karachi Malir	100	100	100	100	100	100	100	100	100	1	
10 Karachi South	93	100	97	0	0	0	93	100	97	8	
11 Karachi west	100	94	97	100	93	96	100	94	97	10	
12 Kashmore	100	100	100	100	96	98	100	96	98	2	96
13 Khairpur	96	95	95	98	100	99	98	99	98	3	99
14 korangi	96	96	96	0	0	0	96	96	96	11	
15 Larkana	100	100	100	95	88	92	99	96	98	5	94
16 Matiari	90	100	92	88	93	90	89	95	91	21	69
17 Mir Pur Khas	90	71	85	100	76	86	93	74	85	22	78
18 Nowshero Feroze	100	100	100	93	91	92	95	93	94	15	89
19 Sanghar	100	82	84	100	100	100	100	89	95	14	86
20 Shahdadkot	90	100	92	92	96	94	92	96	93	16	85
21 Shaheed Banazir Abad	100	100	100	91	61	74	94	63	79	27	84
22 Shikarpur	100	100	100	79	58	66	83	64	72	28	87
23 Sujawal	0	0	0	82	63	71	82	63	71	29	82
24 Sukkur	94	100	97	100	91	97	98	96	97	9	89
25 Tando Allah Yar	100	100	100	74	100	78	80	100	84	24	83
26 Tando Muhd Khan	100	0	100	78	83	80	79	83	80	26	60
27 Tharparkar	0	0	0	94	100	95	94	100	95	13	59
28 Thatta	100	100	100	87	82	85	93	88	91	20	91
29 Umer Kot	50	100	75	100	96	98	88	97	93	17	53

TABLE 4.7 : TREATMENT OF DIARRHOEA IN CHILDREN UNDER 5 YEARS

PROVINCE & DISTRICT	URBAN			RURAL			TOTAL			RANK	TOTAL 14-15
	MALE	FEMALE	TOTAL	MALE	FEMALE	TOTAL	MALE	FEMALE	TOTAL		
B. DIARRHEA CASES WHERE ORS WAS GIVEN TO CHILD											
Khyber Pakhtunkhwa	**79**	**85**	**82**	**87**	**88**	**88**	**86**	**88**	**87**		**81**
1 Abbottabad	100	100	100	81	77	79	85	79	82	23	63
2 Bajur	0	0	0	68	80	74	68	80	74	28	
3 Bannu	100	0	100	92	100	96	93	100	96	10	99
4 Batagram	0	0	0	75	69	72	75	69	72	29	91
5 Bonair	0	0	0	83	93	88	83	93	88	16	78
6 Charsada	59	81	73	96	100	98	89	94	92	15	59
7 Chitral	0	100	100	40	31	36	40	48	44	31	73
8 D.I.Khan	0	100	100	95	100	97	95	100	98	9	78
9 Hangu	100	0	100	83	87	85	88	87	87	18	91
10 Haripur	0	0	0	62	100	83	62	100	83	21	100
11 Karak	100	100	100	100	100	100	100	100	100	1	93
12 Khyber	0	0	0	100	100	100	100	100	100	2	
13 Kohat	0	100	100	100	100	100	100	100	100	3	70
14 Kohistan	0	0	0	77	82	79	77	82	79	26	96
15 Kurram	0	0	0	86	91	88	86	91	88	17	
16 Lakki Marwat	0	100	100	100	100	100	100	100	100	4	90
17 Lower Dir	0	0	0	74	88	80	74	88	80	25	89
18 Malakand PA	0	0	0	95	78	86	95	71	83	22	93
19 Manshera	100	100	100	95	89	93	96	91	94	13	74
20 Mardan	100	100	100	91	91	91	93	93	93	14	86
21 Mohmand	0	0	0	92	100	95	92	100	95	11	
22 North Waziristan	0	0	0	100	100	100	100	100	100	5	
23 Nowsehra	90	60	82	75	70	73	80	68	75	27	93
24 orakzai	0	0	0	100	100	100	100	100	100	6	
25 Peshawar	72	82	76	92	97	94	81	90	85	19	70
26 Shangla	0	0	0	21	28	24	21	28	24	32	94
27 South Waziristan	0	0	0	100	100	100	100	100	100	7	
28 Swabi	100	0	100	95	94	95	96	94	95	12	84
29 Swat	72	100	79	100	0	49	83	34	64	30	85
30 Tank	0	100	100	100	100	100	100	100	100	8	78
31 Tor Garh	0	0	0	100	71	82	100	71	82	24	68
32 Upper Dir	0	100	100	82	83	83	82	84	83	20	77

TABLE 4.7 : TREATMENT OF DIARRHOEA IN CHILDREN UNDER 5 YEARS

PROVINCE & DISTRICT	URBAN			RURAL			TOTAL			RANK	TOTAL 14-15
	MALE	FEMALE	TOTAL	MALE	FEMALE	TOTAL	MALE	FEMALE	TOTAL		
B. DIARRHEA CASES WHERE ORS WAS GIVEN TO CHILD											
Balochistan	**94**	**93**	**93**	**84**	**86**	**85**	**87**	**88**	**87**		**90**
1 Awaran	0	100	100	100	100	100	100	100	100	1	91
2 Barkhan	0	100	100	100	80	84	100	84	86	2	100
3 Dera Bugti	0	0	0	100	0	100	100	0	100	20	92
4 Duki	100	0	100	100	100	100	100	100	100	3	
5 Gwadar	100	100	100	100	100	100	100	100	100	4	100
6 Harnai	0	0	0	0	0	0	0	0	0	28	95
7 Jafarabad	83	80	82	100	100	100	93	90	92	16	94
8 Bolan	100	100	100	89	86	87	91	88	89	17	63
9 Kalat	0	0	0	100	100	100	100	100	100	5	93
10 Ketch	100	100	100	100	92	96	100	96	98	12	
11 Kharan	100	100	100	94	96	95	95	97	96	15	100
12 Khuzdar	0	0	0	100	100	100	100	100	100	6	87
13 Kohlu	0	0	0	100		100	100	0	100	7	47
14 Lasbilla	10	0	5	58	50	54	48	39	43	26	89
15 Loralai	100	100	100	77	67	73	87	73	82	22	99
16 Mastung	0	0	0	82	88	85	82	88	85	21	83
17 Nasirabad	100	100	100	81	86	84	85	90	88	19	100
18 Nushki	100	100	100	95	100	97	96	100	98	13	93
19 Pashin	0	100	100	70	85	74	70	87	76	24	29
20 Qilla Abdullah	75	100	86	46	100	89	61	100	88	18	64
21 Qilla Saifullah	0	0	0	32	41	38	32	41	38	27	80
22 Quetta	96	85	93	53	67	61	78	72	76	23	89
23 Shaheed Sikandar abad	0	0	0	100	100	100	100	100	100	8	
24 Sheani	0	0	0	100	100	100	100	100	100	9	-
25 Sibbi	0	0	0		100	100	0	100	100	10	90
26 Sohbatpur	0	0	0	0	100	58	0	100	58	25	
27 Washuk	100	100	100	93	100	96	95	100	97	14	93
28 Ziarat	0	0	0	100	100	100	100	100	100	11	89

NOTE:

1. The Panjgur,Chaghi,Musa Khel,Zhob and Jhal Magsi districts have been dropped from the scope of the survey due to law and order situation.

TABLE 4.8: TYPE OF PRACTITIONER CONSULTED FOR DIARRHEA TREATMENT

PROVINCE & DISTRICT		PERCENTAGE OF DIARRHEA CASES		
		URBAN	RURAL	TOTAL
Pakistan	Private Dispensary/Hospital	57	47	50
	Govt. hospital/dispensary	31	28	29
	RHC/BHU	4	11	8
	LHW	4	7	6
	LHV/Nurse	0	1	1
	Chemist/Pharmacy	3	4	4
	Hakeem/Homoeapathic/Herbalist	0	1	1
	Other	1	1	1
	Total	100	100	100
Punjab	Private Dispensary/Hospital	68	57	60
	Govt. hospital/dispensary	22	22	22
	RHC/BHU	1	7	5
	LHW	4	7	6
	LHV/Nurse	0	2	1
	Chemist/Pharmacy	3	3	3
	Hakeem/Homoeapathic/Herbalist	1	1	1
	Other	1	2	2
	Total	100	100	100
Attock	Private Dispensary/Hospital	0	24	24
	Govt. hospital/dispensary	0	64	64
	RHC/BHU	0	0	0
	LHW	0	0	0
	LHV/Nurse	0	0	0
	Chemist/Pharmacy	0	12	12
	Hakeem/Homoeapathic/Herbalist	0	0	0
	Other	0	0	0
	Total	0	100	100
Bahawalnager	Private Dispensary/Hospital	47	53	52
	Govt. hospital/dispensary	33	15	17
	RHC/BHU	0	11	10
	LHW	0	10	8
	LHV/Nurse	0	3	2
	Chemist/Pharmacy	20	5	7
	Hakeem/Homoeapathic/Herbalist	0	2	1
	Other	0	2	1
	Total	100	100	100
Bahawalpur	Private Dispensary/Hospital	73	89	86
	Govt. hospital/dispensary	27	7	10
	RHC/BHU	0	3	2
	LHW	0	0	0
	LHV/Nurse	0	0	0
	Chemist/Pharmacy	0	0	0
	Hakeem/Homoeapathic/Herbalist	0	0	0
	Other	0	0	0
	Total	100	100	100
Bhakhar	Private Dispensary/Hospital	50	57	57
	Govt. hospital/dispensary	50	35	36
	RHC/BHU	0	2	2
	LHW	0	0	0
	LHV/Nurse	0	0	0
	Chemist/Pharmacy	0	0	0
	Hakeem/Homoeapathic/Herbalist	0	2	2
	Other	0	4	4
	Total	100	100	100

TABLE 4.8: TYPE OF PRACTITIONER CONSULTED FOR DIARRHEA TREATMENT

PROVINCE & DISTRICT		PERCENTAGE OF DIARRHEA CASES		
		URBAN	RURAL	TOTAL
Chakwal	Private Dispensary/Hospital	13	30	26
	Govt. hospital/dispensary	88	36	49
	RHC/BHU	0	0	0
	LHW	0	12	9
	LHV/Nurse	0	15	11
	Chemist/Pharmacy	0	0	0
	Hakeem/Homoeapathic/Herbalist	0	0	0
	Other	0	6	5
	Total	100	100	100
Chioniot	Private Dispensary/Hospital	100	77	79
	Govt. hospital/dispensary	0	3	3
	RHC/BHU	0	13	12
	LHW	0	0	0
	LHV/Nurse	0	0	0
	Chemist/Pharmacy	0	0	0
	Hakeem/Homoeapathic/Herbalist	0	7	7
	Other	0	0	0
	Total	100	100	100
D.G.khan	Private Dispensary/Hospital	76	65	67
	Govt. hospital/dispensary	24	30	29
	RHC/BHU	0	4	3
	LHW	0	0	0
	LHV/Nurse	0	0	0
	Chemist/Pharmacy	0	0	0
	Hakeem/Homoeapathic/Herbalist	0	0	0
	Other	0	0	0
	Total	100	100	100
Faisalabad	Private Dispensary/Hospital	75	66	68
	Govt. hospital/dispensary	20	16	17
	RHC/BHU	0	4	3
	LHW	0	4	3
	LHV/Nurse	0	3	2
	Chemist/Pharmacy	0	3	2
	Hakeem/Homoeapathic/Herbalist	0	0	0
	Other	5	3	4
	Total	100	100	100
Gujranwala	Private Dispensary/Hospital	72	75	73
	Govt. hospital/dispensary	12	9	11
	RHC/BHU	6	11	8
	LHW	0	0	0
	LHV/Nurse	1	0	1
	Chemist/Pharmacy	3	0	2
	Hakeem/Homoeapathic/Herbalist	2	6	3
	Other	3	0	2
	Total	100	100	100
Gujrat	Private Dispensary/Hospital	70	59	62
	Govt. hospital/dispensary	30	0	9
	RHC/BHU	0	41	29
	LHW	0	0	0
	LHV/Nurse	0	0	0
	Chemist/Pharmacy	0	0	0
	Hakeem/Homoeapathic/Herbalist	0	0	0
	Other	0	0	0
	Total	100	100	100

TABLE 4.8: TYPE OF PRACTITIONER CONSULTED FOR DIARRHEA TREATMENT

PROVINCE & DISTRICT		PERCENTAGE OF DIARRHEA CASES		
		URBAN	RURAL	TOTAL
Hafizabad	Private Dispensary/Hospital	66	56	59
	Govt. hospital/dispensary	34	22	26
	RHC/BHU	0	15	10
	LHW	0	0	0
	LHV/Nurse	0	7	5
	Chemist/Pharmacy	0	0	0
	Hakeem/Homoeapathic/Herbalist	0	0	0
	Other	0	0	0
	Total	100	100	100
Islamabad	Private Dispensary/Hospital	39	36	37
	Govt. hospital/dispensary	61	56	57
	RHC/BHU	0	0	0
	LHW	0	0	0
	LHV/Nurse	0	0	0
	Chemist/Pharmacy	0	0	0
	Hakeem/Homoeapathic/Herbalist	0	0	0
	Other	0	8	6
	Total	100	100	100
Jehlum	Private Dispensary/Hospital	29	22	23
	Govt. hospital/dispensary	43	44	43
	RHC/BHU	0	4	3
	LHW	29	14	16
	LHV/Nurse	0	14	11
	Chemist/Pharmacy	0	3	3
	Hakeem/Homoeapathic/Herbalist	0	0	0
	Other	0	0	0
	Total	100	100	100
Jhang	Private Dispensary/Hospital	80	84	83
	Govt. hospital/dispensary	10	12	12
	RHC/BHU	0	0	0
	LHW	0	0	0
	LHV/Nurse	0	0	0
	Chemist/Pharmacy	0	0	0
	Hakeem/Homoeapathic/Herbalist	10	4	6
	Other	0	0	0
	Total	100	100	100
Kasur	Private Dispensary/Hospital	75	66	68
	Govt. hospital/dispensary	25	13	16
	RHC/BHU	0	12	9
	LHW	0	5	3
	LHV/Nurse	0	0	0
	Chemist/Pharmacy	0	3	2
	Hakeem/Homoeapathic/Herbalist	0	2	2
	Other	0	0	0
	Total	100	100	100
Khanewal	Private Dispensary/Hospital	83	40	44
	Govt. hospital/dispensary	7	6	6
	RHC/BHU	0	1	1
	LHW	10	32	30
	LHV/Nurse	0	1	1
	Chemist/Pharmacy	0	12	11
	Hakeem/Homoeapathic/Herbalist	0	3	3
	Other	0	6	5
	Total	100	100	100

TABLE 4.8: TYPE OF PRACTITIONER CONSULTED FOR DIARRHEA TREATMENT

PROVINCE & DISTRICT		PERCENTAGE OF DIARRHEA CASES		
		URBAN	RURAL	TOTAL
Khushab	Private Dispensary/Hospital	100	55	59
	Govt. hospital/dispensary	0	11	10
	RHC/BHU	0	10	9
	LHW	0	0	0
	LHV/Nurse	0	0	0
	Chemist/Pharmacy	0	20	18
	Hakeem/Homoeapathic/Herbalist	0	4	4
	Other	0	0	0
	Total	100	100	100
Lahore	Private Dispensary/Hospital	75	0	75
	Govt. hospital/dispensary	19	0	19
	RHC/BHU	2	0	2
	LHW	1	0	1
	LHV/Nurse	0	0	0
	Chemist/Pharmacy	2	0	2
	Hakeem/Homoeapathic/Herbalist	0	0	0
	Other	1	0	1
	Total	100	0	100
Layyah	Private Dispensary/Hospital	56	43	45
	Govt. hospital/dispensary	44	29	31
	RHC/BHU	0	21	18
	LHW	0	0	0
	LHV/Nurse	0	0	0
	Chemist/Pharmacy	0	6	5
	Hakeem/Homoeapathic/Herbalist	0	1	1
	Other	0	0	0
	Total	100	100	100
Lodhran	Private Dispensary/Hospital	93	64	71
	Govt. hospital/dispensary	7	10	9
	RHC/BHU	0	10	7
	LHW	0	7	6
	LHV/Nurse	0	0	0
	Chemist/Pharmacy	0	4	3
	Hakeem/Homoeapathic/Herbalist	0	0	0
	Other	0	4	3
	Total	100	100	100
Mandi Bahuddin	Private Dispensary/Hospital	0	34	32
	Govt. hospital/dispensary	100	50	53
	RHC/BHU	0	17	16
	LHW	0	0	0
	LHV/Nurse	0	0	0
	Chemist/Pharmacy	0	0	0
	Hakeem/Homoeapathic/Herbalist	0	0	0
	Other	0	0	0
	Total	100	100	100
Mianwali	Private Dispensary/Hospital	32	42	41
	Govt. hospital/dispensary	20	31	30
	RHC/BHU	32	13	16
	LHW	16	2	4
	LHV/Nurse	0	4	3
	Chemist/Pharmacy	0	5	4
	Hakeem/Homoeapathic/Herbalist	0	4	3
	Other	0	0	0
	Total	100	100	100

TABLE 4.8: TYPE OF PRACTITIONER CONSULTED FOR DIARRHEA TREATMENT

PROVINCE & DISTRICT		PERCENTAGE OF DIARRHEA CASES		
		URBAN	RURAL	TOTAL
Multan	Private Dispensary/Hospital	48	28	36
	Govt. hospital/dispensary	15	52	38
	RHC/BHU	2	2	2
	LHW	26	10	16
	LHV/Nurse	4	0	1
	Chemist/Pharmacy	1	3	2
	Hakeem/Homoeapathic/Herbalist	0	0	0
	Other	3	6	5
	Total	100	100	100
Muzaffar Garh	Private Dispensary/Hospital	37	30	33
	Govt. hospital/dispensary	22	18	20
	RHC/BHU	0	10	6
	LHW	20	30	26
	LHV/Nurse	0	0	0
	Chemist/Pharmacy	12	0	5
	Hakeem/Homoeapathic/Herbalist	0	3	2
	Other	9	8	8
	Total	100	100	100
Nankana Sahib	Private Dispensary/Hospital	100	58	70
	Govt. hospital/dispensary	0	42	30
	RHC/BHU	0	0	0
	LHW	0	0	0
	LHV/Nurse	0	0	0
	Chemist/Pharmacy	0	0	0
	Hakeem/Homoeapathic/Herbalist	0	0	0
	Other	0	0	0
	Total	100	100	100
Narowal	Private Dispensary/Hospital	0	77	77
	Govt. hospital/dispensary	0	16	16
	RHC/BHU	0	0	0
	LHW	0	7	7
	LHV/Nurse	0	0	0
	Chemist/Pharmacy	0	0	0
	Hakeem/Homoeapathic/Herbalist	0	0	0
	Other	0	0	0
	Total	0	100	100
Okara	Private Dispensary/Hospital	82	66	69
	Govt. hospital/dispensary	18	15	16
	RHC/BHU	0	13	11
	LHW	0	2	1
	LHV/Nurse	0	3	3
	Chemist/Pharmacy	0	0	0
	Hakeem/Homoeapathic/Herbalist	0	0	0
	Other	0	0	0
	Total	100	100	100
Pakpatten	Private Dispensary/Hospital	69	49	52
	Govt. hospital/dispensary	21	14	15
	RHC/BHU	0	7	6
	LHW	9	17	16
	LHV/Nurse	0	11	10
	Chemist/Pharmacy	0	0	0
	Hakeem/Homoeapathic/Herbalist	0	1	1
	Other	0	0	0
	Total	100	100	100

TABLE 4.8: TYPE OF PRACTITIONER CONSULTED FOR DIARRHEA TREATMENT

PROVINCE & DISTRICT		PERCENTAGE OF DIARRHEA CASES		
		URBAN	RURAL	TOTAL
Rahim Yar Khan	Private Dispensary/Hospital	90	59	66
	Govt. hospital/dispensary	0	10	8
	RHC/BHU	0	4	3
	LHW	0	2	1
	LHV/Nurse	0	0	0
	Chemist/Pharmacy	10	5	6
	Hakeem/Homoeapathic/Herbalist	0	0	0
	Other	0	19	15
	Total	100	100	100
Rajanpur	Private Dispensary/Hospital	100	53	53
	Govt. hospital/dispensary	0	45	45
	RHC/BHU	0	2	2
	LHW	0	0	0
	LHV/Nurse	0	0	0
	Chemist/Pharmacy	0	0	0
	Hakeem/Homoeapathic/Herbalist	0	0	0
	Other	0	0	0
	Total	100	100	100
Rawalpindi	Private Dispensary/Hospital	32	39	35
	Govt. hospital/dispensary	66	33	48
	RHC/BHU	1	8	5
	LHW	1	14	8
	LHV/Nurse	0	2	1
	Chemist/Pharmacy	0	5	2
	Hakeem/Homoeapathic/Herbalist	0	0	0
	Other	0	0	0
	Total	100	100	100
Sahiwal	Private Dispensary/Hospital	91	62	67
	Govt. hospital/dispensary	9	6	6
	RHC/BHU	0	5	4
	LHW	0	18	14
	LHV/Nurse	0	10	8
	Chemist/Pharmacy	0	0	0
	Hakeem/Homoeapathic/Herbalist	0	0	0
	Other	0	0	0
	Total	100	100	100
Sargodha	Private Dispensary/Hospital	18	44	40
	Govt. hospital/dispensary	0	19	16
	RHC/BHU	0	9	7
	LHW	19	0	3
	LHV/Nurse	0	0	0
	Chemist/Pharmacy	62	29	33
	Hakeem/Homoeapathic/Herbalist	0	0	0
	Other	0	0	0
	Total	100	100	100
Sheikhupura	Private Dispensary/Hospital	84	83	83
	Govt. hospital/dispensary	16	11	13
	RHC/BHU	0	5	4
	LHW	0	0	0
	LHV/Nurse	0	0	0
	Chemist/Pharmacy	0	0	0
	Hakeem/Homoeapathic/Herbalist	0	0	0
	Other	0	0	0
	Total	100	100	100

TABLE 4.8: TYPE OF PRACTITIONER CONSULTED FOR DIARRHEA TREATMENT

PROVINCE & DISTRICT		PERCENTAGE OF DIARRHEA CASES		
		URBAN	RURAL	TOTAL
Sialkot	Private Dispensary/Hospital	59	60	60
	Govt. hospital/dispensary	41	0	23
	RHC/BHU	0	40	18
	LHW	0	0	0
	LHV/Nurse	0	0	0
	Chemist/Pharmacy	0	0	0
	Hakeem/Homoeapathic/Herbalist	0	0	0
	Other	0	0	0
	Total	100	100	100
T.T.Singh	Private Dispensary/Hospital	100	48	60
	Govt. hospital/dispensary	0	36	28
	RHC/BHU	0	2	2
	LHW	0	0	0
	LHV/Nurse	0	0	0
	Chemist/Pharmacy	0	11	9
	Hakeem/Homoeapathic/Herbalist	0	0	0
	Other	0	3	2
	Total	100	100	100
Vehari	Private Dispensary/Hospital	30	54	49
	Govt. hospital/dispensary	41	4	11
	RHC/BHU	0	14	12
	LHW	0	0	0
	LHV/Nurse	0	0	0
	Chemist/Pharmacy	16	0	3
	Hakeem/Homoeapathic/Herbalist	0	0	0
	Other	13	28	26
	Total	100	100	100

NOTES:
1.Column 1: Diarrhoea cases in which the practitioner indicated was consulted for treatment of diarrhea expressed as a percentage of all diarrhea consultations.

TABLE 4.8: TYPE OF PRACTITIONER CONSULTED FOR DIARRHEA TREATMENT

PROVINCE & DISTRICT		PERCENTAGE OF DIARRHEA CASES		
		URBAN	RURAL	TOTAL
Sindh	Private Dispensary/Hospital	50	36	43
	Govt. hospital/dispensary	37	29	33
	RHC/BHU	7	18	13
	LHW	4	16	10
	LHV/Nurse	0	0	0
	Chemist/Pharmacy	0	0	0
	Hakeem/Homoeapathic/Herbalist	0	1	0
	Other	0	0	0
	Total	100	100	100
Badin	Private Dispensary/Hospital	61	42	47
	Govt. hospital/dispensary	9	38	29
	RHC/BHU	30	17	21
	LHW	1	0	0
	LHV/Nurse	0	0	0
	Chemist/Pharmacy	0	0	0
	Hakeem/Homoeapathic/Herbalist	0	4	3
	Other	0	0	0
	Total	100	100	100
Dadu	Private Dispensary/Hospital	47	0	47
	Govt. hospital/dispensary	25	0	25
	RHC/BHU	28	0	28
	LHW	0	0	0
	LHV/Nurse	0	0	0
	Chemist/Pharmacy	0	0	0
	Hakeem/Homoeapathic/Herbalist	0	0	0
	Other	0	0	0
	Total	100	0	100
Ghotki	Private Dispensary/Hospital	61	49	50
	Govt. hospital/dispensary	13	14	14
	RHC/BHU	0	36	31
	LHW	26	2	5
	LHV/Nurse	0	0	0
	Chemist/Pharmacy	0	0	0
	Hakeem/Homoeapathic/Herbalist	0	0	0
	Other	0	0	0
	Total	100	100	100
Hyderabad	Private Dispensary/Hospital	69	17	61
	Govt. hospital/dispensary	26	19	25
	RHC/BHU	0	28	5
	LHW	5	36	10
	LHV/Nurse	0	0	0
	Chemist/Pharmacy	0	0	0
	Hakeem/Homoeapathic/Herbalist	0	0	0
	Other	0	0	0
	Total	100	100	100
Jacobabad	Private Dispensary/Hospital	100	74	82
	Govt. hospital/dispensary	0	19	13
	RHC/BHU	0	7	5
	LHW	0	0	0
	LHV/Nurse	0	0	0
	Chemist/Pharmacy	0	0	0
	Hakeem/Homoeapathic/Herbalist	0	0	0
	Other	0	0	0
	Total	100	100	100

TABLE 4.8: TYPE OF PRACTITIONER CONSULTED FOR DIARRHEA TREATMENT

PROVINCE & DISTRICT		PERCENTAGE OF DIARRHEA CASES		
		URBAN	RURAL	TOTAL
Jamshoro	Private Dispensary/Hospital	58	13	31
	Govt. hospital/dispensary	24	28	27
	RHC/BHU	0	38	22
	LHW	18	18	18
	LHV/Nurse	0	3	2
	Chemist/Pharmacy	0	0	0
	Hakeem/Homoeapathic/Herbalist	0	0	0
	Other	0	0	0
	Total	100	100	100
Karachi Central	Private Dispensary/Hospital	73	0	73
	Govt. hospital/dispensary	25	0	25
	RHC/BHU	0	0	0
	LHW	0	0	0
	LHV/Nurse	0	0	0
	Chemist/Pharmacy	2	0	2
	Hakeem/Homoeapathic/Herbalist	0	0	0
	Other	0	0	0
	Total	100	0	100
Karachi East	Private Dispensary/Hospital	39	0	39
	Govt. hospital/dispensary	60	0	60
	RHC/BHU	0	0	0
	LHW	0	0	0
	LHV/ Nurse	1	0	1
	Chemist/Pharmacy	0	0	0
	Hakeem/Homeopathic/Herbalist	0	0	0
	Other	0	0	0
	Total	100	0	100
Karachi Malir	Private Dispensary/Hospital	98	32	56
	Govt. hospital/dispensary	2	68	44
	RHC/BHU	0	0	0
	LHW	0	0	0
	LHV/ Nurse	0	0	0
	Chemist/Pharmacy	0	0	0
	Hakeem/Homeopathic/Herbalist	0	0	0
	Other	0	0	0
	Total	100	100	100
Karachi South	Private Dispensary/Hospital	89	0	89
	Govt. hospital/dispensary	11	0	11
	RHC/BHU	0	0	0
	LHW	0	0	0
	LHV/ Nurse	0	0	0
	Chemist/Pharmacy	0	0	0
	Hakeem/Homeopathic/Herbalist	0	0	0
	Other	0	0	0
	Total	100	0	100
Karachi west	Private Dispensary/Hospital	65	95	73
	Govt. hospital/dispensary	30	5	23
	RHC/BHU	0	0	0
	LHW	0	0	0
	LHV/ Nurse	0	0	0
	Chemist/Pharmacy	1	0	1
	Hakeem/Homeopathic/Herbalist	1	0	1
	Other	2	0	1
	Total	100	100	100

TABLE 4.8: TYPE OF PRACTITIONER CONSULTED FOR DIARRHEA TREATMENT

PROVINCE & DISTRICT		PERCENTAGE OF DIARRHEA CASES		
		URBAN	RURAL	TOTAL
Kashmore	Private Dispensary/Hospital	85	53	56
	Govt. hospital/dispensary	0	28	25
	RHC/BHU	15	14	14
	LHW	0	5	5
	LHV/Nurse	0	0	0
	Chemist/Pharmacy	0	0	0
	Hakeem/Homoeapathic/Herbalist	0	0	0
	Other	0	0	0
	Total	100	100	100
Khairpur	Private Dispensary/Hospital	12	14	14
	Govt. hospital/dispensary	16	13	14
	RHC/BHU	12	10	10
	LHW	52	63	61
	LHV/Nurse	7	0	1
	Chemist/Pharmacy	0	0	0
	Hakeem/Homoeapathic/Herbalist	0	0	0
	Other	0	0	0
	Total	100	100	100
korangi	Private Dispensary/Hospital	76	0	76
	Govt. hospital/dispensary	24	0	24
	RHC/BHU	0	0	0
	LHW	0	0	0
	LHV/ Nurse	0	0	0
	Chemist/Pharmacy	0	0	0
	Hakeem/Homeopathic/Herbalist	0	0	0
	Other	0	0	0
	Total	100	0	100
Larkana	Private Dispensary/Hospital	7	4	6
	Govt. hospital/dispensary	68	33	59
	RHC/BHU	23	57	32
	LHW	2	6	3
	LHV/Nurse	0	0	0
	Chemist/Pharmacy	0	0	0
	Hakeem/Homoeapathic/Herbalist	0	0	0
	Other	0	0	0
	Total	100	100	100
Matiari	Private Dispensary/Hospital	55	69	65
	Govt. hospital/dispensary	45	26	32
	RHC/BHU	0	5	4
	LHW	0	0	0
	LHV/Nurse	0	0	0
	Chemist/Pharmacy	0	0	0
	Hakeem/Homoeapathic/Herbalist	0	0	0
	Other	0	0	0
	Total	100	100	100
Mir Pur Khas	Private Dispensary/Hospital	63	27	50
	Govt. hospital/dispensary	16	73	36
	RHC/BHU	14	0	9
	LHW	7	0	5
	LHV/Nurse	0	0	0
	Chemist/Pharmacy	0	0	0
	Hakeem/Homoeapathic/Herbalist	0	0	0
	Other	0	0	0
	Total	100	100	100

TABLE 4.8: TYPE OF PRACTITIONER CONSULTED FOR DIARRHEA TREATMENT

PROVINCE & DISTRICT		PERCENTAGE OF DIARRHEA CASES		
		URBAN	RURAL	TOTAL
Nowshero Feroze	Private Dispensary/Hospital	70	69	69
	Govt. hospital/dispensary	30	25	26
	RHC/BHU	0	6	5
	LHW	0	0	0
	LHV/Nurse	0	0	0
	Chemist/Pharmacy	0	0	0
	Hakeem/Homoeapathic/Herbalist	0	0	0
	Other	0	0	0
	Total	100	100	100
Sanghar	Private Dispensary/Hospital	50	51	51
	Govt. hospital/dispensary	36	45	42
	RHC/BHU	14	4	8
	LHW	0	0	0
	LHV/Nurse	0	0	0
	Chemist/Pharmacy	0	0	0
	Hakeem/Homoeapathic/Herbalist	0	0	0
	Other	0	0	0
	Total	100	100	100
Shahdadkot	Private Dispensary/Hospital	0	13	11
	Govt. hospital/dispensary	52	32	35
	RHC/BHU	48	40	41
	LHW	0	14	12
	LHV/Nurse	0	1	1
	Chemist/Pharmacy	0	0	0
	Hakeem/Homoeapathic/Herbalist	0	0	0
	Other	0	0	0
	Total	100	100	100
Shaheed Banazir Abad	Private Dispensary/Hospital	4	82	66
	Govt. hospital/dispensary	63	0	13
	RHC/BHU	32	5	11
	LHW	0	13	10
	LHV/Nurse	0	0	0
	Chemist/Pharmacy	0	0	0
	Hakeem/Homoeapathic/Herbalist	0	0	0
	Other	0	0	0
	Total	100	100	100
Shikarpur	Private Dispensary/Hospital	88	67	72
	Govt. hospital/dispensary	4	25	20
	RHC/BHU	0	0	0
	LHW	8	0	2
	LHV/Nurse	0	8	6
	Chemist/Pharmacy	0	0	0
	Hakeem/Homoeapathic/Herbalist	0	0	0
	Other	0	0	0
	Total	100	100	100
Sujawal	Private Dispensary/Hospital	0	31	31
	Govt. hospital/dispensary	0	36	36
	RHC/BHU	0	14	14
	LHW	0	0	0
	LHV/Nurse	0	0	0
	Chemist/Pharmacy	0	6	6
	Hakeem/Homoeapathic/Herbalist	0	13	13
	Other	0	0	0
	Total	0	100	100

TABLE 4.8: TYPE OF PRACTITIONER CONSULTED FOR DIARRHEA TREATMENT

PROVINCE & DISTRICT		PERCENTAGE OF DIARRHEA CASES		
		URBAN	RURAL	TOTAL
Sukkur	Private Dispensary/Hospital	58	63	61
	Govt. hospital/dispensary	25	31	28
	RHC/BHU	0	5	3
	LHW	14	0	6
	LHV/Nurse	0	0	0
	Chemist/Pharmacy	0	0	0
	Hakeem/Homoeapathic/Herbalist	0	0	0
	Other	2	0	1
	Total	100	100	100
Tando Allah Yar	Private Dispensary/Hospital	38	42	41
	Govt. hospital/dispensary	41	5	16
	RHC/BHU	0	25	18
	LHW	21	28	26
	LHV/Nurse	0	0	0
	Chemist/Pharmacy	0	0	0
	Hakeem/Homoeapathic/Herbalist	0	0	0
	Other	0	0	0
	Total	100	100	100
Tando Muhd Khan	Private Dispensary/Hospital	0	39	37
	Govt. hospital/dispensary	100	23	26
	RHC/BHU	0	29	28
	LHW	0	6	6
	LHV/Nurse	0	1	1
	Chemist/Pharmacy	0	0	0
	Hakeem/Homoeapathic/Herbalist	0	2	2
	Other	0	0	0
	Total	100	100	100
Tharparkar	Private Dispensary/Hospital	0	5	5
	Govt. hospital/dispensary	0	95	95
	RHC/BHU	0	0	0
	LHW	0	0	0
	LHV/Nurse	0	0	0
	Chemist/Pharmacy	0	0	0
	Hakeem/Homoeapathic/Herbalist	0	0	0
	Other	0	0	0
	Total	0	100	100
Thatta	Private Dispensary/Hospital	9	10	9
	Govt. hospital/dispensary	76	66	71
	RHC/BHU	15	3	9
	LHW	0	0	0
	LHV/Nurse	0	0	0
	Chemist/Pharmacy	0	9	4
	Hakeem/Homoeapathic/Herbalist	0	8	4
	Other	0	5	2
	Total	100	100	100
Umer kot	Private Dispensary/Hospital	100	63	71
	Govt. hospital/dispensary	0	37	29
	RHC/BHU	0	0	0
	LHW	0	0	0
	LHV/Nurse	0	0	0
	Chemist/Pharmacy	0	0	0
	Hakeem/Homoeapathic/Herbalist	0	0	0
	Other	0	0	0
	Total	100	100	100

TABLE 4.8: TYPE OF PRACTITIONER CONSULTED FOR DIARRHEA TREATMENT

PROVINCE & DISTRICT		PERCENTAGE OF DIARRHEA CASES		
		URBAN	RURAL	TOTAL
Khyber Pakhtunkhwa	Private Dispensary/Hospital	46	37	39
	Govt. hospital/dispensary	41	42	42
	RHC/BHU	0	10	8
	LHW	0	0	0
	LHV/Nurse	0	0	0
	Chemist/Pharmacy	13	10	10
	Hakeem/Homoeapathic/Herbalist	0	1	1
	Other	0	0	0
	Total	100	100	100
Abbottabad	Private Dispensary/Hospital	0	59	54
	Govt. hospital/dispensary	100	41	46
	RHC/BHU	0	0	0
	LHW	0	0	0
	LHV/Nurse	0	0	0
	Chemist/Pharmacy	0	0	0
	Hakeem/Homoeapathic/Herbalist	0	0	0
	Other	0	0	0
	Total	100	100	100
Bajur	Private Dispensary/Hospital	0	45	45
	Govt. hospital/dispensary	0	50	50
	RHC/BHU	0	2	2
	LHW	0	0	0
	LHV/ Nurse	0	0	0
	Chemist/Pharmacy	0	3	3
	Hakeem/Homeopathic/Herbalist	0	0	0
	Other	0	0	0
	Total	0	100	100
Bannu	Private Dispensary/Hospital	0	42	40
	Govt. hospital/dispensary	100	26	31
	RHC/BHU	0	14	13
	LHW	0	0	0
	LHV/Nurse	0	0	0
	Chemist/Pharmacy	0	17	17
	Hakeem/Homoeapathic/Herbalist	0	0	0
	Other	0	0	0
	Total	100	100	100
Batagram	Private Dispensary/Hospital	0	29	29
	Govt. hospital/dispensary	0	56	56
	RHC/BHU	0	6	6
	LHW	0	0	0
	LHV/Nurse	0	1	1
	Chemist/Pharmacy	0	0	0
	Hakeem/Homoeapathic/Herbalist	0	2	2
	Other	0	6	6
	Total	0	100	100
Bonair	Private Dispensary/Hospital	0	24	24
	Govt. hospital/dispensary	0	23	23
	RHC/BHU	0	38	38
	LHW	0	0	0
	LHV/Nurse	0	0	0
	Chemist/Pharmacy	0	14	14
	Hakeem/Homoeapathic/Herbalist	0	0	0
	Other	0	0	0
	Total	0	100	100

TABLE 4.8: TYPE OF PRACTITIONER CONSULTED FOR DIARRHEA TREATMENT

PROVINCE & DISTRICT		PERCENTAGE OF DIARRHEA CASES		
		URBAN	RURAL	TOTAL
Charsada	Private Dispensary/Hospital	53	39	42
	Govt. hospital/dispensary	39	41	41
	RHC/BHU	0	9	7
	LHW	0	0	0
	LHV/Nurse	0	0	0
	Chemist/Pharmacy	8	11	10
	Hakeem/Homoeapathic/Herbalist	0	0	0
	Other	0	0	0
	Total	100	100	100
Chitral	Private Dispensary/Hospital	0	14	12
	Govt. hospital/dispensary	100	52	59
	RHC/BHU	0	13	11
	LHW	0	0	0
	LHV/Nurse	0	0	0
	Chemist/Pharmacy	0	22	18
	Hakeem/Homoeapathic/Herbalist	0	0	0
	Other	0	0	0
	Total	100	100	100
D.I.Khan	Private Dispensary/Hospital	33	22	23
	Govt. hospital/dispensary	67	46	49
	RHC/BHU	0	21	18
	LHW	0	0	0
	LHV/Nurse	0	0	0
	Chemist/Pharmacy	0	3	3
	Hakeem/Homoeapathic/Herbalist	0	8	7
	Other	0	0	0
	Total	100	100	100
Hangu	Private Dispensary/Hospital	24	57	52
	Govt. hospital/dispensary	24	29	28
	RHC/BHU	0	2	2
	LHW	0	0	0
	LHV/Nurse	0	0	0
	Chemist/Pharmacy	52	12	19
	Hakeem/Homoeapathic/Herbalist	0	0	0
	Other	0	0	0
	Total	100	100	100
Haripur	Private Dispensary/Hospital	0	37	37
	Govt. hospital/dispensary	0	13	13
	RHC/BHU	0	50	50
	LHW	0	0	0
	LHV/Nurse	0	0	0
	Chemist/Pharmacy	0	0	0
	Hakeem/Homoeapathic/Herbalist	0	0	0
	Other	0	0	0
	Total	0	100	100
Karak	Private Dispensary/Hospital	0	31	21
	Govt. hospital/dispensary	0	69	47
	RHC/BHU	0	0	0
	LHW	0	0	0
	LHV/Nurse	0	0	0
	Chemist/Pharmacy	100	0	32
	Hakeem/Homoeapathic/Herbalist	0	0	0
	Other	0	0	0
	Total	100	100	100

TABLE 4.8: TYPE OF PRACTITIONER CONSULTED FOR DIARRHEA TREATMENT				
PROVINCE & DISTRICT		PERCENTAGE OF DIARRHEA CASES		
		URBAN	RURAL	TOTAL
Khyber	Private Dispensary/Hospital	0	22	22
	Govt. hospital/dispensary	0	78	78
	RHC/BHU	0	0	0
	LHW	0	0	0
	LHV/ Nurse	0	0	0
	Chemist/Pharmacy	0	0	0
	Hakeem/Homeopathic/Herbalist	0	0	0
	Other	0	0	0
	Total	0	100	100
Kohat	Private Dispensary/Hospital	0	57	50
	Govt. hospital/dispensary	100	43	50
	RHC/BHU	0	0	0
	LHW	0	0	0
	LHV/Nurse	0	0	0
	Chemist/Pharmacy	0	0	0
	Hakeem/Homoeapathic/Herbalist	0	0	0
	Other	0	0	0
	Total	100	100	100
Kohistan	Private Dispensary/Hospital	0	32	32
	Govt. hospital/dispensary	0	35	35
	RHC/BHU	0	29	29
	LHW	0	0	0
	LHV/Nurse	0	0	0
	Chemist/Pharmacy	0	4	4
	Hakeem/Homoeapathic/Herbalist	0	0	0
	Other	0	0	0
	Total	0	100	100
Kurram	Private Dispensary/Hospital	0	60	60
	Govt. hospital/dispensary	0	25	25
	RHC/BHU	0	5	5
	LHW	0	0	0
	LHV/ Nurse	0	0	0
	Chemist/Pharmacy	0	5	5
	Hakeem/Homeopathic/Herbalist	0	5	5
	Other	0	0	0
	Total	0	100	100
Lakki Marwat	Private Dispensary/Hospital	0	70	64
	Govt. hospital/dispensary	100	10	17
	RHC/BHU	0	16	15
	LHW	0	0	0
	LHV/Nurse	0	0	0
	Chemist/Pharmacy	0	4	4
	Hakeem/Homoeapathic/Herbalist	0	0	0
	Other	0	0	0
	Total	100	100	100
Lower Dir	Private Dispensary/Hospital	0	31	31
	Govt. hospital/dispensary	0	49	49
	RHC/BHU	0	12	12
	LHW	0	0	0
	LHV/Nurse	0	0	0
	Chemist/Pharmacy	0	8	8
	Hakeem/Homoeapathic/Herbalist	0	0	0
	Other	0	0	0
	Total	0	100	100

TABLE 4.8: TYPE OF PRACTITIONER CONSULTED FOR DIARRHEA TREATMENT

PROVINCE & DISTRICT		PERCENTAGE OF DIARRHEA CASES		
		URBAN	RURAL	TOTAL
Malakand	Private Dispensary/Hospital	100	34	37
	Govt. hospital/dispensary	0	60	57
	RHC/BHU	0	6	6
	LHW	0	0	0
	LHV/Nurse	0	0	0
	Chemist/Pharmacy	0	0	0
	Hakeem/Homoeapathic/Herbalist	0	0	0
	Other	0	0	0
	Total	100	100	100
Mansehra	Private Dispensary/Hospital	66	38	42
	Govt. hospital/dispensary	34	38	37
	RHC/BHU	0	16	13
	LHW	0	0	0
	LHV/Nurse	0	0	0
	Chemist/Pharmacy	0	9	7
	Hakeem/Homoeapathic/Herbalist	0	0	0
	Other	0	0	0
	Total	100	100	100
Mardan	Private Dispensary/Hospital	26	40	38
	Govt. hospital/dispensary	31	38	37
	RHC/BHU	0	5	4
	LHW	0	0	0
	LHV/Nurse	0	0	0
	Chemist/Pharmacy	43	17	21
	Hakeem/Homoeapathic/Herbalist	0	0	0
	Other	0	0	0
	Total	100	100	100
Mohmand	Private Dispensary/Hospital	0	40	40
	Govt. hospital/dispensary	0	25	25
	RHC/BHU	0	23	23
	LHW	0	0	0
	LHV/ Nurse	0	0	0
	Chemist/Pharmacy	0	12	12
	Hakeem/Homeopathic/Herbalist			
	Other	0	0	0
	Total	0	100	100
North Waziristan	Private Dispensary/Hospital	0	100	100
	Govt. hospital/dispensary	0	0	0
	RHC/BHU	0	0	0
	LHW	0	0	0
	LHV/ Nurse	0	0	0
	Chemist/Pharmacy	0	0	0
	Hakeem/Homeopathic/Herbalist	0	0	0
	Other	0	0	0
	Total	0	100	100
Nowshera	Private Dispensary/Hospital	37	32	33
	Govt. hospital/dispensary	42	22	26
	RHC/BHU	0	0	0
	LHW	0	0	0
	LHV/Nurse	0	0	0
	Chemist/Pharmacy	21	46	40
	Hakeem/Homoeapathic/Herbalist	0	0	0
	Other	0	0	0
	Total	100	100	100

TABLE 4.8: TYPE OF PRACTITIONER CONSULTED FOR DIARRHEA TREATMENT				
PROVINCE & DISTRICT		PERCENTAGE OF DIARRHEA CASES		
		URBAN	RURAL	TOTAL
orakzai	Private Dispensary/Hospital	0	28	28
	Govt. hospital/dispensary	0	61	61
	RHC/BHU	0	11	11
	LHW	0	0	0
	LHV/ Nurse	0	0	0
	Chemist/Pharmacy	0	0	0
	Hakeem/Homeopathic/Herbalist	0	0	0
	Other	0	0	0
	Total	0	100	100
Peshawar	Private Dispensary/Hospital	50	33	41
	Govt. hospital/dispensary	40	42	41
	RHC/BHU	0	9	5
	LHW	0	0	0
	LHV/Nurse	0	0	0
	Chemist/Pharmacy	10	16	13
	Hakeem/Homoeapathic/Herbalist	0	0	0
	Other	0	0	0
	Total	100	100	100
Shangla	Private Dispensary/Hospital	0	60	60
	Govt. hospital/dispensary	0	19	19
	RHC/BHU	0	0	0
	LHW	0	0	0
	LHV/Nurse	0	0	0
	Chemist/Pharmacy	0	21	21
	Hakeem/Homoeapathic/Herbalist	0	0	0
	Other	0	0	0
	Total	0	100	100
South Waziristan	Private Dispensary/Hospital	0	57	57
	Govt. hospital/dispensary	0	39	39
	RHC/BHU	0	0	0
	LHW	0	0	0
	LHV/ Nurse	0	0	0
	Chemist/Pharmacy	0	0	0
	Hakeem/Homeopathic/Herbalist	0	4	4
	Other	0	0	0
	Total	0	100	100
Swabi	Private Dispensary/Hospital	55	21	24
	Govt. hospital/dispensary	0	66	61
	RHC/BHU	0	0	0
	LHW	0	0	0
	LHV/Nurse	0	0	0
	Chemist/Pharmacy	45	13	15
	Hakeem/Homoeapathic/Herbalist	0	0	0
	Other	0	0	0
	Total	100	100	100
Swat	Private Dispensary/Hospital	41	5	28
	Govt. hospital/dispensary	45	95	63
	RHC/BHU	0	0	0
	LHW	0	0	0
	LHV/Nurse	0	0	0
	Chemist/Pharmacy	14	0	9
	Hakeem/Homoeapathic/Herbalist	0	0	0
	Other	0	0	0
	Total	100	100	100

TABLE 4.8: TYPE OF PRACTITIONER CONSULTED FOR DIARRHEA TREATMENT

PROVINCE & DISTRICT		PERCENTAGE OF DIARRHEA CASES		
		URBAN	RURAL	TOTAL
Tank	Private Dispensary/Hospital	100	5	22
	Govt. hospital/dispensary	0	32	26
	RHC/BHU	0	63	51
	LHW	0	0	0
	LHV/Nurse	0	0	0
	Chemist/Pharmacy	0	0	0
	Hakeem/Homoeapathic/Herbalist	0	0	0
	Other	0	0	0
	Total	100	100	100
Torgarh	Private Dispensary/Hospital	0	44	44
	Govt. hospital/dispensary	0	56	56
	RHC/BHU	0	0	0
	LHW	0	0	0
	LHV/Nurse	0	0	0
	Chemist/Pharmacy	0	0	0
	Hakeem/Homoeapathic/Herbalist	0	0	0
	Other	0	0	0
	Total	0	100	100
Upper Dir	Private Dispensary/Hospital	100	25	28
	Govt. hospital/dispensary	0	53	50
	RHC/BHU	0	11	10
	LHW	0	0	0
	LHV/Nurse	0	0	0
	Chemist/Pharmacy	0	10	10
	Hakeem/Homoeapathic/Herbalist	0	0	0
	Other	0	1	1
	Total	100	100	100

TABLE 4.8: TYPE OF PRACTITIONER CONSULTED FOR DIARRHEA TREATMENT

PROVINCE & DISTRICT		PERCENTAGE OF DIARRHEA CASES		
		URBAN	RURAL	TOTAL
Balochistan	Private Dispensary/Hospital	48	36	40
	Govt. hospital/dispensary	31	33	33
	RHC/BHU	3	15	12
	LHW	1	3	2
	LHV/Nurse	0	2	1
	Chemist/Pharmacy	15	8	10
	Hakeem/Homoeapathic/Herbalist	0	2	2
	Other	2	1	1
	Total	100	100	100
Awaran	Private Dispensary/Hospital	100	0	32
	Govt. hospital/dispensary	0	0	0
	RHC/BHU	0	100	68
	LHW	0	0	0
	LHV/Nurse	0	0	0
	Chemist/Pharmacy	0	0	0
	Hakeem/Homoeapathic/Herbalist	0	0	0
	Other	0	0	0
	Total	100	100	100
Barkhan	Private Dispensary/Hospital	100	78	82
	Govt. hospital/dispensary	0	18	15
	RHC/BHU	0	0	0
	LHW	0	4	4
	LHV/Nurse	0	0	0
	Chemist/Pharmacy	0	0	0
	Hakeem/Homoeapathic/Herbalist	0	0	0
	Other	0	0	0
	Total	100	100	100
Dera Bugti	Private Dispensary/Hospital	0	100	100
	Govt. hospital/dispensary	0	0	0
	RHC/BHU	0	0	0
	LHW	0	0	0
	LHV/Nurse	0	0	0
	Chemist/Pharmacy	0	0	0
	Hakeem/Homoeapathic/Herbalist	0	0	0
	Other	0	0	0
	Total	0	100	100
Duki	Private Dispensary/Hospital	100	45	50
	Govt. hospital/dispensary	0	27	25
	RHC/BHU	0	3	3
	LHW	0	0	0
	LHV/ Nurse	0	17	16
	Chemist/Pharmacy	0	0	0
	Hakeem/Homeopathic/Herbalist	0	8	7
	Other	0	0	0
	Total	100	100	100
Gwadar	Private Dispensary/Hospital	25	12	19
	Govt. hospital/dispensary	54	63	58
	RHC/BHU	0	25	11
	LHW	20	0	11
	LHV/Nurse	0	0	0
	Chemist/Pharmacy	0	0	0
	Hakeem/Homoeapathic/Herbalist	0	0	0
	Other	0	0	0
	Total	100	100	100

TABLE 4.8: TYPE OF PRACTITIONER CONSULTED FOR DIARRHEA TREATMENT

PROVINCE & DISTRICT		PERCENTAGE OF DIARRHEA CASES		
		URBAN	RURAL	TOTAL
Harnai	Private Dispensary/Hospital	0	100	100
	Govt. hospital/dispensary	0	0	0
	RHC/BHU	0	0	0
	LHW	0	0	0
	LHV/Nurse	0	0	0
	Chemist/Pharmacy	0	0	0
	Hakeem/Homoeapathic/Herbalist	0	0	0
	Other	0	0	0
	Total	0	100	100
Jafarabad	Private Dispensary/Hospital	100	56	74
	Govt. hospital/dispensary	0	21	13
	RHC/BHU	0	23	14
	LHW	0	0	0
	LHV/Nurse	0	0	0
	Chemist/Pharmacy	0	0	0
	Hakeem/Homoeapathic/Herbalist	0	0	0
	Other	0	0	0
	Total	100	100	100
Bolan/ Kachhi	Private Dispensary/Hospital	50	33	35
	Govt. hospital/dispensary	50	41	42
	RHC/BHU	0	24	21
	LHW	0	0	0
	LHV/Nurse	0	0	0
	Chemist/Pharmacy	0	3	2
	Hakeem/Homoeapathic/Herbalist	0	0	0
	Other	0	0	0
	Total	100	100	100
Kalat	Private Dispensary/Hospital	0	28	28
	Govt. hospital/dispensary	0	29	29
	RHC/BHU	0	44	44
	LHW	0	0	0
	LHV/Nurse	0	0	0
	Chemist/Pharmacy	0	0	0
	Hakeem/Homoeapathic/Herbalist	0	0	0
	Other	0	0	0
	Total	0	100	100
Ketch	Private Dispensary/Hospital	47	20	31
	Govt. hospital/dispensary	53	56	55
	RHC/BHU	0	10	6
	LHW	0	12	7
	LHV/Nurse	0	0	0
	Chemist/Pharmacy	0	2	1
	Hakeem/Homoeapathic/Herbalist	0	0	0
	Other	0	0	0
	Total	100	100	100
Kharan	Private Dispensary/Hospital	58	34	39
	Govt. hospital/dispensary	10	12	12
	RHC/BHU	0	38	31
	LHW	0	2	2
	LHV/Nurse	0	2	2
	Chemist/Pharmacy	0	0	0
	Hakeem/Homoeapathic/Herbalist	0	0	0
	Other	31	12	16
	Total	100	100	100

TABLE 4.8: TYPE OF PRACTITIONER CONSULTED FOR DIARRHEA TREATMENT

PROVINCE & DISTRICT		PERCENTAGE OF DIARRHEA CASES		
		URBAN	RURAL	TOTAL
Khuzdar	Private Dispensary/Hospital	0	0	0
	Govt. hospital/dispensary	0	12	12
	RHC/BHU	0	88	88
	LHW	0	0	0
	LHV/Nurse	0	0	0
	Chemist/Pharmacy	0	0	0
	Hakeem/Homoeapathic/Herbalist	0	0	0
	Other	0	0	0
	Total	0	100	100
Kohlu	Private Dispensary/Hospital	0	100	100
	Govt. hospital/dispensary	0	0	0
	RHC/BHU	0	0	0
	LHW	0	0	0
	LHV/Nurse	0	0	0
	Chemist/Pharmacy	0	0	0
	Hakeem/Homoeapathic/Herbalist	0	0	0
	Other	0	0	0
	Total	0	100	100
Lasbilla	Private Dispensary/Hospital	0	14	11
	Govt. hospital/dispensary	100	86	89
	RHC/BHU	0	0	0
	LHW	0	0	0
	LHV/Nurse	0	0	0
	Chemist/Pharmacy	0	0	0
	Hakeem/Homoeapathic/Herbalist	0	0	0
	Other	0	0	0
	Total	100	100	100
Loralai	Private Dispensary/Hospital	17	41	30
	Govt. hospital/dispensary	83	45	62
	RHC/BHU	0	0	0
	LHW	0	0	0
	LHV/Nurse	0	7	4
	Chemist/Pharmacy	0	7	4
	Hakeem/Homoeapathic/Herbalist	0	0	0
	Other	0	0	0
	Total	100	100	100
Mastung	Private Dispensary/Hospital	0	41	41
	Govt. hospital/dispensary	0	28	28
	RHC/BHU	0	31	31
	LHW	0	0	0
	LHV/Nurse	0	0	0
	Chemist/Pharmacy	0	0	0
	Hakeem/Homoeapathic/Herbalist	0	0	0
	Other	0	0	0
	Total	0	100	100
Nasirabad	Private Dispensary/Hospital	94	68	76
	Govt. hospital/dispensary	6	17	14
	RHC/BHU	0	15	11
	LHW	0	0	0
	LHV/Nurse	0	0	0
	Chemist/Pharmacy	0	0	0
	Hakeem/Homoeapathic/Herbalist	0	0	0
	Other	0	0	0
	Total	100	100	100

TABLE 4.8: TYPE OF PRACTITIONER CONSULTED FOR DIARRHEA TREATMENT

PROVINCE & DISTRICT		PERCENTAGE OF DIARRHEA CASES		
		URBAN	RURAL	TOTAL
Nushki	Private Dispensary/Hospital	44	46	45
	Govt. hospital/dispensary	23	25	25
	RHC/BHU	0	10	8
	LHW	0	3	2
	LHV/Nurse	0	0	0
	Chemist/Pharmacy	0	0	0
	Hakeem/Homoeapathic/Herbalist	0	0	0
	Other	34	16	20
	Total	100	100	100
Pashin	Private Dispensary/Hospital	0	20	19
	Govt. hospital/dispensary	0	11	11
	RHC/BHU	100	0	7
	LHW	0	0	0
	LHV/Nurse	0	0	0
	Chemist/Pharmacy	0	69	64
	Hakeem/Homoeapathic/Herbalist	0	0	0
	Other	0	0	0
	Total	100	100	100
Qilla Abdullah	Private Dispensary/Hospital	68	64	65
	Govt. hospital/dispensary	16	36	28
	RHC/BHU	0	0	0
	LHW	0	0	0
	LHV/Nurse	0	0	0
	Chemist/Pharmacy	16	0	6
	Hakeem/Homoeapathic/Herbalist	0	0	0
	Other	0	0	0
	Total	100	100	100
Qilla Saifullah	Private Dispensary/Hospital	0	21	21
	Govt. hospital/dispensary	0	4	4
	RHC/BHU	0	0	0
	LHW	0	0	0
	LHV/Nurse	0	0	0
	Chemist/Pharmacy	0	76	76
	Hakeem/Homoeapathic/Herbalist	0	0	0
	Other	0	0	0
	Total	0	100	100
Quetta	Private Dispensary/Hospital	36	50	42
	Govt. hospital/dispensary	17	24	20
	RHC/BHU	5	0	2
	LHW	0	0	0
	LHV/Nurse	0	0	0
	Chemist/Pharmacy	43	27	35
	Hakeem/Homoeapathic/Herbalist	0	0	0
	Other	0	0	0
	Total	100	100	100
Shaheed Sikandarabad	Private Dispensary/Hospital	0	14	14
	Govt. hospital/dispensary	0	79	79
	RHC/BHU	0	7	7
	LHW	0	0	0
	LHV/ Nurse	0	0	0
	Chemist/Pharmacy	0	0	0
	Hakeem/Homeopathic/Herbalist	0	0	0
	Other	0	0	0
	Total	0	100	100

TABLE 4.8: TYPE OF PRACTITIONER CONSULTED FOR DIARRHEA TREATMENT

PROVINCE & DISTRICT		PERCENTAGE OF DIARRHEA CASES		
		URBAN	RURAL	TOTAL
Sheani	Private Dispensary/Hospital	0	22	22
	Govt. hospital/dispensary	0	12	12
	RHC/BHU	0	30	30
	LHW	0	12	12
	LHV/Nurse	0	0	0
	Chemist/Pharmacy	0	0	0
	Hakeem/Homoeapathic/Herbalist	0	24	24
	Other	0	0	0
	Total	0	100	100
Sibbi	Private Dispensary/Hospital	0	86	86
	Govt. hospital/dispensary	0	0	0
	RHC/BHU	0	14	14
	LHW	0	0	0
	LHV/Nurse	0	0	0
	Chemist/Pharmacy	0	0	0
	Hakeem/Homoeapathic/Herbalist	0	0	0
	Other	0	0	0
	Total	0	100	100
Sohbatpur	Private Dispensary/Hospital	0	58	58
	Govt. hospital/dispensary	0	42	42
	RHC/BHU	0	0	0
	LHW	0	0	0
	LHV/ Nurse	0	0	0
	Chemist/Pharmacy	0	0	0
	Hakeem/Homeopathic/Herbalist	0	0	0
	Other	0	0	0
	Total	0	100	100
Washuk	Private Dispensary/Hospital	56	24	30
	Govt. hospital/dispensary	11	34	30
	RHC/BHU	33	37	36
	LHW	0	0	0
	LHV/Nurse	0	0	0
	Chemist/Pharmacy	0	0	0
	Hakeem/Homoeapathic/Herbalist	0	4	4
	Other	0	0	0
	Total	100	100	100
Ziarat	Private Dispensary/Hospital	0	34	34
	Govt. hospital/dispensary	0	32	32
	RHC/BHU	0	0	0
	LHW	0	34	34
	LHV/Nurse	0	0	0
	Chemist/Pharmacy	0	0	0
	Hakeem/Homoeapathic/Herbalist	0	0	0
	Other	0	0	0
	Total	0	100	100

NOTE:

1. The Panjgur,Chaghi,Musa Khel,Zhob and Jhal Magsi districts have been dropped from the scope of the survey due to law and order situation.

TABLE 4.9: PRE-NATAL CONSULTATION-BY PROVINCE AND PERSON/FACILITY

PROVINCE & DISTRICT	PERCENTAGE OF CASES		
	URBAN	RURAL	TOTAL
Pakistan			
Pre - Natal Consultation	**86**	**72**	**77**
PERSON/FACILITY CONSULTED			
1. Home TBA	2	3	2
2. Home LHW	2	6	4
3. H0me LHV	1	3	3
4. Home Doctor	1	1	1
5. Govt. Hospital/RHC/BHU	41	43	42
6. Private Hospital/Clinic	53	43	47
7. Other	1	1	1
Punjab			
Pre - Natal Consultation	**89**	**80**	**83**
PERSON/FACILITY CONSULTED			
1. Home TBA	1	3	3
2. Home LHW	2	6	5
3. H0me LHV	1	3	3
4. Home Doctor	1	1	1
5. Govt. Hospital/RHC/BHU	41	39	40
6. Private Hospital/Clinic	53	46	49
7. Other	1	1	1
Attock			
Pre - Natal Consultation	89	87	88
PERSON/FACILITY CONSULTED			
1. Home TBA	0	0	0
2. Home LHW	0	3	2
3. H0me LHV	0	1	0
4. Home Doctor	0	0	0
5. Govt. Hospital/RHC/BHU	65	52	55
6. Private Hospital/Clinic	35	44	42
7. Other	0	0	0
Bahawalnager			
Pre - Natal Consultation	69	74	73
PERSON/FACILITY CONSULTED			
1. Home TBA	3	3	3
2. Home LHW	2	14	12
3. H0me LHV	2	1	1
4. Home Doctor	1	0	0
5. Govt. Hospital/RHC/BHU	31	26	27
6. Private Hospital/Clinic	61	57	58
7. Other	0	0	0
Bahawalpur			
Pre - Natal Consultation	96	87	89
PERSON/FACILITY CONSULTED			
1. Home TBA	0	0	0
2. Home LHW	3	8	7
3. H0me LHV	0	0	0
4. Home Doctor	0	0	0
5. Govt. Hospital/RHC/BHU	43	34	36
6. Private Hospital/Clinic	52	57	56
7. Other	0	0	0

TABLE 4.9: PRE-NATAL CONSULTATION-BY PROVINCE AND PERSON/FACILITY

PROVINCE & DISTRICT	PERCENTAGE OF CASES		
	URBAN	RURAL	TOTAL
Bhakhar			
Pre - Natal Consultation	81	77	77
PERSON/FACILITY CONSULTED			
1. Home TBA	0	0	0
2. Home LHW	0	1	1
3. H0me LHV	0	4	3
4. Home Doctor	0	3	2
5. Govt. Hospital/RHC/BHU	75	48	52
6. Private Hospital/Clinic	25	45	42
7. Other	0	0	0
Chakwal			
Pre - Natal Consultation	92	89	89
PERSON/FACILITY CONSULTED			
1. Home TBA	0	0	0
2. Home LHW	0	3	3
3. H0me LHV	0	1	1
4. Home Doctor	0	0	0
5. Govt. Hospital/RHC/BHU	58	72	71
6. Private Hospital/Clinic	42	23	26
7. Other	0	0	0
Chinniot			
Pre - Natal Consultation	85	90	89
PERSON/FACILITY CONSULTED			
1. Home TBA	2	4	4
2. Home LHW	2	5	4
3. H0me LHV	1	0	0
4. Home Doctor	1	0	0
5. Govt. Hospital/RHC/BHU	26	23	24
6. Private Hospital/Clinic	68	68	68
7. Other	0	0	0
D.G.khan			
Pre - Natal Consultation	58	52	53
PERSON/FACILITY CONSULTED			
1. Home TBA	0	6	5
2. Home LHW	0	1	1
3. H0me LHV	3	0	1
4. Home Doctor	2	0	0
5. Govt. Hospital/RHC/BHU	41	48	47
6. Private Hospital/Clinic	54	44	45
7. Other	0	0	0
Faisalabad			
Pre - Natal Consultation	91	79	84
PERSON/FACILITY CONSULTED			
1. Home TBA	1	4	3
2. Home LHW	2	3	2
3. H0me LHV	0	2	1
4. Home Doctor	1	3	2
5. Govt. Hospital/RHC/BHU	25	24	24
6. Private Hospital/Clinic	70	64	67
7. Other	0	1	0

TABLE 4.9: PRE-NATAL CONSULTATION-BY PROVINCE AND PERSON/FACILITY

PROVINCE & DISTRICT	PERCENTAGE OF CASES		
	URBAN	RURAL	TOTAL
Gujranwala			
Pre - Natal Consultation	91	92	91
PERSON/FACILITY CONSULTED			
1. Home TBA	0	0	0
2. Home LHW	1	1	1
3. H0me LHV	1	0	1
4. Home Doctor	1	1	1
5. Govt. Hospital/RHC/BHU	30	45	37
6. Private Hospital/Clinic	67	52	60
7. Other	0	1	0
Gujrat			
Pre - Natal Consultation	93	93	93
PERSON/FACILITY CONSULTED			
1. Home TBA	1	0	0
2. Home LHW	4	2	3
3. H0me LHV	1	0	0
4. Home Doctor	0	0	0
5. Govt. Hospital/RHC/BHU	40	42	41
6. Private Hospital/Clinic	51	56	55
7. Other	3	0	1
Hafizabad			
Pre - Natal Consultation	77	76	76
PERSON/FACILITY CONSULTED			
1. Home TBA	0	0	0
2. Home LHW	0	1	1
3. H0me LHV	0	4	3
4. Home Doctor	0	0	0
5. Govt. Hospital/RHC/BHU	41	39	40
6. Private Hospital/Clinic	59	55	56
7. Other	0	0	0
Islamabad			
Pre - Natal Consultation	100	94	97
PERSON/FACILITY CONSULTED			
1. Home TBA	1	0	0
2. Home LHW	0	0	0
3. H0me LHV	0	0	0
4. Home Doctor	1	0	0
5. Govt. Hospital/RHC/BHU	55	52	53
6. Private Hospital/Clinic	41	48	45
7. Other	2	0	1
Jehlum			
Pre - Natal Consultation	97	96	96
PERSON/FACILITY CONSULTED			
1. Home TBA	1	1	1
2. Home LHW	0	3	2
3. H0me LHV	0	1	1
4. Home Doctor	0	0	0
5. Govt. Hospital/RHC/BHU	61	62	62
6. Private Hospital/Clinic	38	33	34
7. Other	0	0	0

TABLE 4.9: PRE-NATAL CONSULTATION-BY PROVINCE AND PERSON/FACILITY

PROVINCE & DISTRICT	PERCENTAGE OF CASES		
	URBAN	RURAL	TOTAL
Jhang			
Pre - Natal Consultation	90	78	82
PERSON/FACILITY CONSULTED			
1. Home TBA	3	2	2
2. Home LHW	0	3	2
3. H0me LHV	5	2	3
4. Home Doctor	0	0	0
5. Govt. Hospital/RHC/BHU	27	24	25
6. Private Hospital/Clinic	64	69	67
7. Other	0	0	0
Kasur			
Pre - Natal Consultation	89	77	80
PERSON/FACILITY CONSULTED			
1. Home TBA	3	0	1
2. Home LHW	0	2	2
3. H0me LHV	0	2	2
4. Home Doctor	0	1	1
5. Govt. Hospital/RHC/BHU	33	52	47
6. Private Hospital/Clinic	64	42	48
7. Other	0	1	1
Khanewal			
Pre - Natal Consultation	92	86	87
PERSON/FACILITY CONSULTED			
1. Home TBA	12	4	5
2. Home LHW	3	9	8
3. H0me LHV	0	4	4
4. Home Doctor	1	0	0
5. Govt. Hospital/RHC/BHU	28	22	23
6. Private Hospital/Clinic	57	60	59
7. Other	0	0	0
Khushab			
Pre - Natal Consultation	89	83	85
PERSON/FACILITY CONSULTED			
1. Home TBA	8	3	4
2. Home LHW	0	2	2
3. H0me LHV	3	2	3
4. Home Doctor	1	2	2
5. Govt. Hospital/RHC/BHU	18	23	22
6. Private Hospital/Clinic	69	67	68
7. Other	0	1	1
Lahore			
Pre - Natal Consultation	92	0	92
PERSON/FACILITY CONSULTED			
1. Home TBA	1	0	1
2. Home LHW	2	0	2
3. H0me LHV	1	0	1
4. Home Doctor	1	0	1
5. Govt. Hospital/RHC/BHU	49	0	49
6. Private Hospital/Clinic	45	0	45
7. Other	1	0	1

TABLE 4.9: PRE-NATAL CONSULTATION-BY PROVINCE AND PERSON/FACILITY

PROVINCE & DISTRICT	PERCENTAGE OF CASES		
	URBAN	RURAL	TOTAL
Layyah			
Pre - Natal Consultation	83	77	78
PERSON/FACILITY CONSULTED			
1. Home TBA	0	2	2
2. Home LHW	0	7	6
3. H0me LHV	0	14	11
4. Home Doctor	0	1	1
5. Govt. Hospital/RHC/BHU	51	65	62
6. Private Hospital/Clinic	49	11	18
7. Other	0	0	0
Lodhran			
Pre - Natal Consultation	81	81	81
PERSON/FACILITY CONSULTED			
1. Home TBA	13	2	4
2. Home LHW	0	6	5
3. H0me LHV	0	10	9
4. Home Doctor	0	0	0
5. Govt. Hospital/RHC/BHU	32	37	36
6. Private Hospital/Clinic	56	41	43
7. Other	0	3	3
Mandi Bahuddin			
Pre - Natal Consultation	96	94	94
PERSON/FACILITY CONSULTED			
1. Home TBA	0	0	0
2. Home LHW	3	1	1
3. H0me LHV	0	0	0
4. Home Doctor	0	0	0
5. Govt. Hospital/RHC/BHU	30	53	49
6. Private Hospital/Clinic	67	46	50
7. Other	0	0	0
Mianwali			
Pre - Natal Consultation	82	79	80
PERSON/FACILITY CONSULTED			
1. Home TBA	0	0	0
2. Home LHW	1	3	2
3. H0me LHV	2	9	8
4. Home Doctor	0	0	0
5. Govt. Hospital/RHC/BHU	53	41	43
6. Private Hospital/Clinic	44	47	47
7. Other	0	0	0
Multan			
Pre - Natal Consultation	91	78	83
PERSON/FACILITY CONSULTED			
1. Home TBA	2	2	2
2. Home LHW	4	7	6
3. H0me LHV	3	2	2
4. Home Doctor	1	1	1
5. Govt. Hospital/RHC/BHU	37	50	45
6. Private Hospital/Clinic	53	38	44
7. Other	1	1	1

TABLE 4.9: PRE-NATAL CONSULTATION-BY PROVINCE AND PERSON/FACILITY

PROVINCE & DISTRICT	PERCENTAGE OF CASES		
	URBAN	RURAL	TOTAL
Muzaffar Garh			
Pre - Natal Consultation	97	86	87
PERSON/FACILITY CONSULTED			
1. Home TBA	0	1	1
2. Home LHW	4	14	13
3. H0me LHV	2	2	2
4. Home Doctor	1	0	0
5. Govt. Hospital/RHC/BHU	36	44	42
6. Private Hospital/Clinic	55	31	35
7. Other	2	8	7
Nankana Sahib			
Pre - Natal Consultation	93	83	85
PERSON/FACILITY CONSULTED			
1. Home TBA	0	1	1
2. Home LHW	3	2	2
3. H0me LHV	0	4	3
4. Home Doctor	0	0	0
5. Govt. Hospital/RHC/BHU	41	46	45
6. Private Hospital/Clinic	56	46	47
7. Other	0	1	0
Narowal			
Pre - Natal Consultation	98	70	74
PERSON/FACILITY CONSULTED			
1. Home TBA	8	9	9
2. Home LHW	0	8	6
3. H0me LHV	0	5	4
4. Home Doctor	0	7	5
5. Govt. Hospital/RHC/BHU	26	19	20
6. Private Hospital/Clinic	66	52	55
7. Other	0	0	0
Okara			
Pre - Natal Consultation	76	81	80
PERSON/FACILITY CONSULTED			
1. Home TBA	0	0	0
2. Home LHW	0	15	12
3. H0me LHV	5	3	4
4. Home Doctor	0	0	0
5. Govt. Hospital/RHC/BHU	37	49	46
6. Private Hospital/Clinic	58	33	38
7. Other	0	0	0
Pakpatten			
Pre - Natal Consultation	86	78	80
PERSON/FACILITY CONSULTED			
1. Home TBA	0	0	0
2. Home LHW	3	17	15
3. H0me LHV	5	11	10
4. Home Doctor	0	1	1
5. Govt. Hospital/RHC/BHU	32	40	39
6. Private Hospital/Clinic	60	30	34
7. Other	0	1	0

TABLE 4.9: PRE-NATAL CONSULTATION-BY PROVINCE AND PERSON/FACILITY

PROVINCE & DISTRICT	PERCENTAGE OF CASES		
	URBAN	RURAL	TOTAL
Rahim Yar Khan			
Pre - Natal Consultation	83	76	77
PERSON/FACILITY CONSULTED			
1. Home TBA	5	22	18
2. Home LHW	8	6	6
3. H0me LHV	1	1	1
4. Home Doctor	0	1	0
5. Govt. Hospital/RHC/BHU	33	31	31
6. Private Hospital/Clinic	52	40	42
7. Other	1	1	1
Rajanpur			
Pre - Natal Consultation	59	56	57
PERSON/FACILITY CONSULTED			
1. Home TBA	0	6	5
2. Home LHW	0	0	0
3. H0me LHV	2	3	3
4. Home Doctor	0	1	1
5. Govt. Hospital/RHC/BHU	54	63	62
6. Private Hospital/Clinic	44	26	29
7. Other	0	0	0
Rawalpindi			
Pre - Natal Consultation	88	87	88
PERSON/FACILITY CONSULTED			
1. Home TBA	0	0	0
2. Home LHW	0	0	0
3. H0me LHV	1	0	0
4. Home Doctor	1	0	1
5. Govt. Hospital/RHC/BHU	66	76	70
6. Private Hospital/Clinic	31	24	27
7. Other	1	0	0
Sahiwal			
Pre - Natal Consultation	86	82	82
PERSON/FACILITY CONSULTED			
1. Home TBA	0	0	0
2. Home LHW	1	22	18
3. H0me LHV	13	14	14
4. Home Doctor	0	0	0
5. Govt. Hospital/RHC/BHU	28	21	22
6. Private Hospital/Clinic	56	41	44
7. Other	1	1	1
Sargodha			
Pre - Natal Consultation	88	82	83
PERSON/FACILITY CONSULTED			
1. Home TBA	1	3	2
2. Home LHW	1	2	2
3. H0me LHV	3	2	2
4. Home Doctor	2	2	2
5. Govt. Hospital/RHC/BHU	28	30	29
6. Private Hospital/Clinic	64	61	62
7. Other	1	0	0

TABLE 4.9: PRE-NATAL CONSULTATION-BY PROVINCE AND PERSON/FACILITY

PROVINCE & DISTRICT	PERCENTAGE OF CASES		
	URBAN	RURAL	TOTAL
Sheikhupura			
Pre - Natal Consultation	89	84	85
PERSON/FACILITY CONSULTED			
1. Home TBA	1	1	1
2. Home LHW	0	9	6
3. H0me LHV	6	6	6
4. Home Doctor	0	1	1
5. Govt. Hospital/RHC/BHU	55	45	48
6. Private Hospital/Clinic	37	37	37
7. Other	2	1	2
Sialkot			
Pre - Natal Consultation	87	73	77
PERSON/FACILITY CONSULTED			
1. Home TBA	3	3	3
2. Home LHW	3	4	3
3. H0me LHV	1	9	7
4. Home Doctor	1	7	5
5. Govt. Hospital/RHC/BHU	31	25	27
6. Private Hospital/Clinic	62	52	55
7. Other	0	0	0
T.T.Singh			
Pre - Natal Consultation	88	90	89
PERSON/FACILITY CONSULTED			
1. Home TBA	0	1	1
2. Home LHW	0	0	0
3. H0me LHV	0	0	0
4. Home Doctor	0	0	0
5. Govt. Hospital/RHC/BHU	34	32	33
6. Private Hospital/Clinic	66	66	66
7. Other	0	0	0
Vehari			
Pre - Natal Consultation	91	89	90
PERSON/FACILITY CONSULTED			
1. Home TBA	3	6	5
2. Home LHW	0	13	11
3. H0me LHV	0	6	5
4. Home Doctor	0	0	0
5. Govt. Hospital/RHC/BHU	36	27	28
6. Private Hospital/Clinic	58	47	49
7. Other	4	2	2

TABLE 4.9: PRE-NATAL CONSULTATION-BY PROVINCE AND PERSON/FACILITY

PROVINCE & DISTRICT	PERCENTAGE OF CASES		
	URBAN	RURAL	TOTAL
Sindh			
Pre - Natal Consultation	**84**	**63**	**73**
PERSON/FACILITY CONSULTED			
1. Home TBA	2	4	3
2. Home LHW	2	6	4
3. H0me LHV	1	2	1
4. Home Doctor	2	2	2
5. Govt. Hospital/RHC/BHU	34	46	40
6. Private Hospital/Clinic	59	39	50
7. Other	0	1	1
Badin			
Pre - Natal Consultation	72	54	59
PERSON/FACILITY CONSULTED			
1. Home TBA	3	15	11
2. Home LHW	0	0	0
3. H0me LHV	0	0	0
4. Home Doctor	0	0	0
5. Govt. Hospital/RHC/BHU	35	55	48
6. Private Hospital/Clinic	62	29	40
7. Other	0	1	1
Dadu			
Pre - Natal Consultation	82	66	70
PERSON/FACILITY CONSULTED			
1. Home TBA	0	0	0
2. Home LHW	0	8	6
3. H0me LHV	0	0	0
4. Home Doctor	7	2	3
5. Govt. Hospital/RHC/BHU	40	55	50
6. Private Hospital/Clinic	53	35	41
7. Other	0	0	0
Ghotki			
Pre - Natal Consultation	63	60	61
PERSON/FACILITY CONSULTED			
1. Home TBA	0	0	0
2. Home LHW	2	1	1
3. H0me LHV	0	0	0
4. Home Doctor	0	0	0
5. Govt. Hospital/RHC/BHU	24	40	37
6. Private Hospital/Clinic	73	59	62
7. Other	0	0	0
Hyderabad			
Pre - Natal Consultation	88	38	80
PERSON/FACILITY CONSULTED			
1. Home TBA	2	0	2
2. Home LHW	4	0	3
3. H0me LHV	0	0	0
4. Home Doctor	1	0	1
5. Govt. Hospital/RHC/BHU	39	72	42
6. Private Hospital/Clinic	54	28	52
7. Other	0	0	0

TABLE 4.9: PRE-NATAL CONSULTATION-BY PROVINCE AND PERSON/FACILITY

PROVINCE & DISTRICT	PERCENTAGE OF CASES		
	URBAN	RURAL	TOTAL
Jaccobabad			
Pre - Natal Consultation	73	60	63
PERSON/FACILITY CONSULTED			
1. Home TBA	0	1	1
2. Home LHW	2	1	1
3. H0me LHV	0	0	0
4. Home Doctor	23	9	12
5. Govt. Hospital/RHC/BHU	21	29	27
6. Private Hospital/Clinic	52	57	56
7. Other	2	2	2
Jamshoro			
Pre - Natal Consultation	82	79	80
PERSON/FACILITY CONSULTED			
1. Home TBA	0	0	0
2. Home LHW	0	3	2
3. H0me LHV	0	0	0
4. Home Doctor	0	0	0
5. Govt. Hospital/RHC/BHU	45	83	66
6. Private Hospital/Clinic	55	14	32
7. Other	0	0	0
Karachi Central			
Pre - Natal Consultation	93	0	93
PERSON/FACILITY CONSULTED			
1. Home TBA	7	0	7
2. Home LHW	1	0	1
3. H0me LHV	0	0	0
4. Home Doctor	0	0	0
5. Govt. Hospital/RHC/BHU	28	0	28
6. Private Hospital/Clinic	64	0	64
7. Other	0	0	0
Karachi East			
Pre - Natal Consultation	92	0	92
PERSON/FACILITY CONSULTED			
1. Home TBA	2	0	2
2. Home LHW	0	0	0
3. H0me LHV	0	0	0
4. Home Doctor	2	0	2
5. Govt. Hospital/RHC/BHU	24	0	24
6. Private Hospital/Clinic	70	0	70
7. Other	2	0	2
Karachi Malir			
Pre - Natal Consultation	94	93	94
PERSON/FACILITY CONSULTED			
1. Home TBA	0	4	2
2. Home LHW	1	0	1
3. H0me LHV	1	0	1
4. Home Doctor	0	1	0
5. Govt. Hospital/RHC/BHU	22	59	38
6. Private Hospital/Clinic	76	36	59
7. Other	0	0	0

TABLE 4.9: PRE-NATAL CONSULTATION-BY PROVINCE AND PERSON/FACILITY

PROVINCE & DISTRICT	PERCENTAGE OF CASES		
	URBAN	RURAL	TOTAL
Karachi South			
Pre - Natal Consultation	95	0	95
PERSON/FACILITY CONSULTED			
1. Home TBA	1	0	1
2. Home LHW	0	0	0
3. H0me LHV	0	0	0
4. Home Doctor	1	0	1
5. Govt. Hospital/RHC/BHU	32	0	32
6. Private Hospital/Clinic	65	0	65
7. Other	1	0	1
Karachi west			
Pre - Natal Consultation	86	63	84
PERSON/FACILITY CONSULTED			
1. Home TBA	2	5	2
2. Home LHW	0	0	0
3. H0me LHV	1	0	1
4. Home Doctor	1	0	1
5. Govt. Hospital/RHC/BHU	39	65	41
6. Private Hospital/Clinic	57	31	56
7. Other	0	0	0
Kashmore			
Pre - Natal Consultation	60	67	65
PERSON/FACILITY CONSULTED			
1. Home TBA	0	1	1
2. Home LHW	0	8	7
3. H0me LHV	0	4	3
4. Home Doctor	8	14	13
5. Govt. Hospital/RHC/BHU	25	13	16
6. Private Hospital/Clinic	67	59	61
7. Other	0	0	0
Khairpur			
Pre - Natal Consultation	65	55	57
PERSON/FACILITY CONSULTED			
1. Home TBA	0	0	0
2. Home LHW	5	7	7
3. H0me LHV	1	2	2
4. Home Doctor	0	1	1
5. Govt. Hospital/RHC/BHU	59	60	59
6. Private Hospital/Clinic	36	29	31
7. Other	0	0	0
korangi			
Pre - Natal Consultation	88	0	88
PERSON/FACILITY CONSULTED			
1. Home TBA	0	0	0
2. Home LHW	0	0	0
3. H0me LHV	0	0	0
4. Home Doctor	1	0	1
5. Govt. Hospital/RHC/BHU	31	0	31
6. Private Hospital/Clinic	68	0	68
7. Other	0	0	0

TABLE 4.9: PRE-NATAL CONSULTATION-BY PROVINCE AND PERSON/FACILITY

PROVINCE & DISTRICT	PERCENTAGE OF CASES		
	URBAN	RURAL	TOTAL
Larkana			
Pre - Natal Consultation	82	82	82
PERSON/FACILITY CONSULTED			
1. Home TBA	0	2	1
2. Home LHW	40	11	27
3. H0me LHV	12	10	11
4. Home Doctor	5	1	3
5. Govt. Hospital/RHC/BHU	21	45	32
6. Private Hospital/Clinic	22	28	25
7. Other	0	2	1
Matiari			
Pre - Natal Consultation	97	81	83
PERSON/FACILITY CONSULTED			
1. Home TBA	10	0	2
2. Home LHW	0	2	1
3. H0me LHV	0	0	0
4. Home Doctor	0	0	0
5. Govt. Hospital/RHC/BHU	38	35	36
6. Private Hospital/Clinic	52	63	61
7. Other	0	0	0
Mir Pur Khas			
Pre - Natal Consultation	74	43	49
PERSON/FACILITY CONSULTED			
1. Home TBA	0	0	0
2. Home LHW	27	27	27
3. H0me LHV	1	0	0
4. Home Doctor	5	0	2
5. Govt. Hospital/RHC/BHU	21	34	30
6. Private Hospital/Clinic	45	39	41
7. Other	0	0	0
Nowshero Feroze			
Pre - Natal Consultation	73	73	73
PERSON/FACILITY CONSULTED			
1. Home TBA	0	1	1
2. Home LHW	0	0	0
3. H0me LHV	0	0	0
4. Home Doctor	3	4	4
5. Govt. Hospital/RHC/BHU	31	37	36
6. Private Hospital/Clinic	67	58	59
7. Other	0	0	0
Sanghar			
Pre - Natal Consultation	83	73	76
PERSON/FACILITY CONSULTED			
1. Home TBA	0	0	0
2. Home LHW	1	2	2
3. H0me LHV	1	0	0
4. Home Doctor	4	1	2
5. Govt. Hospital/RHC/BHU	59	68	66
6. Private Hospital/Clinic	34	27	29
7. Other	1	1	1

TABLE 4.9: PRE-NATAL CONSULTATION-BY PROVINCE AND PERSON/FACILITY

PROVINCE & DISTRICT	PERCENTAGE OF CASES		
	URBAN	RURAL	TOTAL
Shahdadkot			
Pre - Natal Consultation	64	63	63
PERSON/FACILITY CONSULTED			
1. Home TBA	0	6	4
2. Home LHW	5	19	15
3. H0me LHV	0	19	14
4. Home Doctor	6	1	2
5. Govt. Hospital/RHC/BHU	58	27	35
6. Private Hospital/Clinic	31	29	29
7. Other	0	0	0
Shaheed Banazir Abad			
Pre - Natal Consultation	70	65	66
PERSON/FACILITY CONSULTED			
1. Home TBA	0	0	0
2. Home LHW	2	6	5
3. H0me LHV	0	1	1
4. Home Doctor	0	1	1
5. Govt. Hospital/RHC/BHU	58	44	47
6. Private Hospital/Clinic	40	47	45
7. Other	0	1	1
Shikarpur			
Pre - Natal Consultation	72	55	59
PERSON/FACILITY CONSULTED			
1. Home TBA	0	0	0
2. Home LHW	0	1	0
3. H0me LHV	0	0	0
4. Home Doctor	0	0	0
5. Govt. Hospital/RHC/BHU	23	40	36
6. Private Hospital/Clinic	77	56	62
7. Other	0	2	2
Sujawal			
Pre - Natal Consultation	71	89	88
PERSON/FACILITY CONSULTED			
1. Home TBA	0	44	43
2. Home LHW	0	1	1
3. H0me LHV	0	0	0
4. Home Doctor	20	0	1
5. Govt. Hospital/RHC/BHU	60	39	40
6. Private Hospital/Clinic	20	15	15
7. Other	0	1	1
Sukkur			
Pre - Natal Consultation	80	66	71
PERSON/FACILITY CONSULTED			
1. Home TBA	1	0	0
2. Home LHW	1	8	5
3. H0me LHV	0	12	7
4. Home Doctor	3	16	10
5. Govt. Hospital/RHC/BHU	36	40	38
6. Private Hospital/Clinic	59	24	39
7. Other	1	0	0

TABLE 4.9: PRE-NATAL CONSULTATION-BY PROVINCE AND PERSON/FACILITY

PROVINCE & DISTRICT	PERCENTAGE OF CASES		
	URBAN	RURAL	TOTAL
Tando Allah Yar			
Pre - Natal Consultation	78	73	74
PERSON/FACILITY CONSULTED			
1. Home TBA	0	6	4
2. Home LHW	0	0	0
3. H0me LHV	0	0	0
4. Home Doctor	0	1	1
5. Govt. Hospital/RHC/BHU	37	57	51
6. Private Hospital/Clinic	63	37	44
7. Other	0	0	0
Tando Muhd Khan			
Pre - Natal Consultation	51	65	63
PERSON/FACILITY CONSULTED			
1. Home TBA	0	17	15
2. Home LHW	27	2	5
3. H0me LHV	15	1	2
4. Home Doctor	51	1	6
5. Govt. Hospital/RHC/BHU	7	41	37
6. Private Hospital/Clinic	0	33	30
7. Other	0	6	5
Tharparkar			
Pre - Natal Consultation	73	50	52
PERSON/FACILITY CONSULTED			
1. Home TBA	0	0	0
2. Home LHW	8	11	10
3. H0me LHV	0	4	3
4. Home Doctor	0	0	0
5. Govt. Hospital/RHC/BHU	49	47	47
6. Private Hospital/Clinic	44	39	39
7. Other	0	0	0
Thatta			
Pre - Natal Consultation	87	81	82
PERSON/FACILITY CONSULTED			
1. Home TBA	5	10	10
2. Home LHW	0	0	0
3. H0me LHV	0	0	0
4. Home Doctor	3	2	2
5. Govt. Hospital/RHC/BHU	78	51	55
6. Private Hospital/Clinic	14	33	30
7. Other	0	3	3
Umer Kot			
Pre - Natal Consultation	68	56	58
PERSON/FACILITY CONSULTED			
1. Home TBA	0	0	0
2. Home LHW	22	33	30
3. H0me LHV	0	0	0
4. Home Doctor	0	0	0
5. Govt. Hospital/RHC/BHU	26	25	26
6. Private Hospital/Clinic	51	42	44
7. Other	0	0	0

TABLE 4.9: PRE-NATAL CONSULTATION-BY PROVINCE AND PERSON/FACILITY

PROVINCE & DISTRICT	PERCENTAGE OF CASES		
	URBAN	RURAL	TOTAL
Khyber Pakhtunkhwa			
Pre - Natal Consultation	**82**	**66**	**69**
PERSON/FACILITY CONSULTED			
1. Home TBA	0	1	1
2. Home LHW	4	5	4
3. H0me LHV	3	4	4
4. Home Doctor	1	1	1
5. Govt. Hospital/RHC/BHU	51	51	51
6. Private Hospital/Clinic	41	38	39
7. Other	0	0	0
Abbottabad			
Pre - Natal Consultation	96	78	81
PERSON/FACILITY CONSULTED			
1. Home TBA	0	0	0
2. Home LHW	0	3	3
3. H0me LHV	0	2	1
4. Home Doctor	4	1	2
5. Govt. Hospital/RHC/BHU	52	54	53
6. Private Hospital/Clinic	44	40	41
7. Other	0	0	0
Bajur			
Pre - Natal Consultation	0	57	57
Home-TBA	0	6	6
Home -LHW	0	37	37
Home - LHV	0	8	8
Home-Doctor	0	0	0
Govt Hosp/Clinic	0	29	29
Private hosp/Clinic	0	21	21
Other	0	0	0
Bannu			
Pre - Natal Consultation	64	44	45
PERSON/FACILITY CONSULTED			
1. Home TBA	0	0	0
2. Home LHW	0	9	8
3. H0me LHV	0	8	8
4. Home Doctor	0	0	0
5. Govt. Hospital/RHC/BHU	54	39	40
6. Private Hospital/Clinic	46	43	43
7. Other	0	1	0
Batagram			
Pre - Natal Consultation	0	60	60
PERSON/FACILITY CONSULTED			
1. Home TBA	0	11	11
2. Home LHW	0	12	12
3. H0me LHV	0	8	8
4. Home Doctor	0	2	2
5. Govt. Hospital/RHC/BHU	0	46	46
6. Private Hospital/Clinic	0	21	21
7. Other	0	0	0

TABLE 4.9: PRE-NATAL CONSULTATION-BY PROVINCE AND PERSON/FACILITY

PROVINCE & DISTRICT	PERCENTAGE OF CASES		
	URBAN	RURAL	TOTAL
Bonair			
Pre - Natal Consultation	0	73	73
PERSON/FACILITY CONSULTED			
1. Home TBA	0	0	0
2. Home LHW	0	0	0
3. H0me LHV	0	4	4
4. Home Doctor	0	1	1
5. Govt. Hospital/RHC/BHU	0	51	51
6. Private Hospital/Clinic	0	44	44
7. Other	0	0	0
Charsada			
Pre - Natal Consultation	81	82	82
PERSON/FACILITY CONSULTED			
1. Home TBA	0	0	0
2. Home LHW	0	1	1
3. H0me LHV	2	0	1
4. Home Doctor	0	0	0
5. Govt. Hospital/RHC/BHU	38	63	58
6. Private Hospital/Clinic	60	35	40
7. Other	0	0	0
Chitral			
Pre - Natal Consultation	85	68	69
PERSON/FACILITY CONSULTED			
1. Home TBA	0	0	0
2. Home LHW	0	0	0
3. H0me LHV	0	1	1
4. Home Doctor	0	0	0
5. Govt. Hospital/RHC/BHU	59	59	59
6. Private Hospital/Clinic	41	38	39
7. Other	0	1	1
D.I.Khan			
Pre - Natal Consultation	69	45	50
PERSON/FACILITY CONSULTED			
1. Home TBA	0	10	7
2. Home LHW	6	7	6
3. H0me LHV	11	8	9
4. Home Doctor	0	4	3
5. Govt. Hospital/RHC/BHU	49	46	47
6. Private Hospital/Clinic	35	23	26
7. Other	0	3	2
Hangu			
Pre - Natal Consultation	81	83	83
PERSON/FACILITY CONSULTED			
1. Home TBA	0	0	0
2. Home LHW	0	3	3
3. H0me LHV	2	0	0
4. Home Doctor	0	0	0
5. Govt. Hospital/RHC/BHU	39	31	32
6. Private Hospital/Clinic	59	65	65
7. Other	0	0	0

TABLE 4.9: PRE-NATAL CONSULTATION-BY PROVINCE AND PERSON/FACILITY

PROVINCE & DISTRICT	PERCENTAGE OF CASES		
	URBAN	RURAL	TOTAL
Haripur			
Pre - Natal Consultation	98	85	87
PERSON/FACILITY CONSULTED			
1. Home TBA	0	0	0
2. Home LHW	2	5	4
3. H0me LHV	4	4	4
4. Home Doctor	2	0	1
5. Govt. Hospital/RHC/BHU	30	55	51
6. Private Hospital/Clinic	61	36	40
7. Other	0	0	0
Karak			
Pre - Natal Consultation	67	41	42
PERSON/FACILITY CONSULTED			
1. Home TBA	0	0	0
2. Home LHW	0	0	0
3. H0me LHV	0	13	13
4. Home Doctor	0	8	8
5. Govt. Hospital/RHC/BHU	0	16	15
6. Private Hospital/Clinic	100	63	64
7. Other	0	0	0
Khyber			
Pre - Natal Consultation	100	63	67
PERSON/FACILITY CONSULTED			
1. Home TBA	0	2	2
2. Home LHW	11	2	3
3. H0me LHV	0	2	2
4. Home Doctor	0	1	1
5. Govt. Hospital/RHC/BHU	89	93	92
6. Private Hospital/Clinic	0	0	0
7. Other	0	0	0
Kohat			
Pre - Natal Consultation	76	77	77
PERSON/FACILITY CONSULTED			
1. Home TBA	0	0	0
2. Home LHW	0	1	1
3. H0me LHV	0	0	0
4. Home Doctor	0	0	0
5. Govt. Hospital/RHC/BHU	51	39	41
6. Private Hospital/Clinic	47	60	58
7. Other	2	0	0
Kohistan			
Pre - Natal Consultation	0	39	39
PERSON/FACILITY CONSULTED			
1. Home TBA	0	5	5
2. Home LHW	0	7	7
3. H0me LHV	0	1	1
4. Home Doctor	0	3	3
5. Govt. Hospital/RHC/BHU	0	39	39
6. Private Hospital/Clinic	0	44	44
7. Other	0	0	0

TABLE 4.9: PRE-NATAL CONSULTATION-BY PROVINCE AND PERSON/FACILITY

PROVINCE & DISTRICT	PERCENTAGE OF CASES		
	URBAN	RURAL	TOTAL
Kurram			
Pre - Natal Consultation	0	71	71
PERSON/FACILITY CONSULTED			
1. Home TBA	0	4	4
2. Home LHW	0	1	1
3. H0me LHV	0	13	13
4. Home Doctor	0	0	0
5. Govt. Hospital/RHC/BHU	0	63	63
6. Private Hospital/Clinic	0	19	19
7. Other			
Lakki Marwat			
Pre - Natal Consultation	60	31	32
PERSON/FACILITY CONSULTED			
1. Home TBA	0	0	0
2. Home LHW	0	0	0
3. H0me LHV	0	10	9
4. Home Doctor	0	0	0
5. Govt. Hospital/RHC/BHU	39	30	31
6. Private Hospital/Clinic	61	60	60
7. Other	0	0	0
Lower Dir			
Pre - Natal Consultation	67	63	63
PERSON/FACILITY CONSULTED			
1. Home TBA	0	0	0
2. Home LHW	0	0	0
3. H0me LHV	0	0	0
4. Home Doctor	0	0	0
5. Govt. Hospital/RHC/BHU	50	56	56
6. Private Hospital/Clinic	50	44	44
7. Other	0	0	0
Malakand			
Pre - Natal Consultation	47	86	82
PERSON/FACILITY CONSULTED			
1. Home TBA	0	0	0
2. Home LHW	0	3	3
3. H0me LHV	0	1	1
4. Home Doctor	0	0	0
5. Govt. Hospital/RHC/BHU	86	55	56
6. Private Hospital/Clinic	14	41	40
7. Other	0	0	0
Mansehra			
Pre - Natal Consultation	58	62	62
PERSON/FACILITY CONSULTED			
1. Home TBA	0	0	0
2. Home LHW	14	16	16
3. H0me LHV	16	2	2
4. Home Doctor	0	1	1
5. Govt. Hospital/RHC/BHU	12	33	32
6. Private Hospital/Clinic	57	48	49
7. Other	0	0	0

TABLE 4.9: PRE-NATAL CONSULTATION-BY PROVINCE AND PERSON/FACILITY

PROVINCE & DISTRICT	PERCENTAGE OF CASES		
	URBAN	RURAL	TOTAL
Mardan			
Pre - Natal Consultation	87	83	83
PERSON/FACILITY CONSULTED			
1. Home TBA	1	0	0
2. Home LHW	0	0	0
3. H0me LHV	4	4	4
4. Home Doctor	0	1	1
5. Govt. Hospital/RHC/BHU	40	52	50
6. Private Hospital/Clinic	55	43	45
7. Other	0	0	0
Mohmand			
Pre - Natal Consultation	0	70	70
PERSON/FACILITY CONSULTED			
1. Home TBA	0	0	0
2. Home LHW	0	0	0
3. H0me LHV	0	5	5
4. Home Doctor	0	0	0
5. Govt. Hospital/RHC/BHU	0	41	41
6. Private Hospital/Clinic	0	53	53
7. Other	0	0	0
North Waziristan			
Pre - Natal Consultation	0	26	26
PERSON/FACILITY CONSULTED			
1. Home TBA	0	4	4
2. Home LHW	0	1	1
3. H0me LHV	0	4	4
4. Home Doctor	0	0	0
5. Govt. Hospital/RHC/BHU	0	16	16
6. Private Hospital/Clinic	0	74	74
7. Other	0	0	0
Nowshera			
Pre - Natal Consultation	73	70	71
PERSON/FACILITY CONSULTED			
1. Home TBA	0	4	3
2. Home LHW	2	0	1
3. H0me LHV	0	4	3
4. Home Doctor	0	2	1
5. Govt. Hospital/RHC/BHU	59	57	58
6. Private Hospital/Clinic	39	32	34
7. Other	0	0	0
orakzai			
Pre - Natal Consultation	0	89	89
PERSON/FACILITY CONSULTED			
1. Home TBA	0	1	1
2. Home LHW	0	6	6
3. H0me LHV	0	17	17
4. Home Doctor	0	3	3
5. Govt. Hospital/RHC/BHU	0	37	37
6. Private Hospital/Clinic	0	35	35
7. Other	0	0	0

TABLE 4.9: PRE-NATAL CONSULTATION-BY PROVINCE AND PERSON/FACILITY

PROVINCE & DISTRICT	PERCENTAGE OF CASES		
	URBAN	RURAL	TOTAL
Peshawar			
Pre - Natal Consultation	87	85	86
PERSON/FACILITY CONSULTED			
1. Home TBA	1	2	1
2. Home LHW	6	7	7
3. H0me LHV	3	7	5
4. Home Doctor	2	3	2
5. Govt. Hospital/RHC/BHU	55	39	46
6. Private Hospital/Clinic	33	43	38
7. Other	0	0	0
Shangla			
Pre - Natal Consultation	0	76	76
PERSON/FACILITY CONSULTED			
1. Home TBA	0	0	0
2. Home LHW	0	1	1
3. H0me LHV	0	2	2
4. Home Doctor	0	1	1
5. Govt. Hospital/RHC/BHU	0	57	57
6. Private Hospital/Clinic	0	39	39
7. Other	0	0	0
South Waziristan			
Pre - Natal Consultation	0	15	15
PERSON/FACILITY CONSULTED			
1. Home TBA	0	5	5
2. Home LHW	0	14	14
3. H0me LHV	0	6	6
4. Home Doctor	0	0	0
5. Govt. Hospital/RHC/BHU	0	40	40
6. Private Hospital/Clinic	0	35	35
7. Other	0	0	0
Swabi			
Pre - Natal Consultation	70	77	76
PERSON/FACILITY CONSULTED			
1. Home TBA	3	1	1
2. Home LHW	3	2	2
3. H0me LHV	0	3	3
4. Home Doctor	0	0	0
5. Govt. Hospital/RHC/BHU	40	68	64
6. Private Hospital/Clinic	55	26	29
7. Other	0	0	0
Swat			
Pre - Natal Consultation	78	60	65
PERSON/FACILITY CONSULTED			
1. Home TBA	0	0	0
2. Home LHW	0	0	0
3. H0me LHV	1	0	0
4. Home Doctor	2	0	1
5. Govt. Hospital/RHC/BHU	53	70	65
6. Private Hospital/Clinic	44	30	35
7. Other	0	0	0

TABLE 4.9: PRE-NATAL CONSULTATION-BY PROVINCE AND PERSON/FACILITY

PROVINCE & DISTRICT	PERCENTAGE OF CASES		
	URBAN	RURAL	TOTAL
Tank			
Pre - Natal Consultation	50	47	48
PERSON/FACILITY CONSULTED			
1. Home TBA	0	0	0
2. Home LHW	0	0	0
3. H0me LHV	0	11	10
4. Home Doctor	0	23	20
5. Govt. Hospital/RHC/BHU	50	53	53
6. Private Hospital/Clinic	50	12	17
7. Other	0	0	0
Tor Garh			
Pre - Natal Consultation	0	20	20
PERSON/FACILITY CONSULTED			
1. Home TBA	0	2	2
2. Home LHW	0	23	23
3. H0me LHV	0	0	0
4. Home Doctor	0	0	0
5. Govt. Hospital/RHC/BHU	0	17	17
6. Private Hospital/Clinic	0	58	58
7. Other			
Upper Dir			
Pre - Natal Consultation	63	53	53
PERSON/FACILITY CONSULTED			
1. Home TBA	0	0	0
2. Home LHW	0	0	0
3. H0me LHV	0	1	1
4. Home Doctor	0	0	0
5. Govt. Hospital/RHC/BHU	40	71	70
6. Private Hospital/Clinic	60	28	29
7. Other	0	0	0

TABLE 4.9: PRE-NATAL CONSULTATION-BY PROVINCE AND PERSON/FACILITY

PROVINCE & DISTRICT	PERCENTAGE OF CASES		
	URBAN	RURAL	TOTAL
Balochistan			
Pre - Natal Consultation	**75**	**59**	**63**
PERSON/FACILITY CONSULTED			
1. Home TBA	2	4	4
2. Home LHW	2	1	1
3. H0me LHV	3	8	7
4. Home Doctor	2	1	2
5. Govt. Hospital/RHC/BHU	56	45	48
6. Private Hospital/Clinic	33	38	37
7. Other	1	2	1
Awaran			
Pre - Natal Consultation	53	25	28
PERSON/FACILITY CONSULTED			
1. Home TBA	25	38	35
2. Home LHW	0	0	0
3. H0me LHV	0	0	0
4. Home Doctor	0	0	0
5. Govt. Hospital/RHC/BHU	38	37	37
6. Private Hospital/Clinic	38	26	28
7. Other	0	0	0
Barkhan			
Pre - Natal Consultation	72	65	68
PERSON/FACILITY CONSULTED			
1. Home TBA	0	0	0
2. Home LHW	0	12	7
3. H0me LHV	6	20	14
4. Home Doctor	0	1	1
5. Govt. Hospital/RHC/BHU	72	14	39
6. Private Hospital/Clinic	22	51	39
7. Other	0	2	1
Dera Bugti			
Pre - Natal Consultation	68	70	69
PERSON/FACILITY CONSULTED			
1. Home TBA	12	26	21
2. Home LHW	47	9	22
3. H0me LHV	0	3	2
4. Home Doctor	0	3	2
5. Govt. Hospital/RHC/BHU	29	54	46
6. Private Hospital/Clinic	6	5	5
7. Other	6	0	2
Duki			
Pre - Natal Consultation	69	85	83
PERSON/FACILITY CONSULTED			
1. Home TBA	0	2	2
2. Home LHW	0	3	2
3. H0me LHV	44	56	55
4. Home Doctor	0	0	0
5. Govt. Hospital/RHC/BHU	44	22	24
6. Private Hospital/Clinic	11	15	15
7. Other	0	3	3

TABLE 4.9: PRE-NATAL CONSULTATION-BY PROVINCE AND PERSON/FACILITY

PROVINCE & DISTRICT	PERCENTAGE OF CASES		
	URBAN	RURAL	TOTAL
Gwadar			
Pre - Natal Consultation	75	23	46
PERSON/FACILITY CONSULTED			
1. Home TBA	9	33	15
2. Home LHW	9	0	6
3. H0me LHV	5	0	3
4. Home Doctor	3	0	2
5. Govt. Hospital/RHC/BHU	48	34	44
6. Private Hospital/Clinic	27	33	29
7. Other	0	0	0
Harnai			
Pre - Natal Consultation	85	72	75
PERSON/FACILITY CONSULTED			
1. Home TBA	0	26	19
2. Home LHW	0	0	0
3. H0me LHV	9	13	12
4. Home Doctor	5	15	13
5. Govt. Hospital/RHC/BHU	49	34	38
6. Private Hospital/Clinic	38	10	17
7. Other	0	1	1
Jafarabad			
Pre - Natal Consultation	88	65	69
PERSON/FACILITY CONSULTED			
1. Home TBA	0	3	2
2. Home LHW	0	0	0
3. H0me LHV	0	0	0
4. Home Doctor	0	0	0
5. Govt. Hospital/RHC/BHU	50	68	64
6. Private Hospital/Clinic	50	29	34
7. Other	0	0	0
Bolan			
Pre - Natal Consultation	60	72	71
PERSON/FACILITY CONSULTED			
1. Home TBA	0	0	0
2. Home LHW	0	0	0
3. H0me LHV	0	1	1
4. Home Doctor	0	0	0
5. Govt. Hospital/RHC/BHU	40	65	63
6. Private Hospital/Clinic	60	34	36
7. Other	0	0	0
Kalat			
Pre - Natal Consultation	0	74	74
PERSON/FACILITY CONSULTED			
1. Home TBA	0	9	9
2. Home LHW	0	3	3
3. H0me LHV	0	2	2
4. Home Doctor	0	4	4
5. Govt. Hospital/RHC/BHU	0	35	35
6. Private Hospital/Clinic	0	47	47
7. Other	0	0	0

TABLE 4.9: PRE-NATAL CONSULTATION-BY PROVINCE AND PERSON/FACILITY

PROVINCE & DISTRICT	PERCENTAGE OF CASES		
	URBAN	RURAL	TOTAL
Ketch			
Pre - Natal Consultation	57	36	44
PERSON/FACILITY CONSULTED			
1. Home TBA	0	8	4
2. Home LHW	2	5	4
3. H0me LHV	3	5	4
4. Home Doctor	0	0	0
5. Govt. Hospital/RHC/BHU	77	43	59
6. Private Hospital/Clinic	17	39	29
7. Other	0	0	0
Kharan			
Pre - Natal Consultation	85	70	73
PERSON/FACILITY CONSULTED			
1. Home TBA	22	7	11
2. Home LHW	0	1	0
3. H0me LHV	35	56	51
4. Home Doctor	0	6	4
5. Govt. Hospital/RHC/BHU	26	11	15
6. Private Hospital/Clinic	17	4	7
7. Other	0	16	12
Khuzdar			
Pre - Natal Consultation	0	5	5
PERSON/FACILITY CONSULTED			
1. Home TBA	0	39	39
2. Home LHW	0	16	16
3. H0me LHV	0	0	0
4. Home Doctor	0	0	0
5. Govt. Hospital/RHC/BHU	0	26	26
6. Private Hospital/Clinic	0	19	19
7. Other	0	0	0
Kohlu			
Pre - Natal Consultation	67	79	77
PERSON/FACILITY CONSULTED			
1. Home TBA	0	0	0
2. Home LHW	0	0	0
3. H0me LHV	0	0	0
4. Home Doctor	0	0	0
5. Govt. Hospital/RHC/BHU	50	12	17
6. Private Hospital/Clinic	50	88	83
7. Other	0	0	0
Lasbilla			
Pre - Natal Consultation	67	57	63
PERSON/FACILITY CONSULTED			
1. Home TBA	0	12	4
2. Home LHW	0	0	0
3. H0me LHV	0	0	0
4. Home Doctor	4	0	3
5. Govt. Hospital/RHC/BHU	74	74	74
6. Private Hospital/Clinic	22	14	19
7. Other	0	0	0

TABLE 4.9: PRE-NATAL CONSULTATION-BY PROVINCE AND PERSON/FACILITY

PROVINCE & DISTRICT	PERCENTAGE OF CASES		
	URBAN	RURAL	TOTAL
Loralai			
Pre - Natal Consultation	90	81	84
PERSON/FACILITY CONSULTED			
1. Home TBA	4	1	2
2. Home LHW	7	2	4
3. H0me LHV	20	5	11
4. Home Doctor	0	0	0
5. Govt. Hospital/RHC/BHU	33	65	53
6. Private Hospital/Clinic	29	27	28
7. Other	7	0	3
Mastung			
Pre - Natal Consultation	95	60	67
PERSON/FACILITY CONSULTED			
1. Home TBA	0	7	5
2. Home LHW	0	5	4
3. H0me LHV	0	0	0
4. Home Doctor	6	1	3
5. Govt. Hospital/RHC/BHU	28	34	33
6. Private Hospital/Clinic	66	51	55
7. Other	0	1	1
Nasirabad			
Pre - Natal Consultation	83	65	68
PERSON/FACILITY CONSULTED			
1. Home TBA	0	1	1
2. Home LHW	0	0	0
3. H0me LHV	0	0	0
4. Home Doctor	3	0	1
5. Govt. Hospital/RHC/BHU	2	27	21
6. Private Hospital/Clinic	95	73	78
7. Other	0	0	0
Nushki			
Pre - Natal Consultation	93	80	84
PERSON/FACILITY CONSULTED			
1. Home TBA	6	4	5
2. Home LHW	0	3	2
3. H0me LHV	23	57	47
4. Home Doctor	7	0	2
5. Govt. Hospital/RHC/BHU	37	20	25
6. Private Hospital/Clinic	24	5	10
7. Other	4	12	9
Pashin			
Pre - Natal Consultation	13	53	48
PERSON/FACILITY CONSULTED			
1. Home TBA	0	0	0
2. Home LHW	0	0	0
3. H0me LHV	0	0	0
4. Home Doctor	0	3	3
5. Govt. Hospital/RHC/BHU	63	15	17
6. Private Hospital/Clinic	37	82	80
7. Other	0	0	0

TABLE 4.9: PRE-NATAL CONSULTATION-BY PROVINCE AND PERSON/FACILITY

PROVINCE & DISTRICT	PERCENTAGE OF CASES		
	URBAN	RURAL	TOTAL
Qilla Abdullah			
Pre - Natal Consultation	76	44	51
PERSON/FACILITY CONSULTED			
1. Home TBA	3	3	3
2. Home LHW	0	0	0
3. H0me LHV	2	2	2
4. Home Doctor	6	4	5
5. Govt. Hospital/RHC/BHU	38	42	41
6. Private Hospital/Clinic	50	48	49
7. Other	1	1	1
Qilla Saifullah			
Pre - Natal Consultation	0	52	52
PERSON/FACILITY CONSULTED			
1. Home TBA	0	0	0
2. Home LHW	0	1	1
3. H0me LHV	0	2	2
4. Home Doctor	0	0	0
5. Govt. Hospital/RHC/BHU	0	12	12
6. Private Hospital/Clinic	0	85	85
7. Other	0	0	0
Quetta			
Pre - Natal Consultation	86	72	77
PERSON/FACILITY CONSULTED			
1. Home TBA	2	1	2
2. Home LHW	0	0	0
3. H0me LHV	0	0	0
4. Home Doctor	2	1	1
5. Govt. Hospital/RHC/BHU	66	55	59
6. Private Hospital/Clinic	29	41	36
7. Other	1	3	2
Shaheed Sikandar Abad			
PERSON/FACILITY CONSULTED	0	66	66
PERSON/FACILITY CONSULTED			
1. Home TBA	0	20	20
2. Home LHW	0	3	3
3. H0me LHV	0	0	0
4. Home Doctor	0	5	5
5. Govt. Hospital/RHC/BHU	0	60	60
6. Private Hospital/Clinic	0	13	13
7. Other	0	0	0
Sheani			
Pre - Natal Consultation	0	78	78
PERSON/FACILITY CONSULTED			
1. Home TBA	0	4	4
2. Home LHW	0	0	0
3. H0me LHV	0	33	33
4. Home Doctor	0	0	0
5. Govt. Hospital/RHC/BHU	0	40	40
6. Private Hospital/Clinic	0	21	21
7. Other	0	1	1

TABLE 4.9: PRE-NATAL CONSULTATION-BY PROVINCE AND PERSON/FACILITY

PROVINCE & DISTRICT	PERCENTAGE OF CASES		
	URBAN	RURAL	TOTAL
Sibbi			
Pre - Natal Consultation	95	74	83
PERSON/FACILITY CONSULTED			
1. Home TBA	0	0	0
2. Home LHW	0	0	0
3. H0me LHV	0	0	0
4. Home Doctor	0	0	0
5. Govt. Hospital/RHC/BHU	49	98	73
6. Private Hospital/Clinic	51	2	27
7. Other	0	0	0
Sohbatpur			
Pre - Natal Consultation	8	93	88
Home-TBA	100	0	1
Home -LHW	0	0	0
Home - LHV	0	0	0
Home-Doctor	0	0	0
Govt Hosp/Clinic	0	68	68
Private hosp/Clinic	0	32	32
Other	0	0	0
Washuk			
Pre - Natal Consultation	60	56	57
PERSON/FACILITY CONSULTED			
1. Home TBA	0	7	6
2. Home LHW	8	9	9
3. H0me LHV	8	35	30
4. Home Doctor	0	0	0
5. Govt. Hospital/RHC/BHU	58	28	34
6. Private Hospital/Clinic	25	21	21
7. Other	0	0	0
Ziarat			
Pre - Natal Consultation	56	60	60
1. Home TBA	0	26	25
2. Home LHW	0	3	3
3. H0me LHV	0	7	7
4. Home Doctor	0	12	12
5. Govt. Hospital/RHC/BHU	80	8	9
6. Private Hospital/Clinic	20	43	43
7. Other	0	2	2

NOTE:

1. The Panjgur,Chaghi,Musa Khel,Zhob and Jhal Magsi districts have been dropped from the scope of the survey due to law and order situat

TABLE 4.10 : PREGNANT WOMEN THAT HAVE RECEIVED TETANUS TOXOID INJECTION

	PROVINCE & DISTRICT	PERCENTAGE OF PREGNANT WOMEN			RANK	TOTAL 14-15
		URBAN	RURAL	TOTAL		
	Pakistan	**84**	**74**	**77**		**75**
	Punjab	**87**	**82**	**83**		**84**
1	Attock	88	94	92	10	90
2	Bahawalnagar	58	77	73	34	69
3	Bahawalpur	92	85	87	19	76
4	Bhakhar	98	91	92	12	85
5	Chakwal	90	91	91	14	85
6	Chiniot	83	82	82	27	85
7	D. G. Khan	55	49	50	37	72
8	Faisalabad	86	78	82	28	84
9	Gujranwala	87	86	86	20	95
10	Gujrat	90	93	92	11	94
11	Hafizabad	83	89	86	21	94
12	Islamabad	95	96	96	5	94
13	Jehlum	93	98	97	4	95
14	Jhang	89	81	84	26	72
15	Kasur	85	70	74	33	78
16	Khanewal	96	89	90	16	84
17	Khushab	94	91	92	13	87
18	Lahore	85	0	85	24	91
19	Layyah	83	96	94	7	92
20	Lodhran	97	87	88	17	81
21	Mandi Bahauddin	94	92	93	8	94
22	Mianwali	93	82	84	25	87
23	Multan	91	90	90	15	84
24	Muzaffar Garh	91	80	81	29	85
25	Nankana Sahib	92	74	77	32	91
26	Narowal	100	98	98	3	98
27	Okara	80	90	87	18	84
28	Pakpattan	92	85	86	22	68
29	Rahim Yar Khan	79	47	53	36	59
30	Rajanpur	66	59	60	35	83
31	Rawalpindi	92	93	92	9	93
32	Sahiwal	95	84	86	23	71
33	Sargodha	98	93	95	6	91
34	Sheikhupura	84	76	79	31	88
35	Sialkot	98	99	99	1	96
36	T.T. Singh	71	84	81	30	78
37	Vehari	98	98	98	2	92

NOTES:
1. Ever married women aged 15-49 years who had a birth in the last three years and received a tetanus toxoid injection during the last pregnancy, expressed as a percentage of all Ever married women aged 15-49 years who had a birth in the last three years.

TABLE 4.10 : PREGNANT WOMEN THAT HAVE RECEIVED TETANUS TOXOID INJECTION

PROVINCE & DISTRICT	PERCENTAGE OF PREGNANT WOMEN			RANK	TOTAL 14-15
	URBAN	RURAL	TOTAL		
	84	**66**	**75**		**69**
Sindh					
1 Badin	70	63	65	22	67
2 Dadu	86	74	78	14	69
3 Ghotki	79	79	79	13	51
4 Hyderabad	90	46	84	8	84
5 Jacobabad	94	84	86	6	50
6 Jamshoro	88	70	77	15	69
7 Karachi Central	89	0	89	2	91
8 Karachi East	84	0	84	9	
9 Karachi Malir	82	85	83	10	
10 Karachi South	88	0	88	3	
11 Karachi West	82	88	83	11	
12 Kashmore	99	100	100	1	53
13 Khairpur	72	64	66	20	64
14 Korangi	86	0	86	5	
15 Larkana	99	69	85	7	66
16 Matiari	84	88	87	4	80
17 Mir Pur Khas	77	47	53	27	54
18 Nowshero Feroze	79	77	77	16	64
19 Sanghar	89	73	77	17	57
20 Shahdadkot	78	83	81	12	53
21 Shaheed Banazir Abad	72	63	65	23	71
22 Shikarpur	84	48	56	26	64
23 Sujawal	71	38	39	29	51
24 Sukkur	85	63	72	18	70
25 Tando Allah Yar	78	63	67	19	68
26 Tando Muhammad Khan	97	55	61	25	61
27 Tharparkar	51	42	42	28	30
28 Thatta	68	65	66	21	53
29 Umer Kot	71	59	62	24	47

TABLE 4.10 : PREGNANT WOMEN THAT HAVE RECEIVED TETANUS TOXOID INJECTION

PROVINCE & DISTRICT	PERCENTAGE OF PREGNANT WOMEN			RANK	TOTAL 14-15
	URBAN	RURAL	TOTAL		
Khyber Pakhtunkhwa	**85**	**72**	**74**		**67**
1 Abbottabad	81	86	85	5	84
2 Bajur	0	71	71	17	
3 Bannu	78	65	65	22	59
4 Batagram	0	76	76	12	59
5 Bunair	0	73	73	15	56
6 Charsada	92	80	82	9	89
7 Chitral	100	99	99	1	88
8 D. I. Khan	63	47	51	28	55
9 Hangu	82	48	53	25	63
10 Haripur	98	91	92	2	78
11 Karak	67	67	67	18	46
12 Khyber	100	63	67	19	
13 Kohat	90	44	52	27	75
14 Kohistan	0	65	65	21	22
15 Kurram	0	75	75	14	
16 Lakki Marwat	53	61	61	23	53
17 Lower Dir	61	82	82	10	59
18 Malakand	100	84	86	3	82
19 Mansehra	86	72	73	16	63
20 Mardan	87	85	85	4	81
21 Mohmand	0	37	37	30	
22 North Waziristan	0	53	53	26	
23 Nowshera	83	82	83	8	67
24 Orakzai	0	57	57	24	
25 Peshawar	86	66	75	13	84
26 Shangla	0	66	66	20	61
27 South Waziristan	0	22	22	32	
28 Swabi	74	80	79	11	68
29 Swat	84	83	83	7	67
30 Tank	58	46	47	29	39
31 Tor Garh	0	36	36	31	34
32 Upper Dir	100	84	84	6	61

TABLE 4.10 : PREGNANT WOMEN THAT HAVE RECEIVED TETANUS TOXOID INJECTION

PROVINCE & DISTRICT	PERCENTAGE OF PREGNANT WOMEN			RANK	TOTAL 14-15
	URBAN	RURAL	TOTAL		
Balochistan	**56**	**41**	**45**		**34**
1 Awaran	47	21	24	22	54
2 Barkhan	72	61	65	10	15
3 Dera Bugti	72	65	67	8	28
4 Duki	8	5	5	27	
5 Gwadar	84	45	62	12	44
6 Harnai	68	35	42	17	29
7 Jaffarabad	93	66	71	6	40
8 Kachhi/ Bolan	32	41	40	19	28
9 Kalat	0	66	66	9	80
10 Kech/Turbat	69	63	65	11	
11 Kharan	78	74	75	4	10
12 Khuzdar	0	9	9	26	63
13 Kohlu	67	68	68	7	49
14 Lasbela	51	25	41	18	54
15 Loralai	64	55	58	13	29
16 Mastung	75	76	76	3	65
17 Nasirabad/ Tamboo	91	67	71	5	25
18 Nushki	98	95	96	1	23
19 Pishin	29	18	20	24	16
20 Qilla Abdullah	18	16	16	25	9
21 Qilla Saifullah	0	2	2	28	15
22 Quetta	50	42	45	16	39
23 Shaheed Sikandar Abad	0	57	57	14	
24 Sherani	0	22	22	23	71
25 Sibbi	41	23	31	21	48
26 Sohbatpur	8	82	78	2	
27 Washuk	55	50	51	15	47
28 Ziarat	11	37	37	20	17

NOTE:

1. The Panjgur,Chaghi,Musa Khel,Zhob and Jhal Magsi districts have been dropped from the scope of the survey due to law and order situ

TABLE 4.11: CHILD DELIVERY-LOCATION AND TYPE OF ASSISTANCE

PROVINCE & DISTRICT	PERCENTAGE OF CASES		
	URBAN	RURAL	TOTAL
Pakistan			
PLACE WHERE CHILD WAS DELIVERED:			
Home	15	36	30
Govt. Hospital/RHC/BHU	36	31	32
Private Hospital/Clinic	48	33	38
Other	0	1	0
Total	**100**	**100**	**100**
PERSON THAT ASSISTED WITH DELIVERY:			
Doctor	68	46	53
Nurse	7	6	6
midwife	4	5	4
TBA	2	4	3
Trained Dai/Dai	9	19	16
Family member/Neighbour/Friend	6	13	11
LHV	3	5	5
LHW	1	1	1
Other	0	0	0
Total	**100**	**100**	**100**
Punjab			
PLACE WHERE CHILD WAS DELIVERED:			
Home	15	32	26
Govt. Hospital/RHC/BHU	38	30	33
Private Hospital/Clinic	47	38	41
Other	1	0	0
Total	**100**	**100**	**100**
LHW			
PERSON THAT ASSISTED WITH DELIVERY:			
Doctor	67	48	55
Nurse	9	8	8
midwife	3	3	3
TBA	2	4	4
Trained Dai/Dai	10	21	18
Family member/Neighbour/Friend	5	8	7
LHV	3	5	4
LHW	1	2	2
Other	0	0	0
Total	**100**	**100**	**100**
Attock			
PLACE WHERE CHILD WAS DELIVERED:			
Home	3	12	10
Govt. Hospital/RHC/BHU	57	45	48
Private Hospital/Clinic	40	43	42
Other	**100**	**100**	**100**
Total			
PERSON THAT ASSISTED WITH DELIVERY:			
Doctor	78	61	65
Nurse	3	3	3
midwife	8	12	11
TBA	0	0	0
Trained Dai/Dai	3	17	13
Family member/Neighbour/Friend	6	6	6
LHV	0	1	1
LHW	1	1	1
Other	0	0	0
Total	**100**	**100**	**100**

TABLE 4.11: CHILD DELIVERY-LOCATION AND TYPE OF ASSISTANCE

PROVINCE & DISTRICT	PERCENTAGE OF CASES		
	URBAN	RURAL	TOTAL
Bahawalnager			
PLACE WHERE CHILD WAS DELIVERED:			
Home	26	37	35
Govt. Hospital/RHC/BHU	37	25	28
Private Hospital/Clinic	37	37	37
Other	0	0	0
Total	**100**	**100**	**100**
PERSON THAT ASSISTED WITH DELIVERY:			
Doctor	63	41	45
Nurse	3	4	4
midwife	1	3	3
TBA	1	1	1
Trained Dai/Dai	31	33	32
Family member/Neighbour/Friend	0	8	6
LHV	0	2	2
LHW	1	8	6
Other	0	0	0
Total	**100**	**100**	**100**
Bahawalpur			
PLACE WHERE CHILD WAS DELIVERED:			
Home	23	40	36
Govt. Hospital/RHC/BHU	40	24	28
Private Hospital/Clinic	36	35	36
Other	0	0	0
Total	**100**	**100**	**100**
PERSON THAT ASSISTED WITH DELIVERY:			
Doctor	71	50	55
Nurse	3	4	4
midwife	0	1	1
TBA	1	5	4
Trained Dai/Dai	22	31	29
Family member/Neighbour/Friend	2	8	7
LHV	0	1	1
LHW	0	0	0
Other	0	0	0
Total	**100**	**100**	**100**
Bhakhar			
PLACE WHERE CHILD WAS DELIVERED:			
Home	18	25	24
Govt. Hospital/RHC/BHU	58	38	41
Private Hospital/Clinic	25	34	33
Other	0	2	2
Total	**100**	**100**	**100**
PERSON THAT ASSISTED WITH DELIVERY:			
Doctor	80	56	60
Nurse	2	3	2
midwife	0	2	2
TBA	0	2	1
Trained Dai/Dai	5	17	15
Family member/Neighbour/Friend	6	5	5
LHV	4	13	12
LHW	0	1	1
Other	4	1	2
Total	**100**	**100**	**100**

TABLE 4.11: CHILD DELIVERY-LOCATION AND TYPE OF ASSISTANCE

PROVINCE & DISTRICT	PERCENTAGE OF CASES		
	URBAN	RURAL	TOTAL
Chakwal			
PLACE WHERE CHILD WAS DELIVERED:			
Home	5	12	11
Govt. Hospital/RHC/BHU	58	57	57
Private Hospital/Clinic	37	31	32
Other	0	0	0
Total	**100**	**100**	**100**
PERSON THAT ASSISTED WITH DELIVERY:			
Doctor	91	69	72
Nurse	0	3	2
midwife	0	0	0
TBA	0	0	0
Trained Dai/Dai	2	8	7
Family member/Neighbour/Friend	7	11	10
LHV	0	7	6
LHW	0	3	2
Other	0	0	0
Total	**100**	**100**	**100**
Chiniot			
PLACE WHERE CHILD WAS DELIVERED:			
Home	21	24	23
Govt. Hospital/RHC/BHU	19	23	21
Private Hospital/Clinic	59	53	55
Other	1	1	1
Total	**100**	**100**	**100**
PERSON THAT ASSISTED WITH DELIVERY:			
Doctor	61	60	60
Nurse	17	10	12
midwife	7	4	5
TBA	2	11	8
Trained Dai/Dai	4	8	7
Family member/Neighbour/Friend	8	5	6
LHV	0	1	1
	1	0	1
Other	0	1	1
Total	**100**	**100**	**100**
D.G.khan			
PLACE WHERE CHILD WAS DELIVERED:			
Home	46	78	73
Govt. Hospital/RHC/BHU	21	9	10
Private Hospital/Clinic	33	14	17
Other	0	0	0
Total	**100**	**100**	**100**
PERSON THAT ASSISTED WITH DELIVERY:			
Doctor	48	13	18
Nurse	2	0	0
midwife	1	1	1
TBA	13	23	22
Trained Dai/Dai	30	39	37
Family member/Neighbour/Friend	4	18	16
LHV	2	6	5
LHW	0	0	0
Other	0	0	0
Total	**100**	**100**	**100**

TABLE 4.11: CHILD DELIVERY-LOCATION AND TYPE OF ASSISTANCE

PROVINCE & DISTRICT	PERCENTAGE OF CASES		
	URBAN	RURAL	TOTAL
Faisalabad			
PLACE WHERE CHILD WAS DELIVERED:			
Home	15	24	20
Govt. Hospital/RHC/BHU	22	20	21
Private Hospital/Clinic	62	56	59
Other	0	0	0
Total	**100**	**100**	**100**
PERSON THAT ASSISTED WITH DELIVERY:			
Doctor	72	63	67
Nurse	11	8	9
midwife	1	2	2
TBA	3	5	4
Trained Dai/Dai	7	15	11
Family member/Neighbour/Friend	2	3	3
LHV	2	4	3
LHW	1	1	1
Other	0	0	0
Total	**100**	**100**	**100**
Gujranwala			
PLACE WHERE CHILD WAS DELIVERED:			
Home	10	15	12
Govt. Hospital/RHC/BHU	29	36	32
Private Hospital/Clinic	60	49	55
Other	1	0	0
Total	**100**	**100**	**100**
PERSON THAT ASSISTED WITH DELIVERY:			
Doctor	78	68	74
Nurse	8	13	10
midwife	5	3	4
TBA	0	1	0
Trained Dai/Dai	7	12	10
Family member/Neighbour/Friend	0	1	0
LHV	1	1	1
LHW	1	1	1
Other	0	0	0
Total	**100**	**100**	**100**
Gujrat			
PLACE WHERE CHILD WAS DELIVERED:			
Home	14	7	9
Govt. Hospital/RHC/BHU	37	35	35
Private Hospital/Clinic	46	58	55
Other	3	0	1
Total	**100**	**100**	**100**
PERSON THAT ASSISTED WITH DELIVERY:			
Doctor	83	81	82
Nurse	1	4	3
midwife	3	1	2
TBA	0	0	0
Trained Dai/Dai	12	7	8
Family member/Neighbour/Friend	0	1	0
LHV	0	4	3
LHW	1	2	1
Other	0	0	0
Total	**100**	**100**	**100**

TABLE 4.11: CHILD DELIVERY-LOCATION AND TYPE OF ASSISTANCE

PROVINCE & DISTRICT	PERCENTAGE OF CASES		
	URBAN	RURAL	TOTAL
Hafizabad			
PLACE WHERE CHILD WAS DELIVERED:			
Home	19	32	27
Govt. Hospital/RHC/BHU	36	29	32
Private Hospital/Clinic	46	39	41
Other	0	0	0
Total	**100**	**100**	**100**
PERSON THAT ASSISTED WITH DELIVERY:			
Doctor	77	54	63
Nurse	4	7	6
midwife	2	6	5
TBA	0	0	0
Trained Dai/Dai	15	26	22
Family member/Neighbour/Friend	0	0	0
LHV	1	4	3
LHW	0	3	2
Other	0	0	0
Total	**100**	**100**	**100**
Islamabad			
PLACE WHERE CHILD WAS DELIVERED:			
Home	6	3	5
Govt. Hospital/RHC/BHU	54	49	51
Private Hospital/Clinic	38	47	43
Other	2	0	1
Total	**100**	**100**	**100**
PERSON THAT ASSISTED WITH DELIVERY:			
Doctor	84	97	92
Nurse	3	0	1
midwife	1	0	1
TBA	0	0	0
Trained Dai/Dai	5	1	3
Family member/Neighbour/Friend	6	1	3
LHV	0	0	0
LHW	0	0	0
Other	1	0	0
Total	**100**	**100**	**100**
Jehlum			
PLACE WHERE CHILD WAS DELIVERED:			
Home	3	7	6
Govt. Hospital/RHC/BHU	59	62	61
Private Hospital/Clinic	37	31	32
Other	1	0	1
Total	**100**	**100**	**100**
PERSON THAT ASSISTED WITH DELIVERY:			
Doctor	80	81	81
Nurse	4	1	2
midwife	3	1	2
TBA	0	1	1
Trained Dai/Dai	9	4	5
Family member/Neighbour/Friend	4	6	5
LHV	0	4	3
LHW	0	1	1
Other	0	0	0
Total	**100**	**100**	**100**

TABLE 4.11: CHILD DELIVERY-LOCATION AND TYPE OF ASSISTANCE

PROVINCE & DISTRICT	PERCENTAGE OF CASES		
	URBAN	RURAL	TOTAL
Jhang			
PLACE WHERE CHILD WAS DELIVERED:			
Home	8	22	17
Govt. Hospital/RHC/BHU	32	32	32
Private Hospital/Clinic	59	45	50
Other	1	1	1
Total	**100**	**100**	**100**
PERSON THAT ASSISTED WITH DELIVERY:			
Doctor	73	53	60
Nurse	6	16	12
midwife	0	8	6
TBA	6	6	6
Trained Dai/Dai	3	8	6
Family member/Neighbour/Friend	1	3	2
LHV	10	5	6
LHW	1	1	1
Other	0	0	0
Total	**100**	**100**	**100**
Kasur			
PLACE WHERE CHILD WAS DELIVERED:			
Home	22	29	28
Govt. Hospital/RHC/BHU	27	38	35
Private Hospital/Clinic	50	33	37
Other	2	0	0
Total	**100**	**100**	**100**
PERSON THAT ASSISTED WITH DELIVERY:			
Doctor	61	53	55
Nurse	8	6	6
midwife	3	11	9
TBA	3	5	5
Trained Dai/Dai	17	17	17
Family member/Neighbour/Friend	1	1	1
LHV	6	4	5
LHW	0	3	2
Other	2	0	0
Total	**100**	**100**	**100**
Khanewal			
PLACE WHERE CHILD WAS DELIVERED:			
Home	24	30	29
Govt. Hospital/RHC/BHU	19	23	22
Private Hospital/Clinic	55	46	48
Other	2	1	2
Total	**100**	**100**	**100**
PERSON THAT ASSISTED WITH DELIVERY:			
Doctor	46	42	43
Nurse	14	13	13
midwife	9	3	4
TBA	11	7	8
Trained Dai/Dai	9	17	15
Family member/Neighbour/Friend	7	9	9
LHV	2	2	2
LHW	2	6	5
Other	1	1	1
Total	**100**	**100**	**100**

TABLE 4.11: CHILD DELIVERY-LOCATION AND TYPE OF ASSISTANCE

PROVINCE & DISTRICT	PERCENTAGE OF CASES		
	URBAN	RURAL	TOTAL
Khushab			
PLACE WHERE CHILD WAS DELIVERED:			
Home	9	20	17
Govt. Hospital/RHC/BHU	19	17	17
Private Hospital/Clinic	70	63	65
Other	1	1	1
Total	**100**	**100**	**100**
PERSON THAT ASSISTED WITH DELIVERY:			
Doctor	71	63	65
Nurse	13	9	10
midwife	0	0	0
TBA	2	6	5
Trained Dai/Dai	7	12	11
Family member/Neighbour/Friend	3	3	3
LHV	4	5	5
LHW	0	2	1
Other	0	0	0
Total	**100**	**100**	**100**
Lahore			
PLACE WHERE CHILD WAS DELIVERED:			
Home	11	0	11
Govt. Hospital/RHC/BHU	47	0	47
Private Hospital/Clinic	41	0	41
Other	1	0	1
Total	**100**	**0**	**100**
PERSON THAT ASSISTED WITH DELIVERY:			
Doctor	74	0	74
Nurse	5	0	5
midwife	5	0	5
TBA	1	0	1
Trained Dai/Dai	8	0	8
Family member/Neighbour/Friend	4	0	4
LHV	3	0	3
LHW	1	0	1
Other	0	0	0
Total	**100**	**0**	**100**
Layyah			
PLACE WHERE CHILD WAS DELIVERED:			
Home	31	53	49
Govt. Hospital/RHC/BHU	41	38	38
Private Hospital/Clinic	28	9	13
Other	0	0	0
Total	**100**	**100**	**100**
PERSON THAT ASSISTED WITH DELIVERY:			
Doctor	44	36	38
Nurse	0	1	0
midwife	3	4	3
TBA	18	3	5
Trained Dai/Dai	32	46	44
Family member/Neighbour/Friend	3	2	2
LHV	0	9	8
LHW	0	0	0
Other	0	0	0
Total	**100**	**100**	**100**

TABLE 4.11: CHILD DELIVERY-LOCATION AND TYPE OF ASSISTANCE

PROVINCE & DISTRICT	PERCENTAGE OF CASES		
	URBAN	RURAL	TOTAL
Lodhran			
PLACE WHERE CHILD WAS DELIVERED:			
Home	22	32	31
Govt. Hospital/RHC/BHU	25	40	38
Private Hospital/Clinic	53	26	30
Other	0	1	1
Total	**100**	**100**	**100**
PERSON THAT ASSISTED WITH DELIVERY:			
Doctor	57	39	42
Nurse	8	17	16
midwife	5	6	6
TBA	2	3	3
Trained Dai/Dai	16	23	22
Family member/Neighbour/Friend	12	4	5
LHV	0	3	2
LHW	0	2	2
Other	0	3	2
Total	**100**	**100**	**100**
Mandi Bahuddin			
PLACE WHERE CHILD WAS DELIVERED:			
Home	20	18	18
Govt. Hospital/RHC/BHU	17	38	34
Private Hospital/Clinic	63	45	48
Other	0	0	0
Total	**100**	**100**	**100**
PERSON THAT ASSISTED WITH DELIVERY:			
Doctor	78	70	71
Nurse	0	3	2
midwife	4	3	3
TBA	0	1	0
Trained Dai/Dai	15	11	12
Family member/Neighbour/Friend	0	2	2
LHV	0	8	6
LHW	3	3	3
Other	0	0	0
Total	**100**	**100**	**100**
Mianwali			
PLACE WHERE CHILD WAS DELIVERED:			
Home	23	29	28
Govt. Hospital/RHC/BHU	33	26	27
Private Hospital/Clinic	44	43	43
Other	0	2	2
Total	**100**	**100**	**100**
PERSON THAT ASSISTED WITH DELIVERY:			
Doctor	68	52	55
Nurse	3	2	2
midwife	3	2	3
TBA	1	1	1
Trained Dai/Dai	12	16	15
Family member/Neighbour/Friend	5	8	7
LHV	7	17	15
LHW	0	0	0
Other	0	2	2
Total	**100**	**100**	**100**

TABLE 4.11: CHILD DELIVERY-LOCATION AND TYPE OF ASSISTANCE

PROVINCE & DISTRICT	PERCENTAGE OF CASES		
	URBAN	RURAL	TOTAL
Multan			
PLACE WHERE CHILD WAS DELIVERED:			
Home	13	26	21
Govt. Hospital/RHC/BHU	37	43	41
Private Hospital/Clinic	49	31	38
Other	1	0	0
Total	**100**	**100**	**100**
PERSON THAT ASSISTED WITH DELIVERY:			
Doctor	41	42	41
Nurse	24	15	19
midwife	8	8	8
TBA	4	2	3
Trained Dai/Dai	6	12	9
Family member/Neighbour/Friend	11	16	14
LHV	3	0	1
LHW	4	4	4
Other	0	2	1
Total	**100**	**100**	**100**
Muzaffar Garh			
PLACE WHERE CHILD WAS DELIVERED:			
Home	20	51	47
Govt. Hospital/RHC/BHU	44	27	29
Private Hospital/Clinic	36	22	23
Other	0	0	0
Total	**100**	**100**	**100**
PERSON THAT ASSISTED WITH DELIVERY:			
Doctor	15	29	27
Nurse	24	14	15
midwife	1	2	2
TBA	14	4	5
Trained Dai/Dai	5	36	32
Family member/Neighbour/Friend	31	13	15
LHV	6	1	2
LHW	5	1	1
Other	0	0	0
Total	**100**	**100**	**100**
Nankana Sahib			
PLACE WHERE CHILD WAS DELIVERED:			
Home	15	13	13
Govt. Hospital/RHC/BHU	33	48	46
Private Hospital/Clinic	52	39	41
Other	0	0	0
Total	**100**	**100**	**100**
PERSON THAT ASSISTED WITH DELIVERY:			
Doctor	68	77	76
Nurse	9	1	3
midwife	2	3	3
TBA	0	1	1
Trained Dai/Dai	17	11	12
Family member/Neighbour/Friend	2	5	5
LHV	0	1	1
LHW	0	0	0
Other	0	1	1
Total	**100**	**100**	**100**

TABLE 4.11: CHILD DELIVERY-LOCATION AND TYPE OF ASSISTANCE

PROVINCE & DISTRICT	PERCENTAGE OF CASES		
	URBAN	RURAL	TOTAL
Narowal			
PLACE WHERE CHILD WAS DELIVERED:			
Home	17	29	27
Govt. Hospital/RHC/BHU	22	28	27
Private Hospital/Clinic	62	42	45
Other	0	1	0
Total	**100**	**100**	**100**
PERSON THAT ASSISTED WITH DELIVERY:			
Doctor	25	20	21
Nurse	44	8	13
midwife	0	4	3
TBA	0	0	0
Trained Dai/Dai	17	36	33
Family member/Neighbour/Friend	14	28	26
LHV	0	1	0
LHW	0	3	2
Other	0	0	0
Total	**100**	**100**	**100**
Okara			
PLACE WHERE CHILD WAS DELIVERED:			
Home	25	26	25
Govt. Hospital/RHC/BHU	33	39	38
Private Hospital/Clinic	41	35	36
Other	2	0	1
Total	**100**	**100**	**100**
PERSON THAT ASSISTED WITH DELIVERY:			
Doctor	50	44	45
Nurse	13	8	10
midwife	10	4	6
TBA	0	4	3
Trained Dai/Dai	19	9	12
Family member/Neighbour/Friend	0	1	1
LHV	6	22	18
LHW	2	7	5
Other	0	0	0
Total	**100**	**100**	**100**
Pakpatten			
PLACE WHERE CHILD WAS DELIVERED:			
Home	16	24	23
Govt. Hospital/RHC/BHU	33	41	40
Private Hospital/Clinic	50	35	37
Other	0	0	0
Total	100	100	100
PERSON THAT ASSISTED WITH DELIVERY:			
Doctor	63	46	49
Nurse	16	9	10
midwife	3	3	3
TBA	2	2	2
Trained Dai/Dai	3	10	9
Family member/Neighbour/Friend	0	3	2
LHV	10	23	21
LHW	3	4	3
Other	0	0	0
Total	100	100	100

TABLE 4.11: CHILD DELIVERY-LOCATION AND TYPE OF ASSISTANCE

PROVINCE & DISTRICT	PERCENTAGE OF CASES		
	URBAN	RURAL	TOTAL
Rahim Yar Khan			
PLACE WHERE CHILD WAS DELIVERED:			
Home	32	50	47
Govt. Hospital/RHC/BHU	27	19	21
Private Hospital/Clinic	40	30	32
Other	0	0	0
Total	100	100	100
PERSON THAT ASSISTED WITH DELIVERY:			
Doctor	61	45	48
Nurse	2	3	3
midwife	1	1	1
TBA	3	1	1
Trained Dai/Dai	19	38	34
Family member/Neighbour/Friend	11	11	11
LHV	1	1	1
LHW	2	1	1
Other	1	0	0
Total	100	100	100
Rajanpur			
PLACE WHERE CHILD WAS DELIVERED:			
Home	35	72	68
Govt. Hospital/RHC/BHU	33	16	18
Private Hospital/Clinic	31	11	14
Other	0	0	0
Total	100	100	100
PERSON THAT ASSISTED WITH DELIVERY:			
Doctor	35	16	19
Nurse	0	0	0
midwife	0	1	1
TBA	16	18	17
Trained Dai/Dai	22	47	44
Family member/Neighbour/Friend	0	13	11
LHV	26	5	8
LHW	0	0	0
Other	0	0	0
Total	100	100	100
Rawalpindi			
PLACE WHERE CHILD WAS DELIVERED:			
Home	11	11	11
Govt. Hospital/RHC/BHU	60	64	62
Private Hospital/Clinic	29	25	27
Other	0	0	0
Total	100	100	100
PERSON THAT ASSISTED WITH DELIVERY:			
Doctor	74	73	73
Nurse	8	6	7
midwife	0	0	0
TBA	0	0	0
Trained Dai/Dai	7	8	8
Family member/Neighbour/Friend	9	11	10
LHV	1	1	1
LHW	0	0	0
Other	0	0	0
Total	100	100	100

TABLE 4.11: CHILD DELIVERY-LOCATION AND TYPE OF ASSISTANCE

PROVINCE & DISTRICT	PERCENTAGE OF CASES		
	URBAN	RURAL	TOTAL
Sahiwal			
PLACE WHERE CHILD WAS DELIVERED:			
Home	16	32	29
Govt. Hospital/RHC/BHU	24	24	24
Private Hospital/Clinic	58	44	47
Other	1	0	0
Total	100	100	100
PERSON THAT ASSISTED WITH DELIVERY:			
Doctor	54	42	44
Nurse	14	9	10
midwife	8	6	6
TBA	0	0	0
Trained Dai/Dai	14	15	15
Family member/Neighbour/Friend	0	4	4
LHV	10	17	16
LHW	0	7	6
Other	0	0	0
Total	100	100	100
Sargodha			
PLACE WHERE CHILD WAS DELIVERED:			
Home	10	11	11
Govt. Hospital/RHC/BHU	27	29	29
Private Hospital/Clinic	63	58	59
Other	1	2	1
Total	100	100	100
PERSON THAT ASSISTED WITH DELIVERY:			
Doctor	68	65	66
Nurse	8	11	10
midwife	1	1	1
TBA	3	7	6
Trained Dai/Dai	8	9	8
Family member/Neighbour/Friend	9	2	4
LHV	3	5	4
LHW	1	1	1
Other	1	0	0
Total	100	100	100
Sheikhupura			
PLACE WHERE CHILD WAS DELIVERED:			
Home	19	25	23
Govt. Hospital/RHC/BHU	47	38	41
Private Hospital/Clinic	34	37	36
Other	1	0	0
Total	100	100	100
PERSON THAT ASSISTED WITH DELIVERY:			
Doctor	60	67	65
Nurse	5	1	2
midwife	9	15	13
TBA	0	1	0
Trained Dai/Dai	12	9	10
Family member/Neighbour/Friend	1	0	1
LHV	13	5	8
LHW	0	1	1
Other	0	0	0
Total	100	100	100

TABLE 4.11: CHILD DELIVERY-LOCATION AND TYPE OF ASSISTANCE

PROVINCE & DISTRICT	PERCENTAGE OF CASES		
	URBAN	RURAL	TOTAL
Sialkot			
PLACE WHERE CHILD WAS DELIVERED:			
Home	5	16	13
Govt. Hospital/RHC/BHU	31	28	29
Private Hospital/Clinic	64	55	57
Other	0	0	0
Total	100	100	100
PERSON THAT ASSISTED WITH DELIVERY:			
Doctor	52	31	37
Nurse	30	10	15
midwife	0	2	1
TBA	0	0	0
Trained Dai/Dai	5	29	23
Family member/Neighbour/Friend	12	26	22
LHV	0	1	1
LHW	1	1	1
Other	0	0	0
Total	100	100	100
T.T.Singh			
PLACE WHERE CHILD WAS DELIVERED:			
Home	20	16	17
Govt. Hospital/RHC/BHU	31	38	36
Private Hospital/Clinic	49	46	47
Other	0	0	0
Total	100	100	100
PERSON THAT ASSISTED WITH DELIVERY:			
Doctor	75	63	65
Nurse	5	17	15
midwife	0	0	0
TBA	1	4	3
Trained Dai/Dai	17	11	12
Family member/Neighbour/Friend	2	1	2
LHV	0	3	3
LHW	0	0	0
Other	0	0	0
Total	100	100	100
Vehari			
PLACE WHERE CHILD WAS DELIVERED:			
Home	19	28	27
Govt. Hospital/RHC/BHU	20	23	23
Private Hospital/Clinic	60	49	51
Other	0	0	0
Total	100	100	100
PERSON THAT ASSISTED WITH DELIVERY:			
Doctor	55	37	40
Nurse	19	21	21
midwife	0	0	0
TBA	0	6	5
Trained Dai/Dai	16	17	17
Family member/Neighbour/Friend	9	1	2
LHV	0	11	9
LHW	0	7	6
Other	0	0	0
Total	100	100	100

TABLE 4.11: CHILD DELIVERY-LOCATION AND TYPE OF ASSISTANCE

PROVINCE & DISTRICT	PERCENTAGE OF CASES		
	URBAN	RURAL	TOTAL
Sindh			
PLACE WHERE CHILD WAS DELIVERED:			
Home	13	43	30
Govt. Hospital/RHC/BHU	29	28	28
Private Hospital/Clinic	57	29	42
Other	0	0	0
Total	100	100	100
PERSON THAT ASSISTED WITH DELIVERY:			
Doctor	74	50	61
Nurse	5	1	3
midwife	3	6	5
TBA	2	3	2
Trained Dai/Dai	8	27	18
Family member/Neighbour/Friend	7	10	8
LHV	1	1	1
LHW	0	0	0
Other	0	0	0
Total	100	100	100
Badin			
PLACE WHERE CHILD WAS DELIVERED:			
Home	25	61	52
Govt. Hospital/RHC/BHU	18	25	23
Private Hospital/Clinic	57	15	25
Other	0	0	0
Total	100	100	100
PERSON THAT ASSISTED WITH DELIVERY:			
Doctor	56	33	39
Nurse	2	1	1
midwife	2	3	2
TBA	2	3	3
Trained Dai/Dai	29	25	26
Family member/Neighbour/Friend	9	34	28
LHV	0	0	0
LHW	0	0	0
Other	0	1	1
Total	100	100	100
Dadu			
PLACE WHERE CHILD WAS DELIVERED:			
Home	21	32	29
Govt. Hospital/RHC/BHU	41	39	39
Private Hospital/Clinic	38	29	32
Other	0	0	0
Total	100	100	100
PERSON THAT ASSISTED WITH DELIVERY:			
Doctor	60	59	59
Nurse	0	0	0
midwife	6	3	4
TBA	8	5	6
Trained Dai/Dai	19	28	25
Family member/Neighbour/Friend	4	4	4
LHV	2	1	1
LHW	1	0	0
Other	0	0	0
Total	100	100	100

TABLE 4.11: CHILD DELIVERY-LOCATION AND TYPE OF ASSISTANCE

PROVINCE & DISTRICT	PERCENTAGE OF CASES		
	URBAN	RURAL	TOTAL
Ghotki			
PLACE WHERE CHILD WAS DELIVERED:			
Home	28	47	43
Govt. Hospital/RHC/BHU	15	16	15
Private Hospital/Clinic	57	37	41
Other	0	0	0
Total	100	100	100
PERSON THAT ASSISTED WITH DELIVERY:			
Doctor	71	51	55
Nurse	1	1	1
midwife	7	16	14
TBA	0	0	0
Trained Dai/Dai	15	28	26
Family member/Neighbour/Friend	6	3	3
LHV	0	0	0
LHW	0	0	0
Other	0	0	0
Total	100	100	100
Hyderabad			
PLACE WHERE CHILD WAS DELIVERED:			
Home	15	38	19
Govt. Hospital/RHC/BHU	35	42	36
Private Hospital/Clinic	49	20	45
Other	0	0	0
Total	100	100	100
PERSON THAT ASSISTED WITH DELIVERY:			
Doctor	80	35	73
Nurse	2	5	2
midwife	3	5	4
TBA	1	0	1
Trained Dai/Dai	5	23	8
Family member/Neighbour/Friend	8	32	11
LHV	0	0	0
LHW	0	0	0
Other	0	0	0
Total	100	100	100
Jaccobabad			
PLACE WHERE CHILD WAS DELIVERED:			
Home	17	10	11
Govt. Hospital/RHC/BHU	25	38	35
Private Hospital/Clinic	57	49	51
Other	1	4	3
Total	100	100	100
PERSON THAT ASSISTED WITH DELIVERY:			
Doctor	73	86	83
Nurse	2	0	1
midwife	3	2	2
TBA	3	1	1
Trained Dai/Dai	5	5	5
Family member/Neighbour/Friend	9	3	4
LHV	0	0	0
LHW	6	0	1
Other	0	3	3
Total	100	100	100

TABLE 4.11: CHILD DELIVERY-LOCATION AND TYPE OF ASSISTANCE

PROVINCE & DISTRICT	PERCENTAGE OF CASES		
	URBAN	RURAL	TOTAL
Jamshoro			
PLACE WHERE CHILD WAS DELIVERED:			
Home	16	21	19
Govt. Hospital/RHC/BHU	45	56	51
Private Hospital/Clinic	39	22	30
Other	0	1	0
Total	100	100	100
PERSON THAT ASSISTED WITH DELIVERY:			
Doctor	50	62	57
Nurse	0	1	1
midwife	0	2	1
TBA	1	1	1
Trained Dai/Dai	27	21	24
Family member/Neighbour/Friend	22	12	16
LHV	0	0	0
LHW	0	0	0
Other	0	0	0
Total	100	100	100
Karachi central	100	100	100
PLACE WHERE CHILD WAS DELIVERED:			
Home	6	0	6
Govt. Hospital/RHC/BHU	29	0	29
Private Hospital/Clinic	65	0	65
Other	1	0	1
Total	100	0	100
PERSON THAT ASSISTED WITH DELIVERY:			
Doctor	78	0	78
Nurse	2	0	2
midwife	3	0	3
TBA	2	0	2
Trained Dai/Dai	3	0	3
Family member/Neighbour/Friend	11	0	11
LHV	1	0	1
LHW	0	0	0
Other	1	0	1
Total	100	0	100
Karachi East			
PLACE WHERE CHILD WAS DELIVERED:			
Home	4	0	4
Govt. Hospital/RHC/BHU	25	0	25
Private Hospital/Clinic	71	0	71
Other	0	0	0
Total	100	0	100
PERSON THAT ASSISTED WITH DELIVERY:			
Doctor	81	0	81
Nurse	5	0	5
Midwife	2	0	2
TBA	1	0	1
Trained Dai/Dai	2	0	2
Family member/Neighbour/Friend	7	0	7
LHV	0	0	0
LHW	1	0	1
Other	0	0	0
Total	100	0	100

TABLE 4.11: CHILD DELIVERY-LOCATION AND TYPE OF ASSISTANCE

PROVINCE & DISTRICT	PERCENTAGE OF CASES		
	URBAN	RURAL	TOTAL
Karachi Malir			
PLACE WHERE CHILD WAS DELIVERED:			
Home	2	6	4
Govt. Hospital/RHC/BHU	21	41	30
Private Hospital/Clinic	77	53	67
Other	0	0	0
Total	100	100	100
PERSON THAT ASSISTED WITH DELIVERY:			
Doctor	90	83	87
Nurse	6	9	7
Midwife	1	0	1
TBA	0	3	1
Trained Dai/Dai	0	2	1
Family member/Neighbour/Friend	2	3	2
LHV	0	0	0
LHW	0	0	0
Other	1	0	0
Total	100	100	100
Karachi South			
PLACE WHERE CHILD WAS DELIVERED:			
Home	3	0	3
Govt. Hospital/RHC/BHU	31	0	31
Private Hospital/Clinic	65	0	65
Other	1	0	1
Total	100	0	100
PERSON THAT ASSISTED WITH DELIVERY:			
Doctor	84	0	84
Nurse	9	0	9
Midwife	1	0	1
TBA	1	0	1
Trained Dai/Dai	1	0	1
Family member/Neighbour/Friend	2	0	2
LHV	1	0	1
LHW	0	0	0
Other	0	0	0
Total	100	0	100
Karachi West			
PLACE WHERE CHILD WAS DELIVERED:			
Home	10	9	10
Govt. Hospital/RHC/BHU	33	48	34
Private Hospital/Clinic	58	43	57
Other	0	0	0
Total	100	100	100
PERSON THAT ASSISTED WITH DELIVERY:			
Doctor	80	91	80
Nurse	10	0	9
Midwife	2	0	2
TBA	3	6	3
Trained Dai/Dai	2	3	2
Family member/Neighbour/Friend	3	0	3
LHV	0	0	0
LHW	0	0	0
Other	0	0	0
Total	100	100	100

TABLE 4.11: CHILD DELIVERY-LOCATION AND TYPE OF ASSISTANCE

PROVINCE & DISTRICT	PERCENTAGE OF CASES		
	URBAN	RURAL	TOTAL
Kashmore			
PLACE WHERE CHILD WAS DELIVERED:			
Home	9	37	30
Govt. Hospital/RHC/BHU	44	18	24
Private Hospital/Clinic	47	46	46
Other	0	0	0
Total	100	100	100
PERSON THAT ASSISTED WITH DELIVERY:			
Doctor	74	60	63
Nurse	0	2	2
midwife	13	13	13
TBA	8	1	2
Trained Dai/Dai	0	1	1
Family member/Neighbour/Friend	4	20	17
LHV	0	3	2
LHW	0	0	0
Other	0	0	0
Total	100	100	100
Khairpur			
PLACE WHERE CHILD WAS DELIVERED:			
Home	35	44	42
Govt. Hospital/RHC/BHU	32	25	27
Private Hospital/Clinic	33	31	31
Other	0	0	0
Total	100	100	100
PERSON THAT ASSISTED WITH DELIVERY:			
Doctor	58	49	51
Nurse	0	0	0
midwife	1	4	3
TBA	0	0	0
Trained Dai/Dai	26	24	25
Family member/Neighbour/Friend	11	16	15
LHV	3	2	2
LHW	1	5	4
Other	0	0	0
Total	100	100	100
Korangi			
PLACE WHERE CHILD WAS DELIVERED:			
Home	1	0	1
Govt. Hospital/RHC/BHU	26	0	26
Private Hospital/Clinic	74	0	74
Other	0	0	0
Total	100	0	100
PERSON THAT ASSISTED WITH DELIVERY:			
Doctor	77	0	77
Nurse	13	0	13
Midwife	1	0	1
TBA	0	0	0
Trained Dai/Dai	0	0	0
Family member/Neighbour/Friend	7	0	7
LHV	1	0	1
LHW	0	0	0
Other	0	0	0
Total	100	0	100

TABLE 4.11: CHILD DELIVERY-LOCATION AND TYPE OF ASSISTANCE

PROVINCE & DISTRICT	PERCENTAGE OF CASES		
	URBAN	RURAL	TOTAL
Larkana			
PLACE WHERE CHILD WAS DELIVERED:			
Home	44	41	43
Govt. Hospital/RHC/BHU	21	29	25
Private Hospital/Clinic	35	28	32
Other	0	2	1
Total	100	100	100
PERSON THAT ASSISTED WITH DELIVERY:			
Doctor	17	42	29
Nurse	1	0	1
midwife	28	35	32
TBA	3	2	2
Trained Dai/Dai	10	13	12
Family member/Neighbour/Friend	14	0	8
LHV	18	6	13
LHW	8	1	4
Other	0	0	0
Total	100	100	100
Matiari			
PLACE WHERE CHILD WAS DELIVERED:			
Home	12	27	24
Govt. Hospital/RHC/BHU	45	23	27
Private Hospital/Clinic	43	50	49
Other	0	0	0
Total	100	100	100
PERSON THAT ASSISTED WITH DELIVERY:			
Doctor	78	73	74
Nurse	0	1	1
midwife	0	4	3
TBA	0	0	0
Trained Dai/Dai	9	7	7
Family member/Neighbour/Friend	8	15	14
LHV	5	0	1
LHW	0	0	0
Other	0	0	0
Total	100	100	100
Mir Pur Khas			
PLACE WHERE CHILD WAS DELIVERED:			
Home	5	42	34
Govt. Hospital/RHC/BHU	62	39	43
Private Hospital/Clinic	34	19	22
Other	0	0	0
Total	100	100	100
PERSON THAT ASSISTED WITH DELIVERY:			
Doctor	79	56	61
Nurse	0	0	0
midwife	0	0	0
TBA	0	0	0
Trained Dai/Dai	3	38	31
Family member/Neighbour/Friend	9	4	5
LHV	8	1	3
LHW	0	0	0
Other	0	0	0
Total	100	100	100

TABLE 4.11: CHILD DELIVERY-LOCATION AND TYPE OF ASSISTANCE

PROVINCE & DISTRICT	PERCENTAGE OF CASES		
	URBAN	RURAL	TOTAL
Nowshero Feroze			
PLACE WHERE CHILD WAS DELIVERED:			
Home	39	60	57
Govt. Hospital/RHC/BHU	2	14	12
Private Hospital/Clinic	59	26	32
Other	0	0	0
Total	100	100	100
PERSON THAT ASSISTED WITH DELIVERY:			
Doctor	42	23	26
Nurse	0	0	0
midwife	18	16	16
TBA	0	0	0
Trained Dai/Dai	38	61	57
Family member/Neighbour/Friend	2	0	0
LHV	0	0	0
LHW	0	0	0
Other	0	0	0
Total	100	100	100
Sanghar			
PLACE WHERE CHILD WAS DELIVERED:			
Home	20	34	30
Govt. Hospital/RHC/BHU	35	41	39
Private Hospital/Clinic	46	25	30
Other	0	0	0
Total	100	100	100
PERSON THAT ASSISTED WITH DELIVERY:			
Doctor	74	54	58
Nurse	1	3	2
midwife	0	7	5
TBA	0	0	0
Trained Dai/Dai	16	21	20
Family member/Neighbour/Friend	6	12	10
LHV	3	4	4
LHW	0	0	0
Other	0	0	0
Total	100	100	100
Shahdadkot			
PLACE WHERE CHILD WAS DELIVERED:			
Home	42	51	49
Govt. Hospital/RHC/BHU	30	19	22
Private Hospital/Clinic	28	30	29
Other	0	0	0
Total	100	100	100
PERSON THAT ASSISTED WITH DELIVERY:			
Doctor	61	52	54
Nurse	3	1	2
midwife	8	24	20
TBA	9	6	7
Trained Dai/Dai	20	14	15
Family member/Neighbour/Friend	0	0	0
LHV	0	2	2
LHW	0	0	0
Other	0	0	0
Total	100	100	100

TABLE 4.11: CHILD DELIVERY-LOCATION AND TYPE OF ASSISTANCE

PROVINCE & DISTRICT	PERCENTAGE OF CASES		
	URBAN	RURAL	TOTAL
Shaheed Banazir Abad			
PLACE WHERE CHILD WAS DELIVERED:			
Home	28	37	35
Govt. Hospital/RHC/BHU	31	19	21
Private Hospital/Clinic	41	44	44
Other	0	0	0
Total	100	100	100
PERSON THAT ASSISTED WITH DELIVERY:			
Doctor	64	61	62
Nurse	4	0	1
midwife	0	1	1
TBA	0	0	0
Trained Dai/Dai	11	25	22
Family member/Neighbour/Friend	20	12	14
LHV	1	1	1
LHW	0	0	0
Other	0	0	0
Total	100	100	100
Shikarpur			
PLACE WHERE CHILD WAS DELIVERED:			
Home	28	51	46
Govt. Hospital/RHC/BHU	16	14	14
Private Hospital/Clinic	56	35	39
Other	0	0	0
Total	100	100	100
PERSON THAT ASSISTED WITH DELIVERY:			
Doctor	62	46	50
Nurse	6	4	4
midwife	5	23	19
TBA	0	0	0
Trained Dai/Dai	19	18	18
Family member/Neighbour/Friend	2	8	7
LHV	2	0	1
LHW	0	0	0
Other	3	1	1
Total	100	100	100
Sujawal			
PLACE WHERE CHILD WAS DELIVERED:			
Home	43	46	45
Govt. Hospital/RHC/BHU	14	38	37
Private Hospital/Clinic	43	16	17
Other	0	1	1
Total	100	100	100
PERSON THAT ASSISTED WITH DELIVERY:			
Doctor	57	48	48
Nurse	0	1	1
Midwife	0	4	4
TBA	0	41	40
Trained Dai/Dai	43	3	4
Family member/Neighbour/Friend	0	4	4
LHV	0	0	0
LHW	0	0	0
Other	0	0	0
Total	100	100	100

TABLE 4.11: CHILD DELIVERY-LOCATION AND TYPE OF ASSISTANCE

PROVINCE & DISTRICT	PERCENTAGE OF CASES		
	URBAN	RURAL	TOTAL
Sukkur			
PLACE WHERE CHILD WAS DELIVERED:			
Home	20	46	36
Govt. Hospital/RHC/BHU	26	30	28
Private Hospital/Clinic	54	25	36
Other	0	0	0
Total	100	100	100
PERSON THAT ASSISTED WITH DELIVERY:			
Doctor	71	54	60
Nurse	4	0	1
midwife	2	4	3
TBA	0	2	1
Trained Dai/Dai	16	29	24
Family member/Neighbour/Friend	6	6	6
LHV	1	2	1
LHW	0	0	0
Other	1	3	2
Total	100	100	100
Tando Allah Yar			
PLACE WHERE CHILD WAS DELIVERED:			
Home	13	39	32
Govt. Hospital/RHC/BHU	30	35	33
Private Hospital/Clinic	57	27	35
Other	0	0	0
Total	100	100	100
PERSON THAT ASSISTED WITH DELIVERY:			
Doctor	79	48	56
Nurse	7	13	11
midwife	0	1	1
TBA	0	4	3
Trained Dai/Dai	14	23	20
Family member/Neighbour/Friend	0	12	9
LHV	0	0	0
LHW	0	0	0
Other	0	0	0
Total	100	100	100
Tando Muhd Khan			
PLACE WHERE CHILD WAS DELIVERED:			
Home	34	47	46
Govt. Hospital/RHC/BHU	39	26	27
Private Hospital/Clinic	27	27	27
Other	0	0	0
Total	100	100	100
PERSON THAT ASSISTED WITH DELIVERY:			
Doctor	26	51	48
Nurse	0	1	1
midwife	0	4	3
TBA	0	5	4
Trained Dai/Dai	15	15	15
Family member/Neighbour/Friend	58	24	28
LHV	0	0	0
LHW	0	0	0
Other	0	0	0
Total	100	100	100

TABLE 4.11: CHILD DELIVERY-LOCATION AND TYPE OF ASSISTANCE

PROVINCE & DISTRICT	PERCENTAGE OF CASES		
	URBAN	RURAL	TOTAL
Tharparkar			
PLACE WHERE CHILD WAS DELIVERED:			
Home	78	79	79
Govt. Hospital/RHC/BHU	11	14	13
Private Hospital/Clinic	11	7	8
Other	0	0	0
Total	100	100	100
PERSON THAT ASSISTED WITH DELIVERY:			
Doctor	22	20	20
Nurse	0	0	0
midwife	0	0	0
TBA	0	5	4
Trained Dai/Dai	78	72	72
Family member/Neighbour/Friend	0	0	0
LHV	0	4	3
LHW	0	0	0
Other	0	0	0
Total	100	100	100
Thatta			
PLACE WHERE CHILD WAS DELIVERED:			
Home	5	34	30
Govt. Hospital/RHC/BHU	63	35	39
Private Hospital/Clinic	32	30	30
Other	0	1	1
Total	100	100	100
PERSON THAT ASSISTED WITH DELIVERY:			
Doctor	80	60	63
Nurse	0	2	2
midwife	10	1	2
TBA	2	10	9
Trained Dai/Dai	2	24	21
Family member/Neighbour/Friend	6	1	2
LHV	0	1	1
LHW	0	0	0
Other	0	0	0
Total	100	100	100
Umer Kot			
PLACE WHERE CHILD WAS DELIVERED:			
Home	44	44	44
Govt. Hospital/RHC/BHU	9	38	32
Private Hospital/Clinic	47	18	24
Other	0	0	0
Total	100	100	100
PERSON THAT ASSISTED WITH DELIVERY:			
Doctor	48	53	52
Nurse	0	0	0
midwife	0	0	0
TBA	0	0	0
Trained Dai/Dai	50	43	44
Family member/Neighbour/Friend	2	4	3
LHV	0	0	0
LHW	0	0	0
Other	0	0	0
Total	100	100	100

TABLE 4.11: CHILD DELIVERY-LOCATION AND TYPE OF ASSISTANCE

PROVINCE & DISTRICT	PERCENTAGE OF CASES		
	URBAN	RURAL	TOTAL
Khyber Pakhtunkhwa			
PLACE WHERE CHILD WAS DELIVERED:			
Home	17	37	34
Govt. Hospital/RHC/BHU	44	34	36
Private Hospital/Clinic	39	28	30
Other	0	1	1
Total	100	100	100
PERSON THAT ASSISTED WITH DELIVERY:			
Doctor	64	43	46
Nurse	3	8	7
midwife	6	5	5
TBA	2	3	3
Trained Dai/Dai	9	9	9
Family member/Neighbour/Friend	6	23	21
LHV	10	8	9
LHW	0	1	1
Other	0	1	0
Total	100	100	100
Abbottabad			
PLACE WHERE CHILD WAS DELIVERED:			
Home	5	27	23
Govt. Hospital/RHC/BHU	43	39	39
Private Hospital/Clinic	52	34	37
Other	0	0	0
Total	100	100	100
PERSON THAT ASSISTED WITH DELIVERY:			
Doctor	95	62	68
Nurse	0	0	0
midwife	0	7	6
TBA	0	12	10
Trained Dai/Dai	5	8	7
Family member/Neighbour/Friend	0	10	8
LHV	0	0	0
LHW	0	0	0
Other	0	0	0
Total	100	100	100
Bajur			
PLACE WHERE CHILD WAS DELIVERED:			
Home	0	71	71
Govt. Hospital/RHC/BHU	0	21	21
Private Hospital/Clinic	0	7	7
Other	0	0	0
Total	0	100	100
PERSON THAT ASSISTED WITH DELIVERY:			
Doctor	0	21	21
Nurse	0	2	2
Midwife	0	2	2
TBA	0	2	2
Trained Dai/Dai	0	4	4
Family member/Neighbour/Friend	0	65	65
LHV	0	3	3
LHW	0	0	0
Other	0	0	0
Total	0	100	100

TABLE 4.11: CHILD DELIVERY-LOCATION AND TYPE OF ASSISTANCE

PROVINCE & DISTRICT	PERCENTAGE OF CASES		
	URBAN	RURAL	TOTAL
Bannu			
PLACE WHERE CHILD WAS DELIVERED:			
Home	16	34	33
Govt. Hospital/RHC/BHU	51	55	55
Private Hospital/Clinic	33	10	11
Other	0	1	1
Total	100	100	100
PERSON THAT ASSISTED WITH DELIVERY:			
Doctor	45	34	34
Nurse	0	0	0
midwife	33	27	27
TBA	0	2	2
Trained Dai/Dai	16	17	17
Family member/Neighbour/Friend	6	15	15
LHV	0	4	3
LHW	0	1	1
Other	0	0	0
Total	100	100	100
Batagram			
PLACE WHERE CHILD WAS DELIVERED:			
Home	0	47	47
Govt. Hospital/RHC/BHU	0	25	25
Private Hospital/Clinic	0	27	27
Other	0	1	1
Total	0	100	100
PERSON THAT ASSISTED WITH DELIVERY:			
Doctor	0	44	44
Nurse	0	2	2
midwife	0	6	6
TBA	0	1	1
Trained Dai/Dai	0	1	1
Family member/Neighbour/Friend	0	40	40
LHV	0	5	5
Other	0	0	0
Total	0	100	100
Bonair			
PLACE WHERE CHILD WAS DELIVERED:			
Home	0	25	25
Govt. Hospital/RHC/BHU	0	36	36
Private Hospital/Clinic	0	39	39
Other	0	0	0
Total	0	100	100
PERSON THAT ASSISTED WITH DELIVERY:			
Doctor	0	68	68
Nurse	0	2	2
midwife	0	1	1
TBA	0	0	0
Trained Dai/Dai	0	6	6
Family member/Neighbour/Friend	0	17	17
LHV	0	7	7
LHW	0	0	0
Other	0	0	0
Total	0	100	100

TABLE 4.11: CHILD DELIVERY-LOCATION AND TYPE OF ASSISTANCE

PROVINCE & DISTRICT	PERCENTAGE OF CASES		
	URBAN	RURAL	TOTAL
Charsada			
PLACE WHERE CHILD WAS DELIVERED:			
Home	34	22	24
Govt. Hospital/RHC/BHU	23	41	38
Private Hospital/Clinic	43	37	38
Other	0	0	0
Total	100	100	100
PERSON THAT ASSISTED WITH DELIVERY:			
Doctor	43	56	54
Nurse	0	6	5
midwife	3	6	5
TBA	0	2	1
Trained Dai/Dai	17	6	8
Family member/Neighbour/Friend	12	12	12
LHV	26	11	14
LHW	0	1	0
Other	0	0	0
Total	100	100	100
Chitral			
PLACE WHERE CHILD WAS DELIVERED:			
Home	12	35	33
Govt. Hospital/RHC/BHU	50	39	40
Private Hospital/Clinic	38	23	24
Other	0	3	3
Total	100	100	100
PERSON THAT ASSISTED WITH DELIVERY:			
Doctor	27	24	24
Nurse	0	8	8
midwife	12	5	5
TBA	0	2	2
Trained Dai/Dai	12	6	7
Family member/Neighbour/Friend	0	26	24
LHV	50	28	30
LHW	0	1	1
Other	0	0	0
Total	100	100	100
D.I.Khan			
PLACE WHERE CHILD WAS DELIVERED:			
Home	37	67	60
Govt. Hospital/RHC/BHU	41	16	22
Private Hospital/Clinic	22	16	17
Other	0	1	1
Total	100	100	100
PERSON THAT ASSISTED WITH DELIVERY:			
Doctor	44	21	26
Nurse	9	0	2
midwife	8	3	4
TBA	0	0	0
Trained Dai/Dai	15	6	8
Family member/Neighbour/Friend	23	67	58
LHV	0	2	2
LHW	0	0	0
Other	0	0	0
Total	100	100	100

TABLE 4.11: CHILD DELIVERY-LOCATION AND TYPE OF ASSISTANCE

PROVINCE & DISTRICT	PERCENTAGE OF CASES		
	URBAN	RURAL	TOTAL
Hangu			
PLACE WHERE CHILD WAS DELIVERED:			
Home	7	33	29
Govt. Hospital/RHC/BHU	33	21	23
Private Hospital/Clinic	60	46	48
Other	0	1	0
Total	100	100	100
PERSON THAT ASSISTED WITH DELIVERY:			
Doctor	81	50	55
Nurse	0	11	9
midwife	0	2	1
TBA	0	1	1
Trained Dai/Dai	2	4	4
Family member/Neighbour/Friend	3	24	21
LHV	14	8	9
LHW	0	0	0
Other	0	0	0
Total	100	100	100
Haripur			
PLACE WHERE CHILD WAS DELIVERED:			
Home	19	23	22
Govt. Hospital/RHC/BHU	23	43	40
Private Hospital/Clinic	58	34	38
Other	0	1	0
Total	100	100	100
PERSON THAT ASSISTED WITH DELIVERY:			
Doctor	64	73	71
Nurse	2	0	0
midwife	11	1	3
TBA	8	10	10
Trained Dai/Dai	13	5	6
Family member/Neighbour/Friend	2	6	6
LHV	0	3	3
LHW	0	1	1
Other	0	0	0
Total	100	100	100
Karak			
PLACE WHERE CHILD WAS DELIVERED:			
Home	0	28	27
Govt. Hospital/RHC/BHU	33	18	19
Private Hospital/Clinic	67	53	53
Other	0	1	1
Total	100	100	100
PERSON THAT ASSISTED WITH DELIVERY:			
Doctor	67	54	55
Nurse	0	2	2
midwife	0	2	2
TBA	0	0	0
Trained Dai/Dai	0	10	9
Family member/Neighbour/Friend	0	16	16
LHV	33	16	17
LHW	0	0	0
Other	0	0	0
Total	100	100	100

TABLE 4.11: CHILD DELIVERY-LOCATION AND TYPE OF ASSISTANCE

PROVINCE & DISTRICT	PERCENTAGE OF CASES		
	URBAN	RURAL	TOTAL
Khyber			
PLACE WHERE CHILD WAS DELIVERED:			
Home	0	31	28
Govt. Hospital/RHC/BHU	100	68	71
Private Hospital/Clinic	0	1	1
Other	0	0	0
Total	100	100	100
PERSON THAT ASSISTED WITH DELIVERY:			
Doctor	100	66	69
Nurse	0	1	1
Midwife	0	2	2
TBA	0	1	1
Trained Dai/Dai	0	0	0
Family member/Neighbour/Friend	0	31	28
LHV	0	0	0
LHW	0	0	0
Other	0	0	0
Total	100	100	100
Kohat			
PLACE WHERE CHILD WAS DELIVERED:			
Home	19	30	28
Govt. Hospital/RHC/BHU	29	35	34
Private Hospital/Clinic	51	35	38
Other	1	0	0
Total	100	100	100
PERSON THAT ASSISTED WITH DELIVERY:			
Doctor	62	23	30
Nurse	9	39	34
midwife	1	1	1
TBA	0	0	0
Trained Dai/Dai	11	11	11
Family member/Neighbour/Friend	4	16	14
LHV	12	8	9
LHW	0	3	2
Other	0	0	0
Total	100	100	100
Kohistan			
PLACE WHERE CHILD WAS DELIVERED:			
Home	0	70	70
Govt. Hospital/RHC/BHU	0	11	11
Private Hospital/Clinic	0	18	18
Other	0	0	0
Total	0	100	100
PERSON THAT ASSISTED WITH DELIVERY:			
Doctor	0	24	24
Nurse	0	1	1
midwife	0	3	3
TBA	0	9	9
Trained Dai/Dai	0	6	6
Family member/Neighbour/Friend	0	57	57
LHV	0	0	0
LHW	0	0	0
Other	0	0	0
Total	0	100	100

TABLE 4.11: CHILD DELIVERY-LOCATION AND TYPE OF ASSISTANCE

PROVINCE & DISTRICT	PERCENTAGE OF CASES		
	URBAN	RURAL	TOTAL
Kurram			
PLACE WHERE CHILD WAS DELIVERED:			
Home	0	44	44
Govt. Hospital/RHC/BHU	0	44	44
Private Hospital/Clinic	0	12	12
Other	0	0	0
Total	0	100	100
PERSON THAT ASSISTED WITH DELIVERY:			
Doctor	0	48	48
Nurse	0	0	0
Midwife	0	10	10
TBA	0	4	4
Trained Dai/Dai	0	2	2
Family member/Neighbour/Friend	0	29	29
LHV	0	5	5
LHW	0	1	1
Other	0	0	0
Total	0	100	100
Lakki Marwat			
PLACE WHERE CHILD WAS DELIVERED:			
Home	0	42	40
Govt. Hospital/RHC/BHU	60	22	24
Private Hospital/Clinic	40	34	35
Other	0	2	1
Total	100	100	100
PERSON THAT ASSISTED WITH DELIVERY:			
Doctor	77	36	38
Nurse	0	0	0
midwife	0	12	11
TBA	13	0	1
Trained Dai/Dai	0	17	16
Family member/Neighbour/Friend	0	28	27
LHV	10	6	7
LHW	0	0	0
Other	0	0	0
Total	100	100	100
Lower Dir			
PLACE WHERE CHILD WAS DELIVERED:			
Home	6	14	14
Govt. Hospital/RHC/BHU	22	47	47
Private Hospital/Clinic	72	37	37
Other	0	2	2
Total	100	100	100
PERSON THAT ASSISTED WITH DELIVERY:			
Doctor	72	41	41
Nurse	6	23	23
midwife	0	1	1
TBA	0	2	2
Trained Dai/Dai	6	10	10
Family member/Neighbour/Friend	0	8	8
LHV	17	12	12
LHW	0	0	0
Other	0	3	3
Total	100	100	100

TABLE 4.11: CHILD DELIVERY-LOCATION AND TYPE OF ASSISTANCE

PROVINCE & DISTRICT	PERCENTAGE OF CASES		
	URBAN	RURAL	TOTAL
Malakand			
PLACE WHERE CHILD WAS DELIVERED:			
Home	20	20	20
Govt. Hospital/RHC/BHU	73	43	46
Private Hospital/Clinic	7	37	34
Other	0	0	0
Total	100	100	100
PERSON THAT ASSISTED WITH DELIVERY:			
Doctor	7	52	47
Nurse	0	11	9
midwife	7	1	2
TBA	0	0	0
Trained Dai/Dai	7	6	6
Family member/Neighbour/Friend	0	10	9
LHV	80	20	26
LHW	0	1	1
Other	0	0	0
Total	100	100	100
Mansehra			
PLACE WHERE CHILD WAS DELIVERED:			
Home	32	46	45
Govt. Hospital/RHC/BHU	21	22	22
Private Hospital/Clinic	42	32	33
Other	5	1	1
Total	100	100	100
PERSON THAT ASSISTED WITH DELIVERY:			
Doctor	53	39	40
Nurse	11	13	13
midwife	0	0	0
TBA	0	3	3
Trained Dai/Dai	14	13	13
Family member/Neighbour/Friend	4	27	26
LHV	13	2	2
LHW	5	2	3
Other	0	0	0
Total	100	100	100
Mardan			
PLACE WHERE CHILD WAS DELIVERED:			
Home	21	26	25
Govt. Hospital/RHC/BHU	35	36	36
Private Hospital/Clinic	44	38	39
Other	0	0	0
Total	100	100	100
PERSON THAT ASSISTED WITH DELIVERY:			
Doctor	61	58	59
Nurse	0	5	4
midwife	0	2	2
TBA	8	1	2
Trained Dai/Dai	3	10	9
Family member/Neighbour/Friend	2	8	8
LHV	26	14	16
LHW	0	1	1
Other	0	0	0
Total	100	100	100

TABLE 4.11: CHILD DELIVERY-LOCATION AND TYPE OF ASSISTANCE

PROVINCE & DISTRICT	PERCENTAGE OF CASES		
	URBAN	RURAL	TOTAL
Mohmand			
PLACE WHERE CHILD WAS DELIVERED:			
Home	0	50	50
Govt. Hospital/RHC/BHU	0	19	19
Private Hospital/Clinic	0	31	31
Other	0	0	0
Total	0	100	100
PERSON THAT ASSISTED WITH DELIVERY:			
Doctor	0	30	30
Nurse	0	5	5
Midwife	0	2	2
TBA	0	0	0
Trained Dai/Dai	0	3	3
Family member/Neighbour/Friend	0	38	38
LHV	0	22	22
LHW	0	0	0
Other	0	0	0
Total	0	100	100
North Waziristan			
PLACE WHERE CHILD WAS DELIVERED:			
Home	0	51	51
Govt. Hospital/RHC/BHU	0	11	11
Private Hospital/Clinic	0	38	38
Other	0	0	0
Total	0	100	100
PERSON THAT ASSISTED WITH DELIVERY:			
Doctor	0	34	34
Nurse	0	0	0
Midwife	0	9	9
TBA	0	0	0
Trained Dai/Dai	0	10	10
Family member/Neighbour/Friend	0	35	35
LHV	0	8	8
LHW	0	5	5
Other	0	0	0
Total	0	100	100
Nowshera			
PLACE WHERE CHILD WAS DELIVERED:			
Home	20	25	24
Govt. Hospital/RHC/BHU	42	43	43
Private Hospital/Clinic	38	31	33
Other	0	1	1
Total	100	100	100
PERSON THAT ASSISTED WITH DELIVERY:			
Doctor	69	60	62
Nurse	8	3	4
midwife	0	5	4
TBA	0	6	5
Trained Dai/Dai	17	11	13
Family member/Neighbour/Friend	0	3	2
LHV	3	10	9
LHW	3	1	1
Other	0	0	0
Total	100	100	100

TABLE 4.11: CHILD DELIVERY-LOCATION AND TYPE OF ASSISTANCE

PROVINCE & DISTRICT	PERCENTAGE OF CASES		
	URBAN	RURAL	TOTAL
Orakzai			
PLACE WHERE CHILD WAS DELIVERED:			
Home	0	33	33
Govt. Hospital/RHC/BHU	0	15	15
Private Hospital/Clinic	0	50	50
Other	0	2	2
Total	0	100	100
PERSON THAT ASSISTED WITH DELIVERY:			
Doctor	0	20	20
Nurse	0	11	11
Midwife	0	0	0
TBA	0	0	0
Trained Dai/Dai	0	3	3
Family member/Neighbour/Friend	0	28	28
LHV	0	36	36
LHW	0	1	1
Other	0	0	0
Total	0	100	100
Peshawar			
PLACE WHERE CHILD WAS DELIVERED:			
Home	16	37	28
Govt. Hospital/RHC/BHU	51	33	41
Private Hospital/Clinic	34	29	31
Other	0	0	0
Total	100	100	100
PERSON THAT ASSISTED WITH DELIVERY:			
Doctor	67	45	55
Nurse	1	5	3
midwife	11	7	8
TBA	1	5	3
Trained Dai/Dai	8	13	10
Family member/Neighbour/Friend	6	14	11
LHV	5	10	8
LHW	0	2	1
Other	0	0	0
Total	100	100	100
Shangla			
PLACE WHERE CHILD WAS DELIVERED:			
Home	0	48	48
Govt. Hospital/RHC/BHU	0	22	22
Private Hospital/Clinic	0	30	30
Other	0	0	0
Total	0	100	100
PERSON THAT ASSISTED WITH DELIVERY:			
Doctor	0	24	24
Nurse	0	7	7
midwife	0	1	1
TBA	0	4	4
Trained Dai/Dai	0	8	8
Family member/Neighbour/Friend	0	42	42
LHV	0	14	14
LHW	0	0	0
Other	0	0	0
Total	0	100	100

TABLE 4.11: CHILD DELIVERY-LOCATION AND TYPE OF ASSISTANCE

PROVINCE & DISTRICT	PERCENTAGE OF CASES		
	URBAN	RURAL	TOTAL
South Waziristan			
PLACE WHERE CHILD WAS DELIVERED:			
Home	0	92	92
Govt. Hospital/RHC/BHU	0	2	2
Private Hospital/Clinic	0	5	5
Other	0	2	2
Total	0	100	100
PERSON THAT ASSISTED WITH DELIVERY:			
Doctor	0	4	4
Nurse	0	1	1
Midwife	0	5	5
TBA	0	0	0
Trained Dai/Dai	0	19	19
Family member/Neighbour/Friend	0	66	66
LHV	0	4	4
LHW	0	0	0
Other	0	0	0
Total	0	100	100
Swabi			
PLACE WHERE CHILD WAS DELIVERED:			
Home	5	30	26
Govt. Hospital/RHC/BHU	47	45	45
Private Hospital/Clinic	48	25	28
Other	0	0	0
Total	100	100	100
PERSON THAT ASSISTED WITH DELIVERY:			
Doctor	68	51	54
Nurse	9	15	15
midwife	7	0	1
TBA	5	3	3
Trained Dai/Dai	0	15	13
Family member/Neighbour/Friend	0	7	6
LHV	11	8	9
LHW	0	1	0
Other	0	0	0
Total	100	100	100
Swat			
PLACE WHERE CHILD WAS DELIVERED:			
Home	10	20	17
Govt. Hospital/RHC/BHU	43	48	47
Private Hospital/Clinic	47	28	33
Other	0	3	2
Total	100	100	100
PERSON THAT ASSISTED WITH DELIVERY:			
Doctor	68	38	47
Nurse	10	22	18
midwife	1	5	4
TBA	0	1	1
Trained Dai/Dai	8	10	10
Family member/Neighbour/Friend	3	10	8
LHV	10	9	9
LHW	0	0	0
Other	0	4	3
Total	100	100	100

TABLE 4.11: CHILD DELIVERY-LOCATION AND TYPE OF ASSISTANCE

PROVINCE & DISTRICT	PERCENTAGE OF CASES		
	URBAN	RURAL	TOTAL
Tank			
PLACE WHERE CHILD WAS DELIVERED:			
Home	50	98	92
Govt. Hospital/RHC/BHU	33	2	6
Private Hospital/Clinic	17	0	2
Other	0	0	0
Total	100	100	100
PERSON THAT ASSISTED WITH DELIVERY:			
Doctor	33	5	8
Nurse	0	0	0
midwife	0	0	0
TBA	0	0	0
Trained Dai/Dai	17	0	2
Family member/Neighbour/Friend	50	95	90
LHV	0	0	0
LHW	0	0	0
Other	0	0	0
Total	100	100	100
Tor Garh			
PLACE WHERE CHILD WAS DELIVERED:			
Home	0	76	76
Govt. Hospital/RHC/BHU	0	12	12
Private Hospital/Clinic	0	8	8
Other	0	5	5
Total	0	100	100
PERSON THAT ASSISTED WITH DELIVERY:			
Doctor	0	14	14
Nurse	0	3	3
midwife	0	5	5
TBA	0	6	6
Trained Dai/Dai	0	32	32
Family member/Neighbour/Friend	0	26	26
LHV	0	12	12
LHW	0	2	2
Other	0	0	0
Total	0	100	100
Upper Dir			
PLACE WHERE CHILD WAS DELIVERED:			
Home	13	35	35
Govt. Hospital/RHC/BHU	13	42	41
Private Hospital/Clinic	75	21	23
Other	0	1	1
Total	100	100	100
PERSON THAT ASSISTED WITH DELIVERY:			
Doctor	75	31	32
Nurse	0	17	16
midwife	0	8	8
TBA	0	4	4
Trained Dai/Dai	13	4	4
Family member/Neighbour/Friend	13	21	21
LHV	0	12	11
LHW	0	0	0
Other	0	3	3
Total	100	100	100

TABLE 4.11: CHILD DELIVERY-LOCATION AND TYPE OF ASSISTANCE

PROVINCE & DISTRICT	PERCENTAGE OF CASES		
	URBAN	RURAL	TOTAL
Balochistan			
PLACE WHERE CHILD WAS DELIVERED:			
Home	31	53	47
Govt. Hospital/RHC/BHU	41	26	30
Private Hospital/Clinic	27	20	22
Other	0	1	1
Total	100	100	100
PERSON THAT ASSISTED WITH DELIVERY:			
Doctor	53	28	34
Nurse	2	4	3
midwife	11	10	10
TBA	1	10	8
Trained Dai/Dai	10	19	17
Family member/Neighbour/Friend	15	22	21
LHV	5	4	4
LHW	2	1	1
Other	1	2	2
Total	100	100	100
Awaran			
PLACE WHERE CHILD WAS DELIVERED:			
Home	100	83	85
Govt. Hospital/RHC/BHU	0	12	11
Private Hospital/Clinic	0	5	4
Other	0	0	0
Total	100	100	100
PERSON THAT ASSISTED WITH DELIVERY:			
Doctor	20	12	13
Nurse	0	0	0
midwife	0	0	0
TBA	7	25	23
Trained Dai/Dai	73	7	15
Family member/Neighbour/Friend	0	55	49
LHV	0	0	0
LHW	0	0	0
Other	0	0	0
Total	100	100	100
Barkhan			
PLACE WHERE CHILD WAS DELIVERED:			
Home	4	38	24
Govt. Hospital/RHC/BHU	52	13	29
Private Hospital/Clinic	44	49	47
Other	0	0	0
Total	100	100	100
PERSON THAT ASSISTED WITH DELIVERY:			
Doctor	4	2	3
Nurse	0	0	0
midwife	0	12	7
TBA	0	0	0
Trained Dai/Dai	0	3	2
Family member/Neighbour/Friend	0	31	18
LHV	76	46	58
LHW	20	6	11
Other	0	0	0
Total	100	100	100

TABLE 4.11: CHILD DELIVERY-LOCATION AND TYPE OF ASSISTANCE

PROVINCE & DISTRICT	PERCENTAGE OF CASES		
	URBAN	RURAL	TOTAL
Dera bugti			
PLACE WHERE CHILD WAS DELIVERED:			
Home	84	89	88
Govt. Hospital/RHC/BHU	4	4	4
Private Hospital/Clinic	12	6	8
Other	0	1	1
Total	100	100	100
PERSON THAT ASSISTED WITH DELIVERY:			
Doctor	24	1	8
Nurse	0	0	0
midwife	60	9	26
TBA	0	11	8
Trained Dai/Dai	16	47	37
Family member/Neighbour/Friend	0	32	21
LHV	0	0	0
LHW	0	0	0
Other	0	0	0
Total	100	100	100
Duki			
PLACE WHERE CHILD WAS DELIVERED:			
Home	54	49	49
Govt. Hospital/RHC/BHU	31	25	26
Private Hospital/Clinic	15	26	25
Other	0	0	0
Total	100	100	100
PERSON THAT ASSISTED WITH DELIVERY:			
Doctor	15	0	2
Nurse	15	13	13
Midwife	15	36	34
TBA	0	0	0
Trained Dai/Dai	15	1	3
Family member/Neighbour/Friend	0	13	11
LHV	38	37	37
LHW	0	0	0
Other	0	0	0
Total	100	100	100
Gwadar			
PLACE WHERE CHILD WAS DELIVERED:			
Home	54	64	60
Govt. Hospital/RHC/BHU	23	24	23
Private Hospital/Clinic	23	12	17
Other	0	0	0
Total	100	100	100
PERSON THAT ASSISTED WITH DELIVERY:			
Doctor	35	20	27
Nurse	0	1	1
midwife	20	1	10
TBA	0	1	1
Trained Dai/Dai	28	34	31
Family member/Neighbour/Friend	9	41	27
LHV	0	0	0
LHW	8	1	4
Other	0	0	0
Total	100	100	100

TABLE 4.11: CHILD DELIVERY-LOCATION AND TYPE OF ASSISTANCE

PROVINCE & DISTRICT	PERCENTAGE OF CASES		
	URBAN	RURAL	TOTAL
Harnai			
PLACE WHERE CHILD WAS DELIVERED:			
Home	15	26	23
Govt. Hospital/RHC/BHU	61	49	52
Private Hospital/Clinic	24	23	23
Other	0	2	2
Total	100	100	100
PERSON THAT ASSISTED WITH DELIVERY:			
Doctor	56	6	17
Nurse	13	21	19
midwife	0	2	1
TBA	0	0	0
Trained Dai/Dai	0	3	3
Family member/Neighbour/Friend	22	54	47
LHV	8	9	9
LHW	0	3	3
Other	0	2	1
Total	100	100	100
Jafarabad			
PLACE WHERE CHILD WAS DELIVERED:			
Home	1	50	41
Govt. Hospital/RHC/BHU	52	26	31
Private Hospital/Clinic	46	17	22
Other	1	7	6
Total	100	100	100
PERSON THAT ASSISTED WITH DELIVERY:			
Doctor	41	17	21
Nurse	0	0	0
midwife	0	3	2
TBA	0	26	21
Trained Dai/Dai	47	40	41
Family member/Neighbour/Friend	1	6	5
LHV	0	0	0
LHW	0	0	0
Other	11	8	9
Total	100	100	100
Bolan			
PLACE WHERE CHILD WAS DELIVERED:			
Home	48	41	42
Govt. Hospital/RHC/BHU	0	42	38
Private Hospital/Clinic	52	15	19
Other	0	1	1
Total	100	100	100
PERSON THAT ASSISTED WITH DELIVERY:			
Doctor	28	49	47
Nurse	12	4	5
midwife	36	30	30
TBA	12	0	1
Trained Dai/Dai	0	14	13
Family member/Neighbour/Friend	12	3	4
LHV	0	0	0
LHW	0	0	0
Other	0	0	0
Total	100	100	100

TABLE 4.11: CHILD DELIVERY-LOCATION AND TYPE OF ASSISTANCE

PROVINCE & DISTRICT	PERCENTAGE OF CASES		
	URBAN	RURAL	TOTAL
Kalat			
PLACE WHERE CHILD WAS DELIVERED:			
Home	0	61	61
Govt. Hospital/RHC/BHU	0	15	15
Private Hospital/Clinic	0	24	24
Other	0	0	0
Total	0	100	100
PERSON THAT ASSISTED WITH DELIVERY:			
Doctor	0	39	39
Nurse	0	0	0
midwife	0	20	20
TBA	0	10	10
Trained Dai/Dai	0	17	17
Family member/Neighbour/Friend	0	14	14
LHV	0	1	1
LHW	0	0	0
Other	0	0	0
Total	0	100	100
Ketch			
PLACE WHERE CHILD WAS DELIVERED:			
Home	39	67	57
Govt. Hospital/RHC/BHU	49	16	28
Private Hospital/Clinic	12	15	14
Other	0	2	1
Total	100	100	100
PERSON THAT ASSISTED WITH DELIVERY:			
Doctor	50	30	37
Nurse	0	0	0
midwife	18	21	20
TBA	0	5	3
Trained Dai/Dai	13	38	29
Family member/Neighbour/Friend	19	6	10
LHV	0	0	0
LHW	0	0	0
Other	0	0	0
Total	100	100	100
Kharan			
PLACE WHERE CHILD WAS DELIVERED:			
Home	84	77	78
Govt. Hospital/RHC/BHU	16	21	20
Private Hospital/Clinic	0	2	2
Other	0	0	0
Total	100	100	100
PERSON THAT ASSISTED WITH DELIVERY:			
Doctor	7	3	4
Nurse	0	0	0
midwife	71	54	58
TBA	4	10	8
Trained Dai/Dai	0	5	4
Family member/Neighbour/Friend	17	24	23
LHV	0	0	0
	0	1	1
Other	0	2	2
Total	100	100	100

TABLE 4.11: CHILD DELIVERY-LOCATION AND TYPE OF ASSISTANCE

PROVINCE & DISTRICT	PERCENTAGE OF CASES		
	URBAN	RURAL	TOTAL
Khuzdar			
PLACE WHERE CHILD WAS DELIVERED:			
Home	0	96	96
Govt. Hospital/RHC/BHU	0	4	4
Private Hospital/Clinic	0	1	1
Other	0	0	0
Total	0	100	100
PERSON THAT ASSISTED WITH DELIVERY:			
Doctor	0	3	3
Nurse	0	0	0
midwife	0	0	0
TBA	0	23	23
Trained Dai/Dai	0	13	13
Family member/Neighbour/Friend	0	60	60
LHV	0	0	0
LHW	0	0	0
Other	0	0	0
Total	0	100	100
Kohlu			
PLACE WHERE CHILD WAS DELIVERED:			
Home	0	18	15
Govt. Hospital/RHC/BHU	33	10	13
Private Hospital/Clinic	67	58	59
Other	0	15	12
Total	100	100	100
PERSON THAT ASSISTED WITH DELIVERY:			
Doctor	67	7	16
Nurse	0	14	12
midwife	0	0	0
TBA	0	0	0
Trained Dai/Dai	33	10	14
Family member/Neighbour/Friend	0	15	12
LHV	0	0	0
LHW	0	7	6
Other	0	48	40
Total	100	100	100
Lasbilla			
PLACE WHERE CHILD WAS DELIVERED:			
Home	33	62	45
Govt. Hospital/RHC/BHU	50	34	44
Private Hospital/Clinic	16	4	11
Other	0	0	0
Total	100	100	100
PERSON THAT ASSISTED WITH DELIVERY:			
Doctor	42	30	37
Nurse	10	8	9
midwife	7	0	4
TBA	0	9	4
Trained Dai/Dai	2	18	8
Family member/Neighbour/Friend	32	35	33
LHV	3	0	2
LHW	3	0	2
Other	3	0	2
Total	100	100	100

TABLE 4.11: CHILD DELIVERY-LOCATION AND TYPE OF ASSISTANCE

PROVINCE & DISTRICT	PERCENTAGE OF CASES		
	URBAN	RURAL	TOTAL
Loralai			
PLACE WHERE CHILD WAS DELIVERED:			
Home	5	26	19
Govt. Hospital/RHC/BHU	69	53	59
Private Hospital/Clinic	26	21	23
Other	0	0	0
Total	100	100	100
PERSON THAT ASSISTED WITH DELIVERY:			
Doctor	66	18	36
Nurse	1	11	8
midwife	8	11	10
TBA	0	0	0
Trained Dai/Dai	0	2	1
Family member/Neighbour/Friend	9	23	18
LHV	15	29	24
LHW	0	6	4
Other	0	0	0
Total	100	100	100
Mastung			
PLACE WHERE CHILD WAS DELIVERED:			
Home	75	73	73
Govt. Hospital/RHC/BHU	5	11	10
Private Hospital/Clinic	20	16	17
Other	0	0	0
Total	100	100	100
PERSON THAT ASSISTED WITH DELIVERY:			
Doctor	25	23	23
Nurse	0	0	0
midwife	5	4	5
TBA	0	4	3
Trained Dai/Dai	43	58	55
Family member/Neighbour/Friend	21	10	13
LHV	5	0	1
LHW	0	0	0
Other	0	0	0
Total	100	100	100
Nasirabad			
PLACE WHERE CHILD WAS DELIVERED:			
Home	3	28	24
Govt. Hospital/RHC/BHU	5	24	21
Private Hospital/Clinic	92	47	55
Other	0	1	0
Total	100	100	100
PERSON THAT ASSISTED WITH DELIVERY:			
Doctor	91	39	49
Nurse	0	1	1
midwife	3	6	5
TBA	0	13	11
Trained Dai/Dai	0	10	8
Family member/Neighbour/Friend	3	13	11
LHV	0	1	1
LHW	0	0	0
Other	4	18	15
Total	100	100	100

TABLE 4.11: CHILD DELIVERY-LOCATION AND TYPE OF ASSISTANCE

PROVINCE & DISTRICT	PERCENTAGE OF CASES		
	URBAN	RURAL	TOTAL
Nushki			
PLACE WHERE CHILD WAS DELIVERED:			
Home	71	84	81
Govt. Hospital/RHC/BHU	23	11	14
Private Hospital/Clinic	6	4	5
Other	0	0	0
Total	100	100	100
PERSON THAT ASSISTED WITH DELIVERY:			
Doctor	2	6	5
Nurse	0	0	0
midwife	35	63	55
TBA	3	9	7
Trained Dai/Dai	24	2	8
Family member/Neighbour/Friend	11	4	6
LHV	0	1	1
LHW	24	15	18
Other	0	1	1
Total	100	100	100
Pashin			
PLACE WHERE CHILD WAS DELIVERED:			
Home	69	54	56
Govt. Hospital/RHC/BHU	6	25	23
Private Hospital/Clinic	26	19	20
Other	0	1	1
Total	100	100	100
PERSON THAT ASSISTED WITH DELIVERY:			
Doctor	33	30	30
Nurse	0	5	4
midwife	0	1	1
TBA	0	0	0
Trained Dai/Dai	5	29	26
Family member/Neighbour/Friend	61	31	35
LHV	0	3	3
LHW	0	0	0
Other	0	1	1
Total	100	100	100
Qilla Abdullah			
PLACE WHERE CHILD WAS DELIVERED:			
Home	49	52	51
Govt. Hospital/RHC/BHU	15	17	17
Private Hospital/Clinic	35	31	32
Other	1	0	0
Total	100	100	100
PERSON THAT ASSISTED WITH DELIVERY:			
Doctor	49	40	41
Nurse	0	0	0
midwife	0	3	3
TBA	0	0	0
Trained Dai/Dai	20	15	16
Family member/Neighbour/Friend	29	40	38
LHV	2	2	2
LHW	0	0	0
Other	0	0	0
Total	100	100	100

TABLE 4.11: CHILD DELIVERY-LOCATION AND TYPE OF ASSISTANCE

PROVINCE & DISTRICT	PERCENTAGE OF CASES		
	URBAN	RURAL	TOTAL
Qilla Saifullah			
PLACE WHERE CHILD WAS DELIVERED:			
Home	0	41	41
Govt. Hospital/RHC/BHU	0	4	4
Private Hospital/Clinic	0	54	54
Other	0	0	0
Total	0	100	100
PERSON THAT ASSISTED WITH DELIVERY:			
Doctor	0	37	37
Nurse	0	0	0
midwife	0	1	1
TBA	0	0	0
Trained Dai/Dai	0	22	22
Family member/Neighbour/Friend	0	33	33
LHV	0	7	7
LHW	0	1	1
Other	0	0	0
Total	0	100	100
Quetta			
PLACE WHERE CHILD WAS DELIVERED:			
Home	20	28	25
Govt. Hospital/RHC/BHU	51	47	48
Private Hospital/Clinic	29	24	26
Other	1	1	1
Total	100	100	100
PERSON THAT ASSISTED WITH DELIVERY:			
Doctor	75	63	67
Nurse	2	4	3
midwife	10	6	8
TBA	1	2	2
Trained Dai/Dai	6	13	10
Family member/Neighbour/Friend	6	11	9
LHV	0	0	0
LHW	0	0	0
Other	1	0	0
Total	100	100	100
Shaheed Sikandar Abad			
PLACE WHERE CHILD WAS DELIVERED:			
Home	0	70	70
Govt. Hospital/RHC/BHU	0	23	23
Private Hospital/Clinic	0	6	6
Other	0	1	1
Total	0	100	100
PERSON THAT ASSISTED WITH DELIVERY:			
Doctor	0	19	19
Nurse	0	0	0
Midwife	0	47	47
TBA	0	14	14
Trained Dai/Dai	0	4	4
Family member/Neighbour/Friend	0	15	15
LHV	0	0	0
LHW	0	0	0
Other	0	1	1
Total	0	100	100

TABLE 4.11: CHILD DELIVERY-LOCATION AND TYPE OF ASSISTANCE

PROVINCE & DISTRICT	PERCENTAGE OF CASES		
	URBAN	RURAL	TOTAL
Sherani			
PLACE WHERE CHILD WAS DELIVERED:			
Home	0	49	49
Govt. Hospital/RHC/BHU	0	38	38
Private Hospital/Clinic	0	13	13
Other	0	0	0
Total	0	100	100
PERSON THAT ASSISTED WITH DELIVERY:			
Doctor	0	0	0
Nurse	0	31	31
midwife	0	25	25
TBA	0	0	0
Trained Dai/Dai	0	1	1
Family member/Neighbour/Friend	0	26	26
LHV	0	16	16
LHW	0	1	1
Other	0	0	0
Total	0	100	100
Sibbi			
PLACE WHERE CHILD WAS DELIVERED:			
Home	5	29	18
Govt. Hospital/RHC/BHU	53	69	62
Private Hospital/Clinic	42	2	20
Other	0	0	0
Total	100	100	100
PERSON THAT ASSISTED WITH DELIVERY:			
Doctor	86	45	63
Nurse	0	0	0
midwife	5	1	3
TBA	0	0	0
Trained Dai/Dai	9	44	28
Family member/Neighbour/Friend	0	9	5
LHV	0	1	0
LHW	0	0	0
Other	0	0	0
Total	100	100	100
Sohbat pur			
PLACE WHERE CHILD WAS DELIVERED:			
Home	75	63	64
Govt. Hospital/RHC/BHU	25	23	23
Private Hospital/Clinic	0	14	13
Other	0	0	0
Total	100	100	100
PERSON THAT ASSISTED WITH DELIVERY:			
Doctor	0	0	0
Nurse	0	0	0
Midwife	0	0	0
TBA	0	62	59
Trained Dai/Dai	0	35	33
Family member/Neighbour/Friend	75	0	4
LHV	0	0	0
LHW	0	2	2
Other	25	0	1
Total	100	100	100

TABLE 4.11: CHILD DELIVERY-LOCATION AND TYPE OF ASSISTANCE

PROVINCE & DISTRICT	PERCENTAGE OF CASES		
	URBAN	RURAL	TOTAL
Washuk			
PLACE WHERE CHILD WAS DELIVERED:			
Home	70	72	72
Govt. Hospital/RHC/BHU	15	15	15
Private Hospital/Clinic	15	13	13
Other	0	1	1
Total	100	100	100
PERSON THAT ASSISTED WITH DELIVERY:			
Doctor	20	17	17
Nurse	0	2	2
midwife	25	11	13
TBA	40	41	41
Trained Dai/Dai	0	14	11
Family member/Neighbour/Friend	5	15	13
LHV	10	1	2
LHW	0	0	0
Other	0	0	0
Total	100	100	100
Ziarat			
PLACE WHERE CHILD WAS DELIVERED:			
Home	44	40	40
Govt. Hospital/RHC/BHU	44	29	30
Private Hospital/Clinic	11	31	30
Other	0	0	0
Total	100	100	100
PERSON THAT ASSISTED WITH DELIVERY:			
Doctor	56	21	22
Nurse	0	14	14
midwife	0	0	0
TBA	0	1	1
Trained Dai/Dai	44	6	7
Family member/Neighbour/Friend	0	52	50
LHV	0	2	2
LHW	0	4	4
Other	0	0	0
Total	100	100	100

NOTE:

1. The Panjgur,Chaghi,Musa Khel,Zhob and Jhal Magsi districts have been dropped from the scope of the survey due to law and order situation.

TABLE 4.12: POST-NATAL CONSULTATIONS-BY PROVINCE AND DISTRICT

PROVINCE & DISTRICT	PERCENTAGE OF CASES		
	URBAN	RURAL	TOTAL
Pakistan			
Health Facility Consulted	48	34	39
PERSON/FACILITY CONSULTED			
1. Home TBA	2	7	5
2. Home LHW	3	5	4
3. H0me LHV	2	3	3
4. Home Doctor	1	1	1
5. Govt. Hospital/RHC/BHU	36	37	36
6. Private Hospital/Clinic	56	47	50
7. Other	0	1	0
Total	100	100	100
Punjab			
Health Facility Consulted	48	39	42
PERSON/FACILITY CONSULTED			
1. Home TBA	2	9	6
2. Home LHW	1	5	3
3. H0me LHV	2	3	3
4. Home Doctor	1	0	1
5. Govt. Hospital/RHC/BHU	38	34	36
6. Private Hospital/Clinic	55	48	51
7. Other	1	0	0
Total	100	100	100
Attock			
Health Facility Consulted	78	47	54
PERSON/FACILITY CONSULTED			
1. Home TBA	0	0	0
2. Home LHW	2	2	2
3. H0me LHV	0	0	0
4. Home Doctor	0	0	0
5. Govt. Hospital/RHC/BHU	52	38	43
6. Private Hospital/Clinic	46	60	55
7. Other	0	0	0
Total	100	100	100
Bahawalnager			
Health Facility Consulted	17	28	26
PERSON/FACILITY CONSULTED			
1. Home TBA	8	9	9
2. Home LHW	8	30	27
3. H0me LHV	15	4	5
4. Home Doctor	0	0	0
5. Govt. Hospital/RHC/BHU	6	12	11
6. Private Hospital/Clinic	62	43	45
7. Other	0	3	3
Total	100	100	100
Bahawalpur	39	27	30
Health Facility Consulted			
PERSON/FACILITY CONSULTED			
1. Home TBA	1	0	0
2. Home LHW	0	0	0
3. H0me LHV	1	0	0
4. Home Doctor	1	0	0
5. Govt. Hospital/RHC/BHU	41	33	35
6. Private Hospital/Clinic	56	67	63
7. Other	0	0	0
Total	100	100	100

TABLE 4.12: POST-NATAL CONSULTATIONS-BY PROVINCE AND DISTRICT

PROVINCE & DISTRICT	PERCENTAGE OF CASES		
	URBAN	RURAL	TOTAL
Bhakhar			
Health Facility Consulted	50	26	29
PERSON/FACILITY CONSULTED			
1. Home TBA	0	0	0
2. Home LHW	0	0	0
3. H0me LHV	0	1	1
4. Home Doctor	0	2	2
5. Govt. Hospital/RHC/BHU	58	42	46
6. Private Hospital/Clinic	42	55	52
7. Other	0	0	0
Total	100	100	100
Chakwal			
Health Facility Consulted	52	51	51
PERSON/FACILITY CONSULTED			
1. Home TBA	0	0	0
2. Home LHW	0	15	13
3. H0me LHV	0	1	1
4. Home Doctor	0	0	0
5. Govt. Hospital/RHC/BHU	67	50	52
6. Private Hospital/Clinic	33	33	33
7. Other	0	0	0
Total	100	100	100
Chinniot			
Health Facility Consulted	20	33	29
PERSON/FACILITY CONSULTED			
1. Home TBA	0	3	2
2. Home LHW	0	1	1
3. H0me LHV	0	0	0
4. Home Doctor	0	0	0
5. Govt. Hospital/RHC/BHU	24	26	25
6. Private Hospital/Clinic	76	71	72
7. Other	0	0	0
Total	100	100	100
D.G.khan	49	23	27
Health Facility Consulted			
PERSON/FACILITY CONSULTED			
1. Home TBA	1	26	19
2. Home LHW	0	1	1
3. H0me LHV	0	1	0
4. Home Doctor	1	0	0
5. Govt. Hospital/RHC/BHU	40	35	36
6. Private Hospital/Clinic	58	36	42
7. Other	0	1	1
Total	100	100	100
Faisalabad			
Health Facility Consulted	49	39	43
PERSON/FACILITY CONSULTED			
1. Home TBA	6	9	7
2. Home LHW	1	3	2
3. H0me LHV	0	1	0
4. Home Doctor	0	1	0
5. Govt. Hospital/RHC/BHU	22	20	21
6. Private Hospital/Clinic	71	66	69
7. Other	1	1	1
Total	100	100	100

TABLE 4.12: POST-NATAL CONSULTATIONS-BY PROVINCE AND DISTRICT

PROVINCE & DISTRICT	PERCENTAGE OF CASES		
	URBAN	RURAL	TOTAL
Gujranwala			
Health Facility Consulted	55	38	48
PERSON/FACILITY CONSULTED			
1. Home TBA	0	0	0
2. Home LHW	0	0	0
3. H0me LHV	0	0	0
4. Home Doctor	1	1	1
5. Govt. Hospital/RHC/BHU	28	38	32
6. Private Hospital/Clinic	70	61	67
7. Other	0	0	0
Total	100	100	100
Gujrat			
Health Facility Consulted	34	41	39
PERSON/FACILITY CONSULTED			
1. Home TBA	0	0	0
2. Home LHW	0	0	0
3. H0me LHV	0	0	0
4. Home Doctor	0	0	0
5. Govt. Hospital/RHC/BHU	24	23	23
6. Private Hospital/Clinic	73	76	76
7. Other	3	0	1
Total	100	100	100
Hafizabad			
Health Facility Consulted	46	31	37
PERSON/FACILITY CONSULTED			
1. Home TBA	0	0	0
2. Home LHW	0	0	0
3. H0me LHV	0	1	1
4. Home Doctor	0	2	1
5. Govt. Hospital/RHC/BHU	46	36	41
6. Private Hospital/Clinic	54	60	57
7. Other	0	0	0
Total	100	100	100
Islamabad			
Health Facility Consulted	70	62	66
PERSON/FACILITY CONSULTED			
1. Home TBA	0	0	0
2. Home LHW	0	0	0
3. H0me LHV	0	0	0
4. Home Doctor	0	0	0
5. Govt. Hospital/RHC/BHU	51	48	49
6. Private Hospital/Clinic	48	52	50
7. Other	1	0	1
Total	100	100	100
Jehlum			
Health Facility Consulted	52	34	37
PERSON/FACILITY CONSULTED			
1. Home TBA	0	0	0
2. Home LHW	0	1	1
3. H0me LHV	0	0	0
4. Home Doctor	4	0	1
5. Govt. Hospital/RHC/BHU	49	69	63
6. Private Hospital/Clinic	43	31	34
7. Other	4	0	1
Total	100	100	100

TABLE 4.12: POST-NATAL CONSULTATIONS-BY PROVINCE AND DISTRICT

PROVINCE & DISTRICT	PERCENTAGE OF CASES		
	URBAN	RURAL	TOTAL
Jhang			
Health Facility Consulted	36	30	32
PERSON/FACILITY CONSULTED			
1. Home TBA	2	4	3
2. Home LHW	2	5	4
3. H0me LHV	5	2	3
4. Home Doctor	0	2	1
5. Govt. Hospital/RHC/BHU	13	22	19
6. Private Hospital/Clinic	79	65	70
7. Other	0	1	1
Total	100	100	100
Kasur			
Health Facility Consulted	29	24	25
PERSON/FACILITY CONSULTED			
1. Home TBA	2	3	3
2. Home LHW	2	4	3
3. H0me LHV	0	11	8
4. Home Doctor	0	0	0
5. Govt. Hospital/RHC/BHU	26	40	36
6. Private Hospital/Clinic	70	41	49
7. Other	0	1	1
Total	100	100	100
Khanewal			
Health Facility Consulted	46	44	44
PERSON/FACILITY CONSULTED			
1. Home TBA	12	3	5
2. Home LHW	1	7	6
3. H0me LHV	0	3	3
4. Home Doctor	0	1	1
5. Govt. Hospital/RHC/BHU	14	22	20
6. Private Hospital/Clinic	73	64	65
7. Other	0	0	0
Total	100	100	100
Khushab			
Health Facility Consulted	44	38	39
PERSON/FACILITY CONSULTED			
1. Home TBA	0	1	0
2. Home LHW	0	0	0
3. H0me LHV	0	0	0
4. Home Doctor	0	1	1
5. Govt. Hospital/RHC/BHU	28	23	25
6. Private Hospital/Clinic	72	75	74
7. Other	0	0	0
Total	100	100	100
Lahore			
Health Facility Consulted	49	0	49
PERSON/FACILITY CONSULTED			
1. Home TBA	1	0	1
2. Home LHW	1	0	1
3. H0me LHV	4	0	4
4. Home Doctor	2	0	2
5. Govt. Hospital/RHC/BHU	46	0	46
6. Private Hospital/Clinic	45	0	45
7. Other	0	0	0
Total	100	0	100

TABLE 4.12: POST-NATAL CONSULTATIONS-BY PROVINCE AND DISTRICT

PROVINCE & DISTRICT	PERCENTAGE OF CASES		
	URBAN	RURAL	TOTAL
Layyah			
Health Facility Consulted	46	73	68
PERSON/FACILITY CONSULTED			
1. Home TBA	0	19	16
2. Home LHW	0	4	4
3. H0me LHV	0	13	12
4. Home Doctor	0	0	0
5. Govt. Hospital/RHC/BHU	37	55	53
6. Private Hospital/Clinic	63	9	16
7. Other	0	0	0
Total	100	100	100
Lodhran			
Health Facility Consulted	39	36	37
PERSON/FACILITY CONSULTED			
1. Home TBA	0	1	1
2. Home LHW	26	3	7
3. H0me LHV	5	3	3
4. Home Doctor	0	0	0
5. Govt. Hospital/RHC/BHU	10	62	54
6. Private Hospital/Clinic	59	31	36
7. Other	0	0	0
Total	100	100	100
Mandi Bahuddin			
Health Facility Consulted	30	35	34
PERSON/FACILITY CONSULTED			
1. Home TBA	0	0	0
2. Home LHW	0	0	0
3. H0me LHV	0	0	0
4. Home Doctor	0	0	0
5. Govt. Hospital/RHC/BHU	20	42	39
6. Private Hospital/Clinic	80	58	61
7. Other	0	0	0
Total	100	100	100
Mianwali			
Health Facility Consulted	56	49	50
PERSON/FACILITY CONSULTED			
1. Home TBA	0	0	0
2. Home LHW	0	0	0
3. H0me LHV	1	4	3
4. Home Doctor	0	0	0
5. Govt. Hospital/RHC/BHU	41	36	37
6. Private Hospital/Clinic	58	59	59
7. Other	0	0	0
Total	100	100	100
Multan			
Health Facility Consulted	58	41	48
PERSON/FACILITY CONSULTED			
1. Home TBA	2	2	2
2. Home LHW	6	7	6
3. H0me LHV	3	1	2
4. Home Doctor	1	2	2
5. Govt. Hospital/RHC/BHU	31	54	44
6. Private Hospital/Clinic	56	34	45
7. Other	0	0	0
Total	100	100	100

TABLE 4.12: POST-NATAL CONSULTATIONS-BY PROVINCE AND DISTRICT

PROVINCE & DISTRICT	PERCENTAGE OF CASES		
	URBAN	RURAL	TOTAL
Muzaffar Garh			
Health Facility Consulted	43	50	49
PERSON/FACILITY CONSULTED			
1. Home TBA	2	1	1
2. Home LHW	8	17	16
3. H0me LHV	2	3	3
4. Home Doctor	2	1	1
5. Govt. Hospital/RHC/BHU	53	43	44
6. Private Hospital/Clinic	34	35	35
7. Other	0	0	0
Total	100	100	100
Nankana Sahib			
Health Facility Consulted	47	31	33
PERSON/FACILITY CONSULTED			
1. Home TBA	0	3	2
2. Home LHW	0	2	2
3. H0me LHV	0	11	9
4. Home Doctor	0	2	2
5. Govt. Hospital/RHC/BHU	35	20	23
6. Private Hospital/Clinic	65	61	62
7. Other	0	0	0
Total	100	100	100
Narowal			
Health Facility Consulted	92	25	35
PERSON/FACILITY CONSULTED			
1. Home TBA	7	22	16
2. Home LHW	0	4	3
3. H0me LHV	0	0	0
4. Home Doctor	0	0	0
5. Govt. Hospital/RHC/BHU	30	35	33
6. Private Hospital/Clinic	63	38	48
7. Other	0	0	0
Total	100	100	100
Okara			
Health Facility Consulted	51	44	45
PERSON/FACILITY CONSULTED			
1. Home TBA	0	12	9
2. Home LHW	4	1	1
3. H0me LHV	0	2	1
4. Home Doctor	0	1	0
5. Govt. Hospital/RHC/BHU	42	35	37
6. Private Hospital/Clinic	50	49	50
7. Other	4	1	1
Total	100	100	100
Pakpatten			
Health Facility Consulted	42	49	48
PERSON/FACILITY CONSULTED			
1. Home TBA	8	4	5
2. Home LHW	0	2	2
3. H0me LHV	3	6	6
4. Home Doctor	0	0	0
5. Govt. Hospital/RHC/BHU	28	47	45
6. Private Hospital/Clinic	61	40	43
7. Other	0	0	0
Total	100	100	100

TABLE 4.12: POST-NATAL CONSULTATIONS-BY PROVINCE AND DISTRICT

PROVINCE & DISTRICT	PERCENTAGE OF CASES		
	URBAN	RURAL	TOTAL
Rahim Yar Khan			
Health Facility Consulted	28	47	43
PERSON/FACILITY CONSULTED			
1. Home TBA	18	46	42
2. Home LHW	4	1	1
3. H0me LHV	0	1	1
4. Home Doctor	0	0	0
5. Govt. Hospital/RHC/BHU	34	16	18
6. Private Hospital/Clinic	45	36	37
7. Other	0	0	0
Total	100	100	100
Rajanpur			
Health Facility Consulted	27	32	31
PERSON/FACILITY CONSULTED			
1. Home TBA	0	52	46
2. Home LHW	0	0	0
3. H0me LHV	12	0	1
4. Home Doctor	0	0	0
5. Govt. Hospital/RHC/BHU	33	26	27
6. Private Hospital/Clinic	55	22	26
7. Other	0	0	0
Total	100	100	100
Rawalpindi			
Health Facility Consulted	60	48	54
PERSON/FACILITY CONSULTED			
1. Home TBA	0	0	0
2. Home LHW	0	2	1
3. H0me LHV	2	1	1
4. Home Doctor	1	0	1
5. Govt. Hospital/RHC/BHU	64	69	66
6. Private Hospital/Clinic	31	28	30
7. Other	1	0	1
Total	100	100	100
Sahiwal			
Health Facility Consulted	66	60	61
PERSON/FACILITY CONSULTED			
1. Home TBA	1	6	5
2. Home LHW	2	9	8
3. H0me LHV	11	8	9
4. Home Doctor	0	0	0
5. Govt. Hospital/RHC/BHU	20	23	23
6. Private Hospital/Clinic	64	53	55
7. Other	2	0	0
Total	100	100	100
Sargodha			
Health Facility Consulted	58	42	46
PERSON/FACILITY CONSULTED			
1. Home TBA	0	2	1
2. Home LHW	0	3	2
3. H0me LHV	0	0	0
4. Home Doctor	0	0	0
5. Govt. Hospital/RHC/BHU	27	33	31
6. Private Hospital/Clinic	73	62	66
7. Other	0	0	0
Total	100	100	100

TABLE 4.12: POST-NATAL CONSULTATIONS-BY PROVINCE AND DISTRICT

PROVINCE & DISTRICT	PERCENTAGE OF CASES		
	URBAN	RURAL	TOTAL
Sheikhupura			
Health Facility Consulted	30	42	38
PERSON/FACILITY CONSULTED			
1. Home TBA	5	3	3
2. Home LHW	5	9	8
3. H0me LHV	0	17	13
4. Home Doctor	0	1	0
5. Govt. Hospital/RHC/BHU	40	33	35
6. Private Hospital/Clinic	50	37	40
7. Other	0	1	1
Total	100	100	100
Sialkot			
Health Facility Consulted	72	41	49
PERSON/FACILITY CONSULTED			
1. Home TBA	5	5	5
2. Home LHW	2	1	1
3. H0me LHV	1	1	1
4. Home Doctor	1	0	0
5. Govt. Hospital/RHC/BHU	28	35	32
6. Private Hospital/Clinic	64	58	60
7. Other	0	0	0
Total	100	100	100
T.T.Singh			
Health Facility Consulted	24	35	33
PERSON/FACILITY CONSULTED			
1. Home TBA	0	0	0
2. Home LHW	0	7	6
3. H0me LHV	0	2	1
4. Home Doctor	0	0	0
5. Govt. Hospital/RHC/BHU	23	26	26
6. Private Hospital/Clinic	77	64	66
7. Other	0	0	0
Total	100	100	100
Vehari			
Health Facility Consulted	54	29	33
PERSON/FACILITY CONSULTED			
1. Home TBA	4	0	1
2. Home LHW	0	1	0
3. H0me LHV	2	0	0
4. Home Doctor	0	0	0
5. Govt. Hospital/RHC/BHU	23	11	14
6. Private Hospital/Clinic	68	89	83
7. Other	3	0	1
Total	100	100	100

NOTES:
1. Currently married women aged 15-49 years who received post-natal check-up expressed as a percentage of all currently married women aged 15-49 years who had a birth in the last three years.
2. Percentage of currently married women aged 15-49 years who received post-natal check-up by source of check-up.

TABLE 4.12: POST-NATAL CONSULTATIONS-BY PROVINCE AND DISTRICT

PROVINCE & DISTRICT	PERCENTAGE OF CASES		
	URBAN	RURAL	TOTAL
Sindh			
Health Facility Consulted	48	32	40
PERSON/FACILITY CONSULTED			
1. Home TBA	2	6	4
2. Home LHW	4	6	5
3. H0me LHV	1	2	1
4. Home Doctor	2	2	2
5. Govt. Hospital/RHC/BHU	27	35	31
6. Private Hospital/Clinic	64	48	57
7. Other	0	1	0
Total	100	100	100
Badin			
Health Facility Consulted	42	30	33
PERSON/FACILITY CONSULTED			
1. Home TBA	1	29	20
2. Home LHW	0	1	1
3. H0me LHV	0	0	0
4. Home Doctor	0	1	1
5. Govt. Hospital/RHC/BHU	24	34	31
6. Private Hospital/Clinic	72	27	42
7. Other	1	7	5
Total	100	100	100
Dadu			
Health Facility Consulted	65	49	54
PERSON/FACILITY CONSULTED			
1. Home TBA	2	0	1
2. Home LHW	0	0	0
3. H0me LHV	2	0	1
4. Home Doctor	5	0	2
5. Govt. Hospital/RHC/BHU	42	44	43
6. Private Hospital/Clinic	49	56	53
7. Other	0	0	0
Total	100	100	100
Ghotki			
Health Facility Consulted	30	37	36
PERSON/FACILITY CONSULTED			
1. Home TBA	0	1	1
2. Home LHW	0	0	0
3. H0me LHV	0	0	0
4. Home Doctor	0	0	0
5. Govt. Hospital/RHC/BHU	37	40	39
6. Private Hospital/Clinic	63	57	58
7. Other	0	1	1
Total	100	100	100
Hyderabad			
Health Facility Consulted	61	27	56
PERSON/FACILITY CONSULTED			
1. Home TBA	3	0	3
2. Home LHW	4	0	3
3. H0me LHV	0	0	0
4. Home Doctor	2	0	2
5. Govt. Hospital/RHC/BHU	36	50	37
6. Private Hospital/Clinic	56	50	55
7. Other	0	0	0
Total	100	100	100

TABLE 4.12: POST-NATAL CONSULTATIONS-BY PROVINCE AND DISTRICT

PROVINCE & DISTRICT	PERCENTAGE OF CASES		
	URBAN	RURAL	TOTAL
Jaccobabad			
Health Facility Consulted	30	20	22
PERSON/FACILITY CONSULTED			
1. Home TBA	0	2	1
2. Home LHW	5	2	2
3. H0me LHV	0	1	1
4. Home Doctor	0	13	10
5. Govt. Hospital/RHC/BHU	45	29	34
6. Private Hospital/Clinic	47	52	50
7. Other	4	2	2
Total	100	100	100
Jamshoro			
Health Facility Consulted	49	59	55
PERSON/FACILITY CONSULTED			
1. Home TBA	0	0	0
2. Home LHW	0	3	2
3. H0me LHV	0	1	0
4. Home Doctor	0	2	1
5. Govt. Hospital/RHC/BHU	60	78	71
6. Private Hospital/Clinic	40	17	26
7. Other	0	1	1
Total	100	100	100
Karachi central			
Health Facility Consulted	53	0	53
PERSON/FACILITY CONSULTED			
1. Home TBA	4	0	4
2. Home LHW	3	0	3
3. H0me LHV	0	0	0
4. Home Doctor	1	0	1
5. Govt. Hospital/RHC/BHU	17	0	17
6. Private Hospital/Clinic	73	0	73
7. Other	1	0	1
Total	100	0	100
Karachi East			
Health Facility Consulted	47	0	47
PERSON/FACILITY CONSULTED			
1. Home TBA	2	0	2
2. Home LHW	1	0	1
3. H0me LHV	0	0	0
4. Home Doctor	1	0	1
5. Govt. Hospital/RHC/BHU	22	0	22
6. Private Hospital/Clinic	73	0	73
7. Other	0	0	0
Total	100	0	100
Karachi Malir			
Health Facility Consulted	45	56	49
PERSON/FACILITY CONSULTED			
1. Home TBA	2	22	12
2. Home LHW	0	8	4
3. H0me LHV	0	8	4
4. Home Doctor	0	8	4
5. Govt. Hospital/RHC/BHU	10	24	17
6. Private Hospital/Clinic	88	31	60
7. Other	0	0	0
Total	100	100	100

TABLE 4.12: POST-NATAL CONSULTATIONS-BY PROVINCE AND DISTRICT

PROVINCE & DISTRICT	PERCENTAGE OF CASES		
	URBAN	RURAL	TOTAL
Karachi South			
Health Facility Consulted	47	0	47
PERSON/FACILITY CONSULTED			
1. Home TBA	1	0	1
2. Home LHW	0	0	0
3. H0me LHV	0	0	0
4. Home Doctor	2	0	2
5. Govt. Hospital/RHC/BHU	17	0	17
6. Private Hospital/Clinic	80	0	80
7. Other	0	0	0
Total	100	0	100
Karachi West			
Health Facility Consulted	44	63	46
PERSON/FACILITY CONSULTED			
1. Home TBA	5	0	4
2. Home LHW	1	0	1
3. H0me LHV	0	0	0
4. Home Doctor	1	0	1
5. Govt. Hospital/RHC/BHU	27	61	31
6. Private Hospital/Clinic	66	39	63
7. Other	0	0	0
Total	100	100	100
Kashmore			
Health Facility Consulted	31	25	26
PERSON/FACILITY CONSULTED			
1. Home TBA	0	1	1
2. Home LHW	7	35	28
3. H0me LHV	4	13	11
4. Home Doctor	11	16	15
5. Govt. Hospital/RHC/BHU	22	12	15
6. Private Hospital/Clinic	55	22	31
7. Other	0	0	0
Total	100	100	100
Khairpur			
Health Facility Consulted	52	42	45
PERSON/FACILITY CONSULTED			
1. Home TBA	0	0	0
2. Home LHW	4	6	5
3. H0me LHV	2	3	3
4. Home Doctor	0	3	2
5. Govt. Hospital/RHC/BHU	49	39	42
6. Private Hospital/Clinic	46	49	48
7. Other	0	0	0
Total	100	100	100
Korangi			
Health Facility Consulted	47	0	47
PERSON/FACILITY CONSULTED			
1. Home TBA	0	0	0
2. Home LHW	3	0	3
3. H0me LHV	0	0	0
4. Home Doctor	2	0	2
5. Govt. Hospital/RHC/BHU	14	0	14
6. Private Hospital/Clinic	81	0	81
7. Other	0	0	0
Total	100	0	100

TABLE 4.12: POST-NATAL CONSULTATIONS-BY PROVINCE AND DISTRICT

PROVINCE & DISTRICT	PERCENTAGE OF CASES		
	URBAN	RURAL	TOTAL
Larkana			
Health Facility Consulted	70	79	74
PERSON/FACILITY CONSULTED			
1. Home TBA	0	3	1
2. Home LHW	45	11	28
3. H0me LHV	8	8	8
4. Home Doctor	8	0	4
5. Govt. Hospital/RHC/BHU	22	47	34
6. Private Hospital/Clinic	17	30	24
7. Other	0	1	1
Total	100	100	100
Matiari			
Health Facility Consulted	72	58	60
PERSON/FACILITY CONSULTED			
1. Home TBA	3	6	5
2. Home LHW	0	2	2
3. H0me LHV	0	0	0
4. Home Doctor	0	1	1
5. Govt. Hospital/RHC/BHU	43	26	29
6. Private Hospital/Clinic	54	65	63
7. Other	0	0	0
Total	100	100	100
Mir Pur Khas			
Health Facility Consulted	58	27	34
PERSON/FACILITY CONSULTED			
1. Home TBA	0	0	0
2. Home LHW	19	5	10
3. H0me LHV	3	0	1
4. Home Doctor	4	0	1
5. Govt. Hospital/RHC/BHU	25	45	38
6. Private Hospital/Clinic	49	50	49
7. Other	0	1	0
Total	100	100	100
Nowshero Feroze			
Health Facility Consulted	53	36	39
PERSON/FACILITY CONSULTED			
1. Home TBA	0	0	0
2. Home LHW	33	8	14
3. H0me LHV	0	0	0
4. Home Doctor	0	0	0
5. Govt. Hospital/RHC/BHU	24	35	32
6. Private Hospital/Clinic	43	57	54
7. Other	0	0	0
Total	100	100	100
Sanghar			
Health Facility Consulted	37	20	24
PERSON/FACILITY CONSULTED			
1. Home TBA	0	0	0
2. Home LHW	0	3	2
3. H0me LHV	0	0	0
4. Home Doctor	0	1	0
5. Govt. Hospital/RHC/BHU	26	31	29
6. Private Hospital/Clinic	74	65	69
7. Other	0	0	0
Total	100	100	100

TABLE 4.12: POST-NATAL CONSULTATIONS-BY PROVINCE AND DISTRICT

PROVINCE & DISTRICT	PERCENTAGE OF CASES		
	URBAN	RURAL	TOTAL
Shahdadkot			
Health Facility Consulted	64	63	63
PERSON/FACILITY CONSULTED			
1. Home TBA	0	2	1
2. Home LHW	0	31	23
3. H0me LHV	0	5	4
4. Home Doctor	17	4	7
5. Govt. Hospital/RHC/BHU	52	31	36
6. Private Hospital/Clinic	31	28	28
7. Other	0	0	0
Total	100	100	100
Shaheed Banazir Abad			
Health Facility Consulted	36	24	27
PERSON/FACILITY CONSULTED			
1. Home TBA	2	0	1
2. Home LHW	0	0	0
3. H0me LHV	0	0	0
4. Home Doctor	0	0	0
5. Govt. Hospital/RHC/BHU	33	16	21
6. Private Hospital/Clinic	65	84	78
7. Other	0	0	0
Total	100	100	100
Shikarpur			
Health Facility Consulted	33	22	25
PERSON/FACILITY CONSULTED			
1. Home TBA	0	8	6
2. Home LHW	0	3	2
3. H0me LHV	0	7	5
4. Home Doctor	0	0	0
5. Govt. Hospital/RHC/BHU	49	32	37
6. Private Hospital/Clinic	51	49	50
7. Other	0	0	0
Total	100	100	100
Sujawal			
Health Facility Consulted	14	26	25
PERSON/FACILITY CONSULTED			
1. Home TBA	0	39	39
2. Home LHW	0	0	0
3. H0me LHV	0	0	0
4. Home Doctor	0	0	0
5. Govt. Hospital/RHC/BHU	100	42	44
6. Private Hospital/Clinic	0	18	18
7. Other	0	0	0
Total	100	100	100
Sukkur			
Health Facility Consulted	55	19	33
PERSON/FACILITY CONSULTED			
1. Home TBA	1	0	1
2. Home LHW	0	0	0
3. H0me LHV	0	0	0
4. Home Doctor	4	0	2
5. Govt. Hospital/RHC/BHU	39	47	42
6. Private Hospital/Clinic	56	53	55
7. Other	0	0	0
Total	100	100	100

TABLE 4.12: POST-NATAL CONSULTATIONS-BY PROVINCE AND DISTRICT

PROVINCE & DISTRICT	PERCENTAGE OF CASES		
	URBAN	RURAL	TOTAL
Tando Allah Yar			
Health Facility Consulted	67	36	44
PERSON/FACILITY CONSULTED			
1. Home TBA	0	0	0
2. Home LHW	0	0	0
3. H0me LHV	0	0	0
4. Home Doctor	0	0	0
5. Govt. Hospital/RHC/BHU	41	41	41
6. Private Hospital/Clinic	58	46	51
7. Other	2	0	1
Total	100	100	100
Tando Muhd Khan			
Health Facility Consulted	39	42	42
PERSON/FACILITY CONSULTED			
1. Home TBA	0	19	17
2. Home LHW	0	4	4
3. H0me LHV	0	2	2
4. Home Doctor	0	0	0
5. Govt. Hospital/RHC/BHU	62	35	38
6. Private Hospital/Clinic	38	38	38
7. Other	0	1	1
Total	100	100	100
Tharparkar			
Health Facility Consulted	47	17	19
PERSON/FACILITY CONSULTED			
1. Home TBA	0	0	0
2. Home LHW	12	20	18
3. H0me LHV	0	5	4
4. Home Doctor	0	0	0
5. Govt. Hospital/RHC/BHU	21	11	13
6. Private Hospital/Clinic	67	64	65
7. Other	0	0	0
Total	100	100	100
Thatta			
Health Facility Consulted	42	23	26
PERSON/FACILITY CONSULTED			
1. Home TBA	23	42	38
2. Home LHW	0	0	0
3. H0me LHV	0	0	0
4. Home Doctor	0	0	0
5. Govt. Hospital/RHC/BHU	30	33	32
6. Private Hospital/Clinic	48	25	30
7. Other	0	0	0
Total	100	100	100
Umer Kot			
Health Facility Consulted	28	30	29
PERSON/FACILITY CONSULTED			
1. Home TBA	0	0	0
2. Home LHW	42	0	9
3. H0me LHV	0	0	0
4. Home Doctor	0	0	0
5. Govt. Hospital/RHC/BHU	28	35	34
6. Private Hospital/Clinic	30	65	58
7. Other	0	0	0
Total	100	100	100

TABLE 4.12: POST-NATAL CONSULTATIONS-BY PROVINCE AND DISTRICT

PROVINCE & DISTRICT	PERCENTAGE OF CASES		
	URBAN	RURAL	TOTAL
Khyber Pakhtunkhwa			
Health Facility Consulted	45	28	30
PERSON/FACILITY CONSULTED			
1. Home TBA	1	3	2
2. Home LHW	11	5	6
3. H0me LHV	2	3	3
4. Home Doctor	2	3	2
5. Govt. Hospital/RHC/BHU	46	46	46
6. Private Hospital/Clinic	39	41	40
7. Other	0	0	0
Total	100	100	100
Abbottabad			
Health Facility Consulted	64	41	45
PERSON/FACILITY CONSULTED			
1. Home TBA	0	1	1
2. Home LHW	29	2	8
3. H0me LHV	0	3	2
4. Home Doctor	0	0	0
5. Govt. Hospital/RHC/BHU	39	45	44
6. Private Hospital/Clinic	32	48	44
7. Other	0	2	1
Total	100	100	100
Bajur			
Health Facility Consulted	0	16	16
PERSON/FACILITY CONSULTED			
1. Home TBA	0	9	9
2. Home LHW	0	20	20
3. H0me LHV	0	1	1
4. Home Doctor	0	0	0
5. Govt. Hospital/RHC/BHU	0	45	45
6. Private Hospital/Clinic	0	25	25
7. Other	0	0	0
Total	0	100	100
Bannu			
Health Facility Consulted	53	15	16
PERSON/FACILITY CONSULTED			
1. Home TBA	0	2	2
2. Home LHW	0	4	3
3. H0me LHV	0	15	13
4. Home Doctor	0	5	4
5. Govt. Hospital/RHC/BHU	45	50	50
6. Private Hospital/Clinic	55	22	26
7. Other	0	2	1
Total	100	100	100
Batagram			
Health Facility Consulted	0	34	34
PERSON/FACILITY CONSULTED			
1. Home TBA	0	9	9
2. Home LHW	0	21	21
3. H0me LHV	0	16	16
4. Home Doctor	0	2	2
5. Govt. Hospital/RHC/BHU	0	18	18
6. Private Hospital/Clinic	0	34	34
7. Other	0	0	0
Total	0	100	100

TABLE 4.12: POST-NATAL CONSULTATIONS-BY PROVINCE AND DISTRICT

PROVINCE & DISTRICT	PERCENTAGE OF CASES		
	URBAN	RURAL	TOTAL
Bonair			
Health Facility Consulted	0	19	19
PERSON/FACILITY CONSULTED			
1. Home TBA	0	1	1
2. Home LHW	0	4	4
3. H0me LHV	0	3	3
4. Home Doctor	0	1	1
5. Govt. Hospital/RHC/BHU	0	38	38
6. Private Hospital/Clinic	0	52	52
7. Other	0	0	0
Total	0	100	100
Charsada			
Health Facility Consulted	30	33	33
PERSON/FACILITY CONSULTED			
1. Home TBA	0	2	2
2. Home LHW	0	4	3
3. H0me LHV	0	2	1
4. Home Doctor	12	5	6
5. Govt. Hospital/RHC/BHU	36	36	36
6. Private Hospital/Clinic	52	52	52
7. Other	0	0	0
Total	100	100	100
Chitral			
Health Facility Consulted	27	19	20
PERSON/FACILITY CONSULTED			
1. Home TBA	0	0	0
2. Home LHW	0	0	0
3. H0me LHV	0	0	0
4. Home Doctor	0	0	0
5. Govt. Hospital/RHC/BHU	14	5	6
6. Private Hospital/Clinic	86	90	90
7. Other	0	5	4
Total	100	100	100
D.I.Khan			
Health Facility Consulted	42	41	41
PERSON/FACILITY CONSULTED			
1. Home TBA	0	0	0
2. Home LHW	0	0	0
3. H0me LHV	0	1	1
4. Home Doctor	8	10	9
5. Govt. Hospital/RHC/BHU	87	55	62
6. Private Hospital/Clinic	5	34	27
7. Other	0	0	0
Total	100	100	100
Hangu			
Health Facility Consulted	27	15	17
PERSON/FACILITY CONSULTED			
1. Home TBA	0	0	0
2. Home LHW	0	0	0
3. H0me LHV	6	0	1
4. Home Doctor	5	0	1
5. Govt. Hospital/RHC/BHU	30	47	43
6. Private Hospital/Clinic	58	53	54
7. Other	0	0	0
Total	100	100	100

TABLE 4.12: POST-NATAL CONSULTATIONS-BY PROVINCE AND DISTRICT

PROVINCE & DISTRICT	PERCENTAGE OF CASES		
	URBAN	RURAL	TOTAL
Haripur			
Health Facility Consulted	60	28	33
PERSON/FACILITY CONSULTED			
1. Home TBA	0	1	1
2. Home LHW	3	3	3
3. H0me LHV	0	0	0
4. Home Doctor	3	0	1
5. Govt. Hospital/RHC/BHU	28	49	43
6. Private Hospital/Clinic	65	46	52
7. Other	0	0	0
Total	100	100	100
Karak			
Health Facility Consulted	33	21	21
PERSON/FACILITY CONSULTED			
1. Home TBA	0	0	0
2. Home LHW	0	0	0
3. H0me LHV	0	21	20
4. Home Doctor	0	3	3
5. Govt. Hospital/RHC/BHU	0	11	10
6. Private Hospital/Clinic	100	65	66
7. Other	0	0	0
Total	100	100	100
Khyber			
Health Facility Consulted	11	40	37
PERSON/FACILITY CONSULTED			
1. Home TBA	0	1	1
2. Home LHW	100	2	6
3. H0me LHV	0	0	0
4. Home Doctor	0	0	0
5. Govt. Hospital/RHC/BHU	0	93	90
6. Private Hospital/Clinic	0	3	3
7. Other	0	0	0
Total	100	100	100
Kohat			
Health Facility Consulted	40	17	21
PERSON/FACILITY CONSULTED			
1. Home TBA	0	0	0
2. Home LHW	0	0	0
3. H0me LHV	0	0	0
4. Home Doctor	0	0	0
5. Govt. Hospital/RHC/BHU	45	52	50
6. Private Hospital/Clinic	55	48	50
7. Other	0	0	0
Total	100	100	100
Kohistan			
Health Facility Consulted	0	12	12
PERSON/FACILITY CONSULTED			
1. Home TBA	0	5	5
2. Home LHW	0	17	17
3. H0me LHV	0	1	1
4. Home Doctor	0	0	0
5. Govt. Hospital/RHC/BHU	0	34	34
6. Private Hospital/Clinic	0	43	43
7. Other	0	0	0
Total	0	100	100

TABLE 4.12: POST-NATAL CONSULTATIONS-BY PROVINCE AND DISTRICT

PROVINCE & DISTRICT	PERCENTAGE OF CASES		
	URBAN	RURAL	TOTAL
Kurram			
Health Facility Consulted	0	22	22
PERSON/FACILITY CONSULTED			
1. Home TBA	0	5	5
2. Home LHW	0	7	7
3. H0me LHV	0	3	3
4. Home Doctor	0	0	0
5. Govt. Hospital/RHC/BHU	0	78	78
6. Private Hospital/Clinic	0	8	8
7. Other	0	0	0
Total	0	100	100
Lakki Marwat			
Health Facility Consulted	23	12	13
PERSON/FACILITY CONSULTED			
1. Home TBA	0	0	0
2. Home LHW	0	0	0
3. H0me LHV	0	0	0
4. Home Doctor	0	7	6
5. Govt. Hospital/RHC/BHU	43	34	35
6. Private Hospital/Clinic	57	59	59
7. Other	0	0	0
Total	100	100	100
Lower Dir			
Health Facility Consulted	33	38	38
PERSON/FACILITY CONSULTED			
1. Home TBA	0	0	0
2. Home LHW	0	0	0
3. H0me LHV	17	0	0
4. Home Doctor	0	0	0
5. Govt. Hospital/RHC/BHU	33	54	54
6. Private Hospital/Clinic	50	46	46
7. Other	0	0	0
Total	100	100	100
Malakand			
Health Facility Consulted	0	28	25
PERSON/FACILITY CONSULTED			
1. Home TBA	0	0	0
2. Home LHW	0	1	1
3. H0me LHV	0	0	0
4. Home Doctor	0	0	0
5. Govt. Hospital/RHC/BHU	0	26	26
6. Private Hospital/Clinic	0	72	72
7. Other	0	0	0
Total	0	100	100
Mansehra			
Health Facility Consulted	50	25	27
PERSON/FACILITY CONSULTED			
1. Home TBA	0	1	1
2. Home LHW	0	7	6
3. H0me LHV	9	0	1
4. Home Doctor	0	2	2
5. Govt. Hospital/RHC/BHU	15	34	32
6. Private Hospital/Clinic	76	55	57
7. Other	0	1	1
Total	100	100	100

TABLE 4.12: POST-NATAL CONSULTATIONS-BY PROVINCE AND DISTRICT

PROVINCE & DISTRICT	PERCENTAGE OF CASES		
	URBAN	RURAL	TOTAL
Mardan			
Health Facility Consulted	29	33	33
PERSON/FACILITY CONSULTED			
1. Home TBA	3	1	1
2. Home LHW	0	12	11
3. H0me LHV	3	3	3
4. Home Doctor	0	4	4
5. Govt. Hospital/RHC/BHU	35	41	41
6. Private Hospital/Clinic	59	38	40
7. Other	0	0	0
Total	100	100	100
Mohmand			
Health Facility Consulted	0	14	14
PERSON/FACILITY CONSULTED			
1. Home TBA	0	0	0
2. Home LHW	0	0	0
3. H0me LHV	0	1	1
4. Home Doctor	0	0	0
5. Govt. Hospital/RHC/BHU	0	40	40
6. Private Hospital/Clinic	0	59	59
7. Other	0	0	0
Total	0	100	100
North Waziristan			
Health Facility Consulted	0	33	33
PERSON/FACILITY CONSULTED			
1. Home TBA	0	2	2
2. Home LHW	0	2	2
3. H0me LHV	0	0	0
4. Home Doctor	0	0	0
5. Govt. Hospital/RHC/BHU	0	13	13
6. Private Hospital/Clinic	0	84	84
7. Other	0	0	0
Total	0	100	100
Nowshera			
Health Facility Consulted	45	38	40
PERSON/FACILITY CONSULTED			
1. Home TBA	0	2	1
2. Home LHW	7	12	11
3. H0me LHV	5	4	4
4. Home Doctor	0	1	0
5. Govt. Hospital/RHC/BHU	39	50	47
6. Private Hospital/Clinic	50	30	35
7. Other	0	1	1
Total	100	100	100
Orakzai			
Health Facility Consulted	0	23	23
PERSON/FACILITY CONSULTED			
1. Home TBA	0	0	0
2. Home LHW	0	0	0
3. H0me LHV	0	2	2
4. Home Doctor	0	0	0
5. Govt. Hospital/RHC/BHU	0	31	31
6. Private Hospital/Clinic	0	66	66
7. Other	0	0	0
Total	0	100	100

TABLE 4.12: POST-NATAL CONSULTATIONS-BY PROVINCE AND DISTRICT

PROVINCE & DISTRICT	PERCENTAGE OF CASES		
	URBAN	RURAL	TOTAL
Peshawar			
Health Facility Consulted	57	31	42
PERSON/FACILITY CONSULTED			
1. Home TBA	1	4	2
2. Home LHW	14	9	12
3. H0me LHV	2	5	3
4. Home Doctor	1	6	3
5. Govt. Hospital/RHC/BHU	51	35	44
6. Private Hospital/Clinic	29	42	35
7. Other	1	0	0
Total	100	100	100
Shangla			
Health Facility Consulted	0	22	22
PERSON/FACILITY CONSULTED			
1. Home TBA	0	0	0
2. Home LHW	0	0	0
3. H0me LHV	0	0	0
4. Home Doctor	0	0	0
5. Govt. Hospital/RHC/BHU	0	48	48
6. Private Hospital/Clinic	0	52	52
7. Other	0	0	0
Total	0	100	100
South Waziristan			
Health Facility Consulted	0	49	49
PERSON/FACILITY CONSULTED			
1. Home TBA	0	36	36
2. Home LHW	0	1	1
3. H0me LHV	0	11	11
4. Home Doctor	0	0	0
5. Govt. Hospital/RHC/BHU	0	12	12
6. Private Hospital/Clinic	0	39	39
7. Other	0	0	0
Total	0	100	100
Swabi			
Health Facility Consulted	30	26	27
PERSON/FACILITY CONSULTED			
1. Home TBA	0	2	1
2. Home LHW	17	0	3
3. H0me LHV	0	2	2
4. Home Doctor	0	5	5
5. Govt. Hospital/RHC/BHU	18	49	44
6. Private Hospital/Clinic	65	42	45
7. Other	0	0	0
Total	100	100	100
Swat			
Health Facility Consulted	31	25	27
PERSON/FACILITY CONSULTED			
1. Home TBA	0	0	0
2. Home LHW	0	0	0
3. H0me LHV	0	0	0
4. Home Doctor	0	0	0
5. Govt. Hospital/RHC/BHU	43	77	66
6. Private Hospital/Clinic	57	23	34
7. Other	0	0	0
Total	100	100	100

TABLE 4.12: POST-NATAL CONSULTATIONS-BY PROVINCE AND DISTRICT

PROVINCE & DISTRICT	PERCENTAGE OF CASES		
	URBAN	RURAL	TOTAL
Tank			
Health Facility Consulted	50	48	49
PERSON/FACILITY CONSULTED			
1. Home TBA	0	0	0
2. Home LHW	0	0	0
3. H0me LHV	0	14	12
4. Home Doctor	17	19	19
5. Govt. Hospital/RHC/BHU	83	57	61
6. Private Hospital/Clinic	0	10	9
7. Other	0	0	0
Total	100	100	100
Tor Garh			
Health Facility Consulted	0	6	6
PERSON/FACILITY CONSULTED			
1. Home TBA	0	0	0
2. Home LHW	0	17	17
3. H0me LHV	0	0	0
4. Home Doctor	0	0	0
5. Govt. Hospital/RHC/BHU	0	0	0
6. Private Hospital/Clinic	0	83	83
7. Other	0	0	0
Total	0	100	100
Upper Dir			
Health Facility Consulted	50	38	38
PERSON/FACILITY CONSULTED			
1. Home TBA	0	0	0
2. Home LHW	0	0	0
3. H0me LHV	0	0	0
4. Home Doctor	0	0	0
5. Govt. Hospital/RHC/BHU	50	72	72
6. Private Hospital/Clinic	50	27	28
7. Other	0	0	0
Total	100	100	100

TABLE 4.12: POST-NATAL CONSULTATIONS-BY PROVINCE AND DISTRICT

PROVINCE & DISTRICT	PERCENTAGE OF CASES		
	URBAN	RURAL	TOTAL
Balochistan			
Health Facility Consulted	36	25	28
PERSON/FACILITY CONSULTED			
1. Home TBA	2	4	3
2. Home LHW	3	1	2
3. H0me LHV	7	11	10
4. Home Doctor	4	1	2
5. Govt. Hospital/RHC/BHU	49	33	38
6. Private Hospital/Clinic	34	47	43
7. Other	1	3	3
Total	100	100	100
Awaran			
Health Facility Consulted	33	9	12
PERSON/FACILITY CONSULTED			
1. Home TBA	0	43	31
2. Home LHW	0	0	0
3. H0me LHV	0	0	0
4. Home Doctor	0	0	0
5. Govt. Hospital/RHC/BHU	75	28	41
6. Private Hospital/Clinic	25	29	28
7. Other	0	0	0
Total	100	100	100
Barkhan			
Health Facility Consulted	32	28	29
PERSON/FACILITY CONSULTED			
1. Home TBA	0	0	0
2. Home LHW	0	9	5
3. H0me LHV	0	38	21
4. Home Doctor	0	0	0
5. Govt. Hospital/RHC/BHU	75	33	51
6. Private Hospital/Clinic	25	20	22
7. Other	0	0	0
Total	100	100	100
Dera Bugti			
Health Facility Consulted	36	32	34
PERSON/FACILITY CONSULTED			
1. Home TBA	22	58	45
2. Home LHW	11	3	6
3. H0me LHV	0	0	0
4. Home Doctor	0	0	0
5. Govt. Hospital/RHC/BHU	44	36	39
6. Private Hospital/Clinic	22	2	10
7. Other	0	0	0
Total	100	100	100
Duki			
Health Facility Consulted	38	18	20
PERSON/FACILITY CONSULTED			
1. Home TBA	0	0	0
2. Home LHW	0	0	0
3. H0me LHV	100	46	59
4. Home Doctor	0	0	0
5. Govt. Hospital/RHC/BHU	0	9	7
6. Private Hospital/Clinic	0	44	34
7. Other	0	0	0
Total	100	100	100

TABLE 4.12: POST-NATAL CONSULTATIONS-BY PROVINCE AND DISTRICT

PROVINCE & DISTRICT	PERCENTAGE OF CASES		
	URBAN	RURAL	TOTAL
Gwadar			
Health Facility Consulted	19	23	21
PERSON/FACILITY CONSULTED			
1. Home TBA	13	39	29
2. Home LHW	0	0	0
3. H0me LHV	0	4	2
4. Home Doctor	0	0	0
5. Govt. Hospital/RHC/BHU	47	30	37
6. Private Hospital/Clinic	40	27	33
7. Other	0	0	0
Total	100	100	100
Harnai			
Health Facility Consulted	16	7	9
PERSON/FACILITY CONSULTED			
1. Home TBA	0	21	13
2. Home LHW	0	21	13
3. H0me LHV	0	0	0
4. Home Doctor	0	29	18
5. Govt. Hospital/RHC/BHU	100	29	56
6. Private Hospital/Clinic	0	0	0
7. Other	0	0	0
Total	100	100	100
Jafarabad			
Health Facility Consulted	61	37	41
PERSON/FACILITY CONSULTED			
1. Home TBA	0	0	0
2. Home LHW	0	0	0
3. H0me LHV	0	0	0
4. Home Doctor	0	0	0
5. Govt. Hospital/RHC/BHU	21	36	32
6. Private Hospital/Clinic	79	63	67
7. Other	0	1	1
Total	100	100	100
Bolan			
Health Facility Consulted	8	44	40
PERSON/FACILITY CONSULTED			
1. Home TBA	0	0	0
2. Home LHW	0	0	0
3. H0me LHV	0	0	0
4. Home Doctor	0	0	0
5. Govt. Hospital/RHC/BHU	0	73	72
6. Private Hospital/Clinic	100	27	28
7. Other	0	0	0
Total	100	100	100
Kalat			
Health Facility Consulted	0	27	27
PERSON/FACILITY CONSULTED			
1. Home TBA	0	8	8
2. Home LHW	0	2	2
3. H0me LHV	0	4	4
4. Home Doctor	0	0	0
5. Govt. Hospital/RHC/BHU	0	13	13
6. Private Hospital/Clinic	0	73	73
7. Other	0	0	0
Total	0	100	100

TABLE 4.12: POST-NATAL CONSULTATIONS-BY PROVINCE AND DISTRICT

PROVINCE & DISTRICT	PERCENTAGE OF CASES		
	URBAN	RURAL	TOTAL
Ketch			
Health Facility Consulted	38	16	24
PERSON/FACILITY CONSULTED			
1. Home TBA	0	3	1
2. Home LHW	5	0	3
3. H0me LHV	9	0	5
4. Home Doctor	0	0	0
5. Govt. Hospital/RHC/BHU	78	47	64
6. Private Hospital/Clinic	8	50	27
7. Other	0	0	0
Total	100	100	100
Kharan			
Health Facility Consulted	59	49	51
PERSON/FACILITY CONSULTED			
1. Home TBA	13	3	6
2. Home LHW	3	4	4
3. H0me LHV	76	49	56
4. Home Doctor	4	2	3
5. Govt. Hospital/RHC/BHU	4	5	5
6. Private Hospital/Clinic	0	0	0
7. Other	0	36	27
Total	100	100	100
Khuzdar			
Health Facility Consulted	0	2	2
PERSON/FACILITY CONSULTED			
1. Home TBA	0	48	48
2. Home LHW	0	9	9
3. H0me LHV	0	9	9
4. Home Doctor	0	0	0
5. Govt. Hospital/RHC/BHU	0	0	0
6. Private Hospital/Clinic	0	35	35
7. Other	0	0	0
Total	0	100	100
Kohlu			
Health Facility Consulted	0	14	12
PERSON/FACILITY CONSULTED			
1. Home TBA	0	0	0
2. Home LHW	0	0	0
3. H0me LHV	0	0	0
4. Home Doctor	0	0	0
5. Govt. Hospital/RHC/BHU	0	0	0
6. Private Hospital/Clinic	0	100	100
7. Other	0	0	0
Total	0	100	100
Lasbilla			
Health Facility Consulted	24	4	16
PERSON/FACILITY CONSULTED			
1. Home TBA	0	0	0
2. Home LHW	14	0	13
3. H0me LHV	0	0	0
4. Home Doctor	7	0	6
5. Govt. Hospital/RHC/BHU	54	0	48
6. Private Hospital/Clinic	25	100	33
7. Other	0	0	0
Total	100	100	100

TABLE 4.12: POST-NATAL CONSULTATIONS-BY PROVINCE AND DISTRICT

PROVINCE & DISTRICT	PERCENTAGE OF CASES		
	URBAN	RURAL	TOTAL
Loralai			
Health Facility Consulted	68	32	45
PERSON/FACILITY CONSULTED			
1. Home TBA	0	2	1
2. Home LHW	0	7	3
3. H0me LHV	10	10	10
4. Home Doctor	9	0	5
5. Govt. Hospital/RHC/BHU	68	65	67
6. Private Hospital/Clinic	13	16	14
7. Other	0	0	0
Total	100	100	100
Mastung			
Health Facility Consulted	30	23	25
PERSON/FACILITY CONSULTED			
1. Home TBA	0	7	5
2. Home LHW	0	0	0
3. H0me LHV	0	0	0
4. Home Doctor	0	0	0
5. Govt. Hospital/RHC/BHU	0	31	23
6. Private Hospital/Clinic	100	62	72
7. Other	0	0	0
Total	100	100	100
Nasirabad			
Health Facility Consulted	18	34	31
PERSON/FACILITY CONSULTED			
1. Home TBA	0	0	0
2. Home LHW	0	0	0
3. H0me LHV	0	0	0
4. Home Doctor	0	0	0
5. Govt. Hospital/RHC/BHU	0	20	18
6. Private Hospital/Clinic	100	80	82
7. Other	0	0	0
Total	100	100	100
Nushki			
Health Facility Consulted	83	66	71
PERSON/FACILITY CONSULTED			
1. Home TBA	2	1	1
2. Home LHW	3	2	2
3. H0me LHV	35	54	48
4. Home Doctor	23	1	8
5. Govt. Hospital/RHC/BHU	8	2	4
6. Private Hospital/Clinic	0	2	2
7. Other	29	36	34
Total	100	100	100
Pashin			
Health Facility Consulted	29	16	17
PERSON/FACILITY CONSULTED			
1. Home TBA	0	2	1
2. Home LHW	0	0	0
3. H0me LHV	7	2	3
4. Home Doctor	0	6	5
5. Govt. Hospital/RHC/BHU	30	45	41
6. Private Hospital/Clinic	62	45	49
7. Other	0	0	0
Total	100	100	100

TABLE 4.12: POST-NATAL CONSULTATIONS-BY PROVINCE AND DISTRICT

PROVINCE & DISTRICT	PERCENTAGE OF CASES		
	URBAN	RURAL	TOTAL
Qilla Abdullah			
Health Facility Consulted	55	29	35
PERSON/FACILITY CONSULTED			
1. Home TBA	1	2	2
2. Home LHW	0	0	0
3. H0me LHV	0	4	2
4. Home Doctor	2	4	3
5. Govt. Hospital/RHC/BHU	39	40	39
6. Private Hospital/Clinic	58	51	53
7. Other	0	0	0
Total	100	100	100
Qilla Saifullah			
Health Facility Consulted	0	13	13
PERSON/FACILITY CONSULTED			
1. Home TBA	0	0	0
2. Home LHW	0	0	0
3. H0me LHV	0	1	1
4. Home Doctor	0	0	0
5. Govt. Hospital/RHC/BHU	0	8	8
6. Private Hospital/Clinic	0	91	91
7. Other	0	0	0
Total	0	100	100
Quetta			
Health Facility Consulted	34	30	32
PERSON/FACILITY CONSULTED			
1. Home TBA	3	1	2
2. Home LHW	2	0	1
3. H0me LHV	2	4	3
4. Home Doctor	3	1	2
5. Govt. Hospital/RHC/BHU	59	41	48
6. Private Hospital/Clinic	31	51	43
7. Other	1	2	2
Total	100	100	100
Shaheed Sikandar Abad			
Health Facility Consulted	0	16	16
PERSON/FACILITY CONSULTED			
1. Home TBA	0	20	20
2. Home LHW	0	12	12
3. H0me LHV	0	14	14
4. Home Doctor	0	0	0
5. Govt. Hospital/RHC/BHU	0	38	38
6. Private Hospital/Clinic	0	16	16
7. Other	0	0	0
Total	0	100	100
Sheani			
Health Facility Consulted	0	29	29
PERSON/FACILITY CONSULTED			
1. Home TBA	0	3	3
2. Home LHW	0	0	0
3. H0me LHV	0	72	72
4. Home Doctor	0	0	0
5. Govt. Hospital/RHC/BHU	0	4	4
6. Private Hospital/Clinic	0	21	21
7. Other	0	0	0
Total	0	100	100

TABLE 4.12: POST-NATAL CONSULTATIONS-BY PROVINCE AND DISTRICT

PROVINCE & DISTRICT	PERCENTAGE OF CASES		
	URBAN	RURAL	TOTAL
Sibbi			
Health Facility Consulted	38	27	32
PERSON/FACILITY CONSULTED			
1. Home TBA	0	0	0
2. Home LHW	0	0	0
3. H0me LHV	0	0	0
4. Home Doctor	0	0	0
5. Govt. Hospital/RHC/BHU	45	100	71
6. Private Hospital/Clinic	55	0	29
7. Other	0	0	0
Total	100	100	100
Sohbatpur			
Health Facility Consulted	0	40	38
PERSON/FACILITY CONSULTED			
1. Home TBA	0	0	0
2. Home LHW	0	0	0
3. H0me LHV	0	0	0
4. Home Doctor	0	0	0
5. Govt. Hospital/RHC/BHU	0	13	13
6. Private Hospital/Clinic	0	87	87
7. Other	0	0	0
Total	0	100	100
Washuk			
Health Facility Consulted	20	52	47
PERSON/FACILITY CONSULTED			
1. Home TBA	25	22	22
2. Home LHW	0	2	2
3. H0me LHV	0	6	5
4. Home Doctor	0	2	1
5. Govt. Hospital/RHC/BHU	25	38	37
6. Private Hospital/Clinic	50	31	32
7. Other	0	0	0
Total	100	100	100
Ziarat			
Health Facility Consulted	0	7	6
PERSON/FACILITY CONSULTED			
1. Home TBA	0	0	0
2. Home LHW	0	0	0
3. H0me LHV	0	15	15
4. Home Doctor	0	0	0
5. Govt. Hospital/RHC/BHU	0	14	14
6. Private Hospital/Clinic	0	70	70
7. Other	0	0	0
Total	0	100	100

1. The Panjgur,Chaghi,Musa Khel,Zhob and Jhal Magsi districts have been dropped from the scope of the survey

5. Function Limitation and disability

Disability is a complex and dynamic process that presents considerable challenges for data collection. The definition of disability has changed over time and is currently conceptualized as the outcome of the interaction between a person with a functional limitation (difficulties doing basic functional activities) and an unaccommodating environment resulting in the inability to fully participate in society. Thus, to provide complete information on all aspects of disability would require extensive and detailed data collection on almost all aspects of life including body structure and function. Keeping in view these facts PSLM 2019-20 disability module comprises of 6 questions from Washington group disability module.

Table 5.1: Distribution of Functional Limitation by Functional Activities

Functions of Body	No Difficulty	Some Difficulty	A lot of Difficulty	Cannot do at all	Total
Seeing	96.4	2.9	.5	.2	100.0
Hearing	97.5	1.8	.4	.3	100.0
Walking or Climbing Steps	94.0	4.0	1.5	.5	100.0
Concentration	97.5	1.9	.4	.2	100.0
Washing all over or Dressing	97.7	1.6	.5	.2	100.0
communication	98.4	1.0	.3	.3	100.0

It is observed from data that 10.69 percent population of 5 years of age and above is suffering with functional limitation at least one disability. By adding cannot do at all and a lot of difficulty we have disable proportion of population i.e. 3.41.

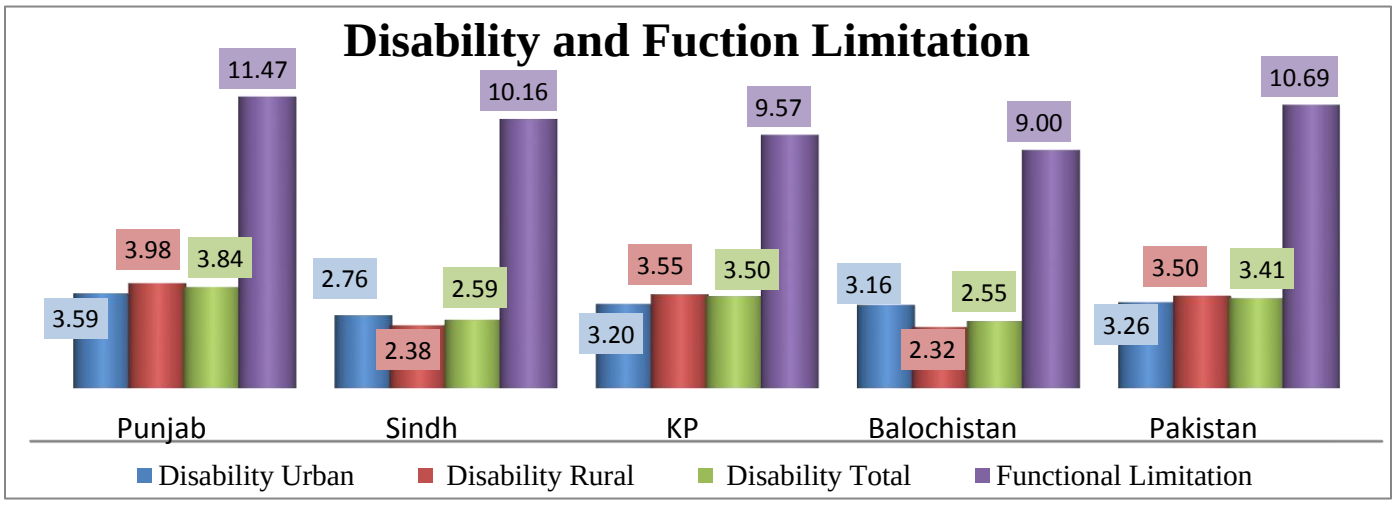

Table 4.2 : Function ability by Age group, Province and Region

Province	PSLM 2019-20					
	Age group	Cannot Do at all	A lot of Difficulty	Some Difficulty	No Difficulty	No Of Persons
Pakistan Overall	5 to 9	0.5	0.6	2.2	96.7	133017
	10 to 19	0.8	0.8	2.6	95.8	194451
	20 to 29	0.7	0.9	2.7	95.8	141530
	30 to 39	0.6	1.0	3.3	95.2	110561
	40 to 49	1.1	2.0	11.8	85.1	82142
	50 to 59	2.9	4.6	25.9	66.6	56414
	60 and Above	4.5	17.9	32.6	45.0	48733
	Total	1.1	2.3	7.3	89.3	766848
	Seeing	0.2	0.5	2.9	96.4	
	Hearing	0.3	0.4	1.8	97.5	
	Walking or Climbing Steps	0.5	1.5	4.0	94.0	
	Concentration	0.2	0.4	1.9	97.5	
	Washing all over or Dressing	0.2	0.5	1.6	97.7	
	communication	0.3	0.3	1.0	98.4	
	Total	1.1	2.3	7.3	89.3	
	Urban	1.1	2.2	8.2	88.5	228493
	Rural	1.1	2.4	6.7	89.8	538355
Punjab	Urban	1.2	2.4	8.1	88.3	115795
	Rural	1.3	2.7	7.4	88.6	258650
	Total	1.2	2.6	7.6	88.5	374445
Sindh	Urban	0.9	1.9	8.8	88.4	78433
	Rural	0.7	1.6	6.1	91.6	78572
	Total	0.8	1.8	7.6	89.8	157005
KP	Urban	1.0	2.2	6.8	90.0	20134
	Rural	1.2	2.3	5.9	90.5	140940
	Total	1.2	2.3	6.1	90.4	161074
Balochistan	Urban	1.2	2.0	8.1	88.7	14131
	Rural	0.8	1.5	5.8	91.9	60193
	Total	0.9	1.6	6.4	91.0	74324

Table 5.1 Percentage of Disable persons by Province and District

Province and District	Urban			Rural			Total		
	Male	Female	Total	Male	Female	Total	Male	Female	Total
Pakistan	**3.40**	**3.11**	**3.26**	**3.74**	**3.26**	**3.50**	**3.61**	**3.20**	**3.41**
Punjab	**3.83**	**3.35**	**3.59**	**4.33**	**3.62**	**3.98**	**4.14**	**3.52**	**3.84**
Attock	3.86	3.24	3.54	5.39	4.78	5.08	4.99	4.37	4.67
Bahawalnagar	4.26	5.39	4.80	4.59	4.30	4.45	4.53	4.52	4.53
Bahawalpur	3.51	2.60	3.06	4.97	3.44	4.18	4.50	3.18	3.83
Bhakhar	5.01	4.10	4.57	5.62	4.88	5.25	5.52	4.77	5.15
Chakwal	6.44	3.74	5.12	5.96	4.65	5.29	6.03	4.52	5.26
Chiniot	4.01	3.62	3.81	4.93	3.57	4.24	4.62	3.59	4.10
D. G. Khan	3.46	4.60	4.03	4.40	4.24	4.32	4.24	4.31	4.27
Faisalabad	3.39	2.97	3.18	4.89	3.85	4.37	4.16	3.44	3.80
Gujranwala	4.27	3.10	3.69	4.23	3.85	4.04	4.25	3.41	3.84
Gujrat	4.80	2.83	3.80	4.51	3.24	3.86	4.60	3.13	3.84
Hafizabad	3.08	2.67	2.88	3.85	3.55	3.70	3.59	3.23	3.41
Islamabad	4.25	3.54	3.92	3.71	2.70	3.23	3.98	3.12	3.58
Jehlum	6.20	4.25	5.18	6.00	4.65	5.31	6.04	4.56	5.28
Jhang	4.48	3.75	4.12	5.07	4.42	4.75	4.92	4.24	4.59
Kasur	3.40	3.05	3.23	2.94	2.63	2.80	3.05	2.73	2.90
Khanewal	3.24	2.43	2.83	4.34	3.52	3.93	4.13	3.31	3.72
Khushab	4.25	3.83	4.03	5.12	4.32	4.71	4.90	4.19	4.53
Lahore	3.64	3.13	3.39	-	-	-	3.64	3.13	3.39
Layyah	5.40	6.11	5.74	4.81	4.09	4.45	4.91	4.42	4.67
Lodhran	2.28	2.39	2.33	2.94	1.99	2.48	2.82	2.06	2.45
Mandi Bahauddin	5.38	4.00	4.70	4.64	3.94	4.28	4.76	3.95	4.34
Mianwali	6.40	5.43	5.91	6.18	4.82	5.48	6.23	4.95	5.57
Multan	3.40	3.24	3.32	3.18	2.61	2.91	3.27	2.88	3.08
Muzaffar Garh	4.55	3.77	4.16	3.94	3.71	3.83	4.03	3.72	3.88
Nankana Sahib	1.73	3.07	2.35	3.14	1.93	2.56	2.88	2.13	2.52
Narowal	4.02	1.97	2.94	3.83	2.99	3.37	3.86	2.82	3.29
Okara	2.52	1.44	1.98	3.35	2.66	3.01	3.13	2.32	2.72
Pakpattan	3.04	2.80	2.93	4.00	3.13	3.57	3.85	3.08	3.47
Rahim Yar Khan	3.78	4.50	4.12	4.64	4.34	4.50	4.47	4.37	4.42
Rajanpur	3.29	2.64	2.98	3.79	4.04	3.91	3.70	3.80	3.75
Rawalpindi	4.48	3.88	4.19	5.31	4.92	5.12	4.87	4.39	4.63
Sahiwal	3.04	5.53	4.30	5.29	3.28	4.27	4.82	3.74	4.27
Sargodha	4.60	4.72	4.66	5.93	4.39	5.14	5.53	4.48	5.00
Sheikhupura	3.21	3.11	3.16	2.90	2.59	2.75	3.00	2.77	2.89
Sialkot	4.52	3.55	4.01	3.14	2.58	2.84	3.54	2.87	3.19
T.T. Singh	3.90	2.92	3.41	4.89	4.07	4.47	4.66	3.81	4.23
Vehari	2.81	3.01	2.91	2.61	2.18	2.40	2.64	2.33	2.49

Province and District	Urban			Rural			Total		
	Male	Female	Total	Male	Female	Total	Male	Female	Total
Sindh	**2.82**	**2.71**	**2.76**	**2.45**	**2.31**	**2.38**	**2.65**	**2.52**	**2.59**
Badin	2.21	3.12	2.65	2.46	1.76	2.13	2.39	2.11	2.26
Dadu	3.99	3.19	3.61	1.61	1.03	1.34	2.20	1.57	1.91
Ghotki	3.05	2.29	2.69	1.84	2.06	1.94	2.07	2.11	2.09
Hyderabad	2.80	3.14	2.96	3.78	5.43	4.53	2.95	3.47	3.19
Jacobabad	2.37	2.46	2.41	2.37	2.46	2.41	2.37	2.46	2.41
Jamshoro	1.46	.84	1.17	3.33	2.80	3.10	2.72	2.10	2.44
Karachi Central	3.67	3.03	3.37	-	-	-	3.67	3.03	3.37
Karachi East	3.35	3.59	3.47	-	-	-	3.35	3.59	3.47
Karachi Malir	2.05	2.82	2.41	1.91	1.63	1.78	1.99	2.29	2.13
Karachi South	3.03	3.30	3.16	-	-	-	3.03	3.30	3.16
Karachi West	2.67	1.84	2.29	3.02	.51	1.91	2.69	1.77	2.27
Kashmore	1.16	.52	.85	2.58	2.79	2.68	2.27	2.30	2.29
Khairpur	2.34	2.85	2.58	2.68	2.87	2.77	2.58	2.87	2.72
Korangi	2.40	2.59	2.49	-	-	-	2.40	2.59	2.49
Larkana	1.70	.97	1.37	1.80	1.31	1.59	1.75	1.15	1.48
Matiari	2.72	2.35	2.54	2.31	3.09	2.68	2.40	2.92	2.65
Mir Pur Khas	2.95	2.73	2.84	1.51	2.07	1.78	1.88	2.24	2.05
Nowshero Feroze	1.22	1.25	1.23	2.11	2.25	2.17	1.96	2.08	2.02
Sanghar	1.74	2.07	1.90	2.80	2.34	2.58	2.50	2.27	2.39
Shahdadkot	1.29	1.14	1.22	1.11	2.07	1.52	1.17	1.76	1.42
Shaheed Banazir Abad	4.37	3.20	3.81	3.43	1.68	2.58	3.68	2.08	2.90
Shikarpur	2.05	2.07	2.06	2.39	2.54	2.46	2.30	2.43	2.36
Sujawal	2.06	0.00	1.08	3.24	1.77	2.57	3.16	1.64	2.46
Sukkur	2.82	2.61	2.72	1.69	2.34	2.00	2.20	2.46	2.32
Tando Allah Yar	3.70	6.31	4.95	3.27	2.66	2.98	3.40	3.82	3.60
Tando Muhammad Khan	1.62	.31	1.02	3.54	4.01	3.76	3.11	3.19	3.15
Tharparkar	3.82	2.06	3.06	2.69	2.79	2.74	2.78	2.74	2.76
Thatta	2.79	2.13	2.51	3.48	2.72	3.13	3.34	2.61	3.01
Umer Kot	4.46	4.85	4.64	3.56	2.78	3.20	3.78	3.26	3.54

Province and District	Urban			Rural			Total		
	Male	Female	Total	Male	Female	Total	Male	Female	Total
Khyber Pakhtunkhwa	**3.27**	**3.10**	**3.19**	**3.78**	**3.33**	**3.55**	**3.69**	**3.29**	**3.49**
Abbottabad	4.27	1.94	3.13	4.95	5.07	5.02	4.79	4.40	4.59
Bajur	-	-	-	3.67	3.29	3.47	3.67	3.29	3.47
Bannu	6.65	3.15	4.98	3.85	4.39	4.11	3.96	4.34	4.14
Batagram	-	-	-	3.08	3.34	3.21	3.08	3.34	3.21
Bunair	-	-	-	4.43	4.02	4.22	4.43	4.02	4.22
Charsada	5.16	6.11	5.65	3.41	3.06	3.23	3.76	3.68	3.72
Chitral	3.22	.42	1.93	4.72	3.45	4.10	4.54	3.12	3.86
D. I. Khan	3.44	.93	2.26	3.67	2.28	3.05	3.62	1.98	2.88
Hangu	4.19	3.90	4.04	4.56	4.23	4.38	4.51	4.19	4.34
Haripur	3.97	5.72	4.86	5.88	4.62	5.21	5.63	4.75	5.17
Karak	2.50	8.33	5.26	3.97	4.03	4.00	3.90	4.25	4.06
Khyber	1.89	1.04	1.49	2.11	1.63	1.89	2.07	1.53	1.82
Kohat	3.78	4.15	3.97	5.22	4.90	5.05	4.97	4.78	4.87
Kohistan	-	-	-	1.84	3.02	2.44	1.84	3.02	2.44
Kurram	-	-	-	3.88	3.01	3.41	3.88	3.01	3.41
Lakki Marwat	2.82	1.56	2.22	3.35	3.57	3.46	3.30	3.37	3.33
Lower Dir	3.88	4.04	3.96	3.42	2.00	2.70	3.42	2.02	2.71
Malakand	0.00	1.27	.62	4.47	4.05	4.26	4.05	3.80	3.92
Mansehra	2.71	5.82	4.19	4.05	3.17	3.60	3.96	3.34	3.64
Mardan	2.82	3.98	3.40	4.27	3.92	4.09	4.01	3.93	3.97
Mohmand	-	-	-	5.14	4.57	4.84	5.14	4.57	4.84
North Waziristan	-	-	-	2.59	2.25	2.44	2.59	2.25	2.44
Nowshera	3.42	3.31	3.37	3.98	3.27	3.62	3.86	3.28	3.57
Orakzai	-	-	-	1.89	1.66	1.77	1.89	1.66	1.77
Peshawar	3.21	2.79	3.01	3.69	2.83	3.28	3.47	2.81	3.15
Shangla	-	-	-	4.29	4.12	4.20	4.29	4.12	4.20
South Waziristan	-	-	-	2.79	2.43	2.64	2.79	2.43	2.64
Swabi	2.57	2.94	2.76	3.22	2.55	2.87	3.12	2.60	2.85
Swat	2.19	2.65	2.42	3.11	2.24	2.67	2.83	2.36	2.60
Tank	2.83	7.76	5.41	2.84	1.73	2.35	2.84	2.60	2.73
Tor Garh	-	-	-	3.71	3.98	3.85	3.71	3.98	3.85
Upper Dir	10.75	6.41	8.77	4.88	4.57	4.73	5.18	4.65	4.92

Province and District	Urban			Rural			Total		
	Male	Female	Total	Male	Female	Total	Male	Female	Total
Balochistan	**3.11**	**3.22**	**3.16**	**2.41**	**2.21**	**2.32**	**2.60**	**2.49**	**2.55**
Awaran	4.82	5.08	4.93	2.69	4.28	3.34	2.93	4.37	3.52
Barkhan	3.23	0.00	1.61	2.84	2.01	2.49	2.89	1.65	2.35
Dera Bugti	0.00	.56	.26	.66	.67	.66	.50	.63	.56
Duki	4.08	0.00	2.15	.56	.48	.53	.92	.43	.70
Gwadar	2.93	4.87	3.85	2.11	3.32	2.66	2.61	4.29	3.39
Harnai	1.38	1.97	1.63	3.56	2.79	3.21	2.90	2.57	2.75
Jaffarabad	1.97	1.92	1.94	2.05	1.93	2.00	2.02	1.93	1.98
Kachhi/ Bolan	9.00	5.72	7.52	3.12	3.66	3.36	3.84	3.91	3.87
Kalat	-	-	-	2.22	4.05	3.08	2.22	4.05	3.08
Kech/Turbat	2.29	3.56	2.88	2.08	2.36	2.21	2.15	2.76	2.44
Kharan	1.45	0.00	.80	1.59	1.01	1.32	1.56	.81	1.22
Khuzdar	-	-	-	3.81	3.17	3.53	3.81	3.17	3.53
Kohlu	3.70	2.70	3.30	12.48	8.34	10.69	10.98	7.45	9.47
Lasbela	1.80	3.67	2.55	1.16	2.86	1.92	1.51	3.26	2.25
Loralai	3.42	1.88	2.78	1.50	1.94	1.69	2.36	1.92	2.17
Mastung	.57	2.93	1.70	1.74	1.76	1.75	1.51	2.02	1.74
Nasirabad/ Tamboo	2.48	1.72	2.16	.84	.71	.79	1.16	.92	1.06
Nushki	1.54	.58	1.07	1.09	1.07	1.08	1.19	.96	1.08
Pishin	3.08	2.65	2.88	2.35	1.70	2.07	2.47	1.87	2.20
Qilla Abdullah	3.18	1.03	2.24	2.53	1.77	2.20	2.64	1.64	2.21
Qilla Saifullah	-	-	-	2.30	2.30	2.30	2.30	2.30	2.30
Quetta	4.27	4.29	4.28	2.72	1.96	2.38	3.40	2.99	3.22
Shaheed Sikandar Abad	-	-	-	3.25	5.09	4.08	3.25	5.09	4.08
Sherani	-	-	-	1.61	.61	1.13	1.61	.61	1.13
Sibbi	3.42	1.72	2.60	4.43	2.92	3.70	3.96	2.36	3.19
Sohbatpur	0.00	1.75	.85	2.93	1.71	2.37	2.67	1.72	2.23
Washuk	2.88	8.20	5.49	1.92	3.05	2.45	2.07	3.94	2.96
Ziarat	4.41	5.56	4.92	2.44	3.13	2.73	2.47	3.17	2.76

Table 5.2 Percentage of Persons with Functional Limitation by Province and Districts

Province and Districts	Urban			Rural			Total		
	Male	Female	Total	Male	Female	Total	Male	Female	Total
Pakistan	**11.57**	**11.41**	**11.49**	**10.53**	**9.90**	**10.22**	**10.92**	**10.45**	**10.69**
Punjab	**11.80**	**11.51**	**11.66**	**11.84**	**10.88**	**11.36**	**11.82**	**11.11**	**11.47**
Attock	10.44	11.73	11.10	11.22	11.87	11.55	11.01	11.83	11.43
Bahawalnagar	9.73	10.53	10.12	10.96	10.75	10.86	10.71	10.71	10.71
Bahawalpur	9.36	9.32	9.34	10.55	7.77	9.11	10.17	8.24	9.18
Bhakhar	10.53	11.94	11.21	14.93	11.62	13.28	14.27	11.67	12.98
Chakwal	12.22	9.44	10.86	13.30	11.13	12.19	13.13	10.88	11.99
Chiniot	9.76	9.06	9.41	11.94	9.60	10.76	11.20	9.42	10.30
D. G. Khan	9.50	12.79	11.15	10.99	11.36	11.17	10.73	11.62	11.17
Faisalabad	8.98	8.03	8.52	12.16	10.71	11.43	10.62	9.45	10.04
Gujranwala	16.13	15.76	15.94	13.31	12.20	12.76	14.98	14.29	14.64
Gujrat	13.88	13.71	13.79	15.89	13.64	14.72	15.30	13.66	14.46
Hafizabad	13.12	13.59	13.36	13.01	11.12	12.09	13.05	12.00	12.53
Islamabad	10.47	9.68	10.10	9.14	7.27	8.25	9.81	8.47	9.19
Jehlum	11.17	8.95	10.01	11.54	10.35	10.93	11.46	10.03	10.73
Jhang	12.68	13.14	12.91	14.26	13.12	13.70	13.85	13.13	13.49
Kasur	12.45	14.62	13.52	8.91	8.98	8.94	9.73	10.35	10.03
Khanewal	11.26	10.01	10.62	13.73	13.52	13.63	13.26	12.84	13.05
Khushab	11.18	12.09	11.66	14.56	13.59	14.06	13.69	13.19	13.43
Lahore	11.53	11.33	11.43				11.53	11.33	11.43
Layyah	12.18	12.65	12.41	11.24	11.22	11.23	11.40	11.45	11.43
Lodhran	9.42	8.82	9.14	7.92	7.48	7.71	8.18	7.71	7.95
Mandi Bahauddin	16.35	15.57	15.97	16.27	15.27	15.76	16.29	15.32	15.79
Mianwali	19.57	18.85	19.20	17.81	15.09	16.41	18.19	15.88	17.00
Multan	12.46	12.59	12.52	9.85	8.95	9.42	10.94	10.52	10.74
Muzaffar Garh	15.98	15.06	15.51	11.14	10.08	10.63	11.86	10.88	11.38
Nankana Sahib	7.44	8.91	8.12	9.62	8.99	9.31	9.22	8.97	9.10
Narowal	10.92	9.42	10.13	11.56	10.40	10.92	11.45	10.24	10.79
Okara	10.84	9.15	9.98	11.12	9.38	10.25	11.05	9.32	10.18
Pakpattan	10.49	6.25	8.44	13.06	11.69	12.38	12.66	10.88	11.78
Rahim Yar Khan	13.41	12.58	13.02	13.63	13.82	13.72	13.59	13.57	13.58
Rajanpur	8.27	6.89	7.61	8.34	9.87	9.07	8.33	9.36	8.82
Rawalpindi	11.62	11.61	11.62	12.29	11.44	11.87	11.93	11.53	11.74
Sahiwal	16.42	17.69	17.06	15.87	13.81	14.82	15.98	14.60	15.28
Sargodha	14.32	13.38	13.85	15.85	13.14	14.46	15.39	13.21	14.28
Sheikhupura	10.31	9.77	10.05	7.77	8.86	8.29	8.63	9.17	8.89
Sialkot	10.97	9.79	10.35	9.39	7.76	8.54	9.86	8.36	9.07
T.T. Singh	15.36	13.11	14.24	13.14	11.59	12.35	13.65	11.93	12.78
Vehari	9.97	9.95	9.96	6.88	6.15	6.52	7.41	6.85	7.13

Province and Districts	Urban			Rural			Total		
	Male	Female	Total	Male	Female	Total	Male	Female	Total
Sindh	**11.66**	**11.54**	**11.60**	**8.64**	**8.22**	**8.45**	**10.28**	**10.03**	**10.16**
Badin	11.05	12.16	11.58	8.47	6.78	7.67	9.12	8.15	8.66
Dadu	9.67	9.60	9.63	4.53	6.07	5.24	5.80	6.96	6.34
Ghotki	7.87	9.35	8.56	8.59	9.08	8.81	8.45	9.13	8.76
Hyderabad	11.92	12.59	12.24	11.14	11.87	11.47	11.80	12.49	12.13
Jacobabad	8.55	11.34	9.82	7.89	6.41	7.21	8.06	7.74	7.92
Jamshoro	4.06	5.07	4.53	11.33	10.69	11.05	8.97	8.69	8.84
Karachi Central	14.87	15.74	15.28				14.87	15.74	15.28
Karachi East	13.39	13.47	13.43				13.39	13.47	13.43
Karachi Malir	7.80	9.55	8.61	7.34	5.58	6.53	7.60	7.81	7.69
Karachi South	12.91	14.32	13.58				12.91	14.32	13.58
Karachi West	11.04	8.85	10.04	10.08	7.23	8.82	10.99	8.78	9.98
Kashmore	6.70	6.04	6.38	7.47	6.19	6.86	7.31	6.16	6.76
Khairpur	8.00	9.57	8.74	8.22	8.75	8.47	8.16	8.99	8.55
Korangi	12.67	10.85	11.81				12.67	10.85	11.81
Larkana	17.60	13.25	15.66	10.26	8.30	9.40	13.71	10.67	12.37
Matiari	7.79	10.71	9.21	9.98	8.97	9.50	9.51	9.36	9.43
Mir Pur Khas	14.47	13.45	13.99	8.35	9.04	8.67	9.91	10.18	10.04
Nowshero Feroze	8.60	10.68	9.59	8.71	10.37	9.50	8.69	10.42	9.52
Sanghar	6.28	7.04	6.64	7.42	6.31	6.89	7.11	6.51	6.82
Shahdadkot	8.59	4.67	6.87	9.65	7.48	8.74	9.31	6.53	8.13
Shaheed Banazir Abad	8.12	8.80	8.45	8.02	4.96	6.53	8.05	5.97	7.04
Shikarpur	7.10	8.85	7.94	8.76	10.23	9.47	8.34	9.89	9.09
Sujawal	2.83	.85	1.89	10.16	7.98	9.17	9.65	7.45	8.64
Sukkur	10.25	10.22	10.23	7.95	9.71	8.79	8.98	9.93	9.43
Tando Allah Yar	10.27	11.77	10.99	10.45	11.34	10.87	10.39	11.47	10.91
Tando Muhammad Khan	4.50	3.53	4.05	14.83	14.31	14.59	12.53	11.93	12.25
Tharparkar	4.57	8.98	6.48	7.72	8.11	7.90	7.47	8.17	7.80
Thatta	8.80	7.01	8.04	10.89	9.67	10.34	10.46	9.17	9.88
Umer Kot	15.91	17.05	16.44	10.75	9.58	10.20	11.97	11.33	11.67

Province and Districts	Urban			Rural			Total		
	Male	Female	Total	Male	Female	Total	Male	Female	Total
Khyber Pakhtunkhwa	**9.83**	**10.15**	**9.98**	**9.73**	**9.23**	**9.48**	**9.75**	**9.38**	**9.56**
Abbottabad	11.29	9.21	10.27	13.38	12.48	12.90	12.87	11.79	12.30
Bajur				7.25	7.08	7.16	7.25	7.08	7.16
Bannu	16.18	15.21	15.72	13.68	14.86	14.23	13.77	14.87	14.29
Batagram				9.70	9.75	9.72	9.70	9.75	9.72
Bunair				10.28	10.53	10.41	10.28	10.53	10.41
Charsada	15.89	16.90	16.41	9.68	7.92	8.78	10.94	9.75	10.33
Chitral	5.36	5.90	5.61	10.85	7.86	9.39	10.20	7.65	8.96
D. I. Khan	10.61	8.85	9.78	8.09	7.73	7.93	8.61	7.98	8.33
Hangu	12.41	10.93	11.63	10.34	10.96	10.67	10.59	10.95	10.78
Haripur	11.99	13.29	12.65	15.69	12.61	14.06	15.21	12.69	13.89
Karak	11.25	20.83	15.79	14.59	14.34	14.48	14.42	14.68	14.54
Khyber	3.77	4.17	3.96	5.60	5.58	5.59	5.30	5.34	5.32
Kohat	10.26	9.12	9.68	14.28	14.44	14.36	13.58	13.58	13.58
Kohistan				5.73	6.51	6.12	5.73	6.51	6.12
Kurram				8.41	8.70	8.57	8.41	8.70	8.57
Lakki Marwat	14.28	16.45	15.31	10.94	12.34	11.59	11.27	12.76	11.96
Lower Dir	4.85	9.09	6.93	7.04	4.94	5.98	7.02	4.98	5.99
Malakand	3.66	8.86	6.21	9.23	8.82	9.02	8.70	8.82	8.76
Mansehra	9.80	10.33	10.05	10.86	9.16	9.99	10.78	9.23	9.99
Mardan	7.97	9.52	8.74	11.64	10.21	10.91	10.99	10.10	10.54
Mohmand				11.29	7.75	9.41	11.29	7.75	9.41
North Waziristan				7.46	8.46	7.89	7.46	8.46	7.89
Nowshera	9.41	9.76	9.58	10.76	9.91	10.33	10.46	9.88	10.17
Orakzai				8.99	7.74	8.37	8.99	7.74	8.37
Peshawar	9.69	10.77	10.22	8.88	8.01	8.46	9.25	9.28	9.26
Shangla				8.12	9.54	8.87	8.12	9.54	8.87
South Waziristan				7.86	8.79	8.26	7.86	8.79	8.26
Swabi	8.63	8.03	8.32	8.48	7.72	8.09	8.50	7.77	8.13
Swat	8.22	6.73	7.49	6.67	6.56	6.62	7.14	6.61	6.88
Tank	5.66	11.21	8.56	6.85	6.73	6.80	6.72	7.38	7.02
Tor Garh				8.09	9.56	8.89	8.09	9.56	8.89
Upper Dir	18.28	11.54	15.20	9.30	8.65	8.98	9.75	8.77	9.27

Province and Districts	Urban			Rural			Total		
	Male	Female	Total	Male	Female	Total	Male	Female	Total
Balochistan	**11.02**	**11.55**	**11.26**	**8.09**	**8.16**	**8.12**	**8.90**	**9.11**	**9.00**
Awaran	6.02	6.78	6.34	4.69	5.77	5.13	4.84	5.89	5.27
Barkhan	12.90	8.06	10.48	11.42	10.63	11.09	11.63	10.17	10.99
Dera Bugti	2.45	1.67	2.08	2.10	1.69	1.93	2.19	1.68	1.97
Duki	6.12	4.55	5.38	5.83	5.67	5.76	5.86	5.54	5.72
Gwadar	18.70	24.04	21.23	8.71	12.45	10.42	14.79	19.68	17.08
Harnai	8.91	5.29	7.41	14.76	11.19	13.15	12.98	9.57	11.48
Jaffarabad	6.61	6.25	6.44	4.39	4.82	4.58	5.10	5.30	5.19
Kachhi/ Bolan	22.67	10.09	16.99	9.90	7.97	9.03	11.48	8.23	10.02
Kalat				7.69	12.16	9.78	7.69	12.16	9.78
Kech/Turbat	9.72	13.07	11.29	9.05	12.51	10.69	9.28	12.70	10.89
Kharan	8.28	8.42	8.34	5.01	4.58	4.81	5.67	5.34	5.52
Khuzdar				6.09	6.51	6.28	6.09	6.51	6.28
Kohlu	22.22	10.81	17.58	35.70	30.73	33.55	33.39	27.61	30.92
Lasbela	8.22	12.06	9.75	14.60	12.36	13.60	11.13	12.21	11.59
Loralai	13.06	9.24	11.48	6.79	6.54	6.68	9.60	7.67	8.76
Mastung	7.55	12.26	9.80	6.25	7.32	6.73	6.51	8.39	7.37
Nasirabad/ Tamboo	6.56	5.02	5.90	3.43	3.26	3.36	4.02	3.62	3.86
Nushki	3.89	6.12	4.98	5.19	4.09	4.67	4.90	4.58	4.75
Pishin	7.44	6.47	6.99	9.61	8.29	9.04	9.27	7.98	8.70
Qilla Abdullah	7.30	4.39	6.03	6.21	5.50	5.91	6.39	5.31	5.93
Qilla Saifullah				6.02	6.42	6.19	6.02	6.42	6.19
Quetta	14.06	14.15	14.10	9.76	8.89	9.37	11.65	11.22	11.45
Shaheed Sikandar Abad				10.61	19.17	14.50	10.61	19.17	14.50
Sherani				5.48	2.81	4.19	5.48	2.81	4.19
Sibbi	9.51	9.17	9.35	10.48	9.65	10.08	10.03	9.42	9.74
Sohbatpur	6.67	3.51	5.13	5.34	4.00	4.73	5.46	3.95	4.76
Washuk	12.94	20.88	16.84	8.70	10.21	9.41	9.39	12.06	10.66
Ziarat	10.29	7.41	9.02	9.44	8.73	9.14	9.45	8.71	9.14

Table 5.3 Percentage of Functional ability by Age group.

Province & District	Age Groups	Cant_Do_at_all	Alot_of_Difficulty	Some_Difficulty	No_Difficulty
Pakistan	0 to 9	.50	.78	2.56	96.70
	10 to 19	.78	.99	3.16	95.83
	20 to 29	.72	1.03	3.11	95.74
	30 to 39	.56	1.09	3.72	95.15
	40 to 49	1.10	2.14	12.65	85.08
	50 to 59	2.91	4.82	28.07	66.57
	60 and Above	4.53	19.12	44.55	45.00
	Total	**1.12**	**2.53**	**8.64**	**89.29**
Punjab	0 to 9	.59	.83	2.87	96.27
	10 to 19	.87	1.16	3.54	95.33
	20 to 29	.77	1.15	3.54	95.23
	30 to 39	.60	1.31	3.96	94.75
	40 to 49	1.21	2.50	12.66	84.77
	50 to 59	2.98	5.09	26.55	67.79
	60 and Above	4.64	19.33	43.34	45.93
	Total	**1.24**	**2.88**	**9.15**	**88.52**
Attock	0 to 9	.93	.74	1.01	97.71
	10 to 19	.87	1.36	2.40	96.19
	20 to 29	1.05	.89	2.27	96.31
	30 to 39	1.03	.83	2.74	95.77
	40 to 49	1.73	2.14	10.29	87.79
	50 to 59	3.93	4.51	21.10	72.75
	60 and Above	3.52	20.24	34.00	53.17
	Total	**1.62**	**3.46**	**8.38**	**88.50**
Bahawalnagar	0 to 9	.61	.89	2.47	96.47
	10 to 19	1.27	1.57	3.32	94.95
	20 to 29	.97	1.68	2.21	95.64
	30 to 39	.67	1.54	2.92	95.48
	40 to 49	1.12	3.01	11.83	85.19
	50 to 59	2.65	5.71	22.74	71.20
	60 and Above	5.57	22.74	34.18	49.51
	Total	**1.41**	**3.46**	**7.52**	**89.29**
Bahawalpur	0 to 9	.98	1.34	1.27	97.07
	10 to 19	.81	1.36	2.42	96.18
	20 to 29	.80	1.61	2.53	95.67
	30 to 39	.29	1.53	2.48	96.20
	40 to 49	1.16	2.58	9.20	87.76
	50 to 59	2.77	4.78	19.92	73.93
	60 and Above	4.21	17.73	36.85	51.16
	Total	**1.17**	**2.85**	**6.47**	**90.82**

Table 5.3 Percentage of Functional ability by Age group.

Province & District	Age Groups	Cant_Do_at_all	Alot_of_Difficulty	Some_Difficulty	No_Difficulty
Bhakhar	0 to 9	.40	1.89	2.96	95.28
	10 to 19	.69	2.19	3.89	94.12
	20 to 29	.57	1.73	5.03	93.23
	30 to 39	.96	2.20	5.65	91.88
	40 to 49	.87	3.29	14.92	81.81
	50 to 59	3.51	5.51	23.34	68.98
	60 and Above	3.31	27.87	40.85	39.93
	Total	**1.07**	**4.18**	**9.33**	**86.96**
Chakwal	0 to 9	1.17	1.25	1.62	96.79
	10 to 19	1.16	1.82	1.86	95.88
	20 to 29	.78	.90	3.70	95.27
	30 to 39	1.58	1.55	3.18	94.94
	40 to 49	2.00	2.74	8.32	88.21
	50 to 59	2.02	4.31	20.41	75.05
	60 and Above	4.40	19.53	32.96	54.69
	Total	**1.71**	**3.94**	**8.56**	**88.01**
Chiniot	0 to 9	.44	1.20	2.24	96.78
	10 to 19	.82	1.39	2.69	96.07
	20 to 29	.62	.90	2.76	96.26
	30 to 39	.88	1.14	3.35	95.65
	40 to 49	.78	1.62	14.16	84.28
	50 to 59	2.93	6.84	20.90	71.64
	60 and Above	2.99	18.66	28.87	57.94
	Total	**1.09**	**3.19**	**7.61**	**89.70**
D. G. Khan	0 to 9	.71	1.07	4.97	94.25
	10 to 19	.69	.81	3.36	95.80
	20 to 29	.40	.53	2.94	96.66
	30 to 39	.95	1.26	3.74	94.85
	40 to 49	1.98	1.62	8.42	88.24
	50 to 59	2.51	3.19	26.97	69.23
	60 and Above	13.61	27.37	52.02	36.91
	Total	**1.83**	**2.98**	**9.19**	**88.83**
Faisalabad	0 to 9	.41	.54	1.31	98.17
	10 to 19	.91	1.11	2.95	96.09
	20 to 29	.69	1.20	2.69	96.00
	30 to 39	.57	1.26	2.48	96.23
	40 to 49	1.52	2.50	12.86	84.16
	50 to 59	2.89	5.12	23.09	70.41
	60 and Above	5.16	19.65	34.93	51.99
	Total	**1.26**	**2.82**	**7.52**	**89.96**

Table 5.3 Percentage of Functional ability by Age group.

Province & District	Age Groups	Cant_Do_at_all	Alot_of_Difficulty	Some_Difficulty	No_Difficulty
Gujranwala	0 to 9	.78	.97	6.03	93.08
	10 to 19	.99	1.00	4.62	94.21
	20 to 29	.82	1.42	4.30	94.38
	30 to 39	.63	1.21	5.77	93.12
	40 to 49	1.11	2.95	19.84	77.06
	50 to 59	3.08	5.79	36.50	57.57
	60 and Above	4.46	17.84	51.55	39.40
	Total	**1.29**	**2.85**	**12.35**	**85.36**
Gujrat	0 to 9	.77	.59	8.59	90.50
	10 to 19	1.03	.87	3.70	95.31
	20 to 29	1.12	.89	3.44	95.24
	30 to 39	.89	1.20	3.51	94.72
	40 to 49	.75	.91	16.55	82.18
	50 to 59	2.29	3.86	31.29	64.29
	60 and Above	3.86	18.16	46.14	43.77
	Total	**1.33**	**2.74**	**12.14**	**85.54**
Hafizabad	0 to 9	.75	.71	6.07	92.80
	10 to 19	.88	1.08	3.71	95.07
	20 to 29	.64	.61	3.42	95.82
	30 to 39	.83	.63	3.90	95.42
	40 to 49	2.19	1.50	13.88	83.07
	50 to 59	2.89	4.24	29.34	64.80
	60 and Above	5.73	15.41	46.29	43.87
	Total	**1.47**	**2.20**	**10.28**	**87.47**
Islamabad	0 to 9	.31	.52	1.89	97.25
	10 to 19	.96	.85	1.72	97.09
	20 to 29	.70	1.01	2.71	96.04
	30 to 39	.56	1.19	2.77	95.90
	40 to 49	.70	2.08	9.61	87.84
	50 to 59	2.34	3.80	14.83	79.88
	60 and Above	4.70	17.35	29.05	55.32
	Total	**1.16**	**2.64**	**6.43**	**90.69**
Jehlum	0 to 9	.66	1.08	1.35	97.26
	10 to 19	1.50	1.27	2.26	96.32
	20 to 29	1.67	1.30	2.52	95.65
	30 to 39	1.33	.95	1.34	96.90
	40 to 49	1.01	1.47	7.45	90.57
	50 to 59	4.11	5.14	19.49	73.45
	60 and Above	7.21	19.83	31.51	53.63
	Total	**2.17**	**3.50**	**7.23**	**89.27**

Table 5.3 Percentage of Functional ability by Age group.

Province & District	Age Groups	Cant_Do_at_all	Alot_of_Difficulty	Some_Difficulty	No_Difficulty
Jhang	0 to 9	.89	.70	3.46	95.90
	10 to 19	1.97	1.43	4.53	93.62
	20 to 29	1.29	1.66	5.15	92.97
	30 to 39	1.07	1.66	5.99	92.48
	40 to 49	1.59	2.22	15.53	82.21
	50 to 59	3.88	8.22	30.73	61.06
	60 and Above	5.87	17.92	43.52	46.66
	Total	**1.94**	**3.18**	**10.76**	**86.51**
Kasur	0 to 9	.41	.83	2.44	96.73
	10 to 19	.54	.90	3.65	95.44
	20 to 29	.57	.59	3.53	95.67
	30 to 39	.70	1.31	4.52	94.18
	40 to 49	1.20	1.69	10.84	87.12
	50 to 59	2.39	5.65	27.65	66.41
	60 and Above	3.60	14.63	38.83	52.06
	Total	**.93**	**2.12**	**8.13**	**89.97**
Khanewal	0 to 9	.27	1.05	4.87	94.50
	10 to 19	1.25	1.36	6.80	91.99
	20 to 29	.92	1.58	5.58	93.20
	30 to 39	.57	1.61	6.29	92.26
	40 to 49	1.81	2.44	13.98	83.30
	50 to 59	3.57	4.04	28.18	67.43
	60 and Above	5.14	14.88	40.63	50.36
	Total	**1.44**	**2.62**	**10.96**	**86.95**
Khushab	0 to 9	.77	1.14	2.00	96.86
	10 to 19	.67	1.08	3.04	96.05
	20 to 29	1.02	1.44	2.72	95.64
	30 to 39	.92	1.20	3.51	94.65
	40 to 49	.58	2.22	14.52	83.82
	50 to 59	3.13	3.93	27.41	67.76
	60 and Above	4.89	20.41	50.64	39.45
	Total	**1.40**	**3.44**	**10.93**	**86.57**
Lahore	0 to 9	.53	.95	1.97	97.12
	10 to 19	.71	1.18	2.91	95.93
	20 to 29	.75	.82	2.74	96.16
	30 to 39	.39	1.14	3.78	95.25
	40 to 49	.92	2.60	13.08	84.54
	50 to 59	3.10	4.58	30.26	64.86
	60 and Above	3.54	16.47	46.63	44.40
	Total	**1.06**	**2.58**	**9.38**	**88.54**

Table 5.3 Percentage of Functional ability by Age group.

Province & District	Age Groups	Cant_Do_at_all	Alot_of_Difficulty	Some_Difficulty	No_Difficulty
Layyah	0 to 9	1.70	.70	2.04	96.40
	10 to 19	.66	.57	2.93	96.16
	20 to 29	.92	1.09	3.41	95.82
	30 to 39	.52	2.15	4.07	94.24
	40 to 49	1.14	2.70	11.72	85.91
	50 to 59	1.39	6.54	29.57	63.68
	60 and Above	11.41	35.37	59.19	28.55
	Total	**1.60**	**3.58**	**9.10**	**88.57**
Lodhran	0 to 9	.10	.63	.92	98.44
	10 to 19	.58	.73	1.98	96.87
	20 to 29	.22	1.37	3.02	95.73
	30 to 39	.62	.91	2.28	96.66
	40 to 49	.75	1.15	9.78	88.96
	50 to 59	3.20	3.67	18.87	75.80
	60 and Above	2.85	13.08	38.80	53.62
	Total	**.77**	**1.79**	**6.22**	**92.05**
Mandi Bahauddin	0 to 9	.43	.34	7.97	91.83
	10 to 19	1.82	1.08	4.21	94.46
	20 to 29	1.55	1.22	4.35	93.84
	30 to 39	.38	1.35	5.71	93.08
	40 to 49	1.50	2.11	14.84	82.68
	50 to 59	2.39	3.87	32.83	63.05
	60 and Above	4.64	18.42	54.61	36.88
	Total	**1.66**	**2.98**	**13.50**	**84.21**
Mianwali	0 to 9	.25	1.46	3.62	95.46
	10 to 19	.35	2.16	4.79	93.58
	20 to 29	.62	1.50	5.26	93.34
	30 to 39	.42	2.06	5.71	93.24
	40 to 49	.98	3.36	17.19	80.33
	50 to 59	2.95	7.55	44.35	49.32
	60 and Above	3.37	30.31	64.39	25.65
	Total	**.94**	**4.82**	**14.44**	**83.00**
Multan	0 to 9	.54	.83	1.97	97.24
	10 to 19	.76	1.10	3.50	95.40
	20 to 29	.61	1.15	3.83	95.10
	30 to 39	.52	1.20	4.67	94.20
	40 to 49	1.03	2.48	12.42	85.58
	50 to 59	2.96	4.51	29.33	65.17
	60 and Above	2.76	16.85	45.98	44.78
	Total	**.96**	**2.38**	**8.80**	**89.26**

Table 5.3 Percentage of Functional ability by Age group.

Province & District	Age Groups	Cant_Do_at_all	Alot_of_Difficulty	Some_Difficulty	No_Difficulty
Muzaffar Garh	0 to 9	.45	.95	2.42	96.64
	10 to 19	.87	1.66	4.92	93.81
	20 to 29	.67	1.59	6.26	92.64
	30 to 39	.33	2.04	5.14	93.64
	40 to 49	.98	6.40	15.01	80.96
	50 to 59	1.96	9.31	32.08	63.36
	60 and Above	3.79	17.08	49.45	41.00
	Total	**.88**	**3.19**	**9.36**	**88.62**
Nankana Sahib	0 to 9	.49	.28	.75	98.88
	10 to 19	.64	.65	1.22	97.98
	20 to 29	.81	.66	1.50	97.47
	30 to 39	.72	.47	2.57	96.40
	40 to 49	1.49	2.25	9.92	87.00
	50 to 59	3.81	1.69	27.63	67.35
	60 and Above	2.60	11.74	39.54	49.18
	Total	**1.14**	**1.55**	**7.01**	**90.90**
Narowal	0 to 9	.49	.54	3.93	95.49
	10 to 19	.45	1.19	4.64	94.21
	20 to 29	1.14	1.18	3.97	94.41
	30 to 39	.78	.78	3.97	95.04
	40 to 49	1.50	1.91	10.85	86.25
	50 to 59	4.35	3.26	19.90	73.29
	60 and Above	3.93	10.96	28.39	61.44
	Total	**1.32**	**2.16**	**8.25**	**89.21**
Okara	0 to 9	.79	.58	2.58	96.50
	10 to 19	.75	.47	4.19	94.96
	20 to 29	.53	.69	2.86	96.17
	30 to 39	.41	.44	3.48	95.94
	40 to 49	.98	1.09	8.79	89.59
	50 to 59	2.51	3.06	24.45	71.55
	60 and Above	4.78	17.08	47.64	44.38
	Total	**1.09**	**1.86**	**8.53**	**89.82**
Pakpattan	0 to 9	.56	.31	3.28	96.36
	10 to 19	.85	1.07	4.22	95.02
	20 to 29	.75	.80	3.41	95.76
	30 to 39	.91	.78	4.49	94.27
	40 to 49	.76	2.34	12.79	85.19
	50 to 59	3.04	5.40	27.76	66.09
	60 and Above	4.85	21.75	57.42	34.55
	Total	**1.20**	**2.59**	**10.00**	**88.22**

Table 5.3 Percentage of Functional ability by Age group.

Province & District	Age Groups	Cant_Do_at_all	Alot_of_Difficulty	Some_Difficulty	No_Difficulty
Rahim Yar Khan	0 to 9	.28	.75	4.07	95.19
	10 to 19	.65	1.81	5.29	93.71
	20 to 29	.41	1.89	5.68	92.99
	30 to 39	.47	1.97	5.82	92.27
	40 to 49	1.21	2.39	15.61	81.68
	50 to 59	2.67	7.14	30.34	63.53
	60 and Above	3.29	27.37	55.96	31.65
	Total	**.87**	**3.71**	**11.20**	**86.42**
Rajanpur	0 to 9	.68	1.42	4.36	94.96
	10 to 19	1.28	1.09	2.80	96.05
	20 to 29	.68	.91	2.69	96.71
	30 to 39	.85	.79	2.12	96.53
	40 to 49	1.31	1.16	8.30	90.02
	50 to 59	3.51	1.82	18.26	77.48
	60 and Above	12.48	25.70	50.80	42.36
	Total	**1.77**	**2.57**	**7.28**	**91.18**
Rawalpindi	0 to 9	.41	.73	2.32	97.16
	10 to 19	.73	1.03	2.77	96.18
	20 to 29	.70	1.02	3.29	95.55
	30 to 39	.99	1.86	3.32	94.70
	40 to 49	1.36	3.01	10.75	86.33
	50 to 59	3.53	5.87	21.34	72.59
	60 and Above	4.52	20.91	40.53	48.51
	Total	**1.40**	**3.62**	**9.00**	**88.26**
Sahiwal	0 to 9	.80	1.18	3.72	95.24
	10 to 19	.93	1.09	4.66	94.14
	20 to 29	1.27	1.68	5.41	93.14
	30 to 39	.29	1.74	5.68	93.36
	40 to 49	.93	2.57	17.40	80.81
	50 to 59	2.26	7.16	37.31	57.30
	60 and Above	4.31	24.35	66.80	25.80
	Total	**1.22**	**3.58**	**13.25**	**84.72**
Sargodha	0 to 9	.46	.61	2.27	97.05
	10 to 19	1.14	1.43	3.49	95.39
	20 to 29	.88	1.28	3.48	95.14
	30 to 39	.63	1.81	5.78	92.76
	40 to 49	1.40	3.17	14.28	82.66
	50 to 59	2.88	6.80	33.86	60.54
	60 and Above	3.98	26.28	54.45	34.95
	Total	**1.34**	**4.08**	**11.73**	**85.72**

Table 5.3 Percentage of Functional ability by Age group.

Province & District	Age Groups	Cant_Do_at_all	Alot_of_Difficulty	Some_Difficulty	No_Difficulty
Sheikhupura	0 to 9	.32	.70	1.67	97.70
	10 to 19	.68	.89	2.64	96.26
	20 to 29	.91	1.10	3.07	95.78
	30 to 39	.53	.50	2.75	96.48
	40 to 49	.90	2.11	9.81	88.29
	50 to 59	2.39	4.08	22.13	72.46
	60 and Above	4.17	14.75	36.63	52.87
	Total	**1.02**	**2.04**	**6.92**	**91.11**
Sialkot	0 to 9	.57	.35	2.66	96.34
	10 to 19	.52	.94	3.68	95.60
	20 to 29	.46	.71	3.62	95.42
	30 to 39	.13	.75	2.98	95.88
	40 to 49	1.69	2.54	9.15	87.62
	50 to 59	4.43	2.56	15.93	77.71
	60 and Above	3.97	14.45	26.93	61.14
	Total	**1.14**	**2.16**	**6.76**	**90.81**
T.T. Singh	0 to 9	1.18	.95	2.92	96.19
	10 to 19	1.14	1.26	4.13	94.81
	20 to 29	.68	1.43	4.19	94.39
	30 to 39	.42	1.25	5.05	93.66
	40 to 49	1.63	2.51	13.96	82.89
	50 to 59	1.85	5.81	24.49	70.67
	60 and Above	4.65	20.55	47.52	41.18
	Total	**1.35**	**3.28**	**10.30**	**87.22**
Vehari	0 to 9	.94	.30	.73	98.49
	10 to 19	.67	.28	1.46	97.88
	20 to 29	1.10	.49	1.39	97.34
	30 to 39	.52	.73	1.89	97.20
	40 to 49	.83	1.92	10.63	87.29
	50 to 59	4.32	3.76	17.30	75.31
	60 and Above	2.16	11.60	29.31	63.66
	Total	**1.15**	**1.54**	**5.26**	**92.87**

Table 5.3 Percentage of Functional ability by Age group.

Province & District	Age Groups	Cant_Do_at_all	Alot_of_Difficulty	Some_Difficulty	No_Difficulty
Sindh	0 to 9	.25	.82	2.86	96.65
	10 to 19	.57	.86	2.98	96.20
	20 to 29	.54	.83	2.73	96.33
	30 to 39	.42	.80	3.62	95.53
	40 to 49	.89	1.64	13.01	85.21
	50 to 59	2.47	3.92	32.24	63.67
	60 and Above	4.02	16.39	51.42	40.66
	Total	**.83**	**1.93**	**8.68**	**89.83**
Badin	0 to 9	.12	1.26	2.17	97.31
	10 to 19	.71	.95	2.16	97.12
	20 to 29	.29	.48	1.02	98.43
	30 to 39	.33	.58	2.64	96.75
	40 to 49	.51	1.21	14.19	85.14
	50 to 59	3.86	3.77	42.51	52.35
	60 and Above	6.09	17.41	63.57	29.74
	Total	**.79**	**1.68**	**7.58**	**91.34**
Dadu	0 to 9	0.00	.88	1.51	97.80
	10 to 19	.16	1.49	2.65	96.04
	20 to 29	0.00	1.57	2.06	97.12
	30 to 39	0.00	.77	1.54	97.84
	40 to 49	.52	2.54	9.58	88.10
	50 to 59	1.33	3.15	26.85	70.55
	60 and Above	3.04	12.12	34.70	57.34
	Total	**.24**	**1.69**	**5.04**	**93.66**
Ghotki	0 to 9	.35	1.16	1.68	97.22
	10 to 19	.68	.72	2.08	96.63
	20 to 29	.31	1.02	3.55	95.73
	30 to 39	.50	.75	3.94	95.10
	40 to 49	.47	.91	14.95	83.98
	50 to 59	1.58	3.78	28.99	67.24
	60 and Above	4.94	10.14	43.14	46.40
	Total	**.72**	**1.45**	**7.17**	**91.24**
Hyderabad	0 to 9	0.00	.62	2.17	97.66
	10 to 19	.35	.78	2.87	96.79
	20 to 29	.82	.43	2.86	96.33
	30 to 39	.60	.72	4.35	94.60
	40 to 49	.12	3.36	20.14	78.46
	50 to 59	2.27	8.71	51.12	44.67
	60 and Above	2.77	27.00	63.75	32.42
	Total	**.64**	**2.65**	**11.05**	**87.87**

Table 5.3 Percentage of Functional ability by Age group.

Province & District	Age Groups	Cant_Do_at_all	Alot_of_Difficulty	Some_Difficulty	No_Difficulty
Jacobabad	0 to 9	.49	1.01	2.30	96.42
	10 to 19	.47	1.46	4.62	94.29
	20 to 29	.85	1.58	2.66	95.74
	30 to 39	.25	.90	3.70	95.34
	40 to 49	.81	1.27	11.54	87.06
	50 to 59	1.08	2.07	22.17	75.24
	60 and Above	6.19	13.30	45.73	45.23
	Total	**.78**	**1.72**	**6.32**	**92.08**
Jamshoro	0 to 9	.28	.48	1.08	98.51
	10 to 19	.18	1.70	3.71	95.60
	20 to 29	.27	.82	3.08	96.55
	30 to 39	.19	.44	3.04	96.56
	40 to 49	.27	2.19	9.38	88.47
	50 to 59	1.83	5.96	46.25	50.18
	60 and Above	2.41	22.39	55.45	39.05
	Total	**.40**	**2.06**	**7.83**	**91.16**
Karachi Central	0 to 9	.34	.76	3.69	95.71
	10 to 19	.94	.72	4.13	94.74
	20 to 29	.54	1.09	3.62	94.85
	30 to 39	.53	1.39	7.06	91.50
	40 to 49	.79	1.75	16.16	81.92
	50 to 59	1.63	4.03	33.97	62.34
	60 and Above	4.28	16.31	58.77	32.86
	Total	**1.03**	**2.60**	**13.22**	**84.66**
Karachi East	0 to 9	.11	.14	1.33	98.57
	10 to 19	.62	.97	3.74	95.36
	20 to 29	.66	1.09	4.01	94.80
	30 to 39	.42	.99	3.79	95.38
	40 to 49	1.13	2.25	14.39	83.20
	50 to 59	1.87	4.48	34.16	62.00
	60 and Above	1.76	19.97	53.66	38.71
	Total	**.81**	**2.84**	**11.61**	**86.55**
Karachi Malir	0 to 9	.31	.43	.91	98.43
	10 to 19	.99	1.37	2.39	96.75
	20 to 29	.32	.73	2.74	96.67
	30 to 39	.25	.45	2.46	97.20
	40 to 49	.62	1.60	12.10	86.80
	50 to 59	1.88	2.53	22.06	74.34
	60 and Above	4.79	13.38	37.46	52.36
	Total	**.77**	**1.52**	**6.42**	**92.31**

Table 5.3 Percentage of Functional ability by Age group.

Province & District	Age Groups	Cant_Do_at_all	Alot_of_Difficulty	Some_Difficulty	No_Difficulty
Karachi South	0 to 9	.14	.22	1.68	98.18
	10 to 19	.59	.98	3.27	95.77
	20 to 29	.79	.74	3.69	95.51
	30 to 39	.40	.54	4.20	95.24
	40 to 49	.93	1.34	13.80	84.33
	50 to 59	2.42	3.38	32.12	63.97
	60 and Above	5.19	15.34	53.25	38.02
	Total	**1.16**	**2.30**	**11.74**	**86.42**
Karachi West	0 to 9	0.00	.08	1.62	98.38
	10 to 19	.47	.37	2.71	96.74
	20 to 29	.44	.44	2.28	96.91
	30 to 39	.83	.58	4.09	94.84
	40 to 49	1.12	1.15	13.57	84.72
	50 to 59	2.98	4.88	32.83	63.19
	60 and Above	3.64	17.34	54.82	36.95
	Total	**.86**	**1.56**	**8.63**	**90.02**
Kashmore	0 to 9	.36	.44	1.66	97.88
	10 to 19	.95	1.41	3.40	95.41
	20 to 29	.37	1.09	1.76	97.01
	30 to 39	.13	1.55	4.36	94.33
	40 to 49	.31	1.00	7.70	91.32
	50 to 59	4.93	10.74	27.18	61.65
	60 and Above	5.36	16.89	51.76	33.37
	Total	**.72**	**1.76**	**5.06**	**93.24**
Khairpur	0 to 9	.16	.89	3.06	96.44
	10 to 19	.09	1.00	3.20	96.13
	20 to 29	.28	1.14	2.54	96.76
	30 to 39	.32	.84	4.08	95.01
	40 to 49	1.02	2.37	9.89	88.05
	50 to 59	1.78	3.69	20.99	75.74
	60 and Above	2.60	18.33	43.20	48.28
	Total	**.50**	**2.25**	**7.15**	**91.45**
Korangi	0 to 9	.42	.19	.61	98.96
	10 to 19	.33	.38	2.22	97.36
	20 to 29	.89	.56	3.23	95.55
	30 to 39	.34	.42	2.96	96.34
	40 to 49	1.21	.73	13.49	84.90
	50 to 59	3.70	2.42	34.42	60.60
	60 and Above	5.54	12.37	53.33	39.31
	Total	**1.22**	**1.42**	**10.15**	**88.19**

Table 5.3 Percentage of Functional ability by Age group.

Province & District	Age Groups	Cant_Do_at_all	Alot_of_Difficulty	Some_Difficulty	No_Difficulty
Larkana	0 to 9	.23	1.08	13.40	86.35
	10 to 19	.20	.33	5.09	94.74
	20 to 29	.50	.64	3.34	95.66
	30 to 39	.10	.68	3.54	96.02
	40 to 49	.52	.91	12.38	86.74
	50 to 59	3.23	2.33	42.12	53.39
	60 and Above	3.89	8.10	61.23	33.11
	Total	**.58**	**1.03**	**11.50**	**87.63**
Matiari	0 to 9	.07	.97	1.57	98.05
	10 to 19	.24	1.13	3.12	96.14
	20 to 29	.38	2.20	3.60	95.06
	30 to 39	0.00	.47	3.79	95.96
	40 to 49	.81	.94	9.71	88.54
	50 to 59	3.82	2.81	38.42	56.22
	60 and Above	4.49	21.86	59.52	32.75
	Total	**.64**	**2.10**	**8.06**	**90.57**
Mir Pur Khas	0 to 9	.35	.65	6.33	93.49
	10 to 19	.44	.79	2.96	96.54
	20 to 29	.20	.61	1.94	97.42
	30 to 39	.30	.19	1.06	98.57
	40 to 49	1.21	1.78	16.58	81.12
	50 to 59	3.54	2.09	32.19	63.04
	60 and Above	2.38	13.43	57.49	38.63
	Total	**.71**	**1.45**	**9.00**	**89.96**
Nowshero Feroze	0 to 9	.45	.29	1.64	97.99
	10 to 19	.47	.37	2.37	97.01
	20 to 29	.72	.40	2.40	96.78
	30 to 39	.14	.98	2.16	96.85
	40 to 49	.98	.39	13.79	85.14
	50 to 59	1.87	4.38	45.76	51.44
	60 and Above	2.67	21.28	63.74	30.97
	Total	**.69**	**1.43**	**8.50**	**90.48**
Sanghar	0 to 9	.75	1.15	.59	97.93
	10 to 19	.56	1.00	2.57	96.31
	20 to 29	.62	1.06	1.89	96.88
	30 to 39	.38	.78	3.18	95.92
	40 to 49	1.49	1.39	10.66	86.98
	50 to 59	2.22	3.05	18.76	76.88
	60 and Above	6.64	12.21	27.46	59.47
	Total	**1.00**	**1.59**	**4.87**	**93.18**

Table 5.3 Percentage of Functional ability by Age group.

Province & District	Age Groups	Cant_Do_at_all	Alot_of_Difficulty	Some_Difficulty	No_Difficulty
Shahdadkot	0 to 9	.34	.33	4.03	95.67
	10 to 19	.27	1.09	3.41	95.86
	20 to 29	.23	.87	2.33	96.87
	30 to 39	0.00	.70	2.07	97.38
	40 to 49	.54	.43	11.00	88.23
	50 to 59	3.72	1.12	37.49	58.37
	60 and Above	2.09	9.96	54.12	41.19
	Total	**.51**	**.96**	**7.22**	**91.87**
Shaheed Banazir Abad	0 to 9	1.13	1.08	2.18	96.75
	10 to 19	.97	.99	2.61	96.40
	20 to 29	.40	.63	1.89	97.45
	30 to 39	.71	1.87	4.19	94.50
	40 to 49	1.73	2.40	6.33	89.93
	50 to 59	3.46	3.54	18.16	76.14
	60 and Above	5.12	13.08	25.78	60.93
	Total	**1.27**	**1.89**	**4.95**	**92.96**
Shikarpur	0 to 9	0.00	2.84	6.86	92.72
	10 to 19	.09	.46	3.06	96.64
	20 to 29	.67	.61	2.28	96.92
	30 to 39	.34	.79	1.91	97.07
	40 to 49	1.05	.84	8.92	89.41
	50 to 59	1.84	2.31	27.60	69.15
	60 and Above	2.50	12.09	41.33	51.07
	Total	**.53**	**1.86**	**7.86**	**90.91**
Sujawal	0 to 9	.34	.29	2.33	97.21
	10 to 19	.86	.85	2.66	96.25
	20 to 29	.52	1.35	3.00	95.32
	30 to 39	.47	1.08	3.68	95.34
	40 to 49	.83	1.51	8.48	89.36
	50 to 59	3.11	1.53	22.24	73.80
	60 and Above	8.14	15.84	42.29	48.95
	Total	**1.16**	**1.67**	**6.88**	**91.36**
Sukkur	0 to 9	.20	.53	1.76	97.78
	10 to 19	.50	.71	2.73	96.47
	20 to 29	.53	.39	2.61	96.67
	30 to 39	.39	.31	3.96	95.55
	40 to 49	.27	2.41	12.77	84.84
	50 to 59	2.23	4.36	30.24	64.81
	60 and Above	4.21	14.18	46.81	42.37
	Total	**.70**	**1.65**	**7.82**	**90.57**

Table 5.3 Percentage of Functional ability by Age group.

Province & District	Age Groups	Cant_Do_at_all	Alot_of_Difficulty	Some_Difficulty	No_Difficulty
Tando Allah Yar	0 to 9	.19	0.00	.36	99.45
	10 to 19	.82	1.50	3.26	95.23
	20 to 29	.15	.41	2.42	97.19
	30 to 39	.22	1.98	5.34	94.08
	40 to 49	1.07	2.86	15.74	82.01
	50 to 59	.75	10.25	56.16	41.10
	60 and Above	.84	40.89	65.95	26.09
	Total	**.49**	**3.18**	**9.65**	**89.09**
Tando Muhammad Khan	0 to 9	.13	.75	1.47	98.08
	10 to 19	1.08	1.22	4.53	94.70
	20 to 29	.58	1.02	3.34	95.85
	30 to 39	1.06	.95	5.11	93.42
	40 to 49	0.00	2.46	27.09	71.91
	50 to 59	2.48	6.17	49.94	45.61
	60 and Above	3.75	30.63	66.90	26.71
	Total	**.84**	**2.49**	**10.99**	**87.75**
Tharparkar	0 to 9	0.00	2.01	3.85	95.91
	10 to 19	.60	1.12	1.72	97.51
	20 to 29	.79	.98	2.32	97.05
	30 to 39	.94	.48	1.39	97.50
	40 to 49	1.66	2.21	7.25	90.48
	50 to 59	2.61	.92	18.87	78.10
	60 and Above	3.73	14.34	45.76	48.17
	Total	**.98**	**2.12**	**6.50**	**92.20**
Thatta	0 to 9	.19	.56	2.28	97.16
	10 to 19	2.59	1.57	3.95	93.30
	20 to 29	.94	1.02	3.83	95.03
	30 to 39	1.03	1.15	4.88	94.02
	40 to 49	1.26	1.59	11.87	86.70
	50 to 59	3.12	3.73	23.79	72.35
	60 and Above	4.80	12.46	44.43	48.88
	Total	**1.60**	**1.88**	**7.96**	**90.12**
Umer Kot	0 to 9	.09	2.80	8.79	90.61
	10 to 19	.70	.54	2.32	97.13
	20 to 29	1.37	.70	1.55	96.94
	30 to 39	.20	1.04	2.61	97.03
	40 to 49	.87	2.53	12.42	85.55
	50 to 59	2.83	4.89	33.22	62.61
	60 and Above	5.51	18.55	65.30	30.45
	Total	**1.08**	**2.72**	**10.36**	**88.33**

Table 5.3 Percentage of Functional ability by Age group.

Province & District	Age Groups	Cant_Do_at_all	Alot_of_Difficulty	Some_Difficulty	No_Difficulty
Khyber Pakhtun Khaw	0 to 9	.55	.71	1.68	97.50
	10 to 19	.77	.78	2.49	96.58
	20 to 29	.92	1.05	2.51	96.18
	30 to 39	.65	1.04	3.14	95.72
	40 to 49	1.11	1.84	11.55	86.32
	50 to 59	3.12	5.26	26.60	67.36
	60 and Above	4.86	20.75	40.45	47.39
	Total	**1.20**	**2.54**	**7.41**	**90.39**
Abbottabad	0 to 9	1.37	1.24	2.56	96.49
	10 to 19	1.26	.77	2.83	96.07
	20 to 29	.97	.75	2.13	96.47
	30 to 39	.67	.97	3.80	95.26
	40 to 49	2.52	2.09	13.02	84.13
	50 to 59	2.30	5.37	27.82	66.03
	60 and Above	5.47	20.15	39.22	49.16
	Total	**1.77**	**3.26**	**9.56**	**87.70**
Bajur	0 to 9	.71	.55	.49	98.71
	10 to 19	1.25	.64	1.42	97.45
	20 to 29	1.91	.96	1.62	96.04
	30 to 39	1.16	.73	1.88	96.24
	40 to 49	1.56	3.35	9.49	86.66
	50 to 59	2.08	4.84	17.65	76.00
	60 and Above	4.39	20.14	33.59	52.88
	Total	**1.46**	**2.29**	**4.63**	**92.84**
Bannu	0 to 9	0.00	1.08	3.51	96.24
	10 to 19	.42	1.00	3.63	95.61
	20 to 29	.78	1.80	5.20	93.15
	30 to 39	0.00	1.03	5.70	93.42
	40 to 49	.58	1.42	20.94	77.80
	50 to 59	3.76	8.51	49.55	44.92
	60 and Above	2.74	31.03	60.04	33.39
	Total	**.75**	**3.46**	**12.72**	**85.71**
Batagram	0 to 9	.68	.56	.47	98.99
	10 to 19	.97	.47	1.70	97.52
	20 to 29	.68	.68	2.28	97.47
	30 to 39	.71	.60	1.59	97.82
	40 to 49	.89	1.12	11.90	86.63
	50 to 59	1.18	5.53	22.97	71.65
	60 and Above	3.85	18.34	45.90	43.13
	Total	**1.09**	**2.44**	**7.84**	**90.28**

Table 5.3 Percentage of Functional ability by Age group.

Province & District	Age Groups	Cant_Do_at_all	Alot_of_Difficulty	Some_Difficulty	No_Difficulty
Bunair	0 to 9	.73	.74	2.02	96.86
	10 to 19	.73	1.10	3.24	95.99
	20 to 29	.96	1.31	2.07	96.64
	30 to 39	.81	2.13	5.02	93.38
	40 to 49	1.33	3.71	11.06	85.33
	50 to 59	2.83	8.38	29.39	63.35
	60 and Above	6.06	24.30	43.93	41.68
	Total	**1.30**	**3.34**	**7.87**	**89.59**
Charsada	0 to 9	.44	.33	1.87	97.60
	10 to 19	1.15	1.29	2.79	95.89
	20 to 29	.75	.74	2.65	96.45
	30 to 39	.35	1.82	4.29	94.09
	40 to 49	1.26	1.81	13.61	84.30
	50 to 59	2.92	3.92	23.87	71.18
	60 and Above	3.88	22.00	40.87	47.81
	Total	**1.18**	**2.85**	**8.12**	**89.67**
Chitral	0 to 9	.43	0.00	.29	99.43
	10 to 19	.43	.30	1.11	98.46
	20 to 29	1.04	.38	1.28	97.71
	30 to 39	2.33	1.21	1.44	95.81
	40 to 49	1.32	1.84	6.39	91.24
	50 to 59	2.15	3.83	18.64	76.03
	60 and Above	4.22	19.95	35.43	52.62
	Total	**1.39**	**2.76**	**6.42**	**91.04**
D. I. Khan	0 to 9	1.51	1.10	2.48	95.46
	10 to 19	.87	.67	3.10	95.74
	20 to 29	.57	.54	2.49	96.89
	30 to 39	.10	.17	2.29	97.44
	40 to 49	.89	1.45	8.30	89.95
	50 to 59	4.37	5.67	20.62	72.06
	60 and Above	4.91	14.59	33.36	54.48
	Total	**1.27**	**1.78**	**6.18**	**91.67**
Hangu	0 to 9	2.11	1.23	.63	97.07
	10 to 19	.34	1.03	1.63	97.56
	20 to 29	1.33	1.03	1.81	96.46
	30 to 39	2.17	3.08	2.62	94.63
	40 to 49	.73	1.45	22.34	75.92
	50 to 59	2.36	2.65	39.09	56.40
	60 and Above	1.98	34.49	23.07	45.28
	Total	**1.32**	**3.48**	**7.10**	**89.22**

Table 5.3 Percentage of Functional ability by Age group.

Province & District	Age Groups	Cant_Do_at_all	Alot_of_Difficulty	Some_Difficulty	No_Difficulty
Haripur	0 to 9	.55	.41	3.54	96.00
	10 to 19	.99	1.11	3.85	94.85
	20 to 29	1.22	2.28	4.25	93.53
	30 to 39	1.24	1.10	6.28	92.24
	40 to 49	1.22	2.39	13.36	84.23
	50 to 59	2.78	4.83	24.92	70.70
	60 and Above	7.91	21.60	41.34	45.87
	Total	**1.90**	**3.80**	**10.95**	**86.11**
Karak	0 to 9	.80	2.06	3.16	95.81
	10 to 19	.23	1.02	3.03	96.28
	20 to 29	.52	1.17	4.32	95.15
	30 to 39	.73	1.66	8.10	90.69
	40 to 49	1.63	2.27	19.95	77.35
	50 to 59	1.34	6.14	42.55	52.39
	60 and Above	4.11	25.56	56.44	39.11
	Total	**.94**	**3.44**	**12.90**	**85.46**
Khyber	0 to 9	.35	.11	.35	99.36
	10 to 19	.36	.60	2.01	97.20
	20 to 29	1.04	.45	1.38	97.13
	30 to 39	.17	1.10	1.25	97.48
	40 to 49	1.71	.62	5.48	92.40
	50 to 59	2.33	5.11	14.51	79.63
	60 and Above	1.35	8.27	35.28	59.88
	Total	**.74**	**1.11**	**3.87**	**94.68**
Kohat	0 to 9	.72	.50	.93	97.86
	10 to 19	.52	.70	1.89	97.24
	20 to 29	2.40	1.53	2.12	95.01
	30 to 39	.70	1.29	1.88	96.87
	40 to 49	.80	1.97	15.65	82.76
	50 to 59	3.43	8.51	49.08	41.52
	60 and Above	3.92	35.53	53.36	17.20
	Total	**1.39**	**3.75**	**9.75**	**86.42**
Kohistan	0 to 9	.25	.17	.18	99.48
	10 to 19	.89	.32	1.07	98.43
	20 to 29	.16	.74	1.70	98.09
	30 to 39	.09	.40	1.00	98.54
	40 to 49	.29	1.56	6.09	92.72
	50 to 59	6.08	7.12	18.39	73.36
	60 and Above	8.54	15.58	45.53	41.69
	Total	**1.16**	**1.65**	**4.64**	**93.79**

Table 5.3 Percentage of Functional ability by Age group.

Province & District	Age Groups	Cant_Do_at_all	Alot_of_Difficulty	Some_Difficulty	No_Difficulty
Kurram	0 to 9	.68	.66	1.25	98.16
	10 to 19	.59	.83	1.97	97.05
	20 to 29	.68	1.40	3.06	95.76
	30 to 39	.50	2.66	2.41	95.26
	40 to 49	.99	2.35	7.59	90.48
	50 to 59	3.73	2.93	23.73	70.62
	60 and Above	2.45	21.22	44.19	41.55
	Total	**.94**	**2.59**	**6.34**	**91.43**
Lakki Marwat	0 to 9	.30	.85	3.01	96.99
	10 to 19	.66	.77	2.77	96.39
	20 to 29	.59	.45	1.12	97.95
	30 to 39	.16	.29	1.67	98.17
	40 to 49	.30	.84	12.07	87.32
	50 to 59	2.97	5.05	44.09	51.58
	60 and Above	2.52	23.71	61.32	32.68
	Total	**.81**	**2.52**	**10.72**	**88.04**
Lower Dir	0 to 9	.73	.87	1.47	97.63
	10 to 19	.64	.82	1.65	97.36
	20 to 29	.91	1.10	1.30	97.32
	30 to 39	.32	.53	2.03	97.35
	40 to 49	.83	.99	9.06	89.56
	50 to 59	4.13	3.96	14.28	79.49
	60 and Above	4.13	16.57	24.73	63.31
	Total	**1.05**	**1.86**	**4.10**	**94.01**
Malakand	0 to 9	.54	.59	.68	98.36
	10 to 19	.66	.46	2.89	96.27
	20 to 29	.33	2.11	2.83	95.77
	30 to 39	2.32	2.16	3.08	93.53
	40 to 49	1.53	4.54	8.51	86.70
	50 to 59	3.38	3.17	21.21	74.17
	60 and Above	6.05	20.70	34.26	51.85
	Total	**1.37**	**2.73**	**6.09**	**91.24**
Mansehra	0 to 9	.40	1.26	1.74	97.28
	10 to 19	.71	.87	3.50	95.98
	20 to 29	1.17	1.87	4.13	94.27
	30 to 39	.57	1.18	3.05	95.68
	40 to 49	1.55	2.61	11.41	86.01
	50 to 59	3.76	2.83	24.50	70.81
	60 and Above	6.58	17.68	40.04	51.12
	Total	**1.41**	**2.63**	**8.01**	**90.01**

Table 5.3 Percentage of Functional ability by Age group.

Province & District	Age Groups	Cant_Do_at_all	Alot_of_Difficulty	Some_Difficulty	No_Difficulty
Mardan	0 to 9	.27	.58	2.06	97.35
	10 to 19	.98	1.00	3.53	95.48
	20 to 29	1.11	1.82	3.23	95.27
	30 to 39	.79	1.21	3.74	95.01
	40 to 49	.99	2.23	10.68	86.89
	50 to 59	2.52	6.79	25.33	66.83
	60 and Above	5.14	20.95	41.22	46.69
	Total	**1.25**	**3.05**	**8.10**	**89.46**
Mohmand	0 to 9	.15	1.05	2.32	96.98
	10 to 19	.56	.67	2.18	96.85
	20 to 29	.78	1.32	3.16	95.52
	30 to 39	.40	.87	2.27	97.33
	40 to 49	2.25	.82	12.49	84.74
	50 to 59	7.64	5.92	15.77	72.80
	60 and Above	9.85	34.45	34.36	43.49
	Total	**1.70**	**3.46**	**6.26**	**90.59**
North Waziristan	0 to 9	.72	1.00	.99	98.05
	10 to 19	.41	.66	2.13	96.93
	20 to 29	1.34	1.05	1.25	95.64
	30 to 39	0.00	.22	1.53	98.25
	40 to 49	1.52	.22	9.29	88.98
	50 to 59	4.47	3.56	36.07	56.79
	60 and Above	3.42	14.91	39.66	56.88
	Total	**1.12**	**1.41**	**6.18**	**91.94**
Nowshera	0 to 9	.45	.51	2.06	97.42
	10 to 19	.85	.41	2.23	96.98
	20 to 29	.84	.82	3.08	96.06
	30 to 39	1.17	1.90	3.73	94.44
	40 to 49	.67	1.92	13.07	85.03
	50 to 59	2.96	4.79	27.85	67.23
	60 and Above	6.04	21.06	43.46	43.11
	Total	**1.28**	**2.52**	**8.05**	**89.83**
Orakzai	0 to 9	.18	.32	1.49	98.40
	10 to 19	.25	.77	1.76	97.63
	20 to 29	.65	1.17	1.39	98.28
	30 to 39	1.25	1.07	1.64	96.57
	40 to 49	1.35	0.00	7.25	92.51
	50 to 59	2.05	1.93	22.90	73.12
	60 and Above	1.95	7.96	61.21	32.69
	Total	**.76**	**1.20**	**7.21**	**91.63**

Table 5.3 Percentage of Functional ability by Age group.

Province & District	Age Groups	Cant_Do_at_all	Alot_of_Difficulty	Some_Difficulty	No_Difficulty
Peshawar	0 to 9	.32	.67	2.11	96.85
	10 to 19	.69	.79	2.77	96.40
	20 to 29	.61	.93	2.68	95.95
	30 to 39	.71	.99	3.56	94.94
	40 to 49	1.05	1.81	11.88	85.57
	50 to 59	3.27	5.22	25.17	67.99
	60 and Above	4.18	19.29	39.63	47.48
	Total	**1.02**	**2.29**	**7.22**	**90.45**
Shangla	0 to 9	.43	.51	1.51	97.55
	10 to 19	.72	1.24	2.02	96.71
	20 to 29	1.28	.69	3.18	96.03
	30 to 39	1.30	1.87	2.53	96.26
	40 to 49	1.39	2.33	6.76	90.08
	50 to 59	1.96	5.25	18.31	75.65
	60 and Above	4.01	24.02	37.45	51.28
	Total	**1.22**	**3.28**	**6.47**	**91.13**
South Waziristan	0 to 9	.78	.47	1.97	97.65
	10 to 19	.96	.29	1.49	97.40
	20 to 29	1.20	.54	1.28	97.18
	30 to 39	.48	.20	2.05	97.95
	40 to 49	.83	3.31	11.73	85.40
	50 to 59	.96	4.98	29.60	66.51
	60 and Above	.68	19.52	43.56	42.94
	Total	**.87**	**1.84**	**6.45**	**91.74**
Swabi	0 to 9	.08	.14	1.47	98.36
	10 to 19	.64	.68	2.07	97.06
	20 to 29	.52	.63	2.25	97.13
	30 to 39	.44	1.22	2.05	96.98
	40 to 49	.78	2.22	9.72	88.38
	50 to 59	2.61	2.17	20.28	75.44
	60 and Above	5.10	16.40	34.12	55.21
	Total	**.97**	**2.02**	**6.36**	**91.87**
Swat	0 to 9	.66	.75	.58	98.68
	10 to 19	.76	.47	1.76	97.46
	20 to 29	1.03	.53	1.61	97.39
	30 to 39	.61	.49	2.57	96.82
	40 to 49	1.39	.89	11.37	87.17
	50 to 59	3.74	3.51	18.42	76.48
	60 and Above	6.15	12.80	28.96	61.80
	Total	**1.34**	**1.49**	**5.24**	**93.12**

Table 5.3 Percentage of Functional ability by Age group.

Province & District	Age Groups	Cant_Do_at_all	Alot_of_Difficulty	Some_Difficulty	No_Difficulty
Tank	0 to 9	.28	.28	0.00	99.44
	10 to 19	1.18	.86	.82	97.47
	20 to 29	1.42	1.29	1.74	96.69
	30 to 39	.51	.30	1.49	98.00
	40 to 49	0.00	.81	10.01	89.18
	50 to 59	1.55	4.70	18.37	76.54
	60 and Above	5.02	22.30	44.83	43.69
	Total	**.94**	**1.85**	**5.28**	**92.98**
Tor Garh	0 to 9	.47	.48	0.00	99.28
	10 to 19	.89	.38	2.19	97.04
	20 to 29	.53	2.26	1.26	96.28
	30 to 39	.77	3.50	5.33	91.45
	40 to 49	1.21	3.28	8.58	86.93
	50 to 59	1.24	9.71	24.49	65.78
	60 and Above	3.56	22.81	32.96	48.39
	Total	**.94**	**3.17**	**5.70**	**91.11**
Upper Dir	0 to 9	.86	1.55	1.53	96.60
	10 to 19	1.55	1.29	2.72	95.31
	20 to 29	1.07	.85	1.40	96.82
	30 to 39	.52	.60	3.09	96.46
	40 to 49	.80	2.15	7.79	90.14
	50 to 59	1.21	13.38	31.00	65.12
	60 and Above	5.72	32.69	44.77	46.41
	Total	**1.37**	**3.94**	**6.99**	**90.73**
Balochistan	0 to 9	.58	.34	1.53	97.92
	10 to 19	.71	.57	2.60	96.67
	20 to 29	.48	.66	2.57	96.68
	30 to 39	.52	.57	3.64	95.64
	40 to 49	.96	1.73	14.12	83.94
	50 to 59	3.43	4.28	31.61	62.91
	60 and Above	3.79	21.62	48.83	40.48
	Total	**.93**	**1.77**	**7.46**	**91.00**
Awaran	0 to 9	0.00	0.00	0.00	100.00
	10 to 19	0.00	0.00	.65	99.35
	20 to 29	.26	.51	0.00	99.23
	30 to 39	.19	1.34	.78	97.69
	40 to 49	1.04	0.00	5.66	93.30
	50 to 59	4.31	4.25	13.06	79.61
	60 and Above	0.00	70.55	4.96	24.49
	Total	**.46**	**3.06**	**1.83**	**94.73**

Table 5.3 Percentage of Functional ability by Age group.

Province & District	Age Groups	Cant_Do_at_all	Alot_of_Difficulty	Some_Difficulty	No_Difficulty
Barkhan	0 to 9	.15	.79	1.47	97.74
	10 to 19	0.00	.58	1.94	97.96
	20 to 29	0.00	0.00	1.50	98.50
	30 to 39	.42	.77	2.61	97.19
	40 to 49	.35	1.22	19.77	79.29
	50 to 59	1.17	4.82	56.92	40.58
	60 and Above	3.18	39.49	65.20	13.44
	Total	**.32**	**2.13**	**9.82**	**89.01**
Dera Bugti	0 to 9	0.00	.48	0.00	99.52
	10 to 19	.10	.45	.56	99.24
	20 to 29	0.00	.71	.72	98.57
	30 to 39	0.00	.16	.48	99.36
	40 to 49	0.00	0.00	6.72	93.28
	50 to 59	3.77	0.00	20.13	76.10
	60 and Above	0.00	5.54	22.54	77.46
	Total	**.12**	**.43**	**1.54**	**98.03**
Duki	0 to 9	.41	.41	3.54	96.06
	10 to 19	0.00	0.00	2.35	97.65
	20 to 29	0.00	0.00	4.37	95.63
	30 to 39	.57	0.00	4.13	95.30
	40 to 49	.91	.83	12.40	86.69
	50 to 59	3.77	0.00	8.18	88.04
	60 and Above	0.00	5.91	15.20	78.89
	Total	**.54**	**.27**	**5.10**	**94.28**
Gwadar	0 to 9	.73	2.08	2.80	96.41
	10 to 19	.88	.64	1.39	97.67
	20 to 29	0.00	.60	2.25	97.58
	30 to 39	0.00	.85	7.41	92.59
	40 to 49	.17	1.21	22.63	76.14
	50 to 59	3.44	2.87	52.26	41.89
	60 and Above	4.00	21.26	74.90	17.19
	Total	**.92**	**2.68**	**15.46**	**82.92**
Harnai	0 to 9	.33	1.09	3.91	94.91
	10 to 19	1.81	.64	7.80	90.49
	20 to 29	.60	1.11	4.00	95.22
	30 to 39	.07	0.00	6.76	93.17
	40 to 49	1.40	2.20	15.59	81.87
	50 to 59	1.83	.69	24.30	73.18
	60 and Above	3.50	10.08	26.24	64.38
	Total	**1.15**	**1.64**	**9.52**	**88.52**

Table 5.3 Percentage of Functional ability by Age group.

Province & District	Age Groups	Cant_Do_at_all	Alot_of_Difficulty	Some_Difficulty	No_Difficulty
Jaffarabad	0 to 9	1.41	.15	1.07	98.09
	10 to 19	.83	.76	3.23	95.49
	20 to 29	1.59	.18	2.87	95.76
	30 to 39	.27	1.25	2.16	96.74
	40 to 49	.68	.76	5.82	93.16
	50 to 59	1.59	1.24	11.06	86.11
	60 and Above	5.75	14.93	30.05	57.50
	Total	**1.16**	**.92**	**3.72**	**94.81**
Kachhi/ Bolan	0 to 9	.70	2.10	5.87	93.53
	10 to 19	.67	.45	1.30	97.77
	20 to 29	.71	.61	1.44	97.58
	30 to 39	1.16	1.72	2.29	95.46
	40 to 49	1.11	1.77	9.90	88.47
	50 to 59	.84	9.38	26.79	65.94
	60 and Above	6.19	28.50	64.43	27.93
	Total	**1.05**	**3.08**	**8.10**	**89.98**
Kalat	0 to 9	.43	.47	2.39	97.61
	10 to 19	1.79	.88	3.08	96.19
	20 to 29	.12	1.20	3.43	95.80
	30 to 39	.26	1.70	6.29	92.92
	40 to 49	.27	2.24	13.13	84.95
	50 to 59	3.66	5.46	21.60	71.68
	60 and Above	4.38	14.16	40.54	48.37
	Total	**1.05**	**2.17**	**8.02**	**90.22**
Kech/Turbat	0 to 9	.25	0.00	.49	99.40
	10 to 19	.42	.52	3.50	95.78
	20 to 29	.44	1.03	2.56	96.48
	30 to 39	.92	0.00	4.67	94.41
	40 to 49	2.38	1.67	15.20	81.20
	50 to 59	6.09	2.41	32.79	59.69
	60 and Above	2.55	13.54	63.80	32.59
	Total	**1.17**	**1.34**	**9.28**	**89.11**
Kharan	0 to 9	.65	.13	1.06	98.56
	10 to 19	.89	.58	.96	98.03
	20 to 29	.41	.58	1.56	98.05
	30 to 39	0.00	.23	.69	99.08
	40 to 49	.59	.36	12.02	87.62
	50 to 59	3.88	0.00	23.13	73.62
	60 and Above	0.00	6.16	58.43	40.57
	Total	**.74**	**.53**	**4.80**	**94.48**

Table 5.3 Percentage of Functional ability by Age group.

Province & District	Age Groups	Cant_Do_at_all	Alot_of_Difficulty	Some_Difficulty	No_Difficulty
Khuzdar	0 to 9	.37	.16	.09	99.63
	10 to 19	.85	.23	.88	98.75
	20 to 29	.59	.65	1.40	97.92
	30 to 39	.13	.13	.85	99.02
	40 to 49	1.95	2.14	9.96	86.72
	50 to 59	3.58	6.05	21.38	69.74
	60 and Above	.50	56.35	20.50	30.71
	Total	**.82**	**2.86**	**3.38**	**93.72**
Kohlu	0 to 9	0.00	0.00	0.00	100.00
	10 to 19	1.33	.67	4.75	93.92
	20 to 29	.86	1.99	10.83	88.31
	30 to 39	1.63	1.34	16.54	80.49
	40 to 49	1.47	7.07	45.64	51.43
	50 to 59	1.90	12.98	70.20	26.41
	60 and Above	2.19	53.97	70.23	20.39
	Total	**1.29**	**8.47**	**28.34**	**69.08**
Lasbela	0 to 9	.47	.79	.79	98.75
	10 to 19	0.00	0.00	1.52	98.48
	20 to 29	.33	.27	3.11	96.56
	30 to 39	0.00	.36	3.27	96.73
	40 to 49	1.18	2.47	17.09	81.05
	50 to 59	4.39	4.70	46.51	47.43
	60 and Above	3.97	10.45	65.62	34.38
	Total	**.84**	**1.41**	**10.70**	**88.41**
Loralai	0 to 9	1.11	.16	1.16	97.57
	10 to 19	.25	1.62	3.89	95.56
	20 to 29	.28	1.13	3.62	95.88
	30 to 39	.19	0.00	1.96	97.85
	40 to 49	.87	1.74	13.17	85.18
	50 to 59	1.19	2.69	38.59	58.11
	60 and Above	5.84	16.65	52.96	40.70
	Total	**.71**	**1.49**	**7.66**	**91.24**
Mastung	0 to 9	.49	0.00	.41	99.31
	10 to 19	.51	.35	1.59	98.25
	20 to 29	.40	0.00	1.06	98.75
	30 to 39	.20	.24	2.42	97.38
	40 to 49	1.70	.39	8.55	89.36
	50 to 59	4.09	1.49	23.11	71.30
	60 and Above	1.27	10.92	42.12	53.19
	Total	**.89**	**.94**	**6.28**	**92.63**

Table 5.3 Percentage of Functional ability by Age group.

Province & District	Age Groups	Cant_Do_at_all	Alot_of_Difficulty	Some_Difficulty	No_Difficulty
Nasirabad/ Tamboo	0 to 9	.42	.22	1.94	97.85
	10 to 19	1.47	1.17	1.67	97.37
	20 to 29	.15	.98	1.90	97.41
	30 to 39	.20	.09	1.36	98.45
	40 to 49	.73	1.03	10.66	88.83
	50 to 59	2.20	5.24	21.15	75.85
	60 and Above	2.59	5.87	28.70	68.02
	Total	**.61**	**.80**	**3.27**	**96.14**
Nushki	0 to 9	1.07	.45	2.34	97.05
	10 to 19	.12	0.00	.79	99.21
	20 to 29	0.00	0.00	1.55	98.45
	30 to 39	.56	0.00	.72	98.72
	40 to 49	.98	1.47	7.82	90.16
	50 to 59	1.18	2.71	16.85	79.26
	60 and Above	.96	3.95	31.59	64.46
	Total	**.53**	**.54**	**3.97**	**95.25**
Pishin	0 to 9	.14	0.00	3.67	96.19
	10 to 19	1.12	.58	2.57	96.89
	20 to 29	.54	.80	3.10	95.78
	30 to 39	.63	.59	2.46	96.74
	40 to 49	.97	1.05	13.28	85.71
	50 to 59	4.34	1.79	32.00	63.35
	60 and Above	2.69	24.05	54.66	33.13
	Total	**1.00**	**1.40**	**7.41**	**91.30**
Qilla Abdullah	0 to 9	.45	.30	.54	98.71
	10 to 19	.62	.34	2.19	97.05
	20 to 29	.56	.56	1.27	97.61
	30 to 39	1.18	1.30	2.79	95.67
	40 to 49	.59	1.21	9.30	89.05
	50 to 59	3.60	2.76	15.03	79.72
	60 and Above	1.62	13.23	21.80	69.25
	Total	**.87**	**1.39**	**4.23**	**94.07**
Qilla Saifullah	0 to 9	.72	.38	.09	99.19
	10 to 19	1.05	.21	1.33	97.83
	20 to 29	.60	.51	1.74	97.14
	30 to 39	1.33	1.35	1.58	96.23
	40 to 49	.48	2.34	6.90	90.75
	50 to 59	3.93	2.62	17.95	76.67
	60 and Above	8.47	12.27	40.96	46.12
	Total	**1.37**	**1.28**	**4.25**	**93.81**

Table 5.3 Percentage of Functional ability by Age group.

Province & District	Age Groups	Cant_Do_at_all	Alot_of_Difficulty	Some_Difficulty	No_Difficulty
Quetta	0 to 9	.85	.18	1.76	97.37
	10 to 19	.80	.65	3.47	95.50
	20 to 29	.52	.85	3.08	96.07
	30 to 39	.46	.63	6.17	93.21
	40 to 49	.71	2.26	19.10	78.69
	50 to 59	3.73	6.35	38.49	55.28
	60 and Above	4.91	25.46	54.05	35.41
	Total	**1.08**	**2.34**	**9.64**	**88.55**
Shaheed Sikandar Abad	0 to 9	.57	.57	1.79	98.21
	10 to 19	0.00	1.50	5.93	93.68
	20 to 29	.53	2.69	7.87	91.61
	30 to 39	0.00	.86	10.55	89.02
	40 to 49	.73	2.57	18.00	80.07
	50 to 59	1.44	10.66	34.18	61.57
	60 and Above	1.93	28.40	59.61	34.12
	Total	**.49**	**3.77**	**13.31**	**85.50**
Sherani	0 to 9	0.00	0.00	1.75	98.25
	10 to 19	0.00	0.00	0.00	100.00
	20 to 29	.98	0.00	3.59	95.43
	30 to 39	2.68	0.00	2.00	95.32
	40 to 49	0.00	0.00	6.28	93.72
	50 to 59	6.09	0.00	14.62	79.29
	60 and Above	0.00	0.00	0.00	100.00
	Total	**1.13**	**0.00**	**3.06**	**95.81**
Sibbi	0 to 9	.29	.15	3.60	96.40
	10 to 19	.70	.47	2.02	97.65
	20 to 29	.37	.35	.24	99.31
	30 to 39	.06	.56	1.12	98.70
	40 to 49	1.20	1.21	9.29	88.64
	50 to 59	1.58	4.65	31.09	64.78
	60 and Above	11.41	35.07	57.66	25.04
	Total	**1.18**	**2.65**	**8.05**	**90.26**
Sohbatpur	0 to 9	1.76	1.23	2.11	96.13
	10 to 19	1.76	.81	1.92	95.52
	20 to 29	.41	0.00	1.65	97.94
	30 to 39	.60	1.28	2.87	95.92
	40 to 49	1.93	4.83	7.36	85.88
	50 to 59	0.00	4.50	12.69	82.81
	60 and Above	0.00	0.00	100.00	0.00
	Total	**1.09**	**1.14**	**2.93**	**95.24**

Table 5.3 Percentage of Functional ability by Age group.

Province & District	Age Groups	Cant_Do_at_all	Alot_of_Difficulty	Some_Difficulty	No_Difficulty
Washuk	0 to 9	0.00	0.00	.54	99.46
	10 to 19	.93	.49	2.59	96.70
	20 to 29	.19	.47	2.61	97.05
	30 to 39	0.00	.42	2.63	97.29
	40 to 49	0.00	3.52	16.72	79.96
	50 to 59	3.19	3.46	38.12	57.07
	60 and Above	1.34	25.33	46.88	39.63
	Total	**.51**	**2.51**	**8.90**	**89.34**
Ziarat	0 to 9	1.18	1.25	3.92	95.65
	10 to 19	.60	1.56	4.94	94.68
	20 to 29	.73	.23	4.82	94.45
	30 to 39	1.29	.75	5.02	93.80
	40 to 49	.11	2.69	11.23	88.09
	50 to 59	2.56	4.01	22.22	73.08
	60 and Above	8.39	11.77	36.02	55.94
	Total	**1.23**	**1.89**	**7.93**	**90.86**

6. Migration

Along with many other problems inter and intra province migration is a vast challenge faced Pakistan since last decades. Urbanization is the major cause of migration from rural or less developed areas to urban areas. Every person or family behave rationally to acquire better living standards along with professional career opportunities, best possible education standards and social and economic security; these measures are available at very few places in Pakistan due to which there is an excavated boost up in the number of migrants towards those cities. As a result, resources in those cities become scarce and resultantly also increase in pollution; pressure on food supply system etc.

In case of Pakistan migration towards areas of better opportunities is the outcome of backwardness in agriculture sector, floods, poor infrastructure, low wage rate, lack of job opportunities in less developed areas, war against terror, foreign sanctions on our agriculture export goods and low return to farmers on their crops etc. To capture the situation of Migration first time a module on the recommendations of Governing Council has been added in PSLM survey 2019-20. A person is called migrated, if he/she is born in one district and at the time of interview living in another district.

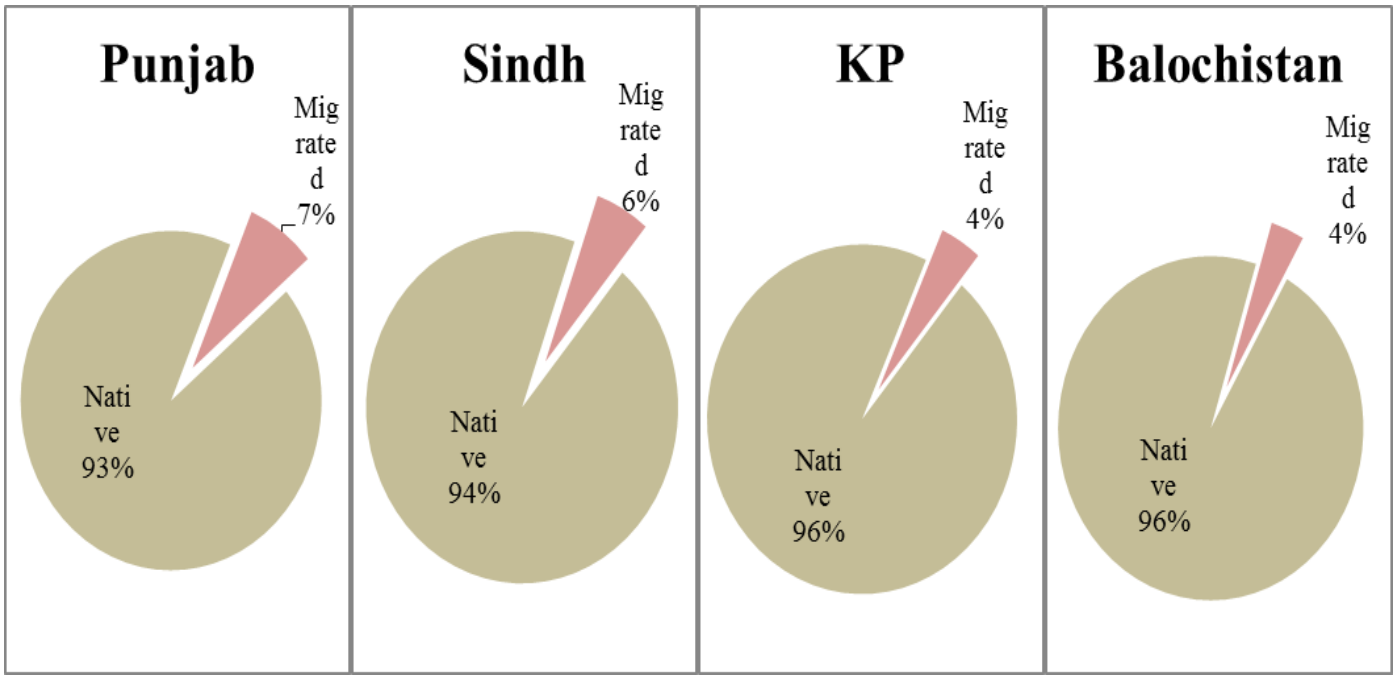

According to the results, in Pakistan total migration prevalence is 6 percent. Punjab with 7 percent is the highest rate of migration followed by Sindh with 6 percent and Khyber Pakhtunkhwa and Balochistan with 4 percent rate of migration.

This table shows inter and intra provincial migration across provinces; illuminating that rate of migration within the Punjab is 83 percent, migration form Punjab to Sindh is 5 percent, from Punjab to Khyber Pakhtunkhwa is 12 percent and from Punjab to Balochistan is 1 percent. Similarly, migration within the Sindh and Balochistan is 59 percent and the highest rate of migration within the province is in Khyber Pakhtunkhwa with 91 percent. It is observed that Khyber Pakhtunkhwa has more opportunities than other provinces due higher rate of Inter and Intra migration. If a person migrated from one district to another district of same province then this migration is consider as Intra migration. While, migration from one district of a province towards district of some other province is called Inter migration. Table 6.2 displays overall migration as well as intra and inter migration in provinces and their major cities.

Table 6.1 Province to province migration in Pakistan

Province of Last Migration	Province of Birth			
	Punjab	**Sindh**	**KP**	**Balochistan**
Punjab	83	5	12	1
Sindh	17	59	21	2
KP	6	3	91	1
Balochistan	7	9	26	59

Table 6.2 Intra and inter migration in provinces and major Distircts

Province & Districts	Native	Migrated	Intra Province	Inter Province
Punjab	93	7	6	1
Lahore	85	15	13	2
Islamabad	64	36	17	19
Rawalpindi	85	15	7	8
Gujranwala	89	11	10	1
Sheikhupura	90	10	9	1
Faisalabad	92	8	7	1
Sindh	94	6	3	2
Karachi East	81	19	11	8
Karachi West	89	11	3	9
Mir Pur Khas	89	11	11	0
Karachi Central	90	10	5	6
Karachi South	91	9	4	5
Khyber Pakhtunkhwa	96	4	4	0
Peshawar	88	12	12	1
Kohat	91	9	9	0
Nowshera	92	8	7	1
Haripur	92	8	6	2
Balochistan	96	4	2	1
Quetta	88	12	6	5
Loralai	96	4	2	2

Punjab has the highest rate of Intra province migration i.e. migration within province from one district to other or from rural to urban is 6 percent whereas only 1 percent people migrated to other provinces. Migration rate is highest in Federal Capital i.e. 36 percent, whereas migration from other Provinces to Islamabad is 19 percent and migration from districts of Punjab to Islamabad is 17%. The above table displays that Intra provincial migration is higher than Inter Provincial migration in all the four provinces. Top and bottom district of each province where migration from other districts took place has been displayed in this table. Punjab with Islamabad, Sindh with Karachi East, Khyber Pakhtunkhwa with Peshawar and Balochistan with Quetta are the top most districts with respect to rate of migration in all provinces.

Table 6.3 Migration towards top and bottom districts of each province

Province	Rank	District	Migrants
Punjab	Top	Islamabad	36.16
	Bottom	D. G. Khan	1.11
Sindh	Top	Karachi East	19.10
	Bottom	Sujawal	0.12
Khyber Pakhtunkhwa	Top	Peshawar	12.37
	Bottom	North Waziristan	0.00
Balochistan	Top	Quetta	11.66
	Bottom	Awaran	0.00

Table 6.1 Percentage of Intra and Inter Province Migration with respect to District of Birth by Province and District

Province & District	Native	Migrated	Intra Migration	Inter Migration
Pakistan	**93.72**	**6.28**	**0.00**	**0.00**
Punjab	**92.54**	**7.46**	**6.02**	**1.44**
Attock	95.48	4.52	1.56	2.96
Bahawalnagar	97.70	2.30	1.80	0.50
Bahawalpur	94.27	5.73	5.12	0.61
Bhakhar	93.41	6.59	5.12	1.46
Chakwal	96.45	3.55	2.27	1.28
Chiniot	94.91	5.09	4.52	0.56
D. G. Khan	98.89	1.11	0.94	0.17
Faisalabad	91.81	8.19	7.19	1.00
Gujranwala	89.41	10.59	9.53	1.06
Gujrat	95.20	4.80	3.84	0.96
Hafizabad	93.44	6.56	6.35	0.21
Islamabad	63.84	36.16	17.38	18.77
Jehlum	97.05	2.95	1.88	1.07
Jhang	96.21	3.79	3.48	0.31
Kasur	95.86	4.14	3.87	0.27
Khanewal	93.35	6.65	5.98	0.67
Khushab	96.46	3.54	3.28	0.26
Lahore	85.05	14.95	13.24	1.71
Layyah	94.26	5.74	5.40	0.35
Lodhran	98.11	1.89	1.60	0.30
Mandi Bahauddin	95.94	4.06	3.87	0.19
Mianwali	96.51	3.49	2.64	0.85
Multan	94.79	5.21	4.50	0.70
Muzaffar Garh	98.18	1.82	1.59	0.23
Nankana Sahib	96.07	3.93	3.75	0.18
Narowal	94.55	5.45	4.91	0.54
Okara	94.69	5.31	5.17	0.14
Pakpattan	93.94	6.06	5.90	0.16
Rahim Yar Khan	96.46	3.54	1.90	1.63
Rajanpur	98.86	1.14	1.10	0.05
Rawalpindi	84.96	15.04	7.39	7.65
Sahiwal	92.69	7.31	6.92	0.39
Sargodha	94.40	5.60	4.91	0.69
Sheikhupura	89.92	10.08	9.15	0.94
Sialkot	93.20	6.80	5.95	0.85
T.T. Singh	91.39	8.61	7.52	1.10
Vehari	92.32	7.68	6.85	0.83

Province & District	Native	Migrated	Intra Migration	Inter Migration
Sindh	**94.35**	**5.65**	**3.30**	**2.35**
Badin	98.94	1.06	0.83	0.23
Dadu	99.57	0.43	0.43	0.00
Ghotki	97.53	2.47	1.61	0.86
Hyderabad	95.34	4.66	4.13	0.53
Jacobabad	99.42	0.58	0.30	0.27
Jamshoro	97.78	2.22	2.16	0.06
Karachi Central	89.73	10.27	4.52	5.74
Karachi East	80.90	19.10	10.76	8.34
Karachi Malir	93.92	6.08	4.75	1.34
Karachi South	91.20	8.80	3.76	5.05
Karachi West	88.61	11.39	2.61	8.78
Kashmore	99.76	0.24	0.16	0.09
Khairpur	98.39	1.61	1.40	0.21
Korangi	95.42	4.58	2.33	2.25
Larkana	97.53	2.47	2.10	0.36
Matiari	96.93	3.07	2.86	0.21
Mir Pur Khas	89.02	10.98	10.51	0.47
Nowshero Feroze	99.00	1.00	0.82	0.18
Sanghar	95.07	4.93	4.48	0.45
Shahdadkot	98.97	1.03	0.88	0.15
Shaheed Banazir Abad	96.73	3.27	2.76	0.51
Shikarpur	98.32	1.68	1.53	0.15
Sujawal	99.88	0.12	0.06	0.06
Sukkur	94.11	5.89	5.07	0.82
Tando Allah Yar	96.56	3.44	3.41	0.03
Tando Muhammad Khan	98.57	1.43	1.43	0.00
Tharparkar	99.06	0.94	0.52	0.41
Thatta	98.84	1.16	0.61	0.55
Umer Kot	93.01	6.99	6.35	0.64

Province & District	Native	Migrated	Intra Migration	Inter Migration
Kyber Pakhtunkhwa	**95.65**	**4.35**	**3.91**	**0.44**
Abbottabad	97.37	2.63	1.57	1.06
Bajur	99.54	0.46	0.33	0.13
Bannu	99.41	0.59	0.59	0.00
Batagram	98.92	1.08	0.91	0.17
Bunair	96.56	3.44	3.13	0.31
Charsada	94.72	5.28	5.00	0.27
Chitral	99.88	0.12	0.12	0.00
D. I. Khan	96.02	3.98	3.65	0.33
Hangu	93.65	6.35	6.30	0.05
Haripur	91.91	8.09	5.56	2.53
Karak	99.82	0.18	0.18	0.00
Khyber	99.82	0.18	0.18	0.00
Kohat	90.66	9.34	8.94	0.40
Kohistan	99.57	0.43	0.42	0.01
Kurram	99.39	0.61	0.61	0.00
Lakki Marwat	99.74	0.26	0.20	0.06
Lower Dir	99.42	0.58	0.55	0.03
Malakand	95.53	4.47	4.44	0.03
Mansehra	98.64	1.36	1.01	0.35
Mardan	94.35	5.65	5.28	0.37
Mohmand	99.25	0.75	0.73	0.02
North Waziristan	100.00	0.00	0.00	0.00
Nowshera	91.98	8.02	7.29	0.73
Orakzai	94.13	5.87	5.57	0.30
Peshawar	87.63	12.37	11.51	0.86
Shangla	99.77	0.23	0.15	0.08
South Waziristan	96.43	3.57	3.00	0.57
Swabi	95.52	4.48	3.64	0.84
Swat	98.71	1.29	1.00	0.29
Tank	97.10	2.90	2.90	0.00
Tor Garh	99.81	0.19	0.19	0.00
Upper Dir	98.75	1.25	1.20	0.05

Province & District	Native	Migrated	Intra Migration	Inter Migration
Balochistan	**96.46**	**3.54**	**2.07**	**1.47**
Awaran	100.00	0.00	0.00	0.00
Barkhan	100.00	0.00	0.00	0.00
Chagai	0.00	0.00	0.00	0.00
Dera Bugti	100.00	0.00	0.00	0.00
Duki	100.00	0.00	0.00	0.00
Gwadar	99.29	0.71	0.63	0.08
Harnai	98.80	1.20	0.91	0.30
Jaffarabad	99.28	0.72	0.05	0.67
Jhal Magsi	0.00	0.00	0.00	0.00
Kachhi/ Bolan	99.42	0.58	0.49	0.08
Kalat	97.34	2.66	2.66	0.00
Kech/Turbat	98.41	1.59	1.56	0.02
Kharan	99.68	0.32	0.32	0.00
Khuzdar	100.00	0.00	0.00	0.00
Kohlu	100.00	0.00	0.00	0.00
Lasbela	96.29	3.71	2.06	1.65
Loralai	95.89	4.11	1.84	2.28
Mastung	98.32	1.68	1.45	0.23
Musa Khel	0.00	0.00	0.00	0.00
Nasirabad/ Tamboo	99.41	0.59	0.19	0.40
Nushki	96.97	3.03	3.03	0.00
Panjgoor	0.00	0.00	0.00	0.00
Pishin	99.19	0.81	0.34	0.48
Qilla Abdullah	99.36	0.64	0.11	0.53
Qilla Saifullah	99.78	0.22	0.04	0.18
Quetta	88.34	11.66	6.48	5.18
Shaheed Sikandar Abad	97.53	2.47	2.47	0.00
Sherani	100.00	0.00	0.00	0.00
Sibbi	97.21	2.79	2.02	0.77
Sohbatpur	99.39	0.61	0.27	0.34
Washuk	96.86	3.14	3.05	0.09
Zhob	0.00	0.00	0.00	0.00
Ziarat	99.96	0.04	0.04	0.00

7. WATER SUPPLY, SANITATION, HYGIENE & HOUSING

7.1 Introduction

Water is essential to sustain life; therefore, an adequate, safe and accessible supply must be available to all. Access to safe drinking water is essential for health; it is a basic human right and can result in tangible benefit to health. Provision of safe drinking water and basic sanitation coupled with personal hygiene are recognized as an essential component for promoting healthy living. Failure to ensure drinking water safety and proper sanitation system may expose the community to the risk of outbreak of infectious diseases.

The Government of Pakistan, while recognizing that access to safe drinking water is the basic human right for every citizen and to ensure its provision to all citizens is the responsibility of the state. Therefore in order to fulfil this commitment, Government has formulated the National Drinking Water Policy 2009[1] and National Sanitation Policy in 2006[2] through a countrywide consultation process with aim to increase public awareness about water safety, safe hygiene practice and water conservation. UN adopted Sustainable Development Goals (SDGs) as Development Agenda in 2015 by considering ground realities and for monitoring and reporting of SDGs, PSLM questionnaire on Water, Sanitation & Hygiene Module has been reviewed by Technical Committee. Questions were reviewed in each area and necessary amendments were made accordingly. Questions regarding Source of Water for cooking and hand washing, Hygiene, Sharing of Toilet, Fuel used for Heating have been included on recommendations of Committee to capture above mentioned indicators. Later on PSLM district level Survey 2019-20 monitor the situation of onsite treatment of faecal sludge.

Goal 6 put special emphasis on Water, Sanitation and Hygiene. Therefore the indicator such as SDGs 6.1.1 and 6.2.1 related to access of population to Safely Managed Drinking Water and Safely Managed Sanitation Services, SDGs Goal 7 related to access to affordable, reliable, sustainable and modern energy, SDGs 7.1.1, Proportion of population with access to electricity and SDGs whereas 7.1.2, pertain to Proportion of population with primary reliance on clean fuels and technology and the same are reported in this chapter[3].

7.2 Main Source of Drinking Water

In PSLM 2019-20 survey, information has been collected from households about the main source of drinking water. Accordingly the categories including Tap Water, Motorized Pump, Hand Pump, Dug Well, Spring, Bottle Water, Filtration Plant and Tanker/Truck/Water bearer.

[1] National Drinking Water Policy 2009
[2] National Sanitation Policy 2006
[3] www.undp.org/content/undp/en/home/sustainable-development-goals

Tap water is a delivery system; where the water is transported by a pipeline network from its collection point to the user and also treated before it is further supplied. In urban areas, generally water comes into house through pipes and is stored in tanks built with in the house, then the water for the use of households is lifted to small tanks built at the roof top of the house, such system should be recorded as tap water supply. Hand Pump is a pump operated manually to draw water from a bored hole. Dug well is of two types, Opened or Closed Well.

In Pakistan, 30 percent of household are using Motorized pumping as main source of drinking water in 2019-20 as compared to 33 percent in 2014-15 followed by Hand Pump with 23 percent in 2019-20 as compared to 26 percent in 2014-15 and Tap Water with 22 percent in 2019-20 as compared to 27 percent in 2014-15. Tap Water with 36 percent is the main source of drinking water in urban areas. Motorized pump with 34 percent is the main source of drinking water in rural areas whereas; Increase has been observed in Filtration Plant to 10 percent in 2019-20 from 3percent in 2014-15. Major increase has been observed in urban areas with respect to filtration plant to 19 percent in 2019-20 from 6 percent in 2014-15. (Figure 1, Table 7.1).

Figure 1: Source of Drinking Water

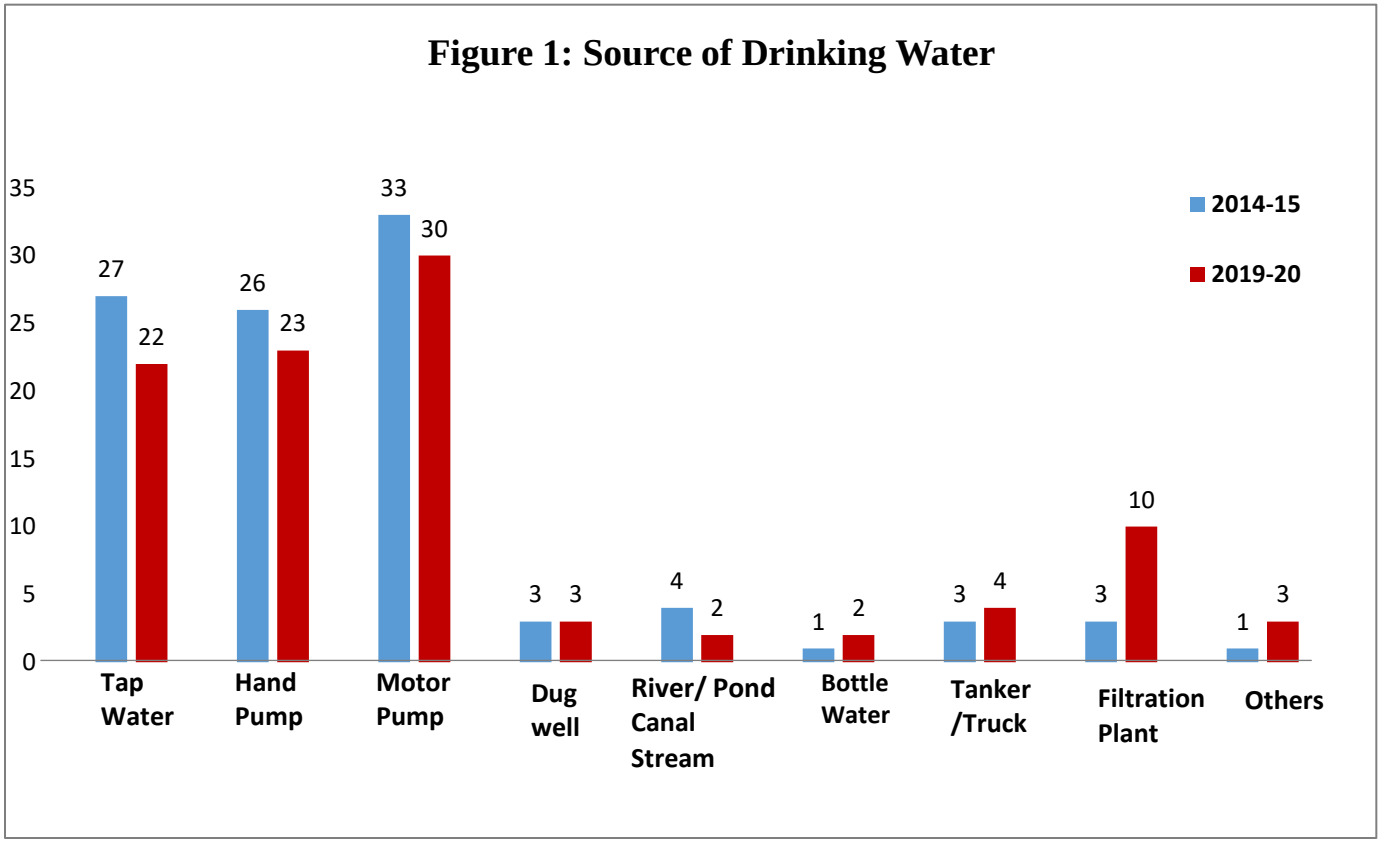

Provincial level comparison shows that the vast majority of the population of Punjab i.e. 63 percent has water either from Hand Pump or Motor Pump, followed by Tap Water with 13 percent. **In Punjab, the use of Motorized Pump has been decreased to 42 percent in 2019-20from 45 percent in 2014-15 but increase has been observed in Filtration Plant as source of drinking water with 18 percent as compare to 5 percent in 2014-15.** Sindh has shown as slight increase in term of Hand Pump i.e. 36 percent in 2019-20 as compared to 34 percent in 2014-15 and decreasing trend from 41 percent to 35 percent in terms of Tap Water. In Khyber Pakhtunkhwa, main source of drinking water is Tap water with30 percent in 2019-20 which has been decreased from 35 percent in 2014-15. In Balochistan, the main source of drinking water is Tap Water with 32 percent in 2019-20 as compared to 33 percent in 2014-15.In Islamabad 42 percent household are using motor pump as a main source of drinking water as compared to 43 percent in 2014-15,while comparing district Chakwal 76 percent, Larkana 33 percent, Mardan 59 percent and Duki with 84 percent are the top ranked district for using Motor pump as a main source of drinking water whereas district Lahore 14 percent, Karachi 1 percent ,Kohistan 0 percent and Gwadar with 0 percent are the bottom ranked district for using Motor pump as a source of water within respective province.

Figure2:Province wise Comparison of Main Source of drinking water

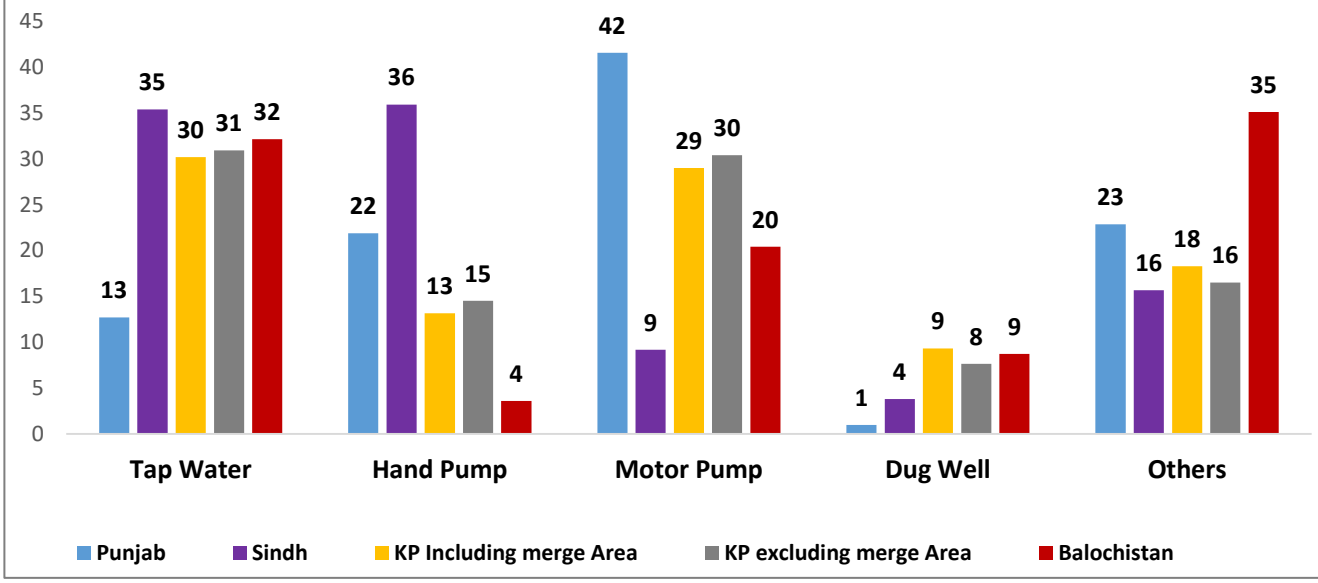

While comparing district about Tap water as a main Source of water, In Islamabad 26 percent household are using Tap Water as a main source of drinking water as compare to 20 percent in 2014-15. Bahawalnagar with 39 percent, Karachi Malir 82 percent, Tor Ghar with 75 percent and Gwadar 82 percent are the top ranked district for using Tap water as main source of drinking water within their respective provinces. On the other

hand Layyah 1 percent, Larkana 0 percent, Bajur 3 percent and Shaheed Skindarabad 0.3 percent are the bottom ranked district within respective provinces.

7.2.1 Improved Source of Drinking Water: Indicator is calculated as per definition of SDGs which includes Tap Water, Hand pump, Motor Pump, Dug Well Protected, Spring Protected, ,Bottle water, Tanker/Truck/Water Bearer and Filtration Plant[4]. In overall Pakistan, 94 percent of the households have access to improved source of drinking water. This percentage is higher in urban areas with, 99 percent as compared to 91 percent in rural areas. Provincial level comparison shows that Punjab has highest access to improved source of water, with 99 percent and Khyber Pakhtunkhwa Excluding Merged area and Including Merged Areas has lowest access with 85 percent and areas 83 percent respectively. In Islamabad 99 percent household have access to improve source of drinking water.(Figure 3)

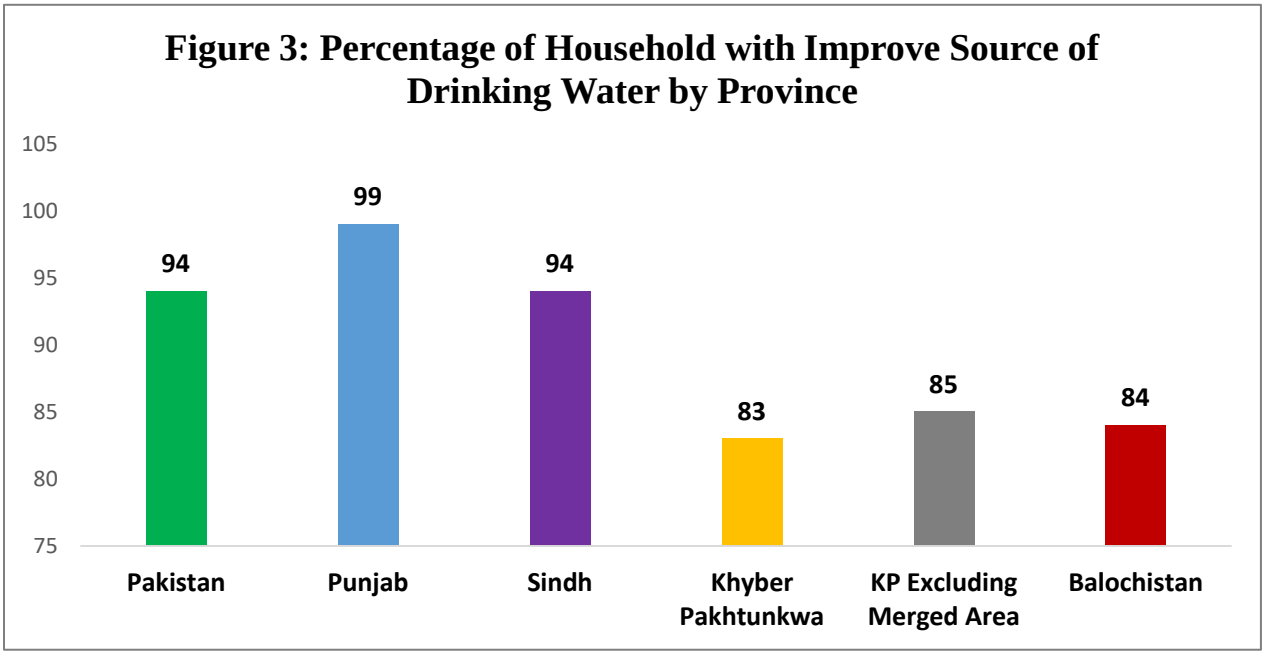

[4]unstats.un.org/sdgs/metadata/?Text=&Goal=6&Target=6.1

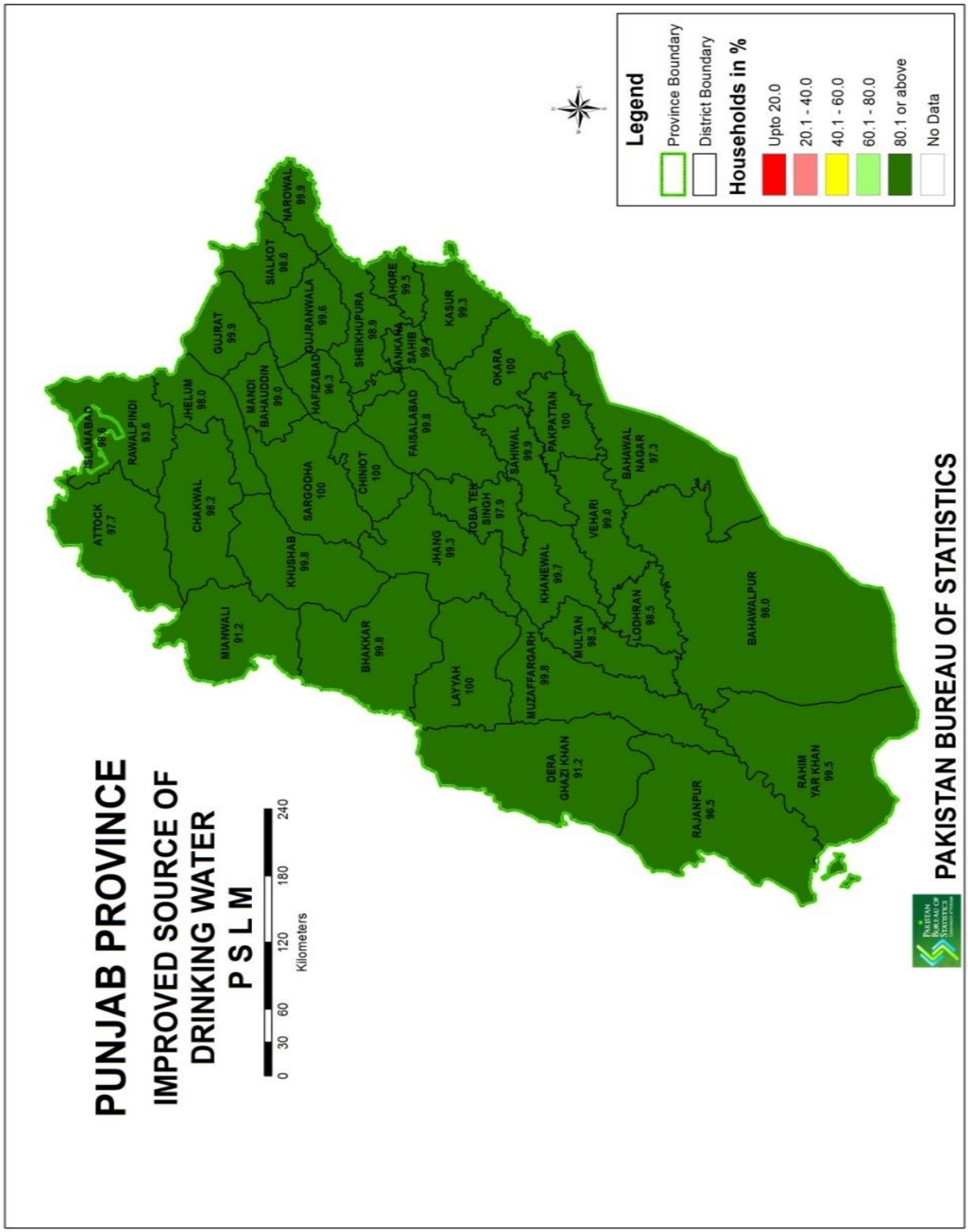
PUNJAB PROVINCE
IMPROVED SOURCE OF DRINKING WATER
P S L M
0 30 60 120 180 240
Kilometers
Legend
Province Boundary
District Boundary
Households in %
Upto 20.0
20.1 - 40.0
40.1 - 60.0
60.1 - 80.0
80.1 or above
No Data
ISLAMABAD 96.6
RAWALPINDI 93.6
ATTOCK 97.7
JHELUM 98.0
CHAKWAL 98.2
MIANWALI 91.2
GUJRAT 99.9
MANDI BAHAUDDIN 99.0
SARGODHA 100
KHUSHAB 99.8
BHAKKAR 99.8
SIALKOT 98.6
NAROWAL 99.9
GUJRANWALA 99.6
HAFIZABAD 96.3
CHINIOT 100
JHANG 99.3
LAYYAH 100
SHEIKHUPURA 98.9
LAHORE 99.5
NANKANA SAHIB 99.4
FAISALABAD 99.8
TOBA TEK SINGH 97.9
KHANEWAL 99.7
MUZAFFARGARH 99.8
KASUR 99.3
OKARA 100
SAHIWAL 99.9
PAKPATTAN 100
VEHARI 99.0
MULTAN 98.3
DERA GHAZI KHAN 91.2
RAJANPUR 96.5
BAHAWAL NAGAR 97.3
LODHRAN 98.5
BAHAWALPUR 98.0
RAHIM YAR KHAN 99.5
PAKISTAN BUREAU OF STATISTICS

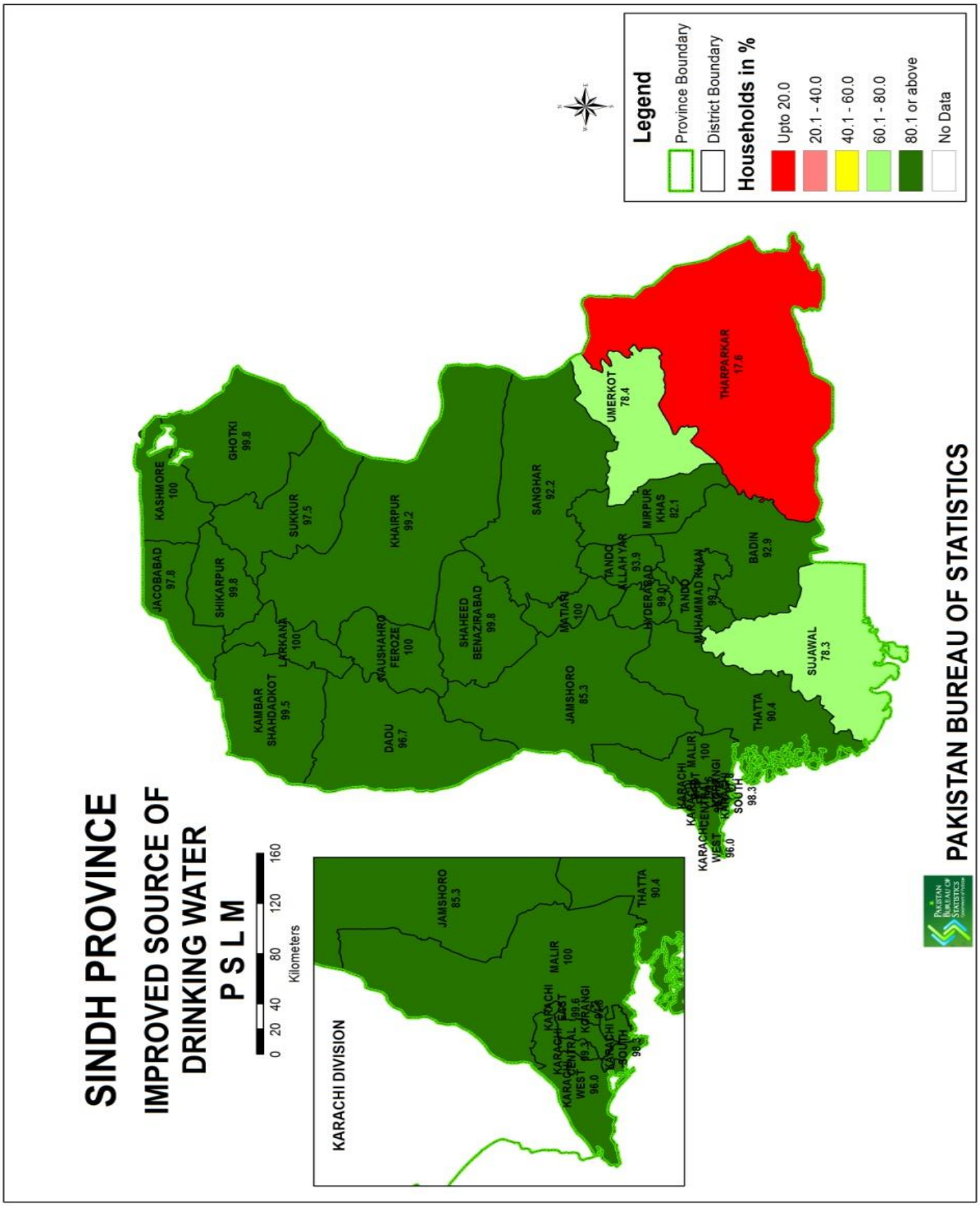
SINDH PROVINCE
IMPROVED SOURCE OF DRINKING WATER
P S L M
0 20 40 80 120 160
Kilometers
KARACHI DIVISION
JAMSHORO 85.3
THATTA 90.4
MALIR 100
KARACHI EAST 99.6
KARACHI CENTRAL 99.3
KARACHI WEST 96.0
KARACHI SOUTH 98.3
KORANGI 98.8
Legend
Province Boundary
District Boundary
Households in %
Upto 20.0
20.1 - 40.0
40.1 - 60.0
60.1 - 80.0
80.1 or above
No Data
GHOTKI 99.8
KASHMORE 100
SUKKUR 97.5
KHAIRPUR 99.2
SANGHAR 92.2
UMERKOT 78.4
THARPARKAR 17.6
JACOBABAD 97.8
SHIKARPUR 99.8
LARKANA 100
NAUSHAHRO FEROZE 100
SHAHEED BENAZIRABAD 99.8
MATIARI 100
TANDO ALLAH YAR 93.9
HYDERABAD 99.0
MIRPUR KHAS 82.1
TANDO MUHAMMAD KHAN 99.7
BADIN 92.9
SUJAWAL 78.3
KAMBAR SHAHDADKOT 99.5
DADU 96.7
JAMSHORO 85.3
THATTA 90.4
PAKISTAN BUREAU OF STATISTICS

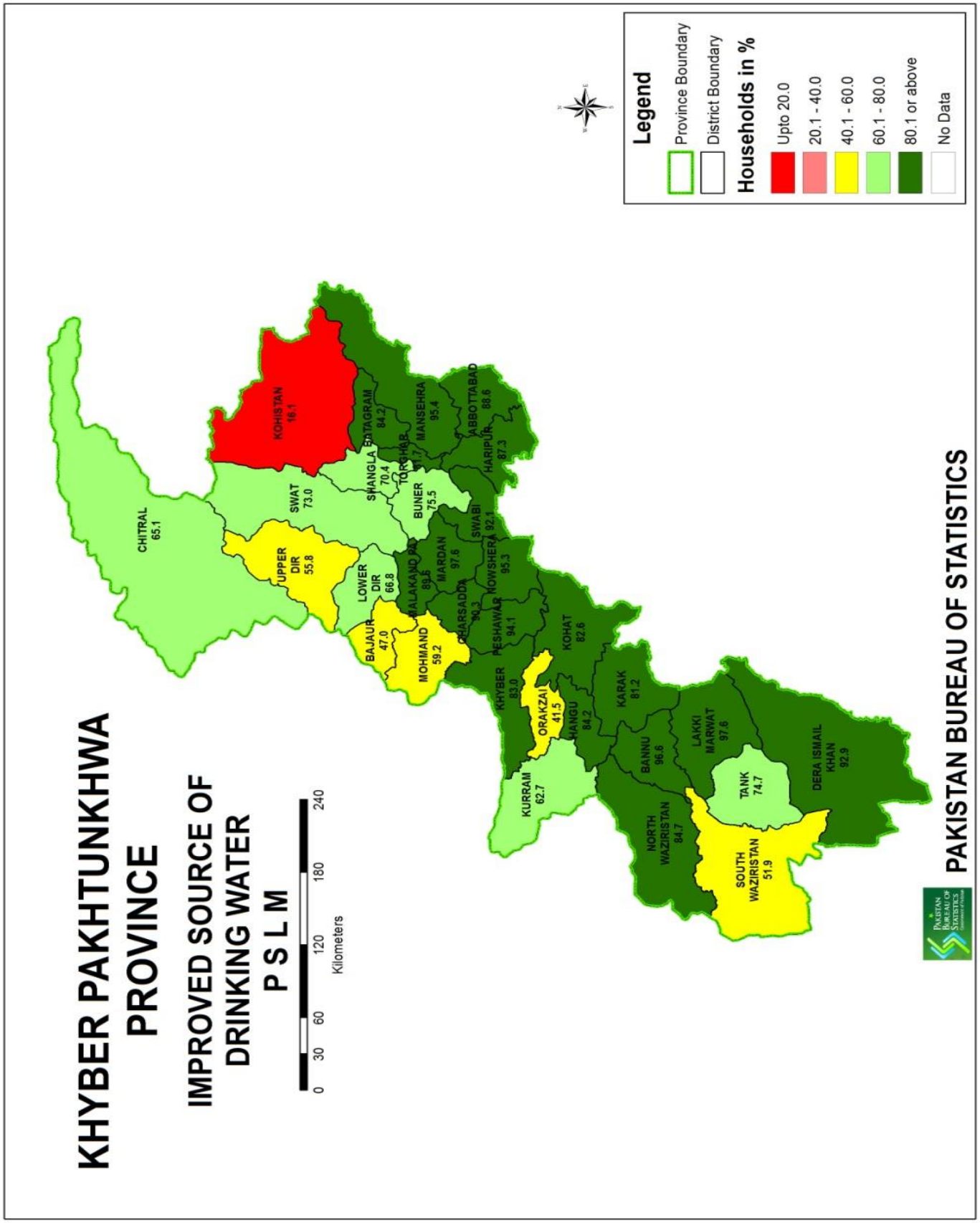
KHYBER PAKHTUNKHWA PROVINCE
IMPROVED SOURCE OF DRINKING WATER
P S L M
0 30 60 120 180 240
Kilometers
Legend
Province Boundary
District Boundary
Households in %
Upto 20.0
20.1 - 40.0
40.1 - 60.0
60.1 - 80.0
80.1 or above
No Data
KOHISTAN 16.1
BATAGRAM 84.2
MANSEHRA 95.4
ABBOTTABAD 88.6
HARIPUR 87.3
SHANGLA 70.4
TORGHAR 81.7
BUNER 75.5
SWABI 92.1
SWAT 73.0
CHITRAL 65.1
UPPER DIR 55.8
LOWER DIR 66.8
MALAKAND PA 89.6
MARDAN 97.6
CHARSADDA 90.3
NOWSHERA 95.3
PESHAWAR 94.1
BAJAUR 47.0
MOHMAND 59.2
KHYBER 83.0
ORAKZAI 41.5
KOHAT 82.6
KURRAM 62.7
HANGU 84.2
KARAK 81.2
BANNU 96.6
LAKKI MARWAT 97.6
TANK 74.7
DERA ISMAIL KHAN 92.9
NORTH WAZIRISTAN 84.7
SOUTH WAZIRISTAN 51.9
PAKISTAN BUREAU OF STATISTICS

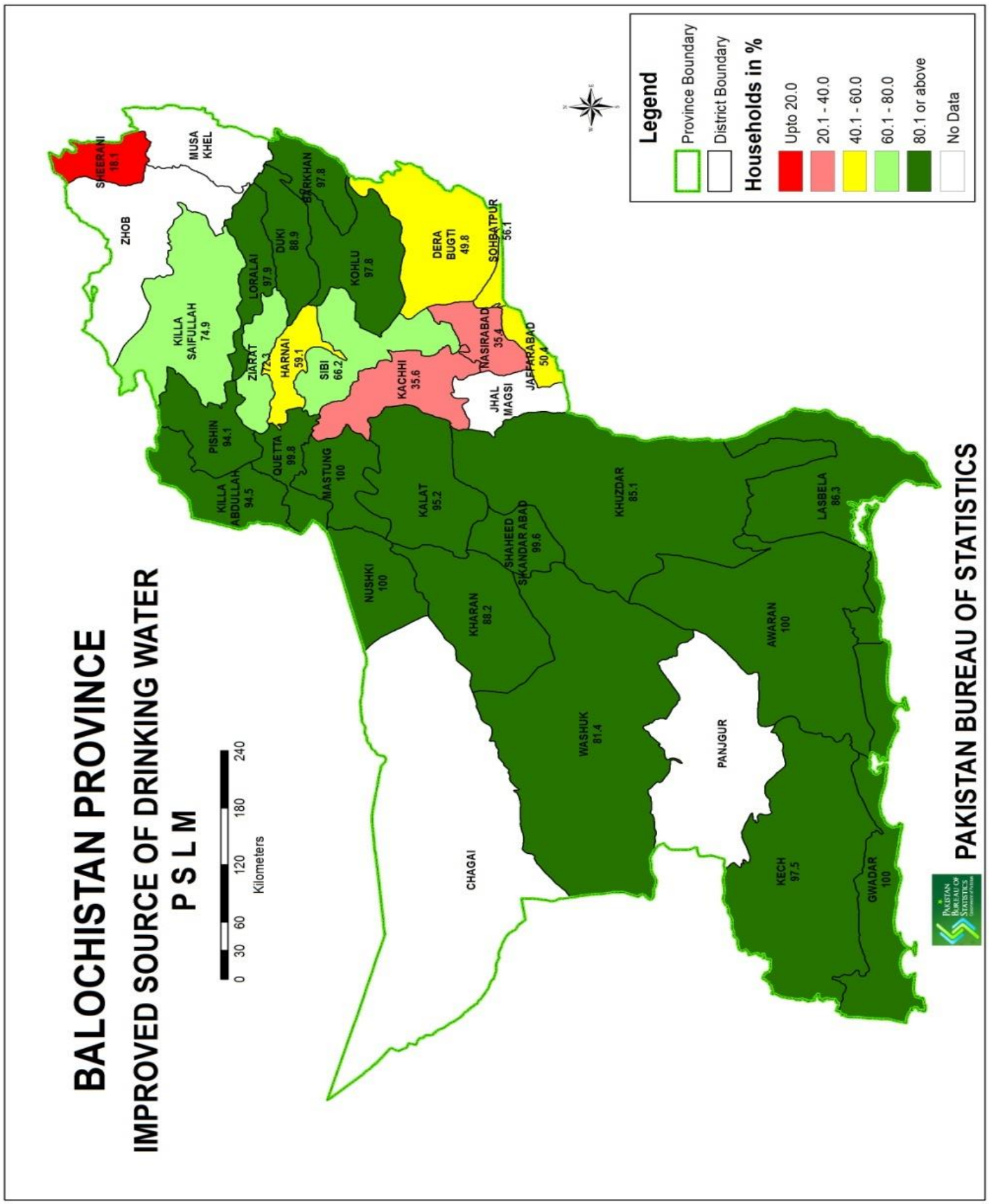
BALOCHISTAN PROVINCE
IMPROVED SOURCE OF DRINKING WATER
P S L M
Legend
Province Boundary
District Boundary
Households in %
Upto 20.0
20.1 - 40.0
40.1 - 60.0
60.1 - 80.0
80.1 or above
No Data
0 30 60 120 180 240
Kilometers
PAKISTAN BUREAU OF STATISTICS
SHEERANI 18.1
MUSA KHEL
ZHOB
KILLA SAIFULLAH 74.9
LORALAI 97.9
DUKI 88.9
BARKHAN 97.8
KOHLU 97.8
DERA BUGTI 49.8
SOHBATPUR 56.1
ZIARAT 72.3
HARNAI 59.1
SIBI 66.2
KACHHI 35.6
NASIRABAD 35.4
JAFFARABAD 50.4
JHAL MAGSI
PISHIN 94.1
QUETTA 99.8
KILLA ABDULLAH 94.5
MASTUNG 100
KALAT 95.2
NUSHKI 100
SHAHEED SIKANDAR ABAD 99.6
KHUZDAR 85.1
LASBELA 86.3
KHARAN 88.2
AWARAN 100
WASHUK 81.4
PANJGUR
CHAGAI
KECH 97.5
GWADAR 100

7.2.2 Installation of Water Delivery System: It is observed that 51 percent of the household arranged their own supply of drinking water. As PSLM 2019-20 Provincial and local government in the form of public health and safety have installed 29 percent of water supplies mechanism to the household along with the working capacity of Government bodies, there is also some other non-governmental(NGO's) organizations who works for public welfare and safety. Hence 19 percent water delivery system installed by NGO's in 2019-20. (Figure 4).

Figure 4:Household by Installation of Water Delivery system

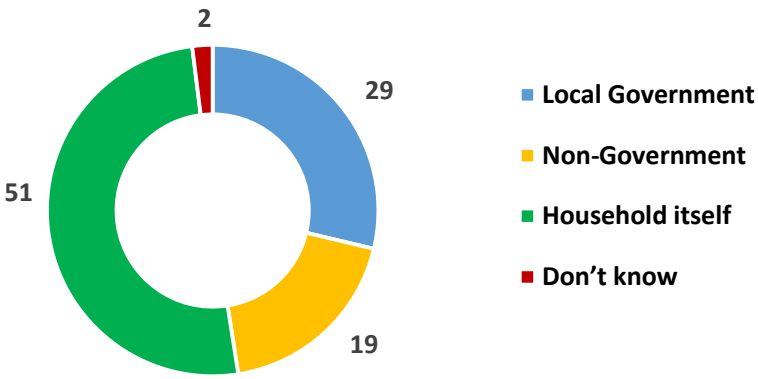

7.3 Sanitation

The term sanitation, however, extends to cover cleanliness, hygiene, proper collection of liquid and solid wastes and their environmentally sound disposal. Proper Sanitation system provides barrier to faecal diseases by collection and disposal of human excreta and also reduces the possibility of groundwater and distribution system contamination, which could affect human health through water consumption. Moreover, with the treatment and reuse of waste water, impacts on the health of receiving water bodies can be reduced. In this endeavour, the needs for waste reduction, reuse, recycle and change in the attitude towards consumption and production patterns are other imperatives for achieving goals of sustainable environment. Recognizing the importance of sanitation facilities in improving the quality of life of the people. The Government of Pakistan has formulated National Sanitation Policy in 2006 wherein broad framework and policy guidelines have been provided to enhance and support the sanitation coverage. It is, however, important that the implementation of the policy guidelines be carried out following an ecological approach to have sustainable sanitation systems.

Sanitation is also an important indicator of SDG's covered under "Goal 6" (SDG 6.2.1)[5]. Toilet is a fixture for defecation and urination, consisting of a bowl fitted with a hinged seat and connected to a waste pipe and a flushing apparatus. In the questionnaire, response was recorded regarding the type of toilet used by the Household.

[5]unstats.un.org/sdgs/metadata/?Text=&Goal=6&Target=6.2

A toilet, which is used by the household and is situated in the yard, is considered as a toilet with in the household. Toilet has been divided into three main categories Flush, Non Flush, No Toilet. However Improved Toilet (Flush) subdivided into Category such as: Flush Connected to Sewerage, Flush Connected to Septic Tank, and Flush Connected to Pit. Flush Connected Open Drain and Composting Toilet. The (Figure 5) gives picture of type of toilet facilities for overall Pakistan which shows that, 83 percent households have Flush toilet facility in 2019-20 as compared to 73 percent in 2014-15 (Figure 5). While going through (Table 7.2) it is quite evident that majority of urban households with 97 percent have Flush facility while only 74 percent of rural households have this facility. The overall access to Flush Toilets has increased in all provinces till the year 2019-20 as compared to previous years. Provincial level comparison shows that percentage of household with access to flush toilet is highest in Punjab with 89 percent in 2019-20 as compared to 79 percent in 2014-15, and Lowest Access in Balochistan with 44 percent as compared to 31 percent in 2014-15. In Islamabad 99 percent household have access to flush toilet Facility, while comparing district Lahore with 99 percent, Korangi 100 percent, Chitral 96 percent and Kohlu with 94 percent are the top ranked district with Access to Flush Toilet Facility within their respective province. On the other hand Bhakkar 61 percent, Tharparkar 2 1percent, Mohmand 32 percent and Khuzdar with1 percent are the bottom ranked district within their respective province. (Table 7.2)

Figure 5: Percentage of Householld by Type of Toilet Facility

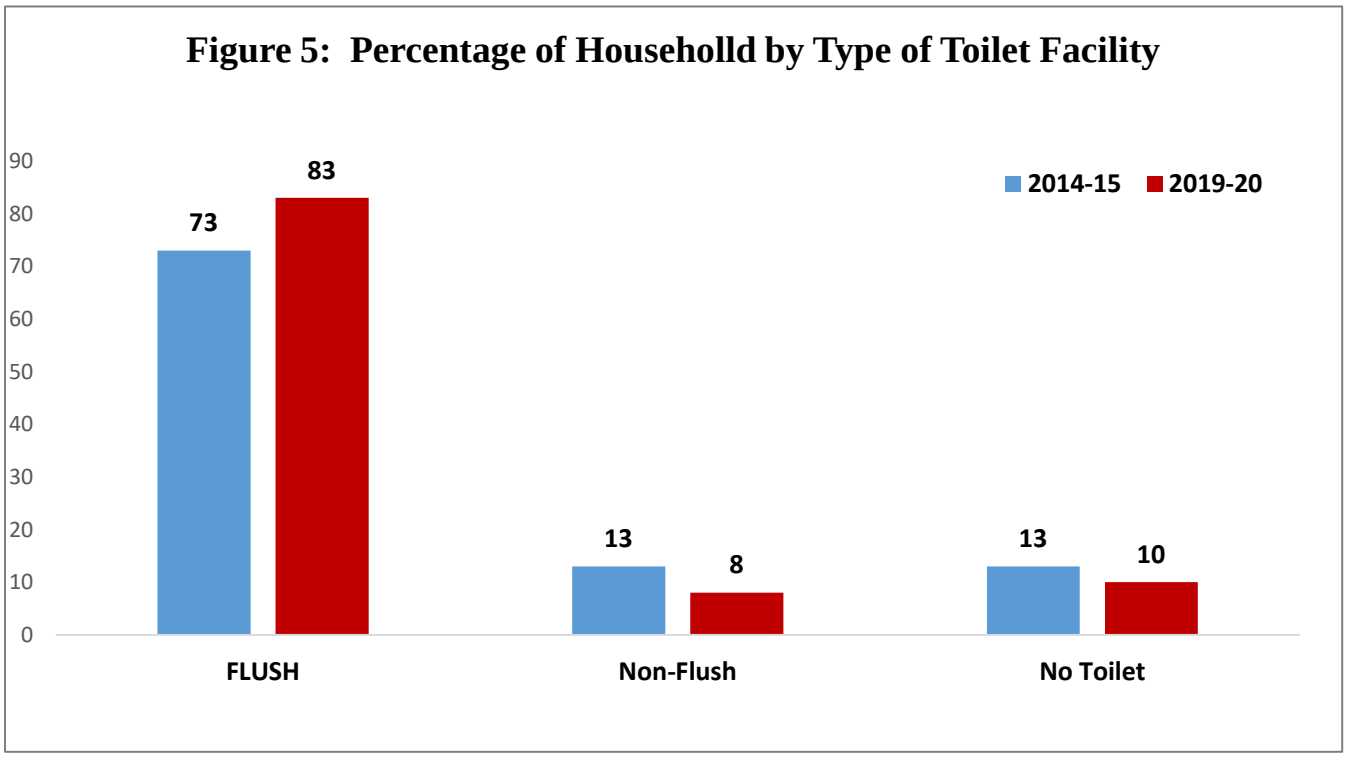

Overall, in Pakistan 8 percent of households are using non-flush toilet facilities as compared to 13 percent household in 2014-15. Non flush category includes, a soak pit is a "katcha" structure, which is closed down once it is filled up and not reused again. It is designed in a way so that the water disappears into the ground. Dry raised latrine with no flush a "khuddi" is used and the waste matter is taken away by a sweeper/jamadar and pit latrine a hole is dug in the ground, connected to a pit in which the water matter is accumulated. The hole is close down once the pit is filled up.

Only 10 percent households in 2019-20 do not have any Toilet Facility as compared to 13 percent in 2014-15. About 15 percent of rural population and 1 percent of urban population do not have access to toilet. Among provinces, the percentage of households with No Toilet Facility is highest in Balochistan with 17 percent and lowest in Khyber Pakhtunkhwa Excluding Merged areas and Including Merged area with 8 percent areas with 11 percent respectively. (Table 7.2)

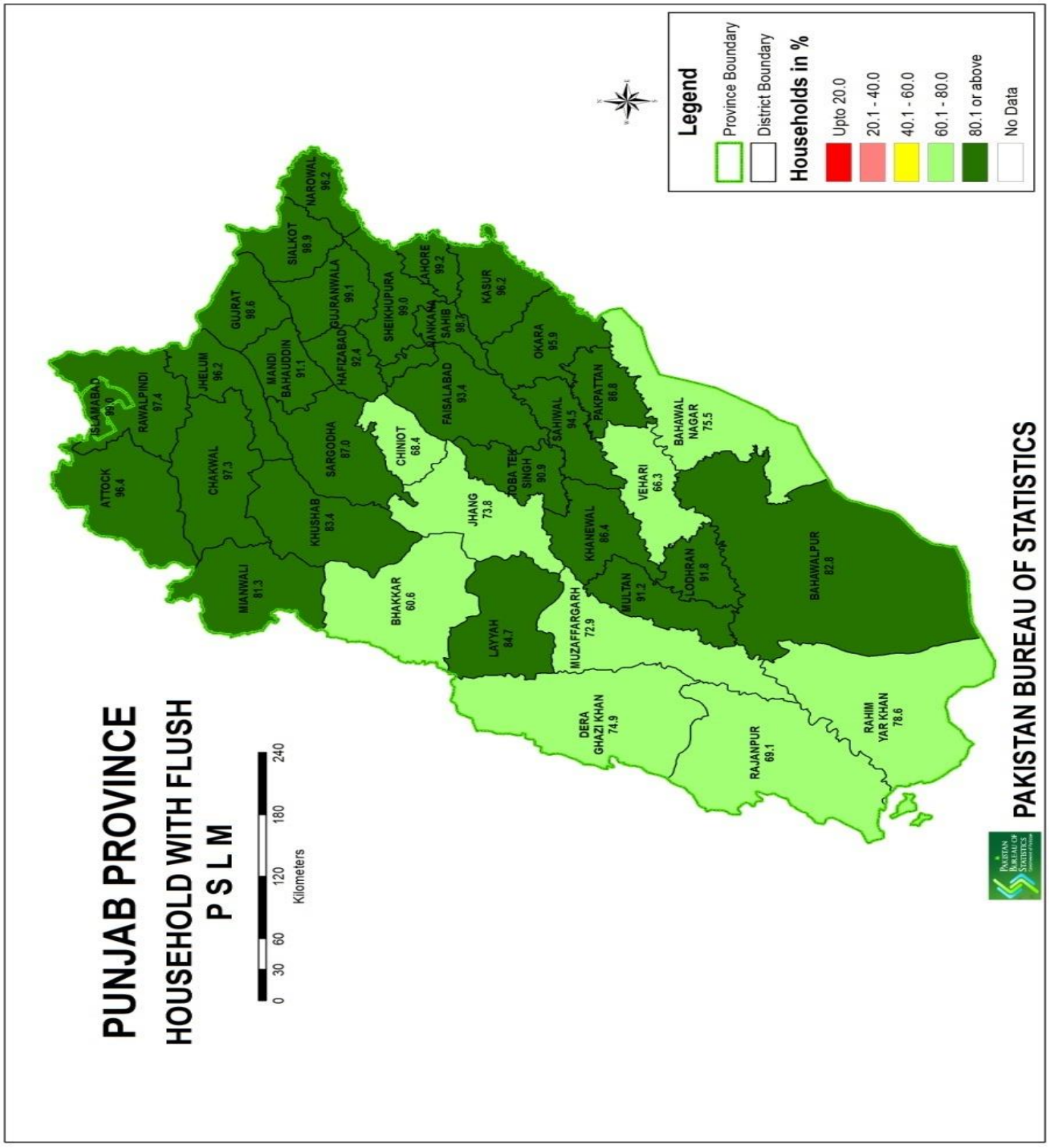
PUNJAB PROVINCE
HOUSEHOLD WITH FLUSH
P S L M
0 30 60 120 180 240
Kilometers
Legend
Province Boundary
District Boundary
Households in %
Upto 20.0
20.1 - 40.0
40.1 - 60.0
60.1 - 80.0
80.1 or above
No Data
PAKISTAN BUREAU OF STATISTICS
ISLAMABAD 99.9
RAWALPINDI 97.4
ATTOCK 96.4
JHELUM 96.2
CHAKWAL 97.3
GUJRAT 98.6
MANDI BAHAUDDIN 91.1
SIALKOT 98.9
NAROWAL 96.2
GUJRANWALA 99.1
HAFIZABAD 92.4
SHEIKHUPURA 99.0
LAHORE 99.2
KANKANA SAHIB 98.3
KASUR 96.2
OKARA 95.9
SARGODHA 87.0
CHINIOT 68.4
FAISALABAD 93.4
TOBA TEK SINGH 90.9
SAHIWAL 94.5
PAKPATTAN 86.8
BAHAWAL NAGAR 75.5
KHUSHAB 83.4
JHANG 73.8
VEHARI 66.3
MIANWALI 81.3
BHAKKAR 60.6
KHANEWAL 86.4
MULTAN 91.2
LODHRAN 91.8
BAHAWALPUR 82.8
LAYYAH 84.7
MUZAFFARGARH 72.9
DERA GHAZI KHAN 74.9
RAJANPUR 69.1
RAHIM YAR KHAN 78.6

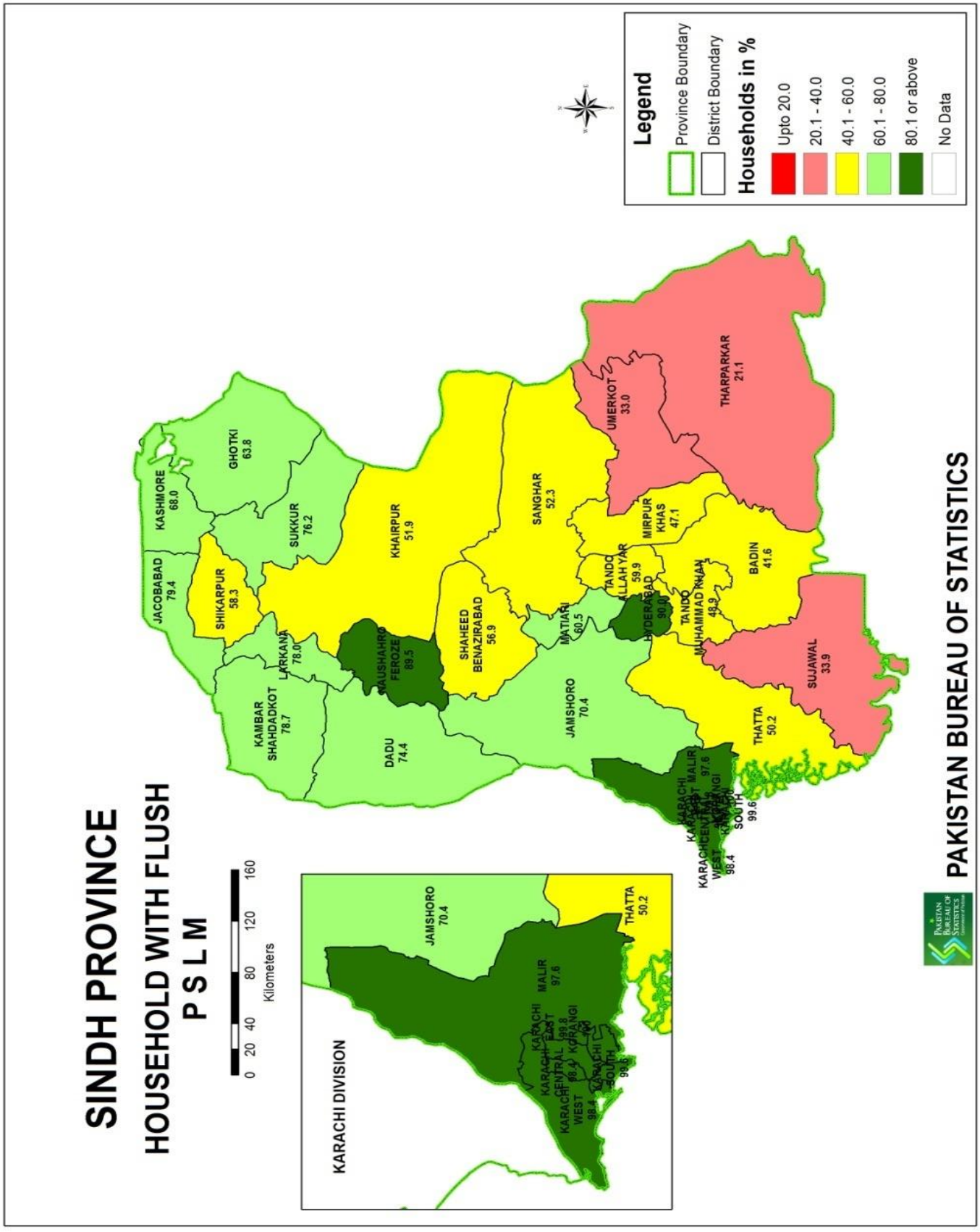
SINDH PROVINCE
HOUSEHOLD WITH FLUSH
P S L M
0 20 40 80 120 160
Kilometers
KARACHI DIVISION
JAMSHORO 70.4
THATTA 50.2
MALIR 97.6
KARACHI EAST 99.8
KARACHI CENTRAL 98.4
KARACHI WEST 98.4
KARACHI SOUTH 99.6
Legend
Province Boundary
District Boundary
Households in %
Upto 20.0
20.1 - 40.0
40.1 - 60.0
60.1 - 80.0
80.1 or above
No Data
KASHMORE 68.0
GHOTKI 63.8
JACOBABAD 79.4
SHIKARPUR 58.3
SUKKUR 76.2
KHAIRPUR 51.9
SANGHAR 52.3
UMERKOT 33.0
THARPARKAR 21.1
MIRPUR KHAS 47.1
TANDO ALLAH YAR 59.9
HYDERABAD 90.0
BADIN 41.6
TANDO MUHAMMAD KHAN 48.9
LARKANA 78.0
KAUSHAHRO FEROZE 89.5
SHAHEED BENAZIRABAD 56.9
MATIARI 60.5
SUJAWAL 33.9
KAMBAR SHAHDADKOT 78.7
DADU 74.4
JAMSHORO 70.4
THATTA 50.2
KARACHI WEST 98.4
KARACHI SOUTH 99.6
PAKISTAN BUREAU OF STATISTICS

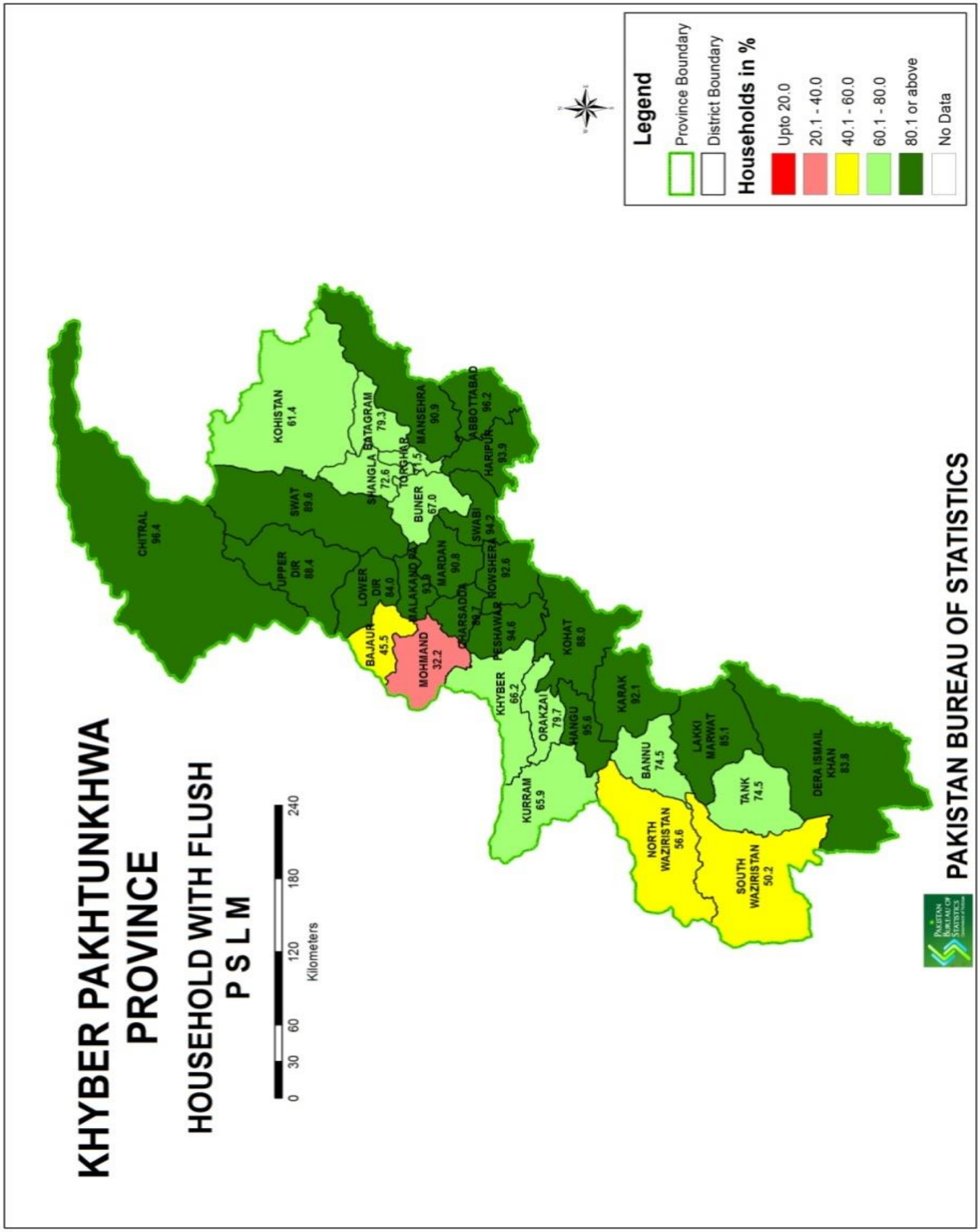
KHYBER PAKHTUNKHWA PROVINCE
HOUSEHOLD WITH FLUSH
P S L M
0 30 60 120 180 240
Kilometers
Legend
Province Boundary
District Boundary
Households in %
Upto 20.0
20.1 - 40.0
40.1 - 60.0
60.1 - 80.0
80.1 or above
No Data
KOHISTAN 61.4
BATAGRAM 79.3
MANSEHRA 90.9
ABBOTTABAD 96.2
HARIPUR 83.9
SHANGLA 72.6
TORGHAR 71.5
BUNER 67.0
SWABI 94.2
SWAT 89.6
CHITRAL 96.4
UPPER DIR 88.4
LOWER DIR 84.0
MALAKAND 93.0
MARDAN 90.8
CHARSADDA 89.7
NOWSHERA 92.6
PESHAWAR 94.6
BAJAUR 45.5
MOHMAND 32.2
KOHAT 88.0
KHYBER 66.2
ORAKZAI 79.7
HANGU 95.6
KARAK 92.1
KURRAM 65.9
BANNU 74.5
LAKKI MARWAT 85.1
TANK 74.5
DERA ISMAIL KHAN 83.8
NORTH WAZIRISTAN 56.6
SOUTH WAZIRISTAN 50.2
PAKISTAN BUREAU OF STATISTICS

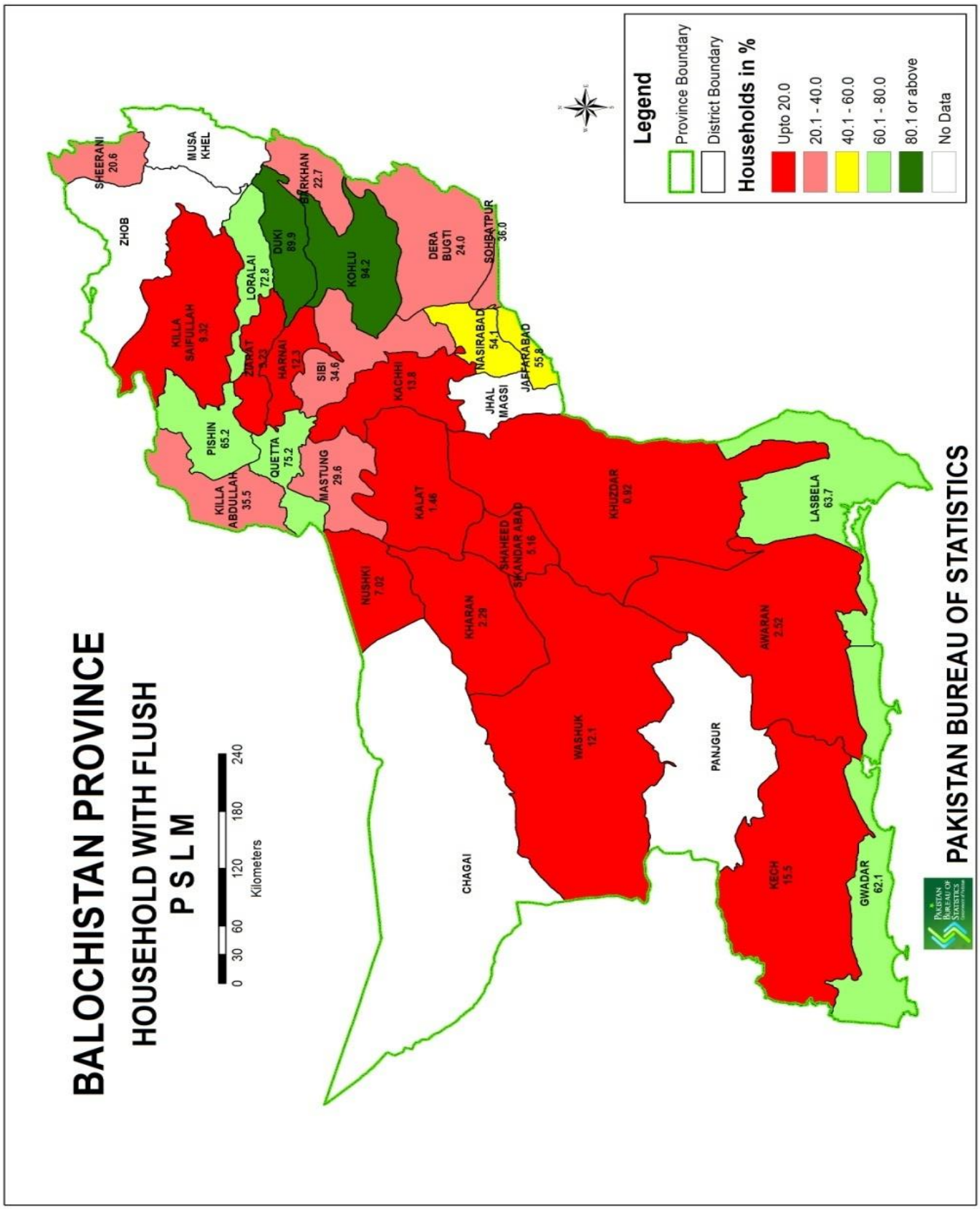
BALOCHISTAN PROVINCE
HOUSEHOLD WITH FLUSH
P S L M
0 30 60 120 180 240
Kilometers
Legend
Province Boundary
District Boundary
Households in %
Upto 20.0
20.1 - 40.0
40.1 - 60.0
60.1 - 80.0
80.1 or above
No Data
PAKISTAN BUREAU OF STATISTICS
SHEERANI 20.6
MUSA KHEL
ZHOB
BARKHAN 22.7
DUKI 89.9
LORALAI 72.8
KOHLU 94.2
DERA BUGTI 24.0
SOHBATPUR 36.0
KILLA SAIFULLAH 9.32
ZHARAT 3.23
HARNAI 12.3
SIBI 34.6
NASIRABAD 54.1
JAFFARABAD 55.8
KACHHI 13.8
JHAL MAGSI
PISHIN 65.2
QUETTA 75.2
KILLA ABDULLAH 35.5
MASTUNG 29.6
KALAT 1.46
KHUZDAR 0.92
LASBELA 63.7
NUSHKI 7.02
SHAHEED SIKANDAR ABAD 5.16
KHARAN 2.29
AWARAN 2.52
WASHUK 12.1
PANJGUR
CHAGAI
KECH 15.5
GWADAR 62.1

7.3.1 Improved Toilet Not Shared with Other Households: PSLM 2019-20 collected information on Improved Toilet (Flush) facility that is not shared with other households. In overall Pakistan, 68 percent of the households have Improved Toilet (Flush) facility that is not shared with other households.

About 81 percent of urban households and 60 percent of the rural households have access to Improved, not shared Toilet facility. Among provinces, Punjab and Khyber Pakhtunkhwa are at top with 72 percent and Balochistan is at bottom with 41 percent. In Islamabad 87 percent household has improve Flush toilet Facility not share with other household. District wise comparison reveals Attock 91 percent, Karachi South 94 percent, Chitral 94 percent and Duki 90 percent are the top ranked district with Improve toilet facility not share with other household. Whereas district Bhakkar 41 percent, Umerkot17 percent, Mohmand 27 percent and Kharan with 1 percent are the district with less percentage to access improve toilet facility not share with other household in their respective provinces. (Figure 6)

Figure 6 : Houshold with Improved Flush Facilty not Shared with Other Household By Province

7.3.2OnsiteTreatmentFaecalSludge:

Onsite treatment refers to the collection, transport, and **treatment** of **faecal sludge** from pit latrines, septic tanks etc. PSLM 2019-20 collected information from household regarding onsite treatment.In Pakistan 27 percent houselods toilets are connected to sewerage system, regional comaprison reveal that 61 percent household of urban areas connected to swerage system as compared to 6 percent in rural areas.

Table:7-A Household by type of Toilet Categories

	Urban	Rural	Total
Flush connected to sewerage	61	6	27
Flush connected to septic Tank	14	25	21
Flush connected to Pit	5	24	17
Flush connected to Open Drain	17	18	18
Compositing toilet	0	0	0
Non-Flush	2	11	8
No Toilet	1	15	10

Overall 21 percent housholds are using Flush connected to septic tank out of which 25 percent in rutal areas and 14 percent in Urban areas, 17 percent toilets connected to Pit and 18 percent Open drains repectively. In response to the question regarding cleaning of septic tank and pit latrine about 62 percent household reported they never required epmptying and 13 percent reported they even don't know about it. Whereas 4 percent reported that their septic tank or pit has been cleaned within last 5 years, 3 percent reported don't remember and 2 percent reported pit or septic tank was cleaned 5 years back.(Figure 7)

Figure 7: Percentage of household by onside fecal sludge treatment.

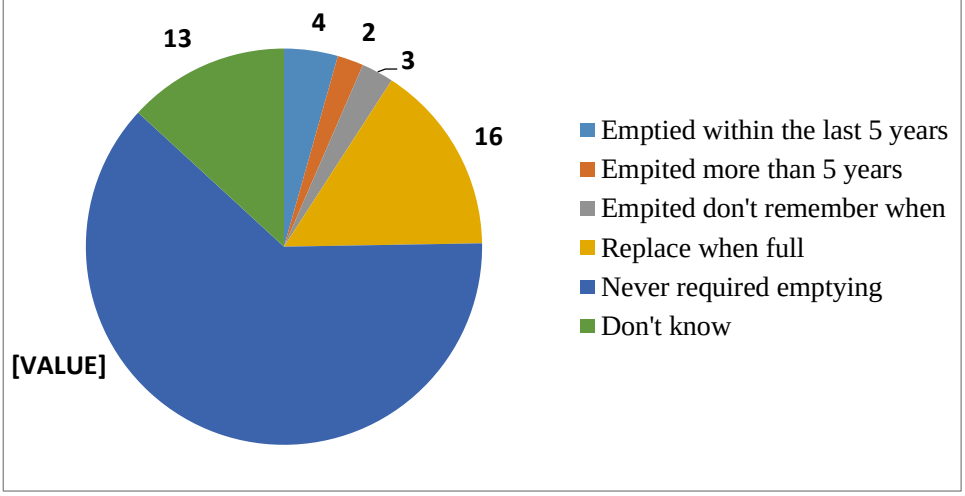

7.4 Type of Sanitation System Installed

Sanitation System means access to proper sanitary sewerage system through which house is connected, proper water drainage system and safe disposal of wastewater. The lack of proper sanitation facilities is directly related to the pollution of ecosystem, due to the discharge of uncontrolled and untreated wastes from

various sources with little regard for the waste assimilation capacity of the environment resulting in a host of water related diseases. To improve the health status of the people, the countries require system for the safe collection and disposal of human waste through feasible sanitation technologies and hygiene promotion. PSLM collected information in 2019-20 on type of sanitation system used by households, 23 percent household reported connection with underground sanitation system, while covered and open drain is 6 percent and 35 percent respectively, whereas 36 percent of households do not have any form of sanitation system. Urban and rural areas have contrasting picture, as 54 percent of households in rural areas do not have any sanitation system as compared to only 8 percent of households in urban areas. Provincial comparison shows that in Balochistan, highest percentage of households who do not have any sanitation system i.e.63percent and Punjab with 28 percent at lowest ranked provinces. (Figure 8)

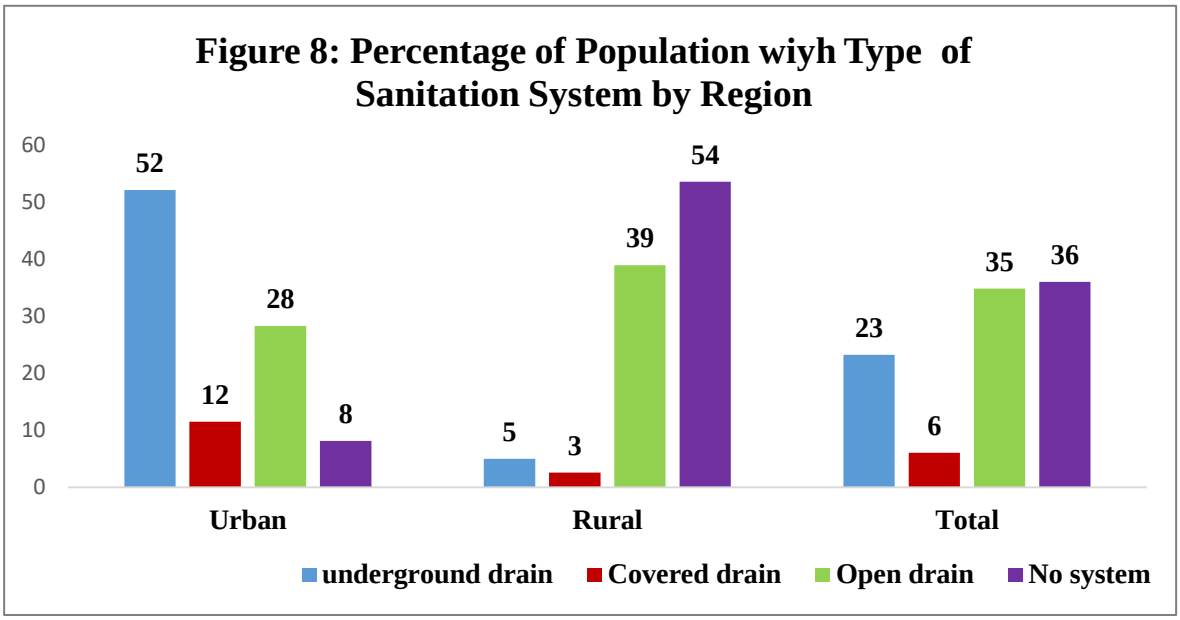

7.5 Garbage Collection System in Pakistan

The term Garbage collection refers to the transfer of solid waste from the point of use and disposal to the point of treatment or landfill. Solid waste collection by the Government Municipality sector is recorded 17 percent in PSLM 2019-20, which indicates the poor solid waste management system for collection of solid waste upto its proper disposal. Urban and rural areas shows wide gap with 39 percent and 2 percent respectively. Among Province Sindh with 22 percent is at top while Khyber Pakhtunkhwa with 5 percent is at bottom with Access to the Garbage collection by Government Municipality system. In Islamabad 63 percent household has Garbage collection by Municipality system. While Comparing district Lahore 52 percent, Karachi Central 61 percent, Peshawar 28 percent and Quetta 42 percent are the top Ranked district with

Access to Garbage collection by Municipality system .Whereas district Rajanpur 0 percent, Umer kot 0 percent, Orkazai 0 percent and Ziarat with 0 percent are the bottom ranked district with Access to garbage collection by Municipality within their respective provinces.

Overall in Pakistan 67 percent of households reported that they had no Garbage collection system in 2019-20. Here again there is wider gap in households who have no Garbage collection system between urban and rural areas with 44 percent and 97 percent respectively. In rural areas, except Balochistan the pattern is more or less same for all the three provinces. (Table 7.3, Figure 9)

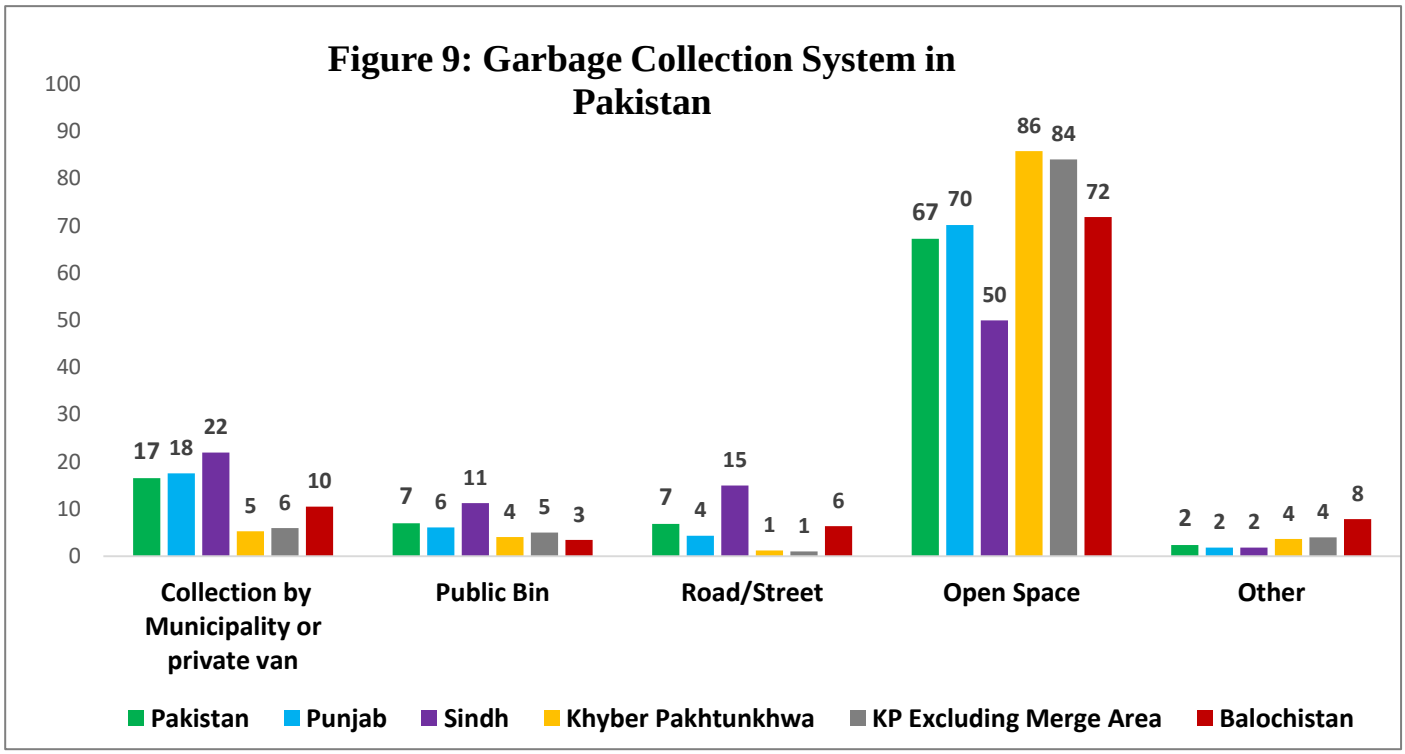

7.6 Hygiene

Hand washing with soap as an effective, affordable way to prevent diseases and also SDGs indicator (6.2.1b: Population with a basic hand washing facility: a device to contain, transport or regulate the flow of water to facilitate hand washing with soap and water in the household.)[6]. PSLM 2019-20 collects information from households about the facility of specific place of Hand Washing with availability of Hand Washing Agent like Soap, Detergent etc. In overall Pakistan, 54 percent of the households have access to specific place of hand washing with washing agent. A significant gap has been observed in urban and rural areas with 77

[6]unstats.un.org/sdgs/metadata/?Text=&Goal=6&Target=6.2

percent and 39 percent respectively. Provincial comparison shows that Punjab is at top with 61 percent and Balochistan is at the lowest with 31 percent. (Figure 10)

Figure 10 :Percentage of Household with Specific place of Handwash and Handwashing Paractice with Soap.

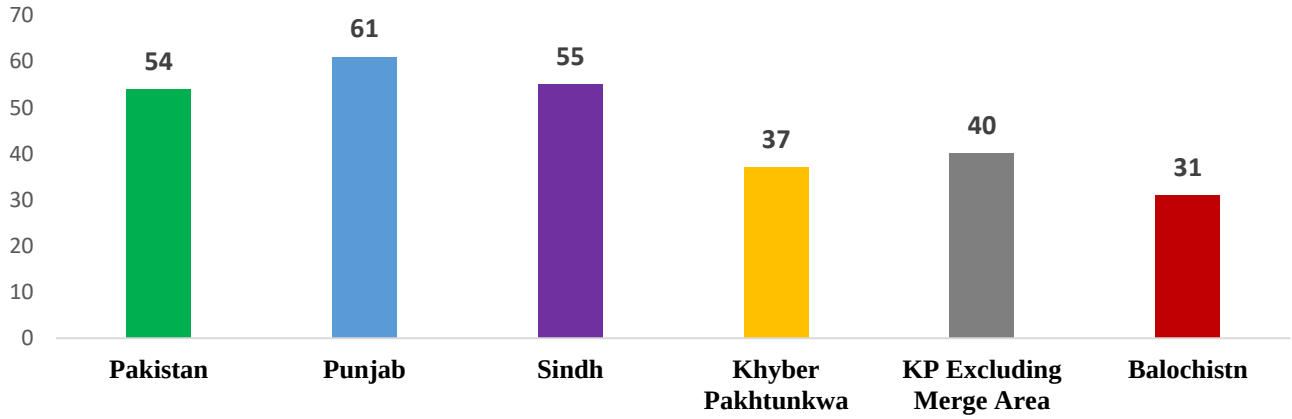

7.7 Housing Characteristics

Housing is one of the most important life components giving shelter, safety and comfort, as well as providing a place to live. The need for housing is not only one of the basic human needs, but also the indicator of living standard of the population. A house is a building that functions as a home for humans, including simple dwellings ranging from rudimentary huts of nomadic tribes to complex structures composed of many systems. PSLM 2019-20 collects information on some household indicators including occupancy status, type of roof, walls and floor. Further, it also collects information on fuel used for cooking, heating and lighting .

7.7.1 Household Tenure and Number of Rooms Occupied by Household: Housing tenure indicates dwelling unit that is Owner Occupied, On Rent, Rent Free or on Subsidized Rent. In overall Pakistan, the numbers of households that Own Dwelling is 82 percent during period 2019-20 as compared to 84 percent in 2014-15. The percentage is higher in rural areas i.e. 89 percent as compared to 70 percent in urban areas. Provincial comparison shows that percentage of households that Own their Dwelling unit is highest in Khyber Pakhtunkhwa with 85 percent in 2019-20 as compared to 87 percent in 2014-15 and lowest in Sindh with is 76 percent as compared to 81 percent in 2014-15. In Islamabad 50 percent of household have their own dwelling unit in 2019-20 which remain stable from 2014-15. Comparison of districts shows that Narowal with 95 percent , Matiari with 95 percent ,South Waziristan with 100 percent and Khuzdar with 100 percent are the district where people predominantly live in their own housing unit within their respective provinces. On the other hand

Lahore with 66 percent, Karachi South with 53 percent, Batagram with 62 percent and Sohbatpur with 42 percent are at bottom with the household who own dwelling unit within their respective provinces. (Table 7.4)

Figure 11:Percentage of Household with Owned Dwelling Unit

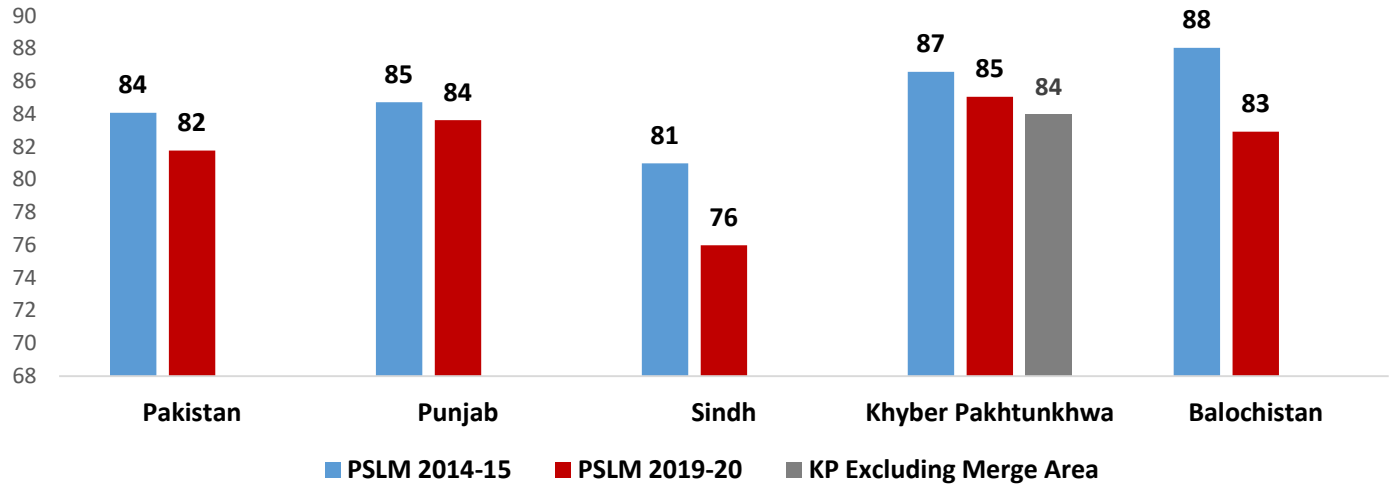

In overall Pakistan, 10 percent of households are living on Rented and Subsidized Rented houses in 2019-20 as compared to 8 percent in 2014-15. Provincial level comparison shows that Sindh at top with15 percent in 2019-20 as compare to 11 percent in 2014-15 and Khyber Pakhtunkhwa is at bottom with 7 percent remain stable as compared to 2014-15.In Islamabad 34 percent household are living in rented and subsidized rented house in 2019-20. While comparing at district level it is observed that Lahore with 24 percent, Karachi west 35 percent, Peshawar 23 percent and Quetta with 28 percent are the top ranked district living in rented houses. (Table 7.4)

Room is defined as any space enclosed within four walls to which entry is possible only by a door that connects it either to a passageway, to another room, or to the outdoors, that is large enough for several persons to move about, and whose size, fixtures, furnishings, and sometimes placement within the building support the activity to be conducted in it. According to PSLM 2019-20, majority of the households in Pakistan live in housing units with 2-4 Rooms with 69 percent, as compared to 67 percent in 2014-15. However houses with five or more Rooms remain stagnant at 6 percent during 2019-20. Provincial comparison showed that Khyber Pakhtunkhwa at top with 74 percent of housing units with2-4 rooms, while Sindh at bottom with 63 percent in 2019-20. It is observed that, 25 percent of households in Pakistan are living in housing unit with 1 room. Sindh at top with 36 percent and lowest Khyber Pakhtunkhwa with 16 percent households living in housing unit with 1

room, followed by Punjab and Balochistan with 23 percent. In Islamabad 11 percent household living in 1 room while district comparison reveals that Muzaffargarh 40 percent, Shaheed Benazirabad 72 percent, Kohat 26 percent and Sohbatpur with 67 percent have highest percentage of household with 1 room .Whereas district Chakwal with 7 percent, Karachi East with 9 percent, Tank with 5 percent and Sheerani with 0 percent are the district with lowest percentage of household with 1 room in their respective provinces. (Figure 12, Table 7.5)

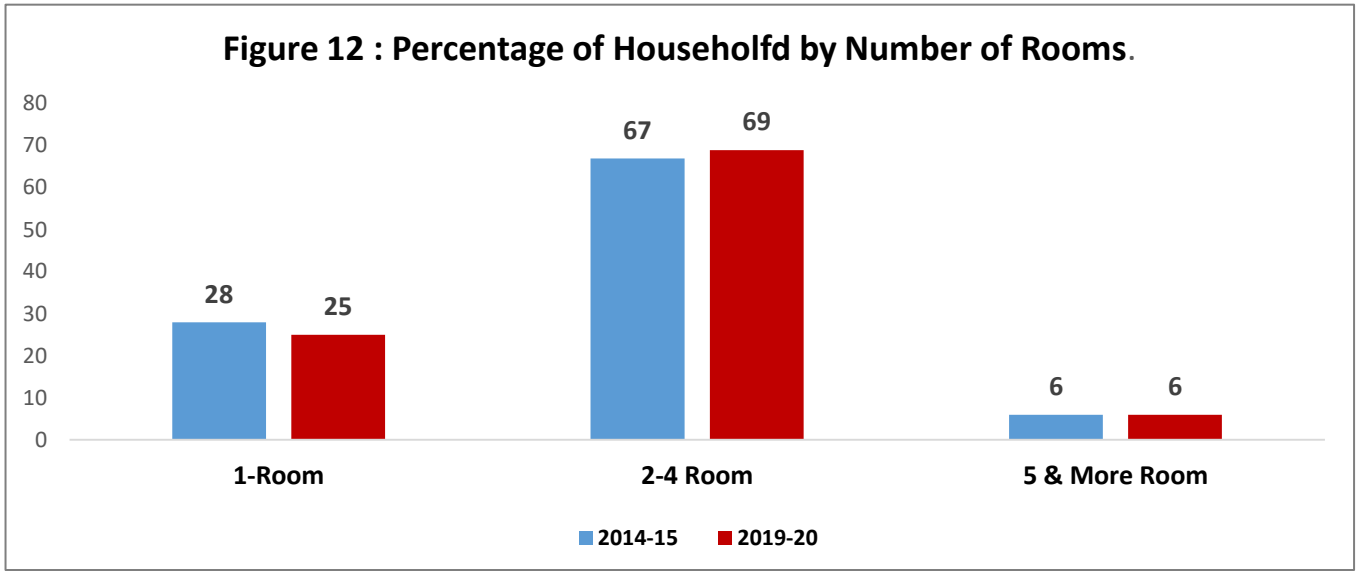

7.7.2 Household Material used for Roof and Walls: A **Roof** is the top covering of a building including all material and constructions necessary to support it on the walls of the building. It provides protection against rain, snow, sunlight, wind and extreme of temperature. According to PSLM 2019-20 the material used for roof categorized as RCC/RBC, Wood, Bamboo, Iron, Cement, T-R and Garter etc.

In Pakistan, Garter/T-iron with 39 percent is predominantly used material for roof construction. This percentage is higher in rural area i.e. 46 percent as compared to 28 percent in urban area. The use of Garter/T-iron is highest in Punjab with 50 percent and lowest in Khyber Pakhtunkhwa (Excluding & Including Merged Areas) with 21 percent. The second most material use for roof is RCC/RBC with 33 percent this percentage is higher in urban Areas with 60 percent in 2019-20 as compared to 57 percent in 2014-15. Punjab at top with 36 percent of households, while Balochistan has the lowest percentage with 9 percent for using RCC/RBC as a roof material. (Table 13)

In Islamabad 91 percent household use RCC/RBC for construction of roof. District wise comparison reveals that Lahore with 87 percent, Karachi south 84 percent, Haripur 73 percent and Quetta with 31 percent is the top ranked district using RCC/RBC for construction of roof within their respective provinces. Balochistan with 61

percent households is at top for using Wood/Bamboo for roof in 2019-20 as compared to 68 percent in 2014-15.(Table 7.6)

Figure 13: Material USed for Roof

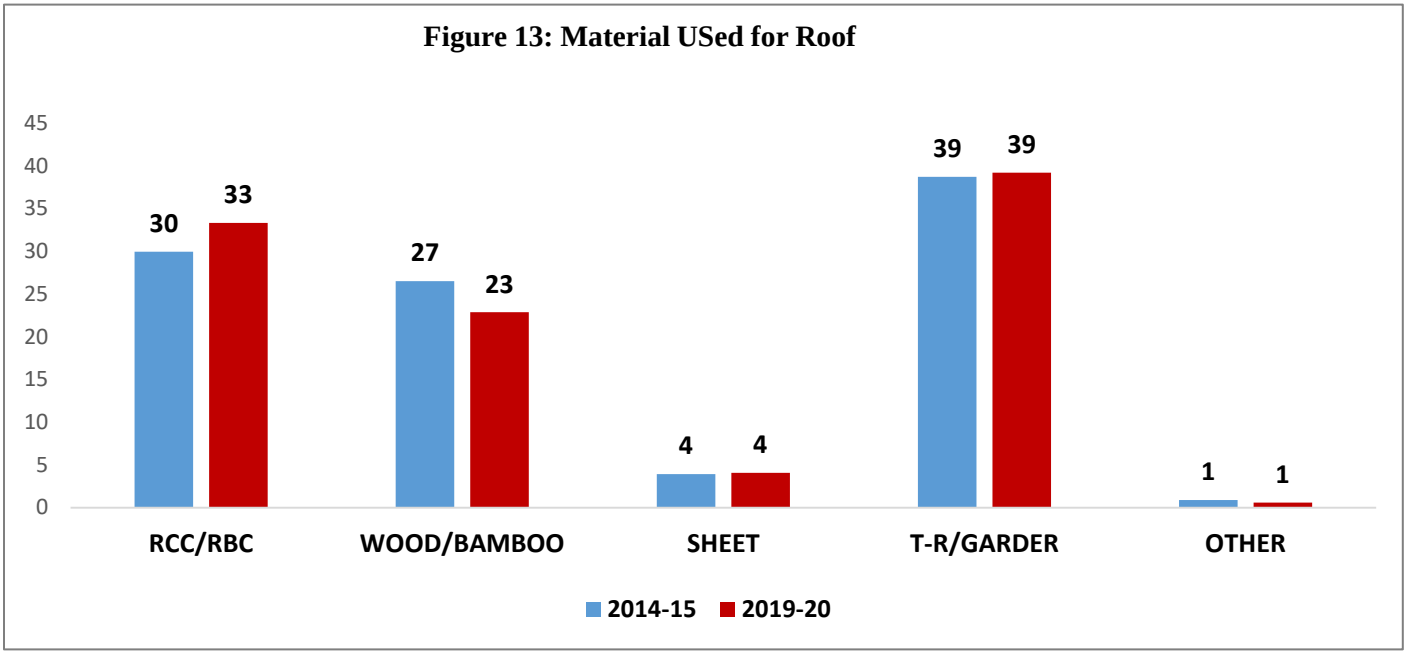

A **Wall** is a structure that defines an area, carries a load, and provides shelter and support to roof. In overall Pakistan, Burnt Bricks/Blocks is the material used mainly for construction of walls with 80 percent as compared to 79 percent in 2014-15. Percentage is higher in urban areas, 96 percent as compared to 70 percent in rural areas. Provincial comparison shows that the use of Burnt Bricks/Blocks is highest in Punjab with 92 percent in 2019-20 as compared to 90 percent in 2014-15 and lowest in Balochistan with 37 percent in 2019-20 as compared to 30 percent in 2014-15.(Table 7.7)Mud Brick/Mud is the second most material with 15 percent, percentage is higher in rural areas with 23 percent. Highest use of Mud Bricks is observed in Balochistan with 58 percent followed by

Figure 13: Material USed for Wall

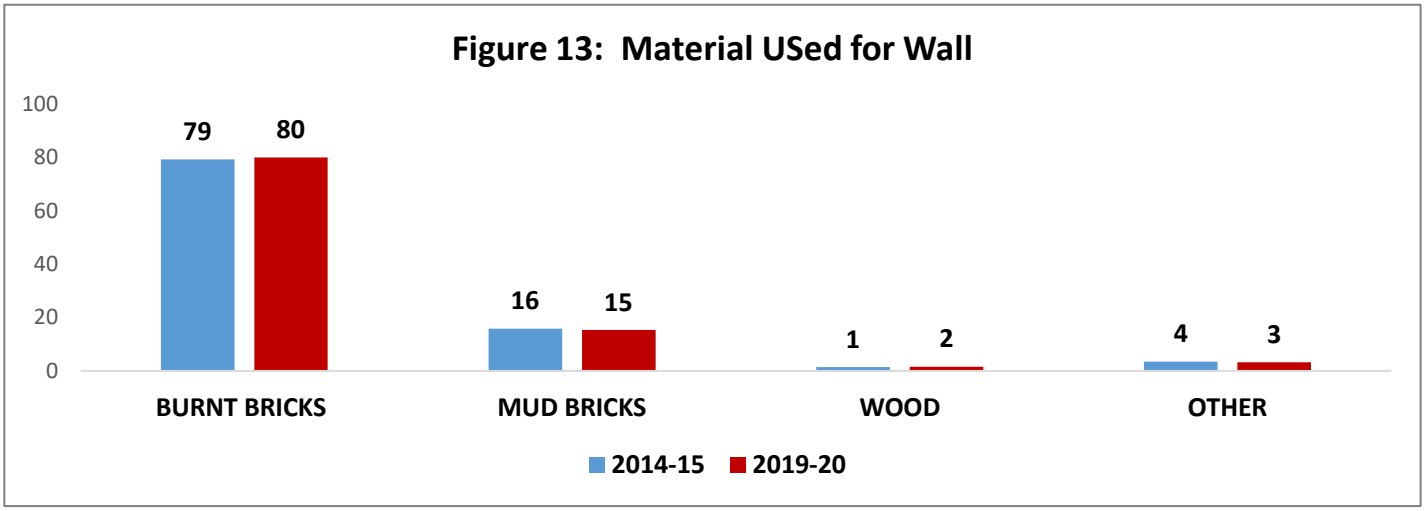

Sindh with 21 percent. In Islamabad 99 percent household use Burnt Bricks /Blocks as material for construction of walls. District wise comparison reveals Lahore 99 percent, Korangi 100 percent, Nowshera 94 percent and Quetta with 74percent are the top ranked district use Burnt/Bricks Block material used for construction of walls. Whereas district Rajanpur 48 percent, Tharpakar 8 percent, Orkazai 6 percent and Duki with 0 percent are the district with lowest percentage using Burnt Bricks /Blocks for wall material.

7.7.3 Fuel Used for Lighting and Cooking: PSLM survey collects information from households about the major source used for **Lighting** and the categories which are included are Electricity, Solar Energy, Gas / Kerosene Oil, Candles, Firewood and others. It is pertinent to mention here that Solar Energy is added for first time as a separate category in PSLM 2019-20, before that this information was reported in the Electricity. In Pakistan, 91 percent of household were using Electricity as source for lightning in 2019-20 as compared to 93 percent in 2014-15,while 5 percent households reported Solar Energy as source of Lighting. Urban household predominantly used electricity with 98 percent as main source of lighting as compared to rural household with 86 percent. The use of Electricity is high in Punjab with 96 percent in 2019-20 and lowest in Balochistan with 77percent. Solar panels are used predominantly in rural areas of Khyber Pakhtunkhwa and Balochistan.

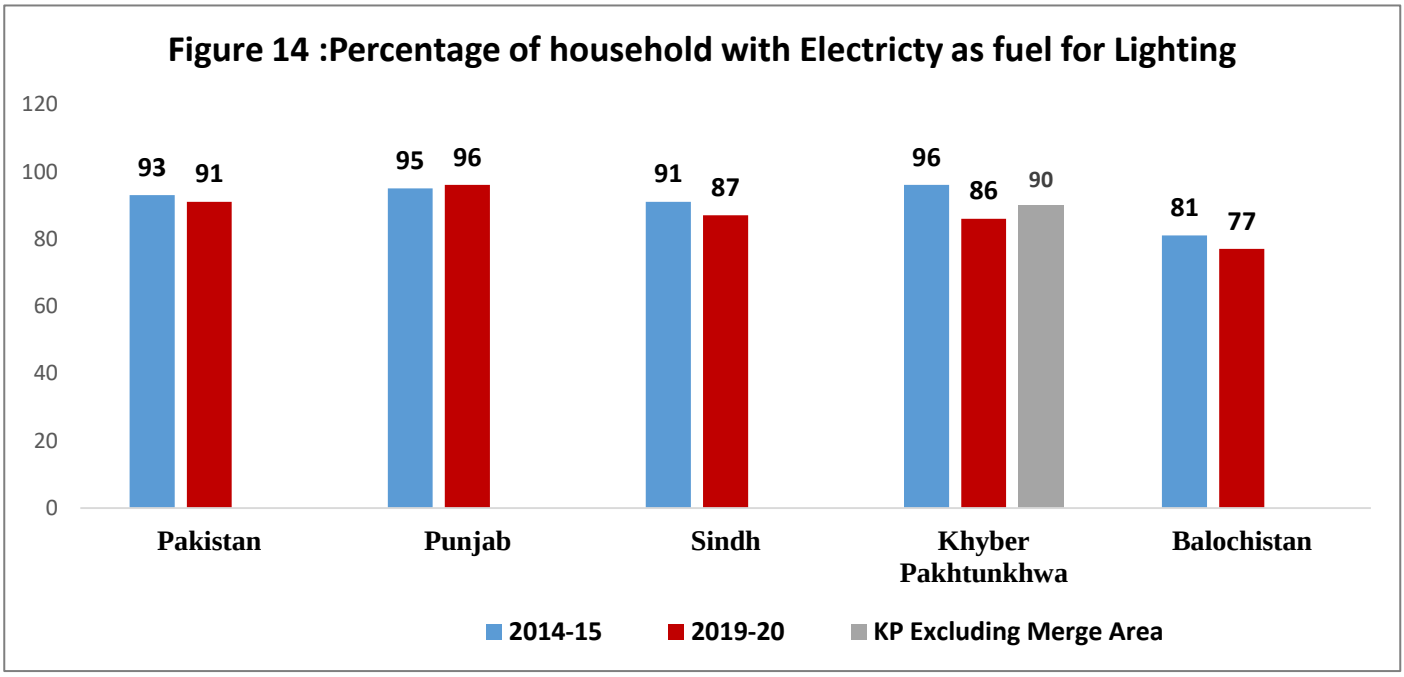

In Islamabad 99percent household are using electricity as source of Lightening. While comparing district Nankana sahib with 100 percent, Korangi 100 percent, Malakand 100 percent and Nushki with 99 percent are the top ranked district within their respective province. Whereas district Rajanpur with 60 percent, Tharparkar 35 percent, Khyber 15 percent and Sheerani with 0 percent have the lowest usage within their respective province.(Table 7.8)

Information regarding main fuel used for **Cooking** was collected in PSLM 2019-20. Different sources of fuel used for cooking have been discussed like Electricity, Gas / Kerosene Oil, Wood / Charcoal and Others (Dung Cake and Crop Residue are reported in the others category). 48 percent of the household in 2019-20 as compared to 41percent in 2014-15 are using Gas as main fuel used for cooking. This percentage is higher in urban area, 88percent as compared to 23 percent in rural area.

Provincial level comparison shows that use of Gas as a main source of cooking is highest in Sindh i.e. 57 percent, and lowest in Khyber Pakhtunkhwa Excluding Merged areas and Khyber Pakhtunkhwa Including Merged areas with 34 percent and 30 percent respectively in 2019-20. (Figure 15)

Figure 15: Percentage of household with Gas as fuel for cooking.

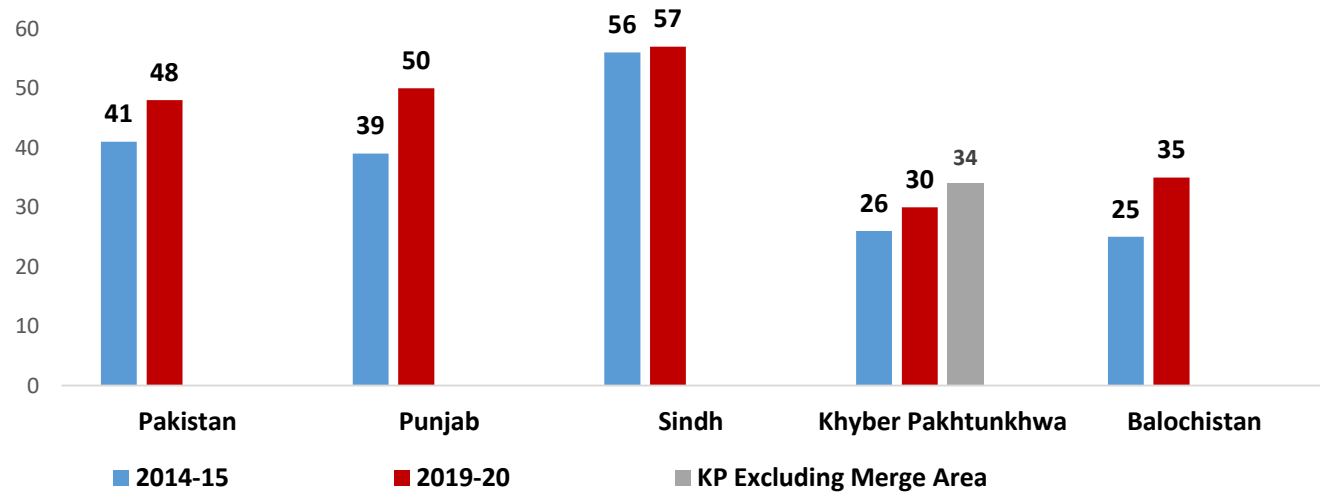

In Islamabad 93 percent of household are using gas as a fuel for cooking, whereas comparing district Lahore with 95 percent, Karachi south 100 percent, Peshawar 73 percent and Quetta with 97 percent are the top ranked district with in their respective provinces. Whereas district Rajanpur 4 percent, Tharpakar 0 percent, Orkazai 0 percent and Sheerani with 0 percent are the bottom district within their respective province.

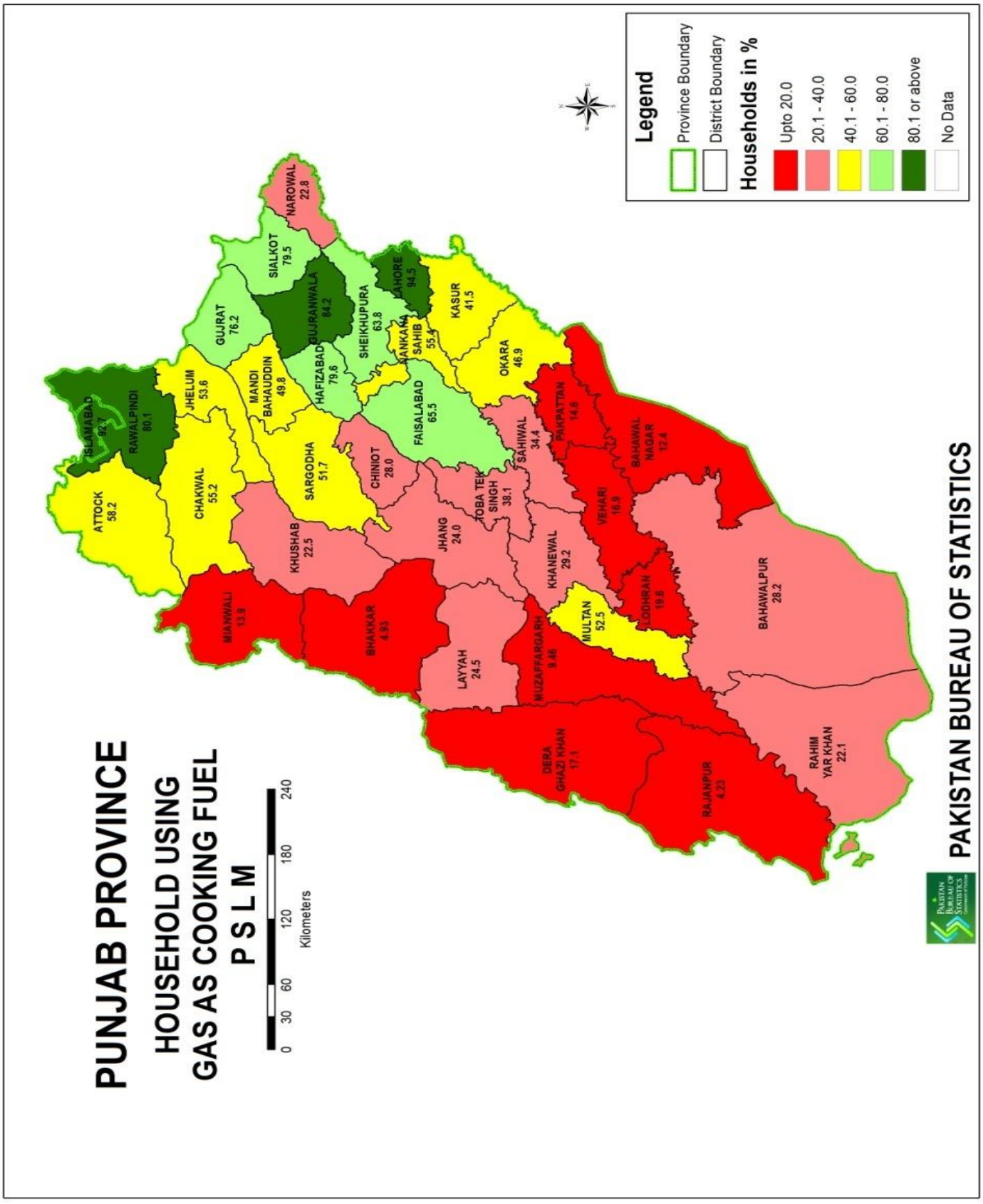
PUNJAB PROVINCE
HOUSEHOLD USING
GAS AS COOKING FUEL
P S L M
0 30 60 120 180 240
Kilometers
Legend
Province Boundary
District Boundary
Households in %
Upto 20.0
20.1 - 40.0
40.1 - 60.0
60.1 - 80.0
80.1 or above
No Data
ISLAMABAD 92.7
RAWALPINDI 80.1
ATTOCK 58.2
JHELUM 53.6
CHAKWAL 55.2
GUJRAT 76.2
MANDI BAHAUDDIN 49.8
SARGODHA 51.7
KHUSHAB 22.5
MIANWALI 13.9
BHAKKAR 4.93
SIALKOT 79.5
NAROWAL 22.8
GUJRANWALA 84.2
HAFIZABAD 79.6
CHINIOT 28.0
JHANG 24.0
LAYYAH 24.5
SHEIKHUPURA 63.8
NANKANA SAHIB 55.4
FAISALABAD 65.5
TOBA TEK SINGH 38.1
KHANEWAL 29.2
MUZAFFARGARH 9.46
LAHORE 94.5
KASUR 41.5
OKARA 46.9
SAHIWAL 34.4
PAKPATTAN 14.6
VEHARI 16.9
MULTAN 52.5
DERA GHAZI KHAN 17.1
RAJANPUR 4.23
BAHAWAL NAGAR 12.4
LODHRAN 19.6
BAHAWALPUR 28.2
RAHIM YAR KHAN 22.1
PAKISTAN BUREAU OF STATISTICS

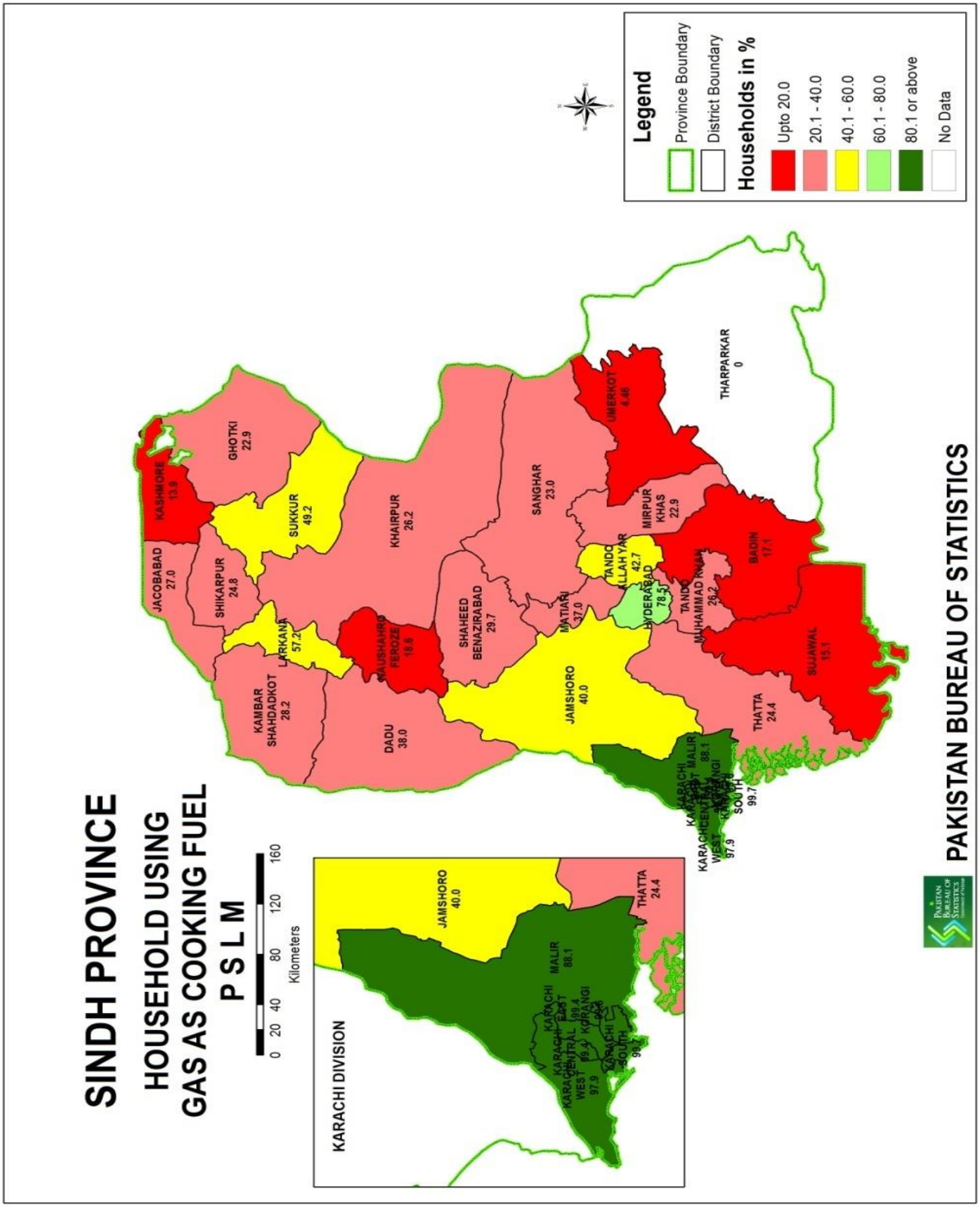
SINDH PROVINCE
HOUSEHOLD USING
GAS AS COOKING FUEL
P S L M
0 20 40 80 120 160
Kilometers
KARACHI DIVISION
JAMSHORO 40.0
THATTA 24.4
MALIR 88.1
KARACHI EAST 99.4
KARACHI CENTRAL 99.4
KARACHI WEST 97.9
KARACHI SOUTH 99.7
Legend
Province Boundary
District Boundary
Households in %
Upto 20.0
20.1 - 40.0
40.1 - 60.0
60.1 - 80.0
80.1 or above
No Data
KASHMORE 13.9
GHOTKI 22.9
SUKKUR 49.2
KHAIRPUR 26.2
SANGHAR 23.0
UMERKOT 4.48
THARPARKAR 0
JACOBABAD 27.0
SHIKARPUR 24.8
KAMBAR SHAHDADKOT 28.2
LARKANA 57.2
MAUSHAHRO FEROZE 18.8
SHAHEED BENAZIRABAD 29.7
MATIARI 37.0
TANDO ALLAH YAR 42.7
HYDERABAD 78.5
MIRPUR KHAS 22.9
TANDO MUHAMMAD KHAN 26.2
BADIN 17.1
SUJAWAL 15.1
DADU 38.0
JAMSHORO 40.0
THATTA 24.4
KARACHI WEST 97.9
KARACHI SOUTH 99.7
PAKISTAN BUREAU OF STATISTICS

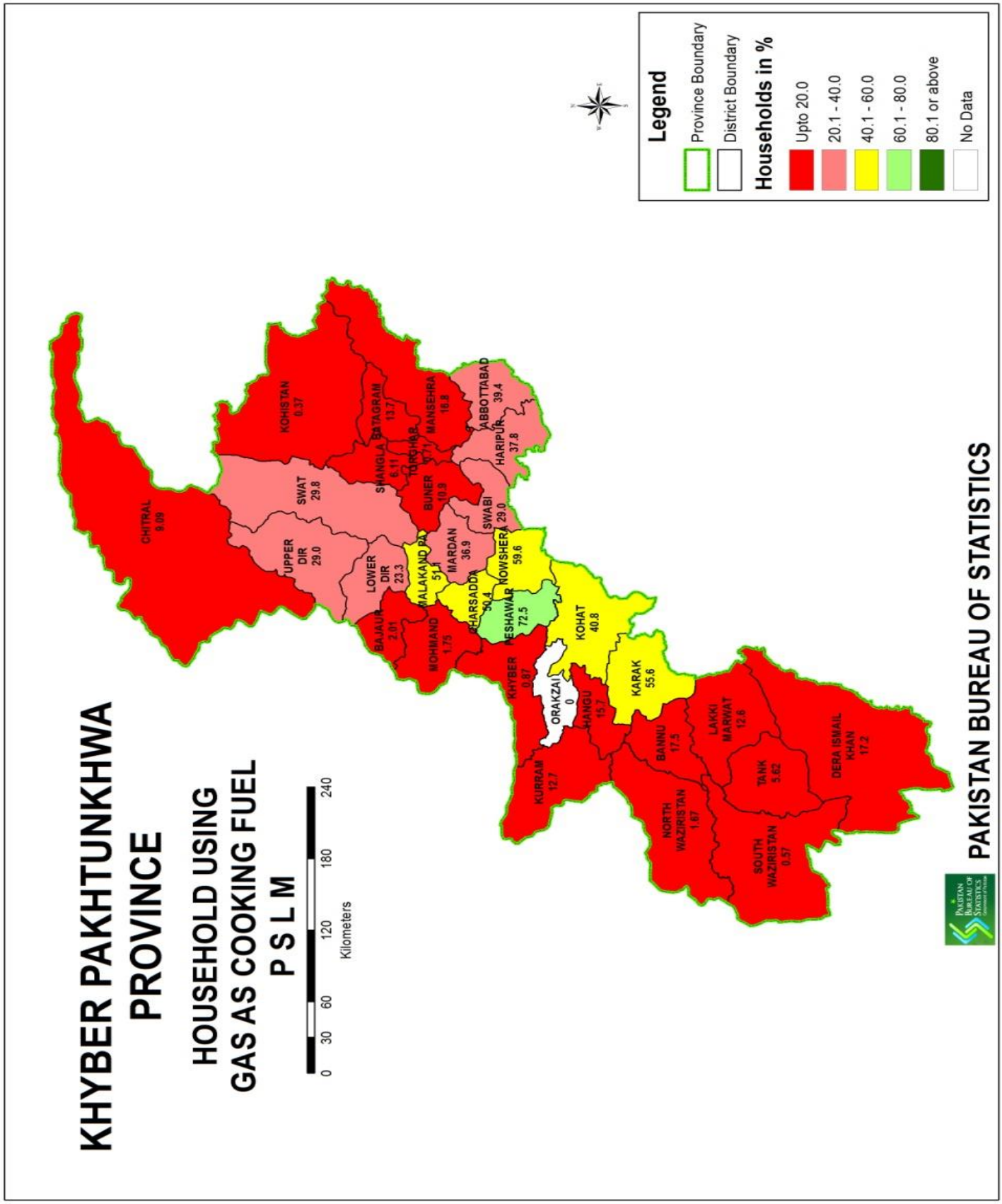
KHYBER PAKHTUNKHWA PROVINCE
HOUSEHOLD USING GAS AS COOKING FUEL
P S L M
0 30 60 120 180 240
Kilometers
Legend
Province Boundary
District Boundary
Households in %
Upto 20.0
20.1 - 40.0
40.1 - 60.0
60.1 - 80.0
80.1 or above
No Data
CHITRAL 9.09
KOHISTAN 0.37
SWAT 29.8
UPPER DIR 29.0
LOWER DIR 23.3
BAJAUR 2.01
MOHMAND 1.75
SHANGLA 6.11
BATAGRAM 13.7
TORGHAR 17.1
BUNER 10.8
MANSEHRA 16.8
ABBOTTABAD 39.4
HARIPUR 37.8
SWABI 29.0
MARDAN 36.9
MALAKAND PA 51.1
CHARSADDA 30.4
PESHAWAR 72.5
NOWSHERA 59.6
KOHAT 40.8
KARAK 55.6
KHYBER 0.87
ORAKZAI 0
HANGU 15.7
KURRAM 12.7
BANNU 17.5
LAKKI MARWAT 12.6
TANK 5.62
DERA ISMAIL KHAN 17.2
NORTH WAZIRISTAN 1.67
SOUTH WAZIRISTAN 0.57
PAKISTAN BUREAU OF STATISTICS

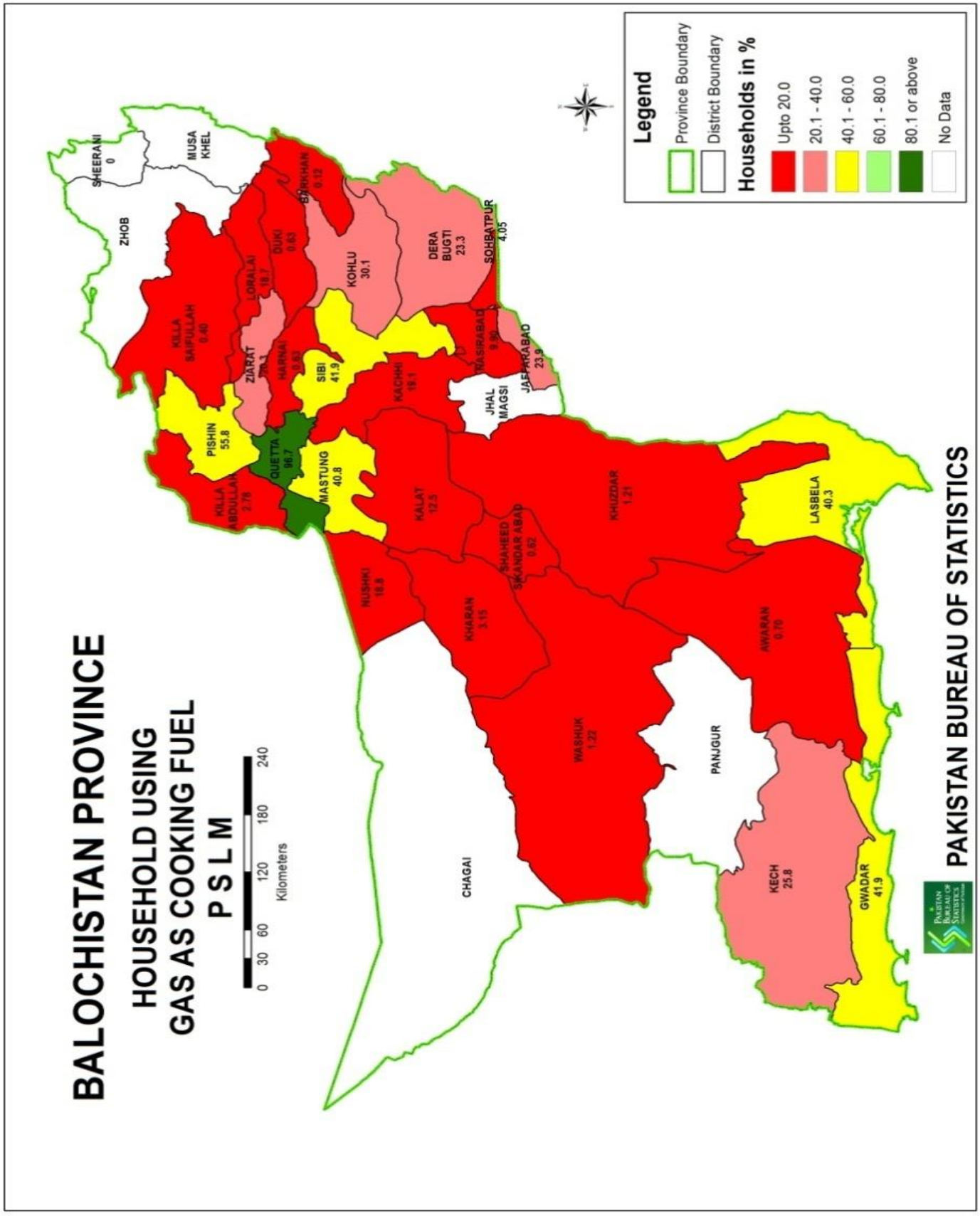
BALOCHISTAN PROVINCE
HOUSEHOLD USING
GAS AS COOKING FUEL
P S L M
0 30 60 120 180 240
Kilometers
Legend
Province Boundary
District Boundary
Households in %
Upto 20.0
20.1 - 40.0
40.1 - 60.0
60.1 - 80.0
80.1 or above
No Data
PAKISTAN BUREAU OF STATISTICS
SHEERANI 0
MUSA KHEL
ZHOB
BARKHAN 0.12
DUKI 0.63
LORALAI 18.7
KOHLU 30.1
DERA BUGTI 23.3
SOHBATPUR 4.05
KILLA SAIFULLAH 0.40
ZIARAT
HARNAI
SIBI 41.9
KACHHI 19.1
JHAL MAGSI
JAFFARABAD 23.9
PISHIN 55.8
QUETTA 96.7
MASTUNG 40.8
KILLA ABDULLAH 2.78
KALAT 12.5
KHUZDAR 1.21
LASBELA 40.3
NUSHKI 16.8
SHAHEED SIKANDAR ABAD 0.82
KHARAN 3.15
AWARAN 0.76
WASHUK 1.22
PANJGUR
CHAGAI
KECH 25.8
GWADAR 41.9

7.7.4 Clean Fuel Used for Lighting, Cooking and Heating: Clean fuels are defined as Technologies/Fuel used for Cooking, Heating and Lighting by a household that is not hazardous for health (SDG 7.1.2)[7]. As in developing countries household typically rely on solid fuels such as Wood, Charcoal, Biomass or Kerosene Oil with inefficient technologies e.g. open fires, stoves, space heaters or lamps for Cooking, Lighting and Heating. It is well known that reliance on such inefficient energy for Cooking, Heating and Lighting is associated with high levels of household (indoor) air pollution. The use of inefficient fuels for cooking alone is estimated to cause over 4 million deaths annually, mainly among women and children. This is more than TB, HIV and malaria combined presents information regarding use of clean fuel for Cooking, Heating and Lighting (Metadata SDG 7.1.2). In Pakistan 37 percent household have access to Clean Fuel technology Including Gas, LPG/Cylinder and Electricity for Cooking, Solar Energy, Electricity, LPG, Gas for Heating and Electricity, Solar Energy, and Gas for fuel used for Lighting. Significant regional gap has been observed while comparing results of urban and rural areas with 73 percent and 15 percent respectively. Percentage is higher in Sindh with 49 percent and Lowest in Khyber Pakhtunkhwa Excluding Merged Areas and Including Merged Areas with 18 Percent and 16 percent respectively as in Khyber Pakhtunkhwa peoples rely on wood/Sticks for cooking purposes. In Islamabad 82 percent household have access to clean fuel for cooking, heating and lighting. While comparing district it is observe that district Lahore with 85 percent, Karachi Central 97 percent, Kark 53 percent and Quetta 95 percent are the top ranked district with access to Clean Fuel .Whereas district Rajanpur 1 percent, Tharparkar 0 percent, Orkazai 0 percent and Washuk with 0 percent are the district with less Access to Clean Fuel for cooking, heating and lighting.

Figure 16:Percentage household of Clean Fuel for cooking,heating,lighting.

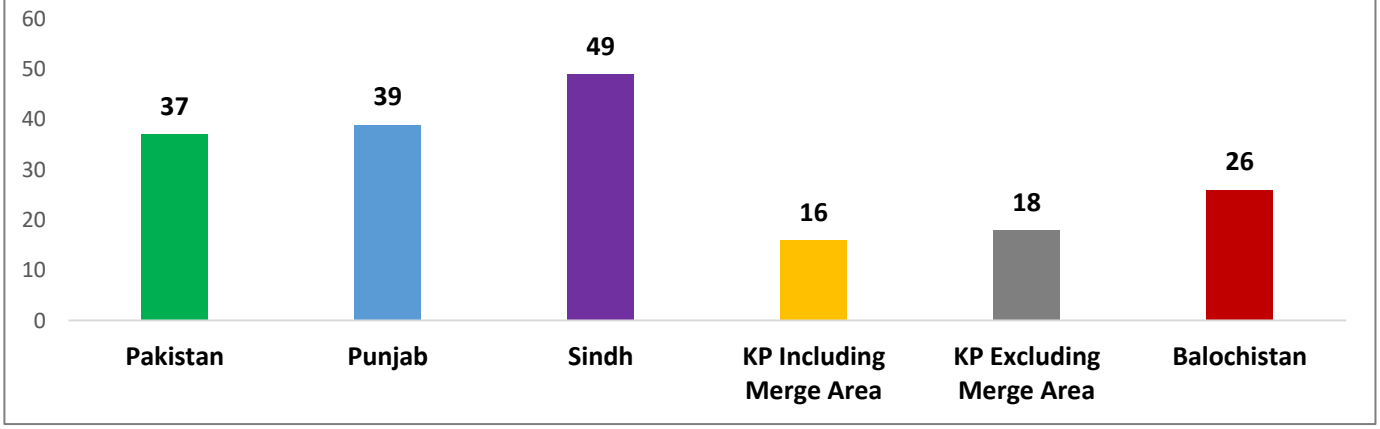

[7]unstats.un.org/sdgs/metadata/?Text=&Goal=7&Target=7.1
Gas includes both Gas and LPG

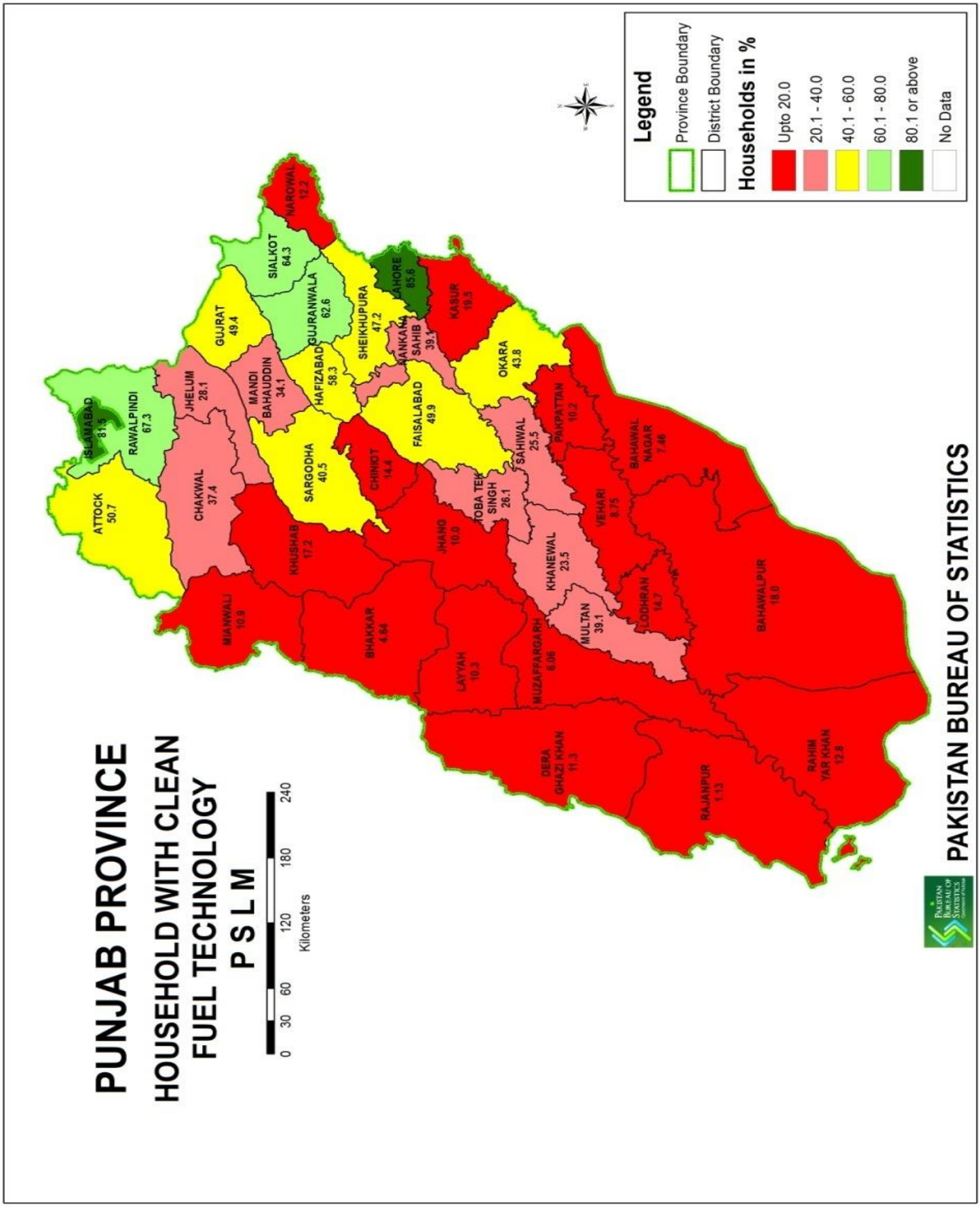
PUNJAB PROVINCE
HOUSEHOLD WITH CLEAN FUEL TECHNOLOGY
P S L M
0 30 60 120 180 240
Kilometers
Legend
Province Boundary
District Boundary
Households in %
Upto 20.0
20.1 - 40.0
40.1 - 60.0
60.1 - 80.0
80.1 or above
No Data
PAKISTAN BUREAU OF STATISTICS
ISLAMABAD 81.5
RAWALPINDI 67.3
ATTOCK 50.7
JHELUM 28.1
CHAKWAL 37.4
GUJRAT 49.4
MANDI BAHAUDDIN 34.1
SARGODHA 40.5
KHUSHAB 17.2
MIANWALI 10.8
BHAKKAR 4.84
SIALKOT 64.3
GUJRANWALA 62.6
HAFIZABAD 58.3
CHINIOT 14.4
JHANG 10.0
LAYYAH 10.3
NAROWAL 12.2
SHEIKHUPURA 47.2
FAISALABAD 49.9
TOBA TEK SINGH 26.1
MUZAFFARGARH 6.06
DERA GHAZI KHAN 11.3
RAJANPUR 1.13
LAHORE 85.6
NANKANA SAHIB 39.1
KASUR 19.5
OKARA 43.8
SAHIWAL 25.5
KHANEWAL 23.5
MULTAN 39.1
PAKPATTAN 10.2
VEHARI 8.75
LODHRAN 14.7
BAHAWAL NAGAR 7.46
BAHAWALPUR 18.0
RAHIM YAR KHAN 12.8

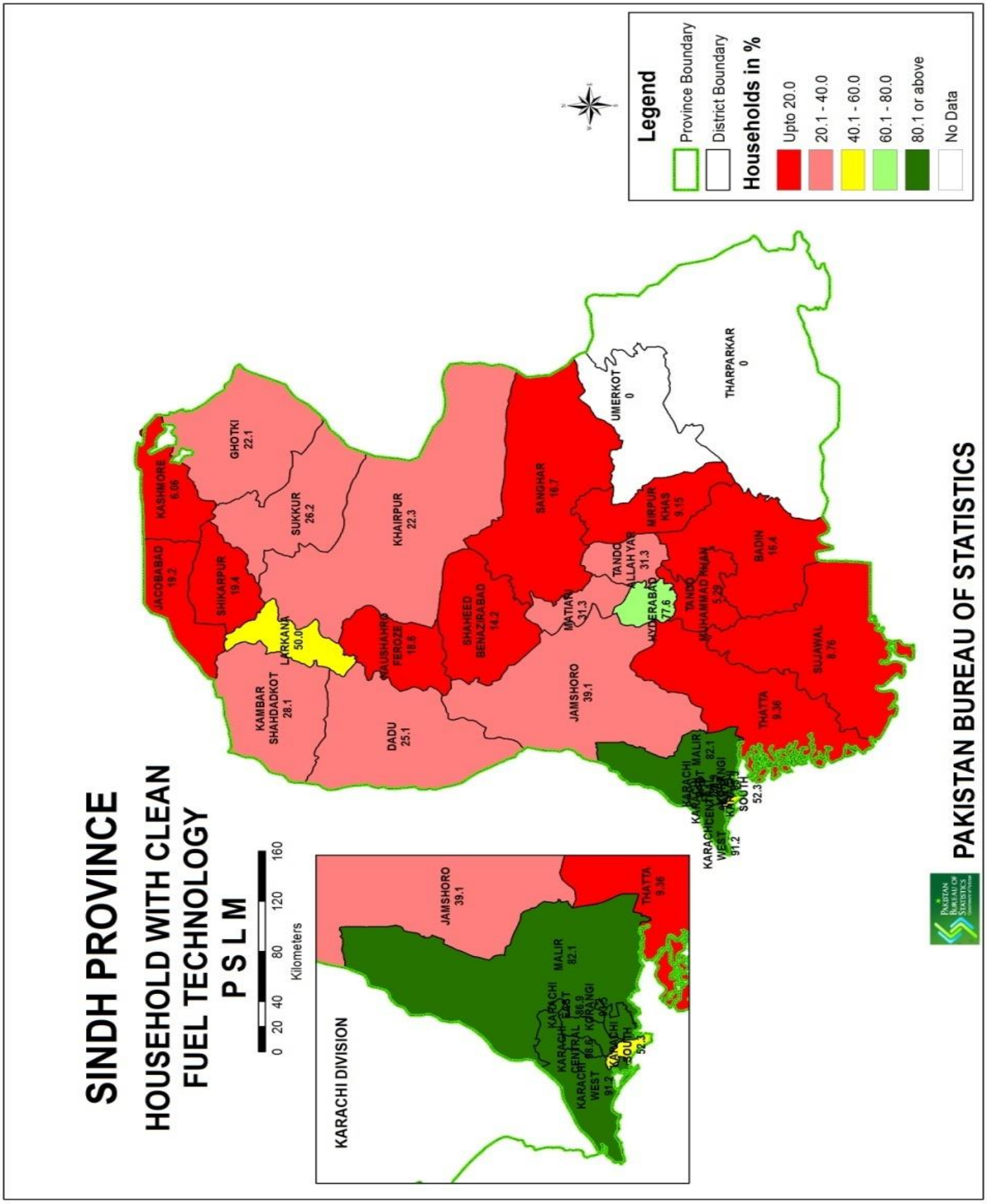
SINDH PROVINCE
HOUSEHOLD WITH CLEAN FUEL TECHNOLOGY
P S L M
0 20 40 80 120 160
Kilometers
Legend
Province Boundary
District Boundary
Households in %
Upto 20.0
20.1 - 40.0
40.1 - 60.0
60.1 - 80.0
80.1 or above
No Data
KASHMORE 6.08
GHOTKI 22.1
SUKKUR 26.2
KHAIRPUR 22.3
SANGHAR 16.7
UMERKOT 0
THARPARKAR 0
JACOBABAD 19.2
SHIKARPUR 19.4
LARKANA 50.0
KAMBAR SHAHDADKOT 28.1
DADU 25.1
NAUSHAHRO FEROZE 18.8
SHAHEED BENAZIRABAD 14.2
MATIARI 31.3
JAMSHORO 39.1
TANDO ALLAH YAR 31.3
HYDERABAD 77.6
MIRPUR KHAS 9.15
TANDO MUHAMMAD KHAN 5.29
BADIN 16.4
SUJAWAL 8.76
THATTA 9.36
KARACHI MALIR 82.1
KARACHI WEST 91.2
KARACHI SOUTH 52.3
KARACHI DIVISION
PAKISTAN BUREAU OF STATISTICS

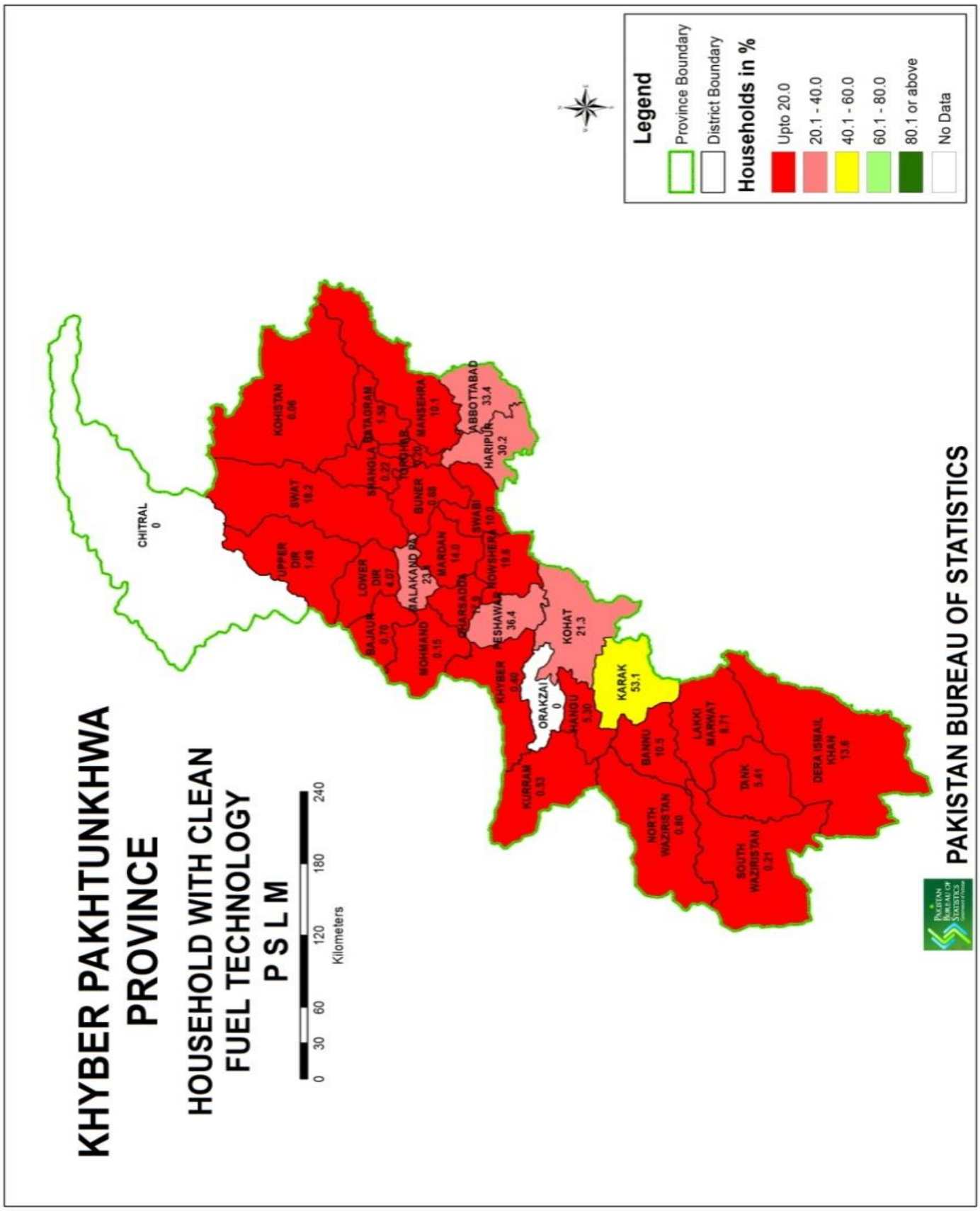
KHYBER PAKHTUNKHWA
PROVINCE
HOUSEHOLD WITH CLEAN
FUEL TECHNOLOGY
P S L M
0 30 60 120 180 240
Kilometers
Legend
Province Boundary
District Boundary
Households in %
Upto 20.0
20.1 - 40.0
40.1 - 60.0
60.1 - 80.0
80.1 or above
No Data
PAKISTAN BUREAU OF STATISTICS
CHITRAL 0
KOHISTAN 0.06
SHANGLA 0.22
BATAGRAM 1.56
TORGHAR 0.20
MANSEHRA 10.1
ABBOTTABAD 33.4
HARIPUR 30.2
SWAT 18.2
BUNER 0.68
SWABI 10.0
UPPER DIR 1.48
LOWER DIR 4.07
MALAKAND PA 23.8
MARDAN 14.0
CHARSADDA 7.3
NOWSHERA 19.8
BAJAUR 0.70
MOHMAND 0.15
PESHAWAR 36.4
KOHAT 21.3
KHYBER 0.40
ORAKZAI 0
KARAK 53.1
HANGU 5.30
KURRAM 0.53
BANNU 10.5
LAKKI MARWAT 6.71
TANK 5.41
DERA ISMAIL KHAN 13.6
NORTH WAZIRISTAN 0.80
SOUTH WAZIRISTAN 0.21

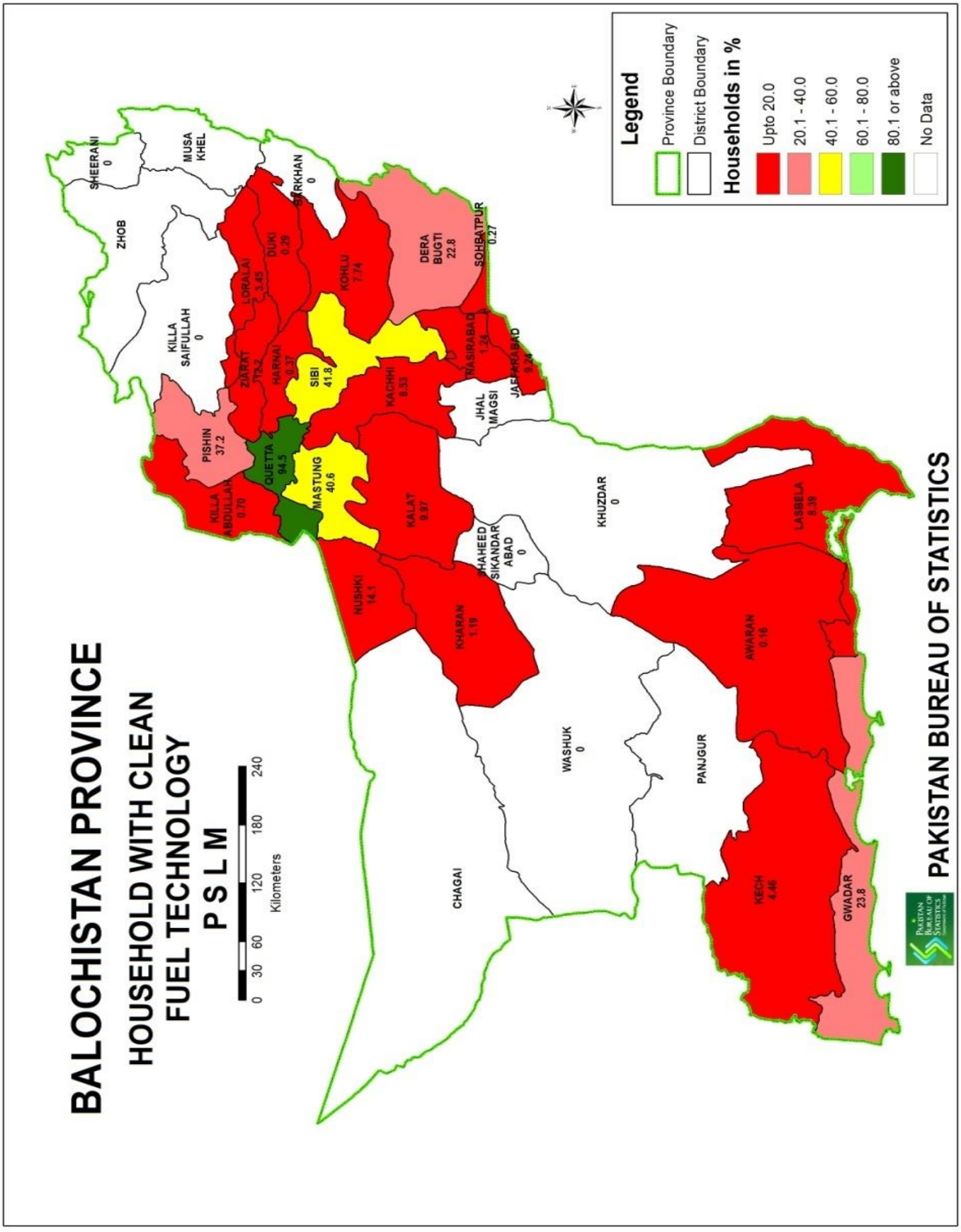
BALOCHISTAN PROVINCE
HOUSEHOLD WITH CLEAN FUEL TECHNOLOGY
P S L M
0 30 60 120 180 240
Kilometers
Legend
Province Boundary
District Boundary
Households in %
Upto 20.0
20.1 - 40.0
40.1 - 60.0
60.1 - 80.0
80.1 or above
No Data
SHEERANI 0
MUSA KHEL
ZHOB
KILLA SAIFULLAH 0
LORALAI 3.45
DUKI 0.29
BARKHAN 0
KOHLU 7.74
DERA BUGTI 22.8
SOHBATPUR 0.27
ZIARAT 77.2
HARNAI 0.37
SIBI 41.8
NASIRABAD 1.24
JAFFARABAD 9.24
KACHHI 8.53
JHAL MAGSI
PISHIN 37.2
QUETTA 94.5
MASTUNG 40.6
KILLA ABDULLAH 0.70
KALAT 9.97
KHUZDAR 0
SHAHEED SIKANDAR ABAD 0
LASBELA 8.39
NUSHKI 14.1
KHARAN 1.19
AWARAN 0.16
WASHUK 0
PANJGUR
CHAGAI
KECH 4.46
GWADAR 23.8
PAKISTAN BUREAU OF STATISTICS

TABLE 7.1: PERCENTAGE DISTRIBUTION OF HOUSEHOLD BY SOURCE OF DRINKING WATER BY PROVINCE & DISTRICT

PROVINCE AND DISTRICTS	Tap Water	Hand Pump	Motor Pump	Dug Well	Tanker/ Truck/ Water Bearer	Filtration Plant	Other	Total	RANK	Tap Water 2014-15
Pakistan	**22.34**	**23.33**	**30.01**	**3.35**	**3.88**	**9.88**	**7.20**	**100.00**		**27**
Urban	36.19	7.32	23.80	.68	6.18	18.76	7.07	100.00		
Rural	13.60	33.44	33.92	5.04	2.44	4.28	7.28	100.00		
Punjab	**12.70**	**21.90**	**41.58**	**.95**	**3.02**	**17.53**	**2.32**	**100.00**		**18**
Urban	18.28	6.30	33.24	.39	4.84	33.90	3.05	100.00		
Rural	9.30	31.40	46.66	1.30	1.91	7.56	1.88	100.00		
Attock	18.02	9.63	56.94	11.95	.23	2.32	.90	100.00	9	34
Urban	25.60	.34	63.77	.64	.20	8.36	1.09	100.00		
Rural	15.20	13.11	54.39	16.17	.25	.06	.83	100.00		
Bhawal Nagar	38.84	34.89	17.71	.04	0.00	5.37	3.16	100.00	1	35
Urban	40.84	21.40	14.62	0.00	0.00	21.71	1.43	100.00		
Rural	38.32	38.37	18.50	.05	0.00	1.16	3.60	100.00		
Bahawalpur	13.13	31.94	44.26	.35	1.09	7.11	2.13	100.00	14	14
Urban	15.17	6.26	59.82	.26	1.10	16.75	.63	100.00		
Rural	12.20	43.67	37.15	.38	1.09	2.70	2.81	100.00		
Bhakkar	1.48	44.25	53.96	.11	0.00	0.00	.20	100.00	34	5
Urban	2.72	17.18	80.10	0.00	0.00	0.00	0.00	100.00		
Rural	1.27	48.90	49.47	.13	0.00	0.00	.23	100.00		
Chakwal	16.33	2.67	76.10	2.09	1.11	.84	.85	100.00	11	17
Urban	19.30	1.15	71.74	2.37	0.00	5.04	.40	100.00		
Rural	15.74	2.98	76.97	2.04	1.34	0.00	.94	100.00		
Chiniot	2.39	43.06	44.58	.14	.27	9.57	0.00	100.00	31	4
Urban	6.02	22.39	55.98	.24	0.00	15.37	0.00	100.00		
Rural	.62	53.12	39.03	.09	.40	6.75	0.00	100.00		
D.G Khan	26.69	31.52	19.09	.69	8.12	5.80	8.09	100.00	3	26
Urban	40.68	11.73	8.29	.26	7.10	31.94	0.00	100.00		
Rural	23.70	35.76	21.40	.78	8.34	.20	9.83	100.00		
Faisalabad	9.89	20.14	20.99	.08	28.12	20.49	.29	100.00	17	13
Urban	12.81	2.00	17.06	0.00	40.49	27.30	.35	100.00		
Rural	7.23	36.72	24.58	.16	16.81	14.26	.24	100.00		
Gujranwala	4.94	7.31	57.85	.25	.16	28.56	.93	100.00	25	5
Urban	6.54	4.94	49.55	.24	.15	37.28	1.30	100.00		
Rural	2.54	10.88	70.34	.26	.18	15.42	.38	100.00		
Gujrat	8.07	2.55	74.15	.10	0.00	14.79	.35	100.00	21	17
Urban	13.86	2.09	49.96	0.00	0.00	33.18	.91	100.00		
Rural	5.73	2.74	83.90	.13	0.00	7.37	.12	100.00		
Hafizabad	1.26	30.19	50.36	.11	.91	9.77	7.40	100.00	35	2
Urban	1.55	18.64	43.16	0.00	2.52	16.88	17.24	100.00		
Rural	1.10	36.67	54.39	.17	0.00	5.79	1.88	100.00		
Islamabad	25.69	.47	41.75	2.92	2.67	16.93	9.56	100.00		20
Urban	24.37	.82	37.20	3.43	2.43	19.40	12.34	100.00		
Rural	27.09	.09	46.57	2.38	2.92	14.32	6.62	100.00		
Jehlum	19.03	3.86	60.29	7.41	.19	5.48	3.74	100.00	7	27
Urban	26.06	1.00	58.17	5.57	.82	8.00	.39	100.00		
Rural	16.86	4.74	60.94	7.98	0.00	4.70	4.77	100.00		
Jhang	3.12	45.18	47.54	.17	.12	2.94	.94	100.00	28	3
Urban	4.45	12.52	70.64	0.00	0.00	9.25	3.14	100.00		
Rural	2.62	57.39	38.92	.23	.16	.58	.11	100.00		
Kasur	17.94	14.93	56.43	.18	1.15	8.59	.78	100.00	10	15
Urban	35.09	7.84	33.21	.20	3.23	19.86	.56	100.00		
Rural	12.42	17.21	63.91	.18	.48	4.96	.84	100.00		
Khanewal	2.46	19.52	72.38	.30	.14	4.87	.34	100.00	30	3
Urban	.92	3.08	80.42	1.30	.19	13.80	.28	100.00		
Rural	2.83	23.46	70.45	.06	.12	2.72	.35	100.00		
Khushab	19.43	50.35	23.10	.14	3.62	.22	3.15	100.00	6	26
Urban	14.14	46.80	32.03	0.00	6.69	0.00	.34	100.00		
Rural	21.44	51.69	19.72	.19	2.45	.30	4.21	100.00		

TABLE 7.1: PERCENTAGE DISTRIBUTION OF HOUSEHOLD BY SOURCE OF DRINKING WATER BY PROVINCE & DISTRICT

PROVINCE AND DISTRICTS	Tap Water	Hand Pump	Motor Pump	Dug Well	Tanker/ Truck/ Water Bearer	Filtration Plant	Other	Total	RANK	Tap Water 2014-15
Lahore	23.29	1.80	13.47	.01	.38	57.27	3.78	100.00	4	60
Urban	23.29	1.80	13.47	.01	.38	57.27	3.78	100.00		
Rural										
Layyah	.67	48.84	50.48	0.00	0.00	0.00	0.00	100.00	36	6
Urban	3.77	27.76	68.47	0.00	0.00	0.00	0.00	100.00		
Rural	0.00	53.42	46.58	0.00	0.00	0.00	0.00	100.00		
Lodhran	15.89	10.52	58.04	0.00	.09	13.97	1.49	100.00	12	22
Urban	11.52	.67	53.44	0.00	.55	33.22	.61	100.00		
Rural	16.72	12.40	58.92	0.00	0.00	10.31	1.66	100.00		
Mandi Bahauddin	4.67	47.85	36.17	.26	.56	8.49	2.00	100.00	26	5
Urban	2.04	21.55	43.77	0.00	1.87	21.15	9.61	100.00		
Rural	5.18	52.99	34.68	.32	.31	6.01	.51	100.00		
Mianwali	18.88	31.74	38.94	6.73	1.68	0.00	2.03	100.00	8	17
Urban	19.57	18.54	53.31	0.00	8.57	0.00	0.00	100.00		
Rural	18.71	34.95	35.44	8.37	0.00	0.00	2.52	100.00		
Multan	10.91	12.80	59.39	.18	.20	13.80	2.71	100.00	15	10
Urban	18.29	2.16	55.11	.10	.47	21.68	2.18	100.00		
Rural	5.41	20.73	62.57	.24	0.00	7.94	3.11	100.00		
Muzaffargarh	2.04	77.33	18.92	0.00	.06	1.51	.13	100.00	33	1
Urban	6.53	43.99	45.15	0.00	.43	3.90	0.00	100.00		
Rural	1.26	83.15	14.34	0.00	0.00	1.09	.16	100.00		
Nankana Sahib	2.55	22.52	41.71	.07	.86	28.28	4.01	100.00	29	5
Urban	2.65	19.50	16.13	0.00	4.48	45.36	11.88	100.00		
Rural	2.53	23.23	47.75	.09	0.00	24.25	2.16	100.00		
Narowal	8.99	5.62	74.36	.18	.11	10.58	.16	100.00	18	9
Urban	9.36	0.00	55.84	0.00	0.00	34.80	0.00	100.00		
Rural	8.92	6.71	77.95	.21	.13	5.89	.19	100.00		
Okara	3.40	11.32	71.12	.10	0.00	14.05	0.00	100.00	27	9
Urban	1.79	0.00	64.47	0.00	0.00	33.74	0.00	100.00		
Rural	3.96	15.26	73.44	.14	0.00	7.20	0.00	100.00		
Pakpattan	15.80	4.45	74.10	.30	0.00	5.35	0.00	100.00	13	16
Urban	49.53	0.00	35.83	0.00	0.00	14.64	0.00	100.00		
Rural	10.03	5.21	80.65	.35	0.00	3.76	0.00	100.00		
Rahim Yar Khan	10.24	54.22	26.12	.07	1.64	6.86	.85	100.00	16	5
Urban	16.26	25.73	29.41	0.00	6.48	20.71	1.41	100.00		
Rural	8.64	61.78	25.24	.09	.36	3.18	.71	100.00		
Rajanpur	8.13	63.08	14.45	1.16	6.87	.95	5.37	100.00		12
Urban	33.13	24.71	30.69	0.00	7.64	3.28	.55	100.00	20	
Rural	2.67	71.45	10.90	1.41	6.70	.44	6.42	100.00		
Rawalpindi	22.84	.86	46.11	7.45	2.13	12.74	7.87	100.00	5	32
Urban	32.41	.57	34.93	2.67	.34	21.18	7.90	100.00		
Rural	13.00	1.17	57.60	12.36	3.97	4.06	7.85	100.00		
Sahiwal	6.62	6.08	70.01	.46	.57	16.14	.12	100.00	23	6
Urban	5.13	0.00	69.14	.51	0.00	25.22	0.00	100.00		
Rural	7.01	7.70	70.24	.45	.73	13.72	.15	100.00		
Sargodha	7.56	59.06	25.53	.21	4.07	2.17	1.40	100.00	22	6
Urban	11.06	30.97	37.02	.27	11.45	5.68	3.54	100.00		
Rural	6.07	70.97	20.67	.18	.94	.68	.49	100.00		
Sheikhupura	2.15	12.76	60.76	.15	.49	19.06	4.63	100.00	32	10
Urban	2.88	7.62	46.47	0.00	.22	33.67	9.14	100.00		
Rural	1.78	15.41	68.11	.22	.63	11.54	2.31	100.00		
Sialkot	6.22	5.88	25.62	.17	.20	60.48	1.43	100.00	24	19
Urban	16.65	2.38	21.76	0.00	.39	58.66	.15	100.00		
Rural	1.54	7.44	27.35	.25	.12	61.30	2.00	100.00		
Toba Tek Singh	29.76	15.96	40.92	.18	4.77	5.82	2.59	100.00	2	26
Urban	23.22	1.12	47.69	0.00	11.90	12.41	3.66	100.00		
Rural	31.58	20.10	39.02	.23	2.79	3.98	2.30	100.00		
Vehari	8.14	6.15	71.12	0.00	0.00	13.31	1.29	100.00	19	11
Urban	21.26	.34	38.17	0.00	0.00	39.30	.93	100.00		
Rural	5.44	7.34	77.90	0.00	0.00	7.96	1.36	100.00		

TABLE 7.1: PERCENTAGE DISTRIBUTION OF HOUSEHOLD BY SOURCE OF DRINKING WATER BY PROVINCE & DISTRICT

PROVINCE AND DISTRICTS	Tap Water	Hand Pump	Motor Pump	Dug Well	Tanker/ Truck/ Water Bearer	Filtration Plant	Other	Total	RANK	Tap Water 2014-15
Sindh	**35.41**	**35.93**	**9.19**	**3.80**	**4.33**	**1.79**	**9.56**	**100.00**		**41**
Urban	56.94	9.51	10.18	.39	6.52	2.63	13.83	100.00		
Rural	8.74	68.68	7.95	8.03	1.61	.74	4.26	100.00		
Badin	9.94	73.15	4.81	1.48	.46	2.94	7.22	100.00	16	11
Urban	38.83	34.75	8.64	.08	1.89	9.98	5.83	100.00		
Rural	.64	85.52	3.58	1.93	0.00	.68	7.67	100.00		
Dadu	5.25	86.19	4.53	3.25	0.00	.79	0.00	100.00	18	16
Urban	9.34	75.10	15.36	.20	0.00	0.00	0.00	100.00		
Rural	4.08	89.37	1.43	4.12	0.00	1.01	0.00	100.00		
Ghotki	.26	82.66	13.83	.07	0.00	3.02	.17	100.00	26	6
Urban	.32	43.88	50.74	0.00	0.00	4.55	.52	100.00		
Rural	.24	92.59	4.37	.09	0.00	2.63	.09	100.00		
Hyderabad	68.32	19.68	4.79	0.00	.19	2.93	4.08	100.00	5	61
Urban	78.12	9.57	4.24	0.00	.22	3.42	4.43	100.00		
Rural	9.44	80.45	8.11	0.00	0.00	0.00	2.01	100.00		
Jacobabad	2.35	76.98	5.61	.12	10.27	.54	4.13	100.00	24	2
Urban	3.92	44.48	6.06	0.00	35.54	0.00	10.02	100.00		
Rural	1.85	87.41	5.47	.16	2.16	.72	2.24	100.00		
Jamshoro	30.88	13.37	16.83	13.76	18.38	3.93	2.85	100.00	9	46
Urban	63.06	7.12	1.89	0.00	22.76	0.00	5.16	100.00		
Rural	10.92	17.24	26.10	22.30	15.67	6.36	1.41	100.00		
Karachi central	68.88	.52	3.75	.24	1.74	1.87	23.01	100.00	4	84
Urban	68.88	.52	3.75	.24	1.74	1.87	23.01	100.00		
Rural										
Karachi East	62.62	.40	3.54	.18	1.65	4.01	27.60	100.00	6	
Urban	62.62	.40	3.54	.18	1.65	4.01	27.60	100.00		
Rural										
Karachi Malir	81.96	.49	3.66	0.00	6.11	5.03	2.76	100.00	1	
Urban	85.03	.35	1.66	0.00	.96	6.98	5.02	100.00		
Rural	78.43	.64	5.96	0.00	12.02	2.79	.16	100.00		
Karachi South	69.91	2.27	.99	.14	2.34	2.49	21.86	100.00	3	
Urban	69.91	2.27	.99	.14	2.34	2.49	21.86	100.00		
Rural										
Karachi West	57.85	.56	.79	.05	27.00	2.60	11.15	100.00	7	
Urban	57.28	.54	.77	.05	27.18	2.73	11.44	100.00		
Rural	68.91	.92	1.11	0.00	23.52	0.00	5.54	100.00		
Kashmore	4.03	81.12	14.86	0.00	0.00	0.00	0.00	100.00	22	2
Urban	0.00	44.47	55.53	0.00	0.00	0.00	0.00	100.00		
Rural	5.15	91.38	3.46	0.00	0.00	0.00	0.00	100.00		
Khairpur	4.84	83.84	10.22	.70	.28	0.00	.12	100.00	20	4
Urban	8.86	62.97	26.84	0.00	.92	0.00	.41	100.00		
Rural	3.10	92.89	3.00	1.01	0.00	0.00	0.00	100.00		
Korangi	70.70	.07	2.86	0.00	5.51	.57	20.29	100.00	2	
Urban	70.70	.07	2.86	0.00	5.51	.57	20.29	100.00		
Rural										
Larkana	0.00	66.04	33.34	0.00	0.00	.56	.06	100.00	28	1
Urban	0.00	51.93	48.07	0.00	0.00	0.00	0.00	100.00		
Rural	0.00	78.45	20.38	0.00	0.00	1.05	.12	100.00		
Mitiari	5.32	68.51	25.98	.19	0.00	0.00	0.00	100.00	17	5
Urban	25.11	30.79	43.18	.92	0.00	0.00	0.00	100.00		
Rural	0.00	78.65	21.35	0.00	0.00	0.00	0.00	100.00		
Mirpur Khas	33.13	41.42	7.16	.24	.09	0.00	17.96	100.00	8	25
Urban	73.88	.35	20.31	0.00	0.00	0.00	5.45	100.00		
Rural	18.56	56.10	2.45	.33	.12	0.00	22.44	100.00		

TABLE 7.1: PERCENTAGE DISTRIBUTION OF HOUSEHOLD BY SOURCE OF DRINKING WATER BY PROVINCE & DISTRICT

PROVINCE AND DISTRICTS	Tap Water	Hand Pump	Motor Pump	Dug Well	Tanker/ Truck/ Water Bearer	Filtration Plant	Other	Total	RANK	Tap Water 2014-15
Naushahro Feroze	0.00	66.65	33.13	0.00	.11	.11	0.00	100.00	29	8
Urban	0.00	20.35	78.35	0.00	.65	.65	0.00	100.00		
Rural	0.00	76.00	24.00	0.00	0.00	0.00	0.00	100.00		
Sanghar	11.97	64.11	11.65	1.15	1.55	1.83	7.75	100.00	14	6
Urban	35.60	27.80	20.23	0.00	5.97	5.35	5.05	100.00		
Rural	3.70	76.81	8.65	1.55	0.00	.60	8.69	100.00		
Shahdadkot	15.90	63.32	19.96	.08	.28	0.00	.45	100.00	13	10
Urban	30.89	8.20	58.99	0.00	.84	0.00	1.07	100.00		
Rural	8.36	91.06	.32	.12	0.00	0.00	.14	100.00		
Shaheed Benazirabad	2.90	76.08	18.82	.07	0.00	1.92	.21	100.00	23	7
Urban	11.04	35.14	45.91	0.00	0.00	7.72	.19	100.00		
Rural	.20	89.65	9.84	.09	0.00	0.00	.22	100.00		
Shikarpur	.07	76.16	23.60	0.00	0.00	0.00	.17	100.00	27	1
Urban	.30	50.73	48.72	0.00	0.00	0.00	.25	100.00		
Rural	0.00	84.00	15.85	0.00	0.00	0.00	.14	100.00		
Sujawal	11.38	54.43	12.27	0.00	.14	0.00	21.78	100.00	15	10
Urban	100.00	0.00	0.00	0.00	0.00	0.00	0.00	100.00		
Rural	2.05	60.16	13.56	0.00	.16	0.00	24.07	100.00		
Sukkur	18.26	54.06	21.42	2.43	.35	2.23	1.25	100.00	11	28
Urban	38.69	16.39	36.26	0.00	.79	5.05	2.83	100.00		
Rural	2.07	83.92	9.65	4.36	0.00	0.00	0.00	100.00		
Tando Allah Yar	5.11	60.76	26.34	.68	0.00	.84	6.27	100.00	19	4
Urban	11.65	20.80	56.24	0.00	0.00	2.69	8.61	100.00		
Rural	2.12	79.02	12.68	.99	0.00	0.00	5.20	100.00		
Tando Muhammad	1.89	83.43	11.88	.16	0.00	2.51	.12	100.00	25	6
Urban	3.64	65.09	31.27	0.00	0.00	0.00	0.00	100.00		
Rural	1.37	88.88	6.12	.21	0.00	3.26	.16	100.00		
Tharparkar	4.37	5.32	6.34	82.17	.82	.68	.29	100.00	21	6
Urban	44.91	0.00	0.00	55.09	0.00	0.00	0.00	100.00		
Rural	.81	5.79	6.90	84.54	.90	.74	.32	100.00		
Thatta	17.76	51.21	8.29	1.60	12.87	.10	8.17	100.00	12	19
Urban	46.42	11.00	16.37	0.00	25.89	0.00	.32	100.00		
Rural	9.61	62.65	5.98	2.06	9.17	.13	10.40	100.00		
Umerkot	24.36	44.78	2.51	6.05	.80	0.00	21.50	100.00	10	21
Urban	69.82	13.69	2.96	0.00	.74	0.00	12.79	100.00		
Rural	12.03	53.21	2.38	7.69	.82	0.00	23.86	100.00		

TABLE 7.1: PERCENTAGE DISTRIBUTION OF HOUSEHOLD BY SOURCE OF DRINKING WATER BY PROVINCE & DISTRICT

PROVINCE AND DISTRICTS	Tap Water	Hand Pump	Motor Pump	Dug Well	Tanker/ Truck/ Water Bearer	Filtration Plant	Other	Total	RANK	Tap Water 2014-15
Khyber Pakhtunkhwa	**30.22**	**13.15**	**29.02**	**9.31**	**1.17**	**.18**	**16.94**	**100.00**		**35**
Urban	49.08	6.20	35.54	5.02	.93	.51	2.72	100.00		
Rural	26.66	14.46	27.79	10.12	1.22	.12	19.62	100.00		
Abbottabad	63.86	.90	16.69	6.21	0.00	.24	12.10	100.00	2	71
Urban	68.43	0.00	29.16	0.00	0.00	1.20	1.20	100.00		
Rural	62.70	1.13	13.51	7.80	0.00	0.00	14.87	100.00		
Bajur	3.23	5.02	11.55	31.45	0.00	0.00	48.75	100.00	32	
Urban										
Rural	3.23	5.02	11.55	31.45	0.00	0.00	48.75	100.00		
Bannu	24.81	23.57	46.57	1.93	.64	0.00	2.48	100.00	22	55
Urban	50.40	3.72	45.88	0.00	0.00	0.00	0.00	100.00		
Rural	23.63	24.48	46.60	2.02	.67	0.00	2.59	100.00		
Batagram	43.00	1.51	7.23	6.07	0.00	0.00	42.19	100.00	7	55
Urban										
Rural	43.00	1.51	7.23	6.07	0.00	0.00	42.19	100.00		
Buner	32.21	6.80	31.37	11.27	.29	0.00	18.07	100.00	13	24
Urban										
Rural	32.21	6.80	31.37	11.27	.29	0.00	18.07	100.00		
Charsadda	3.61	39.23	43.72	12.76	0.00	0.00	.67	100.00	30	5
Urban	4.17	19.09	73.78	2.54	0.00	0.00	.42	100.00		
Rural	3.47	44.26	36.22	15.32	0.00	0.00	.73	100.00		
Chitral	32.92	0.00	.65	.29	0.00	0.00	66.14	100.00	11	74
Urban	70.29	0.00	0.00	0.00	0.00	0.00	29.71	100.00		
Rural	28.13	0.00	.73	.33	0.00	0.00	70.81	100.00		
D.I Khan	14.43	44.24	32.20	0.00	.55	1.53	7.06	100.00	27	19
Urban	19.02	29.48	47.50	0.00	.29	3.71	0.00	100.00		
Rural	13.20	48.19	28.11	0.00	.62	.94	8.94	100.00		
Hangu	25.48	27.12	11.39	27.70	7.75	0.00	.56	100.00	20	20
Urban	2.83	14.48	29.23	49.10	1.70	0.00	2.66	100.00		
Rural	28.82	28.99	8.76	24.54	8.65	0.00	.25	100.00		
Haripur	40.63	.63	35.26	12.75	.77	.09	9.87	100.00	9	42
Urban	96.58	0.00	3.42	0.00	0.00	0.00	0.00	100.00		
Rural	33.09	.72	39.55	14.47	.87	.10	11.20	100.00		
Karak	30.10	12.83	29.77	17.03	7.04	0.00	3.23	100.00	15	17
Urban	7.14	0.00	35.71	0.00	57.14	0.00	0.00	100.00		
Rural	31.04	13.35	29.52	17.73	5.00	0.00	3.36	100.00		
Khyber	33.15	4.66	31.46	16.71	0.00	0.00	14.01	100.00	10	
Urban	27.59	0.00	48.28	24.14	0.00	0.00	0.00	100.00		
Rural	34.20	5.54	28.31	15.31	0.00	0.00	16.64	100.00		
Kohat	26.72	10.11	33.93	13.65	8.26	0.00	7.34	100.00	19	26
Urban	35.81	2.90	40.14	6.92	14.24	0.00	0.00	100.00		
Rural	24.98	11.48	32.74	14.93	7.12	0.00	8.74	100.00		
Kohistan	15.63	0.00	0.00	.10	0.00	0.00	84.27	100.00	25	8
Urban										
Rural	15.63	0.00	0.00	.10	0.00	0.00	84.27	100.00		
Khurram	30.22	2.48	9.21	17.45	1.64	0.00	39.01	100.00	14	
Urban										
Rural	30.22	2.48	9.21	17.45	1.64	0.00	39.01	100.00		
Lakki Marwat	32.78	6.73	39.59	4.21	16.59	0.00	.11	100.00	12	26
Urban	73.48	0.00	26.52	0.00	0.00	0.00	0.00	100.00		
Rural	28.11	7.50	41.09	4.69	18.49	0.00	.12	100.00		

TABLE 7.1: PERCENTAGE DISTRIBUTION OF HOUSEHOLD BY SOURCE OF DRINKING WATER BY PROVINCE & DISTRICT

PROVINCE AND DISTRICTS	Tap Water	Hand Pump	Motor Pump	Dug Well	Tanker/ Truck/ Water Bearer	Filtration Plant	Other	Total	RANK	Tap Water 2014-15
Lower Dir	29.83	1.56	22.70	13.37	.03	0.00	32.51	100.00	16	27
Urban	60.00	0.00	0.00	26.67	3.33	0.00	10.00	100.00		
Rural	29.56	1.57	22.91	13.25	0.00	0.00	32.71	100.00		
Malakand PA	24.98	4.80	58.10	8.83	0.00	0.00	3.29	100.00	21	26
Urban	66.67	0.00	33.33	0.00	0.00	0.00	0.00	100.00		
Rural	20.69	5.29	60.65	9.74	0.00	0.00	3.63	100.00		
Mansehra	62.31	3.01	15.85	11.19	.10	0.00	7.55	100.00	3	49
Urban	38.79	1.67	34.48	25.05	0.00	0.00	0.00	100.00		
Rural	63.88	3.10	14.61	10.26	.11	0.00	8.05	100.00		
Mardan	9.02	28.81	58.82	3.07	0.00	.13	.16	100.00	28	24
Urban	19.53	8.80	70.27	.70	0.00	.70	0.00	100.00		
Rural	6.70	33.22	56.29	3.60	0.00	0.00	.19	100.00		
Mohmand	3.26	2.09	45.83	25.46	.13	0.00	23.23	100.00	31	
Urban										
Rural	3.26	2.09	45.83	25.46	.13	0.00	23.23	100.00		
North Wazaristan	20.79	1.68	26.55	39.71	.31	0.00	10.96	100.00	24	
Urban										
Rural	20.79	1.68	26.55	39.71	.31	0.00	10.96	100.00		
Nowshera	24.76	23.68	42.40	6.79	0.00	1.28	1.09	100.00	23	24
Urban	26.64	9.82	59.03	4.09	0.00	.42	0.00	100.00		
Rural	24.22	27.71	37.56	7.58	0.00	1.54	1.40	100.00		
Orakzai	28.37	.33	11.89	23.71	0.00	0.00	35.71	100.00	18	
Urban										
Rural	28.37	.33	11.89	23.71	0.00	0.00	35.71	100.00		
Peshawar	44.49	15.97	32.60	6.06	0.00	.07	.79	100.00	6	49
Urban	73.28	1.72	24.37	.12	0.00	.11	.40	100.00		
Rural	21.29	27.47	39.24	10.85	0.00	.04	1.11	100.00		
Shangla	5.57	.42	0.00	3.35	0.00	0.00	90.66	100.00	29	43
Urban										
Rural	5.57	.42	0.00	3.35	0.00	0.00	90.66	100.00		
South Wazaristan	44.69	0.00	1.01	5.58	0.00	0.00	48.71	100.00	5	
Urban										
Rural	44.69	0.00	1.01	5.58	0.00	0.00	48.71	100.00		
Swabi	14.82	22.59	52.33	9.32	0.00	0.00	.94	100.00	26	4
Urban	20.06	8.32	69.78	1.84	0.00	0.00	0.00	100.00		
Rural	13.84	25.25	49.08	10.72	0.00	0.00	1.11	100.00		
Swat	29.72	1.47	15.76	16.27	0.00	0.00	36.79	100.00	17	47
Urban	46.67	1.51	14.22	21.07	0.00	0.00	16.53	100.00		
Rural	21.30	1.45	16.52	13.88	0.00	0.00	46.85	100.00		
Tank	45.25	7.78	20.79	.15	.63	0.00	25.41	100.00	4	41
Urban	90.00	0.00	0.00	0.00	10.00	0.00	0.00	100.00		
Rural	42.26	8.30	22.18	.16	0.00	0.00	27.10	100.00		
Tor Ghar	75.39	0.00	6.08	0.00	0.00	0.00	18.52	100.00	1	60
Urban										
Rural	75.39	0.00	6.08	0.00	0.00	0.00	18.52	100.00		
Upper Dir	42.08	1.76	6.76	.18	0.00	0.00	49.21	100.00	8	26
Urban	96.43	3.57	0.00	0.00	0.00	0.00	0.00	100.00		
Rural	39.46	1.67	7.09	.19	0.00	0.00	51.58	100.00		

TABLE 7.1: PERCENTAGE DISTRIBUTION OF HOUSEHOLD BY SOURCE OF DRINKING WATER BY PROVINCE & DISTRICT

PROVINCE AND DISTRICTS	Tap Water	Hand Pump	Motor Pump	Dug Well	Tanker/ Truck/ Water Bearer	Filtration Plant	Other	Total	RANK	Tap Water 2014-15
Balochistan	**32.18**	**3.57**	**20.41**	**8.73**	**17.40**	**.34**	**17.37**	**100.00**		**33**
Urban	55.00	1.28	11.55	.72	29.31	.24	1.91	100.00		
Rural	23.68	4.42	23.71	11.71	12.97	.37	23.13	100.00		
Awaran	.34	.16	9.80	89.70	0.00	0.00	0.00	100.00	26	11
Urban	0.00	0.00	100.00	0.00	0.00	0.00	0.00	100.00		
Rural	.38	.18	0.00	99.44	0.00	0.00	0.00	100.00		
Barkhan	9.52	4.52	65.14	15.77	2.98	0.00	2.07	100.00	20	6
Urban	33.33	0.00	26.67	23.33	16.67	0.00	0.00	100.00		
Rural	4.33	5.51	73.51	14.12	0.00	0.00	2.52	100.00		
Dera Bugti	17.91	0.00	9.11	.86	7.60	0.00	64.52	100.00	15	23
Urban	64.66	0.00	33.11	2.23	0.00	0.00	0.00	100.00		
Rural	.17	0.00	0.00	.34	10.49	0.00	89.01	100.00		
Duki	4.76	0.00	83.86	.34	0.00	0.00	11.04	100.00	24	
Urban	40.00	0.00	60.00	0.00	0.00	0.00	0.00	100.00		
Rural	0.00	0.00	87.08	.38	0.00	0.00	12.53	100.00		
Gwadar	81.92	0.00	0.00	12.51	5.58	0.00	0.00	100.00	1	61
Urban	96.61	0.00	0.00	0.00	3.39	0.00	0.00	100.00		
Rural	57.02	0.00	0.00	33.69	9.29	0.00	0.00	100.00		
Harnai	25.84	7.63	1.84	19.50	0.00	0.00	45.19	100.00	13	24
Urban	48.60	1.64	0.00	39.93	0.00	0.00	9.82	100.00		
Rural	16.77	10.02	2.57	11.36	0.00	0.00	59.28	100.00		
Jaffarabad	16.64	18.78	8.84	1.30	3.07	0.00	51.37	100.00	16	24
Urban	48.66	15.38	23.72	0.00	8.91	0.00	3.33	100.00		
Rural	4.22	20.10	3.07	1.81	.80	0.00	70.00	100.00		
Kachhi(Bolan)	11.44	2.29	4.54	0.00	16.66	.74	64.34	100.00	19	26
Urban	49.09	0.00	3.07	0.00	18.00	6.14	23.70	100.00		
Rural	6.26	2.60	4.74	0.00	16.48	0.00	69.92	100.00		
Kalat	11.45	0.00	75.37	5.96	0.00	0.00	7.22	100.00	18	36
Urban										
Rural	11.45	0.00	75.37	5.96	0.00	0.00	7.22	100.00		
Ketch/Turbat	55.77	0.00	.15	32.27	11.55	0.00	.26	100.00	2	
Urban	100.00	0.00	0.00	0.00	0.00	0.00	0.00	100.00		
Rural	35.16	0.00	.23	47.30	16.94	0.00	.38	100.00		
Kharan	53.58	3.13	27.31	0.00	4.13	0.00	11.86	100.00	5	59
Urban	78.78	0.00	1.35	0.00	19.86	0.00	0.00	100.00		
Rural	46.97	3.95	34.11	0.00	0.00	0.00	14.96	100.00		
Khuzdar	7.02	.08	26.55	36.92	.71	0.00	28.71	100.00	23	18
Urban										
Rural	7.02	.08	26.55	36.92	.71	0.00	28.71	100.00		
Kohlu	51.98	0.00	45.16	.69	0.00	0.00	2.17	100.00	6	4
Urban	100.00	0.00	0.00	0.00	0.00	0.00	0.00	100.00		
Rural	43.91	0.00	52.75	.81	0.00	0.00	2.53	100.00		
Lasbela	28.61	.67	6.86	15.24	34.44	0.00	14.18	100.00	12	26
Urban	34.44	.50	8.47	0.00	55.66	0.00	.94	100.00		
Rural	22.30	.85	5.12	31.72	11.51	0.00	28.50	100.00		
Loralai	30.05	0.00	40.45	1.45	23.89	0.00	4.16	100.00	11	8
Urban	33.53	0.00	2.51	0.00	54.41	0.00	9.55	100.00		
Rural	27.35	0.00	69.80	2.57	.27	0.00	0.00	100.00		
Mastung	32.80	0.00	57.29	0.00	9.90	0.00	0.00	100.00	10	37
Urban	60.92	0.00	39.08	0.00	0.00	0.00	0.00	100.00		
Rural	26.15	0.00	61.61	0.00	12.24	0.00	0.00	100.00		
Nasirabad	14.13	17.12	3.29	0.00	0.00	0.00	65.46	100.00	17	24
Urban	77.94	1.59	1.00	0.00	0.00	0.00	19.46	100.00		
Rural	.91	20.34	3.77	0.00	0.00	0.00	74.99	100.00		

TABLE 7.1: PERCENTAGE DISTRIBUTION OF HOUSEHOLD BY SOURCE OF DRINKING WATER BY PROVINCE & DISTRICT

PROVINCE AND DISTRICTS	Tap Water	Hand Pump	Motor Pump	Dug Well	Tanker/ Truck/ Water Bearer	Filtration Plant	Other	Total	RANK	Tap Water 2014-15
Nushki	54.53	2.98	37.32	0.00	5.17	0.00	0.00	100.00	4	44
Urban	77.20	.80	0.00	0.00	22.01	0.00	0.00	100.00		
Rural	47.57	3.65	48.78	0.00	0.00	0.00	0.00	100.00		
Pishin	54.73	.36	30.87	.32	7.27	0.00	6.45	100.00	3	66
Urban	61.73	.43	37.84	0.00	0.00	0.00	0.00	100.00		
Rural	53.06	.34	29.20	.40	9.01	0.00	7.99	100.00		
Qilla Abdullah	43.71	0.00	14.28	2.67	32.69	0.00	6.65	100.00	8	18
Urban	28.70	0.00	16.51	0.00	53.41	0.00	1.38	100.00		
Rural	45.68	0.00	13.99	3.02	29.97	0.00	7.34	100.00		
Qilla Saifullah	18.93	.17	50.53	12.15	2.18	0.00	16.05	100.00	14	14
Urban										
Rural	18.93	.17	50.53	12.15	2.18	0.00	16.05	100.00		
Quetta	40.28	.43	12.77	.87	45.08	.27	.29	100.00	9	70
Urban	42.41	.92	9.30	0.00	46.54	.59	.24	100.00		
Rural	38.42	0.00	15.82	1.64	43.79	0.00	.33	100.00		
Shaheed Skindar	.31	12.92	77.86	0.00	0.00	0.00	8.91	100.00	27	
Urban										
Rural	.31	12.92	77.86	0.00	0.00	0.00	8.91	100.00		
Sheerani	4.16	0.00	13.48	7.51	0.00	0.00	74.86	100.00	25	15
Urban										
Rural	4.16	0.00	13.48	7.51	0.00	0.00	74.86	100.00		
Sibi	46.19	1.91	12.53	.19	4.81	0.00	34.38	100.00	7	61
Urban	85.54	0.00	3.56	0.00	7.52	0.00	3.39	100.00		
Rural	20.39	3.16	18.41	.31	3.04	0.00	54.70	100.00		
Sohbat pur	0.00	35.62	0.00	0.00	7.57	12.93	43.88	100.00	28	
Urban	0.00	0.00	0.00	0.00	100.00	0.00	0.00	100.00		
Rural	0.00	38.54	0.00	0.00	0.00	13.99	47.47	100.00		
Washuk	7.41	6.75	60.20	19.80	0.00	0.00	5.83	100.00	22	3
Urban	46.48	0.00	53.52	0.00	0.00	0.00	0.00	100.00		
Rural	0.00	8.03	61.47	23.56	0.00	0.00	6.94	100.00		
Ziarat	8.11	10.19	15.26	19.67	21.43	0.00	25.35	100.00	21	21
Urban	84.62	0.00	0.00	0.00	15.38	0.00	0.00	100.00		
Rural	6.81	10.36	15.52	20.00	21.53	0.00	25.78	100.00		

Note: Chaghi, Jhal Magsi , Musakhel, Pnjgor, Zhob districts has been droped from the scope of the survey .

TABLE 7.2: PERCENT DISTRIBUTION OF HOUSEHOLDS BY TYPE OF TOILET

PROVINCE AND DISTRICTS	FLUSH			Non-Flush			NO TOILET			RANK	FLUSH 2014-15
	U	R	T	U	R	T	U	R	T		
Pakistan	**97**	**74**	**83**	**2**	**11**	**8**	**1**	**15**	**10**		**73**
Punjab	**99**	**84**	**89**		**2**	**1**	**1**	**14**	**9**		**79**
Attock	100	95	96	0				4	3	9	84
Bahawalnagar	93	71	76	0			7	29	24	29	70
Bahawalpur	99	76	83		1	1	1	23	16	26	70
Bhakkar	90	56	61	8	23	21	2	22	19	36	47
Chakwal	99	97	97	0			1	3	3	8	85
Chiniot	95	56	68	0			5	44	31	34	60
D.G.khan	99	70	75	0	2	2	1	28	23	30	53
Faisalabad	100	88	93					12	6	15	92
Gujranwala	100	98	99					1	1	2	96
Gujrat	98	99	99				2	1	1	6	92
Hafizabad	99	89	92	0	0	0	1	11	8	16	78
Islamabad	99	99	99	1		1		1			99
Jhelum	100	95	96	0	0	0	0	5	4	10	87
Jhang	96	66	74	1	1	1	3	34	26	31	59
Kasur	99	95	96	1	1	1		4	3	11	91
Khanewal	99	83	86	1	3	2	1	14	11	23	68
Khushab	96	79	83	0			4	21	16	25	75
Lahore	99		99							1	99
Layyah	98	82	85	0	0	0	2	18	15	24	76
Lodhran	97	91	92	3		1	0	9	7	17	50
Mandi Bahuddin	98	90	91	1			1	10	8	19	82
Mianwali	96	78	81	0			4	22	18	27	72
Multan	99	86	91	1	1	1	1	14	8	18	75
Muzaffargarh	91	70	73	1			8	30	27	32	48
Nankana Sahib	100	98	99	0			0	1	1	5	86
Narowal	99	96	96	0	1	1	1	4	3	12	79
Okara	100	95	96	0	0	0	0	5	4	13	81
Pakpattan	100	85	87	0	3	3	0	12	10	22	67
Rahim Yar Khan	96	74	79				3	26	21	28	64
Rajanpur	100	62	69	0	0	0	0	38	31	33	50
Rawalpindi	99	96	97				1	4	2	7	94
Sahiwal	100	93	95	0	0	0	0	7	5	14	78
Sargodha	98	82	87				2	17	13	21	78
Sheikhupura	99	99	99		0		1	1	1	3	94
Sialkot	100	99	99	0				1	1	4	95
Toba Tek Singh	100	88	91	0	1	1	0	11	9	20	80
Vehari	97	60	66	2	33	27	1	7	6	35	62

TABLE 7.2: PERCENT DISTRIBUTION OF HOUSEHOLDS BY TYPE OF TOILET

PROVINCE AND DISTRICTS	FLUSH			Non-Flush			NO TOILET			RANK	FLUSH
	U	R	T	U	R	T	U	R	T		2014-15
Sindh	**96**	**51**	**76**	**2**	**30**	**15**	**2**	**18**	**9**		**67**
Badin	75	31	42	17	46	39	9	23	19	26	24
Dadu	91	70	74	9	30	26	0	0	0	13	47
Ghotki	93	56	64	3	33	27	4	10	9	16	61
Hyderabad	95	60	90	3	38	8	2	2	2	7	83
Jacobabad	84	78	79	16	11	12	0	11	8	9	40
Jamshoro	100	52	70	0	29	18	0	19	12	14	50
Karachi central	98		98				1		1	4	97
Karachi East	100		100							2	
Karachi Malir	100	95	98	0	3	1	0	2	1	6	
Karachi South	100		100				0		0	3	
Karachi west	99	84	98	1	12	1	0	4		5	
Kashmore	86	63	68	3	31	25	11	6	7	15	48
Khairpur	79	40	52	10	55	41	11	5	7	22	43
Koangi	100		100	0		0	0		0	1	
Larkana	100	59	78	0	39	21	0	3	1	11	79
Matiari	100	50	61	0	31	24	0	19	15	17	32
Mirpur Khas	93	31	47		48	36	7	21	17	25	49
Naushahro Feroze	100	88	90		12	10	0			8	60
Sanghar	92	39	52	0	37	27	8	24	20	21	47
Shahdadkot	82	77	79	18	23	21	0	0	0	10	59
Shaheed Benazirabad	84	48	57	4	33	25	12	19	18	20	46
Shikarpur	98	46	58		31	24	1	23	18	19	58
Sujawal	100	27	34	0	32	29	0	41	37	27	15
Sukkur	98	59	76	1	30	17	1	11	7	12	75
Tando Allah Yar	86	48	60	9	41	31	5	11	9	18	34
Tando Muhammad Khan	63	45	49	37	37	37	0	18	14	24	38
Tharparkar	48	19	21	17	33	32	35	48	47	29	12
Thatta	80	42	50	16	18	18	4	40	32	23	20
Umerkot	81	20	33	1			19	80	67	28	26

TABLE 7.2: PERCENT DISTRIBUTION OF HOUSEHOLDS BY TYPE OF TOILET

PROVINCE AND DISTRICTS	FLUSH			Non-Flush			NO TOILET			RANK	FLUSH 2014-15
	U	R	T	U	R	T	U	R	T		
Khyber Pakhtunkhwa	**98**	**82**	**84**	**2**	**6**	**5**		**13**	**11**		**76**
Abbottabad	100	95	96	0			0	4	4	1	88
Bajaur		46	46		3	3		52	52	31	
Bannu	98	73	75	0	1	1	2	25	24	21	70
Batagram		79	79					20	20	20	70
Buner		67	67		10	10		23	23	25	56
Charsadda	96	88	90	3	8	7	1	4	3	12	75
Chitral	94	97	96	6	1	2	0	2	2	2	88
D.I.Khan	90	82	84	10	15	14	0	3	3	18	55
Hangu	99	95	96	0	4	4	1	1	1	3	80
Haripur	100	93	94	0			0	7	6	7	90
Karak	96	92	92	0			4	8	8	9	64
Khyber	76	64	66	14	23	21	10	13	12	26	
Kohat	100	86	88	0	2	1	0	13	11	15	65
Kohistan		61	61					38	38	28	27
Kurram		66	66		20	20		14	14	27	
Lakki Marwat	100	83	85	0	1	1	0	15	14	16	64
Lower Dir	100	84	84	0			0	16	16	17	80
Malakand PA	100	93	94	0	3	2	0	4	4	6	84
Mansehra	100	90	91	0			0	9	9	10	85
Mardan	98	89	91	1	9	7	1	2	2	11	82
Mohmand		32	32		40	40		28	28	32	
North waziristan		57	57					43	43	29	
Nowshera	99	91	93	1	8	6	0	2	1	8	87
orakzai		80	80		6	6		14	14	19	
Peshawar	99	91	95		6	3		4	2	4	88
Shangla		73	73		1	1		26	26	23	67
south wazaristan		50	50		20	20		30	30	30	
Swabi	99	93	94	1	4	3	1	3	3	5	87
Swat	99	85	90	1				15	10	13	83
Tank	100	73	75	0	21	20	0	6	6	22	44
Tor Garh		72	72		1	1		28	28	24	40
Upper Dir	100	88	88	0			0	12	11	14	66

TABLE 7.2: PERCENT DISTRIBUTION OF HOUSEHOLDS BY TYPE OF TOILET

PROVINCE AND DISTRICTS	FLUSH			Non-Flush			NO TOILET			RANK	FLUSH 2014-15
	U	R	T	U	R	T	U	R	T		
Balochistan	**75**	**33**	**44**	**23**	**45**	**39**	**3**	**23**	**17**		**31**
Awaran	0	3	3	100	84	85	0	13	12	25	1
Barkhan	90	8	23	0	42	34	10	50	43	15	31
Dera Bugti	77	4	24	0	46	34	23	50	42	14	18
Duki	100	89	90	0	0	0	0	11	10	2	
Gwadar	92	12	62	6	76	32	2	13	6	7	29
Harnai	41	1	12	56	83	76	3	16	12	19	14
Jaffarabad	61	54	56	39	36	37	0	10	7	8	25
Kachhi (Bolan)	89	4	14	11	85	76	0	11	10	18	15
Kalat		1	1		77	77		22	22	27	9
Kech	28	9	16	64	77	73	8	14	12	17	
Kharan	0	3	2	98	42	54	2	55	44	26	16
Khuzdar		1	1		34	34		65	65	28	20
Kohlu	100	93	94	0	4	3	0	3	2	1	9
Lasbela	63	64	64	37	32	35	0	3	2	6	29
Loralai	100	52	73	0	22	13	0	26	15	4	34
Mastung	94	14	30	6	86	70	0	0	0	13	21
Nasirabad	99	45	54	1	35	29	0	20	16	9	26
Nushki	28	1	7	72	97	91	0	2	2	22	24
Pishin	100	57	65	0	39	32	0	4	3	5	41
Qilla Abdullah	58	33	36	27	38	36	14	30	28	11	11
Qilla Saifullah		9	9		35	35		56	56	21	23
Quetta	89	64	75	11	36	24	1			3	76
Shaheed Sikandar Abad		5	5		55	55		40	40	24	
Sheerani		21	21		34	34		46	46	16	19
Sibi	83	3	35	17	53	39	0	44	27	12	42
sohbatpur	100	31	36	0	1	1	0	68	63	10	
washuk	29	9	12	50	74	70	21	17	18	20	0
Ziarat	92	4	5	0	48	47	8	48	47	23	14

Note: Chaghi, Jhal Magsi , Musakhel, Pnjgor, Zhob districts has been droped from the scope of the survey .

Table 7.3 PERCENTAGE OF HOUSEHOLD BY TYPE OF SOLID WASTE MANAGEMENT

PROVINCE AND DISTRICTS	Collection by Municipality or private van	Public Bin	Road/ Street	Open Space	Other	Total
Pakistan	**16.54**	**7.02**	**6.83**	**67.19**	**2.42**	**100.00**
Urban	39.45	16.27	10.56	31.71	2.01	100.00
Rural	2.10	1.19	4.47	89.57	2.67	100.00
Punjab	**17.54**	**6.11**	**4.37**	**70.17**	**1.81**	**100.00**
Urban	41.87	14.18	5.55	36.52	1.88	100.00
Rural	2.74	1.19	3.65	90.65	1.77	100.00
Attock	3.94	4.92	.44	90.36	.34	100.00
Urban	14.24	15.63	0.00	70.13	0.00	100.00
Rural	.11	.94	.60	97.89	.46	100.00
Bahawalnagar	3.83	.05	14.14	81.43	.55	100.00
Urban	18.68	0.00	28.75	52.41	.16	100.00
Rural	0.00	.06	10.38	88.91	.65	100.00
Bahawalpur	13.30	5.88	1.23	79.03	.57	100.00
Urban	40.65	18.76	1.97	38.37	.25	100.00
Rural	.80	0.00	.89	97.60	.72	100.00
Bhakhar	3.97	.26	1.02	88.05	6.70	100.00
Urban	27.03	1.75	0.00	69.79	1.43	100.00
Rural	0.00	0.00	1.20	91.19	7.61	100.00
Chakwal	3.13	.35	4.09	90.98	1.44	100.00
Urban	16.46	2.08	11.53	66.48	3.44	100.00
Rural	.46	0.00	2.60	95.89	1.04	100.00
Chiniot	2.27	1.66	.14	94.84	1.09	100.00
Urban	6.95	3.22	.41	87.11	2.31	100.00
Rural	0.00	.91	0.00	98.60	.49	100.00
D. G. Khan	.11	1.74	2.22	94.78	1.14	100.00
Urban	0.00	7.68	11.51	79.54	1.28	100.00
Rural	.14	.47	.23	98.05	1.11	100.00
Faisalabad	35.89	2.15	2.66	57.56	1.75	100.00
Urban	67.58	3.56	1.62	25.77	1.48	100.00
Rural	6.92	.86	3.61	86.62	1.99	100.00
Gujranwala	33.62	1.46	6.02	58.44	.46	100.00
Urban	55.41	2.43	6.13	35.69	.34	100.00
Rural	.78	0.00	5.85	92.73	.63	100.00
Gujrat	16.65	.70	4.28	77.66	.71	100.00
Urban	46.56	1.17	8.32	43.41	.54	100.00
Rural	4.59	.50	2.66	91.47	.78	100.00
Hafizabad	**9.30**	**.31**	**5.35**	**84.75**	**.29**	**100.00**
Urban	25.15	.87	14.70	59.28	0.00	100.00
Rural	.42	0.00	.11	99.02	.45	100.00
Islamabad	62.80	4.81	4.26	24.99	3.13	100.00
Urban	65.92	4.13	3.30	25.70	.96	100.00
Rural	59.50	5.54	5.28	24.24	5.44	100.00
Jehlum	6.48	.96	3.80	75.57	13.19	100.00
Urban	26.36	4.08	10.12	56.86	2.59	100.00
Rural	.35	0.00	1.85	81.34	16.46	100.00
Jhang	3.21	1.96	4.33	89.22	1.27	100.00
Urban	11.81	5.84	13.88	66.51	1.96	100.00
Rural	0.00	.51	.77	97.70	1.02	100.00
Kasur	6.56	1.72	1.47	89.68	.58	100.00
Urban	24.82	2.39	1.58	70.82	.38	100.00
Rural	.68	1.50	1.43	95.76	.64	100.00
Khanewal	6.12	1.63	1.67	87.53	3.05	100.00
Urban	29.45	8.07	6.42	55.01	1.04	100.00
Rural	.53	.08	.53	95.33	3.54	100.00
Khushab	4.20	.28	10.34	84.31	.88	100.00
Urban	15.30	.81	12.34	71.55	0.00	100.00
Rural	0.00	.08	9.58	89.13	1.21	100.00

PROVINCE AND DISTRICTS	Collection by Municipality or private van	Public Bin	Road/ Street	Open Space	Other	Total
Lahore	52.42	23.43	1.68	20.69	1.78	100.00
Urban	52.42	23.43	1.68	20.69	1.78	
Rural						100.00
Layyah	0.00	0.00	1.80	98.20	0.00	100.00
Urban	0.00	0.00	0.00	100.00	0.00	100.00
Rural	0.00	0.00	2.20	97.80	0.00	100.00
Lodhran	3.00	0.00	12.08	83.02	1.90	100.00
Urban	18.74	0.00	11.47	69.79	0.00	100.00
Rural	0.00	0.00	12.20	85.54	2.27	100.00
Mandi Bahauddin	5.53	4.13	2.96	85.91	1.47	100.00
Urban	29.74	24.37	8.09	37.22	.57	100.00
Rural	.80	.17	1.96	95.42	1.65	100.00
Mianwali	.89	3.27	.70	94.10	1.03	100.00
Urban	4.25	8.05	0.00	86.26	1.45	100.00
Rural	.08	2.11	.87	96.01	.93	100.00
Multan	11.62	11.30	15.38	58.73	2.96	100.00
Urban	26.92	20.21	15.51	34.92	2.44	100.00
Rural	.23	4.67	15.29	76.46	3.35	100.00
Muzaffar Garh	1.59	.10	9.30	85.57	3.44	100.00
Urban	10.24	.21	13.67	61.57	14.32	100.00
Rural	.08	.08	8.53	89.76	1.54	100.00
Nankana Sahib	5.83	6.21	.60	86.29	1.08	100.00
Urban	12.63	32.51	2.36	51.62	.88	100.00
Rural	4.23	0.00	.18	94.47	1.12	100.00
Narowal	2.10	0.00	4.06	93.18	.65	100.00
Urban	11.52	0.00	19.74	68.74	0.00	100.00
Rural	.28	0.00	1.02	97.92	.78	100.00
Okara	9.96	10.60	3.46	75.62	.36	100.00
Urban	34.91	40.49	0.00	24.08	.52	100.00
Rural	1.24	.16	4.68	93.63	.30	100.00
Pakpattan	6.45	5.47	7.68	79.92	.48	100.00
Urban	41.31	35.92	0.00	22.77	0.00	100.00
Rural	.49	.26	9.00	89.69	.56	100.00
Rahim Yar Khan	3.14	.41	4.15	91.50	.79	100.00
Urban	12.78	1.97	7.34	77.14	.77	100.00
Rural	.59	0.00	3.31	95.30	.80	100.00
Rajanpur	0.00	3.62	.29	95.80	.29	100.00
Urban	0.00	20.18	1.19	78.13	.51	100.00
Rural	0.00	0.00	.10	99.65	.25	100.00
Rawalpindi	28.00	16.67	1.14	46.61	7.58	100.00
Urban	46.21	26.55	1.20	17.88	8.16	100.00
Rural	9.27	6.52	1.07	76.16	6.98	100.00
Sahiwal	17.41	12.86	3.05	65.84	.84	100.00
Urban	60.79	28.93	3.46	6.83	0.00	100.00
Rural	5.85	8.58	2.95	81.56	1.07	100.00
Sargodha	12.09	2.03	9.77	75.09	1.02	100.00
Urban	36.75	6.81	15.58	39.94	.92	100.00
Rural	1.65	0.00	7.31	89.98	1.06	100.00
Sheikhupura	14.69	3.32	.72	79.82	1.45	100.00
Urban	32.77	4.38	1.81	60.84	.20	100.00
Rural	5.38	2.77	.16	89.60	2.10	100.00
Sialkot	12.92	2.47	12.83	71.04	.74	100.00
Urban	28.71	5.89	38.10	27.12	.17	100.00
Rural	5.85	.93	1.51	90.73	.99	100.00
T.T. Singh	9.85	3.59	1.40	84.05	1.11	100.00
Urban	29.48	15.89	2.13	49.14	3.34	100.00
Rural	4.37	.16	1.19	93.79	.49	100.00
Vehari	6.60	2.42	1.45	89.32	.21	100.00
Urban	38.65	4.93	1.70	54.72	0.00	100.00
Rural	0.00	1.91	1.40	96.45	.25	100.00

PROVINCE AND DISTRICTS	Collection by Municipality or private van	Public Bin	Road/ Street	Open Space	Other	Total
Sindh	**21.98**	**11.25**	**14.98**	**49.97**	**1.83**	**100.00**
Urban	38.92	18.88	18.32	22.53	1.36	100.00
Rural	.98	1.79	10.84	83.98	2.41	100.00
Badin	1.05	7.04	4.54	86.96	.41	100.00
Urban	4.31	28.57	7.87	59.04	.21	100.00
Rural	0.00	.11	3.47	95.95	.47	100.00
Dadu	3.06	.82	12.38	82.64	1.10	100.00
Urban	13.73	3.23	31.86	50.92	.26	100.00
Rural	0.00	.13	6.81	91.72	1.34	100.00
Ghotki	3.36	2.47	17.64	75.74	.79	100.00
Urban	16.50	1.85	49.71	31.93	0.00	100.00
Rural	0.00	2.63	9.42	86.96	.99	100.00
Hvderabad	19.96	25.72	12.81	41.02	.49	100.00
Urban	23.29	30.00	14.14	32.09	.48	100.00
Rural	0.00	0.00	4.82	94.63	.55	100.00
Jacobabad	.35	10.60	16.12	52.42	20.50	100.00
Urban	.85	41.30	26.52	27.15	4.19	100.00
Rural	.19	.75	12.78	60.53	25.74	100.00
Jamshoro	7.51	1.15	18.42	70.95	1.97	100.00
Urban	19.62	3.01	45.86	31.51	0.00	100.00
Rural	0.00	0.00	1.40	95.40	3.20	100.00
Karachi Central	61.42	14.92	13.69	8.44	1.53	100.00
Urban	61.42	14.92	13.69	8.44	1.53	100.00
Rural						
Karachi East	59.64	16.04	17.05	5.85	1.42	100.00
Urban	59.64	16.04	17.05	5.85	1.42	100.00
Rural						
Karachi Malir	25.23	17.29	18.48	38.66	.33	100.00
Urban	39.69	13.64	14.95	31.25	.47	100.00
Rural	8.62	21.49	22.55	47.17	.17	100.00
Karachi South	46.72	28.85	11.19	12.39	.83	100.00
Urban	46.72	28.85	11.19	12.39	.83	100.00
Rural						
Karachi West	28.28	20.19	23.78	26.60	1.14	100.00
Urban	29.73	21.22	23.86	23.99	1.20	100.00
Rural	0.00	0.00	22.23	77.77	0.00	100.00
Kashmore	0.00	1.06	67.37	24.43	7.13	100.00
Urban	0.00	4.86	40.19	41.35	13.60	100.00
Rural	0.00	0.00	74.99	19.69	5.32	100.00
Khairpur	.05	2.51	46.99	49.52	.93	100.00
Urban	.16	6.44	67.66	23.67	2.07	100.00
Rural	0.00	.80	38.02	60.73	.44	100.00
Korangi	51.48	14.30	13.56	19.57	1.10	100.00
Urban	51.48	14.30	13.56	19.57	1.10	100.00
Rural						
Larkana	26.67	8.24	9.14	51.58	4.37	100.00
Urban	51.41	17.61	3.20	27.43	.36	100.00
Rural	4.88	0.00	14.37	72.85	7.90	100.00
Matiari	.82	11.52	12.64	72.93	2.10	100.00
Urban	3.88	54.39	16.36	24.82	.54	100.00
Rural	0.00	0.00	11.64	85.85	2.51	100.00
Mir Pur Khas	.85	3.16	7.23	88.57	.19	100.00
Urban	3.15	12.03	27.17	57.64	0.00	100.00
Rural	.02	0.00	.12	99.61	.26	100.00

PROVINCE AND DISTRICTS	Collection by Municipality or private van	Public Bin	Road/ Street	Open Space	Other	Total
Nowshero Feroze	8.42	1.81	.38	89.04	.35	100.00
Urban	50.15	10.78	0.00	38.96	.11	100.00
Rural	0.00	0.00	.45	99.15	.40	100.00
Sanghar	6.77	9.81	7.26	75.74	.42	100.00
Urban	13.10	37.85	12.20	35.46	1.39	100.00
Rural	4.56	0.00	5.53	89.83	.08	100.00
Shahdadkot	21.28	8.13	3.65	61.03	5.91	100.00
Urban	63.57	24.28	.71	11.09	.35	100.00
Rural	0.00	0.00	5.13	86.17	8.70	100.00
Shaheed Banazir Abad	3.45	5.29	5.38	85.20	.67	100.00
Urban	13.88	21.26	13.09	51.27	.50	100.00
Rural	0.00	0.00	2.83	96.45	.72	100.00
Shikarpur	2.56	9.95	4.60	81.10	1.79	100.00
Urban	10.89	42.28	19.54	27.28	0.00	100.00
Rural	0.00	0.00	0.00	97.66	2.34	100.00
Sujawal	0.00	0.00	6.66	85.85	7.49	100.00
Urban	0.00	0.00	63.43	35.21	1.35	100.00
Rural	0.00	0.00	.68	91.18	8.14	100.00
Sukkur	8.08	5.88	25.37	57.44	3.24	100.00
Urban	18.26	13.29	42.33	19.30	6.82	100.00
Rural	0.00	0.00	11.93	87.67	.40	100.00
Tando Allah Yar	6.76	23.90	13.68	55.16	.50	100.00
Urban	20.99	43.66	8.80	26.55	0.00	100.00
Rural	.25	14.88	15.91	68.23	.73	100.00
Tando Muhammad Khan	0.00	.45	4.50	94.93	.12	100.00
Urban	0.00	1.98	6.86	90.63	.53	100.00
Rural	0.00	0.00	3.79	96.21	0.00	100.00
Tharparkar	0.00	0.00	0.00	99.19	.81	100.00
Urban	0.00	0.00	0.00	98.27	1.73	100.00
Rural	0.00	0.00	0.00	99.27	.73	100.00
Thatta	0.00	.33	19.13	72.61	7.93	100.00
Urban	0.00	.96	56.35	23.37	19.31	100.00
Rural	0.00	.15	8.54	86.62	4.69	100.00
Umer Kot	0.00	3.23	.08	96.56	.14	100.00
Urban	0.00	14.92	.37	84.72	0.00	100.00
Rural	0.00	.06	0.00	99.77	.17	100.00

PROVINCE AND DISTRICTS	Collection by Municipality or private van	Public Bin	Road/ Street	Open Space	Other	Total
Khyber Pakhtunkhwa	**5.29**	**4.06**	**1.21**	**85.79**	**3.65**	**100.00**
Urban	29.22	22.34	4.89	39.79	3.76	100.00
Rural	.78	.61	.51	94.46	3.63	100.00
Abbottabad	3.03	5.90	.04	77.90	13.13	100.00
Urban	14.95	22.39	0.00	55.67	6.99	100.00
Rural	0.00	1.70	.05	83.56	14.69	100.00
Bajur	.20	0.00	0.00	90.99	8.82	100.00
Urban						
Rural	.20	0.00	0.00	90.99	8.82	100.00
Bannu	1.08	4.11	4.78	89.67	.35	100.00
Urban	24.57	29.78	13.80	31.84	0.00	100.00
Rural	0.00	2.92	4.37	92.34	.37	100.00
Batagram	0.00	0.00	.08	90.45	9.47	100.00
Urban						
Rural	0.00	0.00	.08	90.45	9.47	100.00
Bunair	0.00	0.00	0.00	99.30	.70	100.00
Urban						
Rural	0.00	0.00	0.00	99.30	.70	100.00
Charsada	.17	14.31	1.00	81.18	3.34	100.00
Urban	.85	67.61	.89	30.29	.37	100.00
Rural	0.00	1.01	1.03	93.88	4.08	100.00
Chitral	0.00	8.65	1.13	81.11	9.12	100.00
Urban	0.00	0.00	9.90	71.30	18.80	100.00
Rural	0.00	9.75	0.00	82.36	7.88	100.00
D. I. Khan	6.97	1.71	.43	90.32	.56	100.00
Urban	33.02	8.11	.73	57.86	.29	100.00
Rural	0.00	0.00	.36	99.01	.63	100.00
Hangu	.20	2.90	.59	95.68	.63	100.00
Urban	1.56	21.03	4.56	67.94	4.91	100.00
Rural	0.00	.23	0.00	99.77	0.00	100.00
Haripur	3.50	9.44	.17	80.39	6.50	100.00
Urban	27.99	72.01	0.00	0.00	0.00	100.00
Rural	.20	1.01	.19	91.22	7.38	100.00
Karak	0.00	0.00	0.00	100.00	0.00	100.00
Urban	0.00	0.00	0.00	100.00	0.00	100.00
Rural	0.00	0.00	0.00	100.00	0.00	100.00
Khyber	.26	.28	.15	97.25	2.07	100.00
Urban	0.00	0.00	0.00	100.00	0.00	100.00
Rural	.30	.34	.17	96.73	2.46	100.00
Kohat	.53	3.17	.34	95.06	.90	100.00
Urban	3.30	19.77	2.13	72.24	2.56	100.00
Rural	0.00	0.00	0.00	99.41	.59	100.00
Kohistan	.17	0.00	0.00	96.18	3.64	100.00
Urban						
Rural	.17	0.00	0.00	96.18	3.64	100.00
Kurram	.43	0.00	0.00	99.57	0.00	100.00
Urban						
Rural	.43	0.00	0.00	99.57	0.00	100.00
Lakki Marwat	0.00	5.25	3.99	90.76	0.00	100.00
Urban	0.00	50.00	38.77	11.23	0.00	100.00
Rural	0.00	.12	0.00	99.88	0.00	100.00
Lower Dir	0.00	.06	.07	98.46	1.41	100.00
Urban	0.00	6.67	0.00	93.33	0.00	100.00
Rural	0.00	0.00	.07	98.50	1.42	100.00
Malakand	1.01	0.00	4.80	83.29	10.90	100.00
Urban	0.00	0.00	25.93	14.81	59.26	100.00
Rural	1.11	0.00	2.63	90.34	5.92	100.00
Mansehra	.14	2.27	0.00	79.84	17.74	100.00
Urban	1.30	36.34	0.00	18.48	43.89	100.00
Rural	.07	0.00	0.00	83.93	16.00	100.00

PROVINCE AND DISTRICTS	Collection by Municipality or private van	Public Bin	Road/ Street	Open Space	Other	Total
Mardan	9.30	2.35	1.38	85.87	1.10	100.00
Urban	51.15	10.31	6.29	31.34	.91	100.00
Rural	.07	.60	.30	97.90	1.14	100.00
Mohmand	0.00	0.00	0.00	99.62	.38	100.00
Urban						
Rural	0.00	0.00	0.00	99.62	.38	100.00
North Waziristan	.07	0.00	0.00	99.93	0.00	100.00
Urban						
Rural	.07	0.00	0.00	99.93	0.00	100.00
Nowshera	.77	8.59	2.60	83.25	4.79	100.00
Urban	2.33	36.74	4.03	52.81	4.09	100.00
Rural	.32	.40	2.18	92.10	4.99	100.00
Orakzai	0.00	0.00	0.00	96.68	3.32	100.00
Urban						
Rural	0.00	0.00	0.00	96.68	3.32	100.00
Peshawar	27.88	10.09	3.26	56.98	1.79	100.00
Urban	52.92	21.84	5.98	18.38	.88	100.00
Rural	7.80	.67	1.08	87.94	2.52	100.00
Shangla	.64	1.70	0.00	96.86	.80	100.00
Urban						
Rural	.64	1.70	0.00	96.86	.80	100.00
South Waziristan	.20	1.52	0.00	97.72	.57	100.00
Urban						
Rural	.20	1.52	0.00	97.72	.57	100.00
Swabi	4.42	.20	.71	92.63	2.04	100.00
Urban	15.58	1.29	4.52	69.61	9.01	100.00
Rural	2.34	0.00	0.00	96.92	.74	100.00
Swat	7.38	5.16	1.40	84.23	1.83	100.00
Urban	22.25	15.55	4.23	54.05	3.92	100.00
Rural	0.00	0.00	0.00	99.21	.79	100.00
Tank	.83	1.46	.83	96.50	.37	100.00
Urban	13.33	23.33	13.33	50.00	0.00	100.00
Rural	0.00	0.00	0.00	99.60	.40	100.00
Tor Garh	.30	0.00	0.00	99.70	0.00	100.00
Urban						
Rural	.30	0.00	0.00	99.70	0.00	100.00
Upper Dir	.04	.10	.89	94.37	4.59	100.00
Urban	0.00	0.00	0.00	96.43	3.57	100.00
Rural	.05	.10	.93	94.27	4.64	100.00

PROVINCE AND DISTRICTS	Collection by Municipality or private van	Public Bin	Road/ Street	Open Space	Other	Total
Balochistan	**10.49**	**3.45**	**6.36**	**71.83**	**7.87**	**100.00**
Urban	27.70	9.48	11.15	44.21	7.47	100.00
Rural	4.08	1.21	4.58	82.12	8.02	100.00
Awaran	0.00	0.00	.98	94.12	4.90	100.00
Urban	0.00	0.00	10.00	40.00	50.00	100.00
Rural	0.00	0.00	0.00	100.00	0.00	100.00
Barkhan	0.00	.13	0.00	99.87	0.00	100.00
Urban	0.00	0.00	0.00	100.00	0.00	100.00
Rural	0.00	.16	0.00	99.84	0.00	100.00
Dera Bughti	.08	0.00	.23	98.55	1.14	100.00
Urban	0.00	0.00	0.00	100.00	0.00	100.00
Rural	.11	0.00	.32	98.00	1.57	100.00
Duki	0.00	0.00	11.75	87.70	.55	100.00
Urban	0.00	0.00	73.33	26.67	0.00	100.00
Rural	0.00	0.00	3.42	95.95	.62	100.00
Gwadar	1.59	.41	9.38	88.46	.16	100.00
Urban	2.52	.66	14.92	81.90	0.00	100.00
Rural	0.00	0.00	0.00	99.57	.43	100.00
Harnai	.37	.74	.22	71.49	27.17	100.00
Urban	1.31	2.61	0.00	95.17	.91	100.00
Rural	0.00	0.00	.31	62.06	37.63	100.00
Jaffarabad	**3.23**	**.81**	**22.47**	**57.83**	**15.66**	**100.00**
Urban	11.57	2.25	68.94	14.82	2.42	100.00
Rural	0.00	.25	4.44	74.51	20.80	100.00
Kachhi/ Bolan	.50	2.03	8.07	86.37	3.03	100.00
Urban	4.13	16.83	3.18	54.39	21.48	100.00
Rural	0.00	0.00	8.74	90.77	.49	100.00
Kalat	0.00	0.00	.27	99.46	.27	100.00
Urban	0.00	0.00	.27	99.46	.27	100.00
Rural						
Kech/Turbat	7.69	1.43	2.96	86.42	1.50	100.00
urban	24.21	4.50	8.14	61.23	1.92	100.00
Rural	0.00	0.00	.54	98.15	1.31	100.00
Kharan	.74	0.00	0.00	99.11	.15	100.00
Urban	2.71	0.00	0.00	97.29	0.00	100.00
Rural	.22	0.00	0.00	99.58	.19	100.00
Khuzdar	0.00	0.00	.18	93.65	6.16	100.00
Urban						
Rural	0.00	0.00	.18	93.65	6.16	100.00
Kohlu	0.00	1.14	0.00	87.61	11.25	100.00
Urban	0.00	0.00	0.00	100.00	0.00	100.00
Rural	0.00	1.33	0.00	85.53	13.14	100.00
Lasbela	.45	16.27	22.92	57.57	2.79	100.00
Urban	0.00	19.61	18.59	57.31	4.50	100.00
Rural	.94	12.67	27.61	57.85	.94	100.00
Loralai	27.22	11.75	1.07	59.76	.20	100.00
Urban	62.41	20.67	2.45	14.47	0.00	100.00
Rural	0.00	4.84	0.00	94.80	.36	100.00
Mastung	0.00	0.00	9.02	90.51	.47	100.00
Urban	0.00	0.00	36.08	63.92	0.00	100.00
Rural						
Nasirabad/ Tamboo	0.00	1.50	7.39	59.76	31.36	100.00
Urban	0.00	8.71	34.79	46.16	10.34	100.00
Rural	0.00	0.00	1.71	62.58	35.71	100.00
Nushki	0.00	.19	0.00	88.73	11.08	100.00
Urban	0.00	.80	0.00	52.03	47.18	100.00
Rural	0.00	0.00	0.00	100.00	0.00	100.00
Pishin	11.82	3.74	.40	70.45	13.59	100.00
Urban	.39	18.66	0.00	34.97	45.98	100.00
Rural	14.55	.17	.50	78.93	5.85	100.00
Qilla Abdullah	0.00	2.22	16.78	65.93	15.08	100.00
Urban	0.00	17.52	.35	55.35	26.78	100.00
Rural	0.00	.21	18.93	67.31	13.54	100.00
Qilla Saifullah	0.00	.61	1.17	52.37	45.85	100.00
Urban						
Rural	0.00	.61	1.17	52.37	45.85	100.00

PROVINCE AND DISTRICTS	Collection by Municipality or private van	Public Bin	Road/ Street	Open Space	Other	Total
Quetta	41.81	6.18	1.58	44.00	6.44	100.00
Urban	64.40	9.92	.18	19.93	5.58	100.00
Rural	22.02	2.90	2.80	65.09	7.20	100.00
Shaheed Sikandar Abad	0.00	0.00	8.14	91.50	.36	100.00
Urban						
Rural	0.00	0.00	8.14	91.50	.36	100.00
Sherani	0.00	0.00	0.00	100.00	0.00	100.00
Urban						
Rural	0.00	0.00	0.00	100.00	0.00	100.00
Sibbi	12.07	.80	4.09	82.75	.29	100.00
Urban	30.47	2.03	10.33	57.17	0.00	100.00
Rural	0.00	0.00	0.00	99.53	.47	100.00
Sohbatpur	0.00	0.00	.27	92.98	6.75	100.00
Urban	0.00	0.00	3.57	17.86	78.57	100.00
Rural	0.00	0.00	0.00	99.13	.87	100.00
Washuk	0.00	.20	2.22	96.94	.64	100.00
Urban	0.00	0.00	0.00	100.00	0.00	100.00
Rural	0.00	.24	2.64	96.37	.75	100.00
Ziarat	0.00	0.00	0.00	93.81	6.19	100.00
Urban	0.00	0.00	0.00	100.00	0.00	100.00
Rural	0.00	0.00	0.00	93.70	6.30	100.00

Note: Chaghi, Jhal Magsi , Musakhel, Pnjgor, Zhob districts has been droped from the scope of the survey .

TABLE 7.4: PERCENT DISTRIBUTION OF HOUSEHOLDS BY HOUSING TENURE.

PROVINCE & DISTRICT	HOUSING TENURE				
	OWN	RENT	FREE	SUBSIDIZE RENT	TOTAL
Pakistan	**81.78**	**10.38**	**7.00**	**.85**	**100.00**
Urban	70.13	22.04	6.19	1.64	100.00
Rural	89.12	3.02	7.51	.35	100.00
Punjab	**83.62**	**9.07**	**6.71**	**.59**	**100.00**
Urban	72.73	18.96	7.07	1.24	100.00
Rural	90.25	3.06	6.49	.20	100.00
Attock	87.66	6.29	4.45	1.61	100.00
Urban	71.66	17.83	4.73	5.78	100.00
Rural	93.63	1.98	4.34	.05	100.00
Bhawal Nagar	89.15	3.56	7.08	.21	100.00
Urban	80.07	12.76	6.93	.25	100.00
Rural	91.49	1.19	7.11	.21	100.00
Bahawalpur	88.05	4.65	6.66	.65	100.00
Urban	78.85	12.13	6.96	2.06	100.00
Rural	92.25	1.23	6.52	0.00	100.00
Bhakkar	92.95	1.18	5.81	.06	100.00
Urban	89.63	6.06	4.31	0.00	100.00
Rural	93.52	.34	6.07	.06	100.00
Chakwal	91.08	4.44	4.10	.37	100.00
Urban	74.78	17.91	6.79	.52	100.00
Rural	94.35	1.74	3.56	.35	100.00
Chiniot	86.36	3.25	10.08	.31	100.00
Urban	87.97	7.78	3.30	.95	100.00
Rural	85.58	1.04	13.38	0.00	100.00
D.G Khan	88.59	2.90	8.45	.06	100.00
Urban	84.25	12.03	3.72	0.00	100.00
Rural	89.52	.95	9.46	.07	100.00
Faisalabad	84.12	12.07	3.48	.33	100.00
Urban	76.43	19.68	3.29	.60	100.00
Rural	91.16	5.11	3.65	.08	100.00
Gujranwala	84.21	11.94	2.93	.91	100.00
Urban	79.21	17.01	2.40	1.39	100.00
Rural	91.74	4.31	3.75	.20	100.00
Gujrat	89.24	7.49	2.67	.60	100.00
Urban	76.47	18.45	3.09	1.99	100.00
Rural	94.39	3.07	2.50	.04	100.00
Hafizabad	85.63	6.06	7.48	.84	100.00
Urban	81.01	14.13	3.92	.94	100.00
Rural	88.21	1.54	9.47	.78	100.00
Islamabad	50.07	33.88	12.21	3.84	100.00
Urban	45.96	30.22	17.03	6.79	100.00
Rural	54.43	37.77	7.10	.71	100.00
Jehlum	86.42	7.99	5.53	.05	100.00
Urban	63.98	25.22	10.80	0.00	100.00
Rural	93.35	2.68	3.91	.07	100.00
Jhang	84.74	2.89	11.96	.42	100.00
Urban	75.10	8.92	14.92	1.06	100.00
Rural	88.35	.63	10.85	.17	100.00
Kasur	83.51	5.10	10.67	.72	100.00
Urban	64.60	11.40	24.00	0.00	100.00
Rural	89.60	3.08	6.38	.95	100.00
Khanewal	91.29	2.96	5.71	.04	100.00
Urban	85.28	10.81	3.91	0.00	100.00
Rural	92.73	1.08	6.14	.05	100.00
Khushab	94.14	2.08	3.32	.46	100.00
Urban	88.40	5.75	4.17	1.68	100.00
Rural	96.31	.69	3.00	0.00	100.00
Lahore	66.49	24.02	8.06	1.43	100.00
Urban	66.49	24.02	8.06	1.43	100.00
Rural					

TABLE 7.4: PERCENT DISTRIBUTION OF HOUSEHOLDS BY HOUSING TENURE.

PROVINCE & DISTRICT	HOUSING TENURE				
	OWN	RENT	FREE	SUBSIDIZE RENT	TOTAL
Layyah	93.38	.98	5.64	0.00	100.00
Urban	96.84	3.16	0.00	0.00	100.00
Rural	92.63	.50	6.87	0.00	100.00
Lodhran	92.29	1.43	6.21	.06	100.00
Urban	92.68	6.85	.48	0.00	100.00
Rural	92.22	.40	7.31	.07	100.00
Mandi Bahauddin	88.95	3.68	7.22	.16	100.00
Urban	84.42	11.72	3.86	0.00	100.00
Rural	89.83	2.11	7.87	.19	100.00
Mianwali	89.41	1.01	7.79	1.78	100.00
Urban	91.60	3.55	4.85	0.00	100.00
Rural	88.88	.40	8.51	2.22	100.00
Multan	84.13	8.74	6.95	.17	100.00
Urban	78.11	15.08	6.54	.27	100.00
Rural	88.62	4.01	7.26	.10	100.00
Muzaffargarh	92.13	1.19	6.62	.06	100.00
Urban	86.63	5.91	7.46	0.00	100.00
Rural	93.10	.36	6.47	.07	100.00
Nankana Sahib	90.76	4.27	4.97	0.00	100.00
Urban	76.92	10.91	12.17	0.00	100.00
Rural	94.02	2.71	3.27	0.00	100.00
Narowal	95.15	3.07	1.68	.10	100.00
Urban	87.81	11.02	.56	.61	100.00
Rural	96.57	1.53	1.90	0.00	100.00
Okara	86.99	3.79	9.22	0.00	100.00
Urban	84.16	10.21	5.63	0.00	100.00
Rural	87.97	1.55	10.47	0.00	100.00
Pakpattan	87.75	2.34	9.92	0.00	100.00
Urban	85.49	11.83	2.68	0.00	100.00
Rural	88.13	.71	11.15	0.00	100.00
Rahim Yar Khan	87.47	4.88	7.49	.17	100.00
Urban	68.74	20.04	10.74	.48	100.00
Rural	92.43	.86	6.63	.08	100.00
Rajanpur	86.71	1.45	11.85	0.00	100.00
Urban	84.64	6.33	9.03	0.00	100.00
Rural	87.16	.38	12.46	0.00	100.00
Rawalpindi	69.38	22.32	6.36	1.94	100.00
Urban	55.68	32.76	8.15	3.41	100.00
Rural	83.46	11.58	4.53	.43	100.00
Sahiwal	89.17	4.10	6.62	.11	100.00
Urban	79.73	13.98	5.78	.52	100.00
Rural	91.68	1.47	6.84	0.00	100.00
Sargodha	87.41	5.90	6.63	.05	100.00
Urban	77.02	16.07	6.75	.16	100.00
Rural	91.82	1.60	6.58	0.00	100.00
Sheikhupura	84.18	8.92	6.63	.27	100.00
Urban	78.20	11.77	9.76	.27	100.00
Rural	87.26	7.46	5.02	.27	100.00
Sialkot	85.16	11.72	2.72	.41	100.00
Urban	77.47	19.43	3.10	0.00	100.00
Rural	88.61	8.26	2.54	.59	100.00
Toba Tek Singh	87.37	4.64	7.85	.14	100.00
Urban	79.00	15.96	4.76	.27	100.00
Rural	89.70	1.48	8.71	.11	100.00
Vehari	89.34	3.10	7.39	.17	100.00
Urban	78.17	12.72	8.46	.65	100.00
Rural	91.64	1.12	7.17	.07	100.00

TABLE 7.4: PERCENT DISTRIBUTION OF HOUSEHOLDS BY HOUSING TENURE.

PROVINCE & DISTRICT	HOUSING TENURE				
	OWN	RENT	FREE	SUBSIDIZE RENT	TOTAL
Sindh	**75.99**	**15.32**	**7.56**	**1.13**	**100.00**
Urban	66.64	26.10	5.37	1.90	100.00
Rural	87.59	1.96	10.27	.18	100.00
Badin	94.78	.61	3.57	1.04	100.00
Urban	85.95	2.05	7.74	4.25	100.00
Rural	97.63	.15	2.22	0.00	100.00
Dadu	89.76	2.59	7.00	.65	100.00
Urban	83.68	11.46	1.95	2.91	100.00
Rural	91.50	.05	8.45	0.00	100.00
Ghotki	87.50	1.89	10.56	.06	100.00
Urban	80.61	7.43	11.68	.28	100.00
Rural	89.26	.47	10.27	0.00	100.00
Hyderabad	81.34	14.14	2.85	1.68	100.00
Urban	79.51	16.44	2.15	1.90	100.00
Rural	92.32	.32	7.05	.32	100.00
Jacobabad	80.63	3.98	15.32	.07	100.00
Urban	80.34	16.38	3.28	0.00	100.00
Rural	80.73	0.00	19.18	.09	100.00
Jamshoro	88.15	3.53	7.66	.66	100.00
Urban	87.58	8.96	1.74	1.72	100.00
Rural	88.51	.16	11.33	0.00	100.00
Karachi central	56.08	33.68	7.26	2.98	100.00
Urban	56.08	33.68	7.26	2.98	100.00
Rural					
Karachi East	57.63	34.58	4.80	2.99	100.00
Urban	57.63	34.58	4.80	2.99	100.00
Rural					
Karachi Malir	69.67	22.63	7.62	.08	100.00
Urban	69.64	28.21	2.00	.14	100.00
Rural	69.71	16.22	14.07	0.00	100.00
Karachi South	52.67	34.22	4.82	8.29	100.00
Urban	52.67	34.22	4.82	8.29	100.00
Rural					
Karachi West	59.19	35.15	5.38	.28	100.00
Urban	59.26	34.79	5.65	.30	100.00
Rural	57.84	42.16	0.00	0.00	100.00
Kashmore	82.75	1.26	15.89	.10	100.00
Urban	51.61	5.30	42.65	.44	100.00
Rural	91.47	.13	8.40	0.00	100.00
Khairpur	90.91	2.64	6.14	.30	100.00
Urban	86.34	8.19	5.16	.30	100.00
Rural	92.90	.23	6.57	.30	100.00
Korangi	63.86	30.01	5.98	.15	100.00
Urban	63.86	30.01	5.98	.15	100.00
Rural					
Larkana	93.75	4.24	2.01	0.00	100.00
Urban	88.92	8.73	2.34	0.00	100.00
Rural	98.00	.28	1.73	0.00	100.00
Mitiari	95.35	.56	3.91	.18	100.00
Urban	92.42	1.86	5.72	0.00	100.00
Rural	96.14	.21	3.43	.23	100.00

TABLE 7.4: PERCENT DISTRIBUTION OF HOUSEHOLDS BY HOUSING TENURE.

PROVINCE & DISTRICT	HOUSING TENURE				
	OWN	RENT	FREE	SUBSIDIZE RENT	TOTAL
Mirpur Khas	59.71	5.24	34.27	.78	100.00
Urban	78.03	13.69	6.23	2.05	100.00
Rural	53.16	2.22	44.30	.32	100.00
Naushahro Feroze	89.13	8.73	1.04	1.10	100.00
Urban	69.74	28.30	1.30	.65	100.00
Rural	93.04	4.78	.98	1.19	100.00
Sanghar	86.18	2.54	11.14	.13	100.00
Urban	86.74	8.32	4.95	0.00	100.00
Rural	85.99	.53	13.31	.18	100.00
Shahdadkot	92.41	2.04	5.27	.28	100.00
Urban	91.58	6.09	1.49	.84	100.00
Rural	92.82	0.00	7.18	0.00	100.00
Shaheed Benazirabad	83.47	4.35	12.13	.05	100.00
Urban	78.31	15.83	5.67	.20	100.00
Rural	85.17	.55	14.27	0.00	100.00
Shikarpur	82.96	3.08	13.82	.14	100.00
Urban	85.14	13.05	1.69	.12	100.00
Rural	82.29	0.00	17.56	.15	100.00
Sujawal	90.50	4.34	5.17	0.00	100.00
Urban	64.79	35.21	0.00	0.00	100.00
Rural	93.20	1.09	5.71	0.00	100.00
Sukkur	81.29	7.37	9.81	1.53	100.00
Urban	74.72	16.66	5.16	3.45	100.00
Rural	86.50	0.00	13.50	0.00	100.00
Tando Allah Yar	90.86	1.86	6.97	.31	100.00
Urban	88.46	5.93	5.61	0.00	100.00
Rural	91.96	0.00	7.60	.45	100.00
Tando Muhammad Khan	94.48	.39	4.72	.41	100.00
Urban	91.42	1.72	5.76	1.09	100.00
Rural	95.39	0.00	4.41	.20	100.00
Tharparkar	94.30	0.00	5.24	.46	100.00
Urban	91.35	0.00	8.65	0.00	100.00
Rural	94.56	0.00	4.94	.50	100.00
Thatta	91.49	2.45	6.06	0.00	100.00
Urban	86.94	2.91	10.15	0.00	100.00
Rural	92.79	2.31	4.90	0.00	100.00
Umerkot	76.89	4.53	18.59	0.00	100.00
Urban	74.34	19.55	6.10	0.00	100.00
Rural	77.58	.45	21.97	0.00	100.00

TABLE 7.4: PERCENT DISTRIBUTION OF HOUSEHOLDS BY HOUSING TENURE.

PROVINCE & DISTRICT	HOUSING TENURE				
	OWN	RENT	FREE	SUBSIDIZE RENT	TOTAL
Khyber Pakhtunkhwa	**85.06**	**6.85**	**7.05**	**1.03**	**100.00**
Urban	70.46	23.00	4.89	1.66	100.00
Rural	87.82	3.81	7.46	.91	100.00
Abbottabad	88.67	7.26	3.91	.16	100.00
Urban	68.80	29.35	1.86	0.00	100.00
Rural	93.73	1.64	4.43	.20	100.00
Bajur	87.56	.94	11.25	.25	100.00
Urban					
Rural	87.56	.94	11.25	.25	100.00
Bannu	83.18	7.36	8.65	.81	100.00
Urban	37.17	51.09	11.74	0.00	100.00
Rural	85.30	5.34	8.51	.85	100.00
Batagram	61.77	1.38	32.43	4.42	100.00
Urban					
Rural	61.77	1.38	32.43	4.42	100.00
Buner	78.43	4.50	16.00	1.06	100.00
Urban					
Rural	78.43	4.50	16.00	1.06	100.00
Charsadda	78.99	5.22	13.74	2.05	100.00
Urban	67.86	7.96	21.21	2.97	100.00
Rural	81.77	4.53	11.88	1.82	100.00
Chitral	98.14	.45	1.25	.16	100.00
Urban	96.04	3.96	0.00	0.00	100.00
Rural	98.41	0.00	1.41	.18	100.00
D.I Khan	96.35	2.14	1.51	0.00	100.00
Urban	94.29	5.20	.51	0.00	100.00
Rural	96.91	1.32	1.78	0.00	100.00
Hangu	83.93	7.70	8.13	.24	100.00
Urban	73.79	21.42	4.78	0.00	100.00
Rural	85.42	5.68	8.62	.28	100.00
Haripur	87.24	7.03	5.09	.63	100.00
Urban	75.20	19.07	4.92	.81	100.00
Rural	88.87	5.41	5.11	.61	100.00
Karak	98.17	.70	1.13	0.00	100.00
Urban	89.29	10.71	0.00	0.00	100.00
Rural	98.53	.29	1.18	0.00	100.00
Khyber	94.21	1.80	3.99	0.00	100.00
Urban	100.00	0.00	0.00	0.00	100.00
Rural	93.12	2.14	4.74	0.00	100.00
Kohat	71.78	6.75	20.16	1.30	100.00
Urban	70.04	21.37	3.26	5.33	100.00
Rural	72.11	3.97	23.38	.54	100.00
Kohistan	94.15	.33	5.52	0.00	100.00
Urban					
Rural	94.15	.33	5.52	0.00	100.00
Kurram	86.47	5.81	7.30	.43	100.00
Urban					
Rural	86.47	5.81	7.30	.43	100.00
Lakki Marwat	93.46	4.64	1.72	.19	100.00
Urban	70.40	28.06	1.53	0.00	100.00
Rural	96.10	1.95	1.74	.21	100.00
Lower Dir	93.99	2.14	3.47	.40	100.00
Urban	86.67	13.33	0.00	0.00	100.00
Rural	94.06	2.04	3.50	.40	100.00

TABLE 7.4: PERCENT DISTRIBUTION OF HOUSEHOLDS BY HOUSING TENURE.

PROVINCE & DISTRICT	HOUSING TENURE				
	OWN	RENT	FREE	SUBSIDIZE RENT	TOTAL
Malakand PA	84.29	6.18	8.25	1.28	100.00
Urban	74.07	22.22	3.70	0.00	100.00
Rural	85.34	4.53	8.72	1.42	100.00
Mansehra	87.91	3.79	7.50	.80	100.00
Urban	73.84	19.58	4.36	2.23	100.00
Rural	88.85	2.73	7.71	.70	100.00
Mardan	77.43	8.85	12.52	1.20	100.00
Urban	68.33	18.79	10.83	2.05	100.00
Rural	79.44	6.65	12.89	1.01	100.00
Mohmand	96.38	.17	3.27	.17	100.00
Urban					
Rural	96.38	.17	3.27	.17	100.00
North Waziristan	98.21	.83	.96	0.00	100.00
Urban					
Rural	98.21	.83	.96	0.00	100.00
Nowshera	84.44	10.37	5.19	0.00	100.00
Urban	67.74	21.56	10.70	0.00	100.00
Rural	89.30	7.12	3.58	0.00	100.00
Orakzai	67.95	0.00	29.27	2.78	100.00
Urban					
Rural	67.95	0.00	29.27	2.78	100.00
Peshawar	67.49	23.19	6.84	2.48	100.00
Urban	59.46	35.33	3.68	1.53	100.00
Rural	73.97	13.40	9.39	3.25	100.00
Shangla	92.39	1.94	5.44	.23	100.00
Urban					
Rural	92.39	1.94	5.44	.23	100.00
South Waziristan	100.00	0.00	0.00	0.00	100.00
Urban					
Rural	100.00	0.00	0.00	0.00	100.00
Swabi	83.34	6.84	4.84	4.98	100.00
Urban	73.77	15.02	3.05	8.16	100.00
Rural	85.12	5.32	5.18	4.39	100.00
Swat	85.34	9.33	4.87	.46	100.00
Urban	76.00	19.79	2.82	1.39	100.00
Rural	89.98	4.13	5.89	0.00	100.00
Tank	97.65	.78	1.57	0.00	100.00
Urban	86.67	10.00	3.33	0.00	100.00
Rural	98.39	.16	1.45	0.00	100.00
Tor Ghar	77.41	0.00	21.21	1.37	100.00
Urban					
Rural	77.41	0.00	21.21	1.37	100.00
Upper Dir	92.43	1.44	5.12	1.00	100.00
Urban	75.00	3.57	7.14	14.29	100.00
Rural	93.27	1.34	5.03	.36	100.00

TABLE 7.4: PERCENT DISTRIBUTION OF HOUSEHOLDS BY HOUSING TENURE.

PROVINCE & DISTRICT	HOUSING TENURE				
	OWN	RENT	FREE	SUBSIDIZE RENT	TOTAL
Balochistan	**82.93**	**8.64**	**6.95**	**1.48**	**100.00**
Urban	68.80	22.54	4.22	4.44	100.00
Rural	88.19	3.46	7.97	.37	100.00
Awaran	98.84	0.00	1.16	0.00	100.00
Urban	100.00	0.00	0.00	0.00	100.00
Rural	98.71	0.00	1.29	0.00	100.00
Barkhan	96.99	1.38	1.63	0.00	100.00
Urban	93.33	6.67	0.00	0.00	100.00
Rural	97.79	.22	1.99	0.00	100.00
Dera Bugti	96.77	0.00	3.23	0.00	100.00
Urban	98.89	0.00	1.11	0.00	100.00
Rural	95.97	0.00	4.03	0.00	100.00
Duki	98.46	1.54	0.00	0.00	100.00
Urban	90.00	10.00	0.00	0.00	100.00
Rural	99.60	.40	0.00	0.00	100.00
Gwadar	87.45	4.11	8.03	.41	100.00
Urban	87.78	6.54	5.03	.66	100.00
Rural	86.90	0.00	13.10	0.00	100.00
Harnai	87.65	5.47	3.68	3.21	100.00
Urban	66.33	18.44	4.18	11.05	100.00
Rural	96.14	.30	3.48	.08	100.00
Jaffarabad	84.36	3.60	11.39	.64	100.00
Urban	83.69	11.82	2.57	1.93	100.00
Rural	84.62	.42	14.82	.14	100.00
Kachhi(Bolan)	92.57	1.87	5.44	.12	100.00
Urban	71.22	8.25	20.53	0.00	100.00
Rural	95.51	.99	3.36	.14	100.00
Kalat	91.72	.18	8.11	0.00	100.00
Urban					
Rural	91.72	.18	8.11	0.00	100.00
Ketch /Turbat	90.74	.85	8.33	.08	100.00
Urban	95.74	1.12	3.14	0.00	100.00
Rural	88.42	.72	10.75	.11	100.00
Kharan	88.15	2.01	8.72	1.13	100.00
Urban	85.44	6.71	3.90	3.95	100.00
Rural	88.86	.77	9.98	.39	100.00
Khuzdar	99.90	0.00	.10	0.00	100.00
Urban					
Rural	99.90	0.00	.10	0.00	100.00
Kohlu	55.62	7.79	21.68	14.92	100.00
Urban	69.23	19.23	3.85	7.69	100.00
Rural	53.33	5.86	24.68	16.13	100.00
Lasbela	65.82	24.68	6.94	2.56	100.00
Urban	40.94	45.78	8.35	4.93	100.00
Rural	92.71	1.87	5.41	0.00	100.00
Loralai	68.44	17.93	12.21	1.43	100.00
Urban	51.29	37.24	9.68	1.80	100.00
Rural	81.71	2.98	14.16	1.14	100.00
Mastung	96.89	.47	2.22	.43	100.00
Urban	92.96	1.50	5.54	0.00	100.00
Rural	97.82	.22	1.43	.53	100.00
Nasirabad	88.66	.89	10.45	0.00	100.00
Urban	91.83	5.17	3.00	0.00	100.00
Rural	88.00	0.00	12.00	0.00	100.00

TABLE 7.4: PERCENT DISTRIBUTION OF HOUSEHOLDS BY HOUSING TENURE.

PROVINCE & DISTRICT	HOUSING TENURE				
	OWN	RENT	FREE	SUBSIDIZE RENT	TOTAL
Nushki	89.00	2.59	6.75	1.66	100.00
Urban	74.68	11.00	9.28	5.04	100.00
Rural	93.40	0.00	5.97	.63	100.00
Pishin	90.22	1.50	7.52	.76	100.00
Urban	95.10	1.90	.72	2.29	100.00
Rural	89.06	1.40	9.15	.39	100.00
Qilla Abdullah	92.74	3.11	4.15	0.00	100.00
Urban	84.77	14.31	.91	0.00	100.00
Rural	93.79	1.64	4.58	0.00	100.00
Qilla Saifullah	97.04	.26	2.65	.05	100.00
Urban					
Rural	97.04	.26	2.65	.05	100.00
Quetta	65.04	27.74	3.27	3.95	100.00
Urban	52.38	36.28	3.21	8.13	100.00
Rural	76.13	20.25	3.33	.29	100.00
Shaheed Sikandar	85.26	.36	14.38	0.00	100.00
Urban					
Rural	85.26	.36	14.38	0.00	100.00
Sheerani	95.33	2.76	1.58	.33	100.00
Urban					
Rural	95.33	2.76	1.58	.33	100.00
Sibi	88.76	2.26	3.75	5.24	100.00
Urban	79.55	5.14	2.07	13.24	100.00
Rural	94.79	.36	4.85	0.00	100.00
Sohbatpur	42.03	.81	57.16	0.00	100.00
Urban	89.29	10.71	0.00	0.00	100.00
Rural	38.16	0.00	61.84	0.00	100.00
Washuk	96.00	.07	3.73	.20	100.00
Urban	87.95	0.00	12.05	0.00	100.00
Rural	97.53	.08	2.15	.24	100.00
Ziarat	94.06	1.71	3.88	.36	100.00
Urban	73.08	11.54	3.85	11.54	100.00
Rural	94.41	1.55	3.88	.17	100.00

Note: Chaghi, Jhal Magsi , Musakhel, Pnjgor, Zhob districts has been droped from the scope of the survey .

TABLE 7.5: PERCENTAGE DISTRIBUTION OF HOUSEHOLDS BY NUMBER OF ROOMS

PROVINCE & DISTRICT	HOUSING UNITS			
	One Room	2 - 4 Rooms	5 & More Rooms	Total
Pakistan	**25.17**	**68.91**	**5.92**	**100.00**
Urban	19.32	74.55	6.12	100.00
Rural	28.85	65.35	5.80	100.00
Punjab	**22.60**	**70.73**	**6.67**	**100.00**
Urban	20.29	71.85	7.86	100.00
Rural	24.01	70.04	5.95	100.00
Attock	7.44	85.07	7.49	100.00
Urban	4.44	90.12	5.44	100.00
Rural	8.56	83.19	8.25	100.00
Bhawal Nagar	27.39	67.95	4.66	100.00
Urban	23.27	72.67	4.06	100.00
Rural	28.45	66.73	4.82	100.00
Bahawalpur	31.61	61.88	6.51	100.00
Urban	20.89	70.67	8.45	100.00
Rural	36.51	57.86	5.63	100.00
Bhakkar	33.90	63.51	2.59	100.00
Urban	31.62	65.16	3.22	100.00
Rural	34.30	63.23	2.48	100.00
Chakwal	6.69	83.30	10.01	100.00
Urban	8.91	84.55	6.54	100.00
Rural	6.24	83.05	10.71	100.00
Chiniot	32.99	64.89	2.12	100.00
Urban	26.61	70.30	3.08	100.00
Rural	36.09	62.25	1.66	100.00
D.G Khan	29.51	69.11	1.39	100.00
Urban	20.50	74.78	4.71	100.00
Rural	31.44	67.89	.67	100.00
Faisalabad	23.67	72.58	3.75	100.00
Urban	25.44	71.19	3.38	100.00
Rural	22.05	73.86	4.09	100.00
Gujranwala	15.53	72.93	11.54	100.00
Urban	12.29	73.20	14.51	100.00
Rural	20.41	72.52	7.07	100.00
Gujrat	10.02	78.34	11.64	100.00
Urban	9.65	79.72	10.63	100.00
Rural	10.17	77.78	12.04	100.00
Hafizabad	19.70	73.06	7.24	100.00
Urban	21.01	73.11	5.88	100.00
Rural	18.97	73.03	8.00	100.00
Islamabad	**11.43**	**76.41**	**12.16**	**100.00**
Urban	13.02	73.77	13.21	100.00
Rural	9.73	79.21	11.06	100.00
Jehlum	10.83	78.99	10.18	100.00
Urban	14.63	77.20	8.17	100.00
Rural	9.66	79.54	10.80	100.00
Jhang	20.49	73.32	6.18	100.00
Urban	22.10	71.07	6.83	100.00
Rural	19.89	74.17	5.94	100.00
Kasur	31.85	62.76	5.39	100.00
Urban	44.95	53.93	1.12	100.00
Rural	27.64	65.60	6.76	100.00
Khanewal	27.76	66.05	6.19	100.00
Urban	20.16	71.18	8.66	100.00
Rural	29.58	64.82	5.59	100.00
Khushab	15.66	75.64	8.70	100.00
Urban	16.07	72.72	11.21	100.00
Rural	15.51	76.74	7.75	100.00
Lahore	21.98	69.52	8.50	100.00
Urban	21.98	69.52	8.50	100.00
Rural				

TABLE 7.5: PERCENTAGE DISTRIBUTION OF HOUSEHOLDS BY NUMBER OF ROOMS

PROVINCE & DISTRICT	HOUSING UNITS			
	One Room	2 - 4 Rooms	5 & More Rooms	Total
Layyah	30.42	68.13	1.45	100.00
Urban	12.37	85.52	2.11	100.00
Rural	34.34	64.35	1.31	100.00
Lodhran	22.59	74.30	3.11	100.00
Urban	15.25	82.21	2.54	100.00
Rural	23.98	72.80	3.22	100.00
Mandi Bahauddin	15.04	74.38	10.58	100.00
Urban	14.44	71.82	13.73	100.00
Rural	15.15	74.88	9.97	100.00
Mianwali	27.00	69.48	3.52	100.00
Urban	19.24	76.99	3.77	100.00
Rural	28.89	67.66	3.46	100.00
Multan	24.03	69.14	6.83	100.00
Urban	18.93	72.19	8.87	100.00
Rural	27.82	66.87	5.31	100.00
Muzaffargarh	39.76	57.95	2.29	100.00
Urban	31.25	65.76	2.99	100.00
Rural	41.25	56.59	2.16	100.00
Nankana Sahib	18.51	74.87	6.62	100.00
Urban	20.75	76.85	2.39	100.00
Rural	17.98	74.40	7.62	100.00
Narowal	16.65	72.47	10.88	100.00
Urban	9.92	78.10	11.98	100.00
Rural	17.96	71.38	10.67	100.00
Okara	15.61	79.76	4.62	100.00
Urban	10.97	82.48	6.55	100.00
Rural	17.23	78.82	3.95	100.00
Pakpattan	20.12	75.47	4.41	100.00
Urban	20.41	74.86	4.73	100.00
Rural	20.07	75.58	4.35	100.00
Rahim Yar Khan	32.54	61.04	6.42	100.00
Urban	21.04	71.06	7.90	100.00
Rural	35.59	58.39	6.02	100.00
Rajanpur	32.84	66.54	.63	100.00
Urban	30.03	69.42	.55	100.00
Rural	33.45	65.90	.64	100.00
Rawalpindi	9.77	80.83	9.40	100.00
Urban	12.19	78.12	9.69	100.00
Rural	7.28	83.62	9.10	100.00
Sahiwal	19.89	73.13	6.98	100.00
Urban	16.85	76.25	6.89	100.00
Rural	20.70	72.30	7.00	100.00
Sargodha	21.83	70.62	7.55	100.00
Urban	20.09	67.95	11.96	100.00
Rural	22.56	71.76	5.68	100.00
Sheikhupura	25.99	70.06	3.95	100.00
Urban	29.92	65.63	4.45	100.00
Rural	23.97	72.35	3.68	100.00
Sialkot	15.83	72.68	11.50	100.00
Urban	19.23	72.14	8.63	100.00
Rural	14.30	72.92	12.78	100.00
Toba Tek Singh	19.72	75.58	4.70	100.00
Urban	19.45	74.80	5.76	100.00
Rural	19.80	75.79	4.40	100.00
Vehari	21.81	68.85	9.35	100.00
Urban	19.58	71.89	8.53	100.00
Rural	22.27	68.22	9.51	100.00

TABLE 7.5: PERCENTAGE DISTRIBUTION OF HOUSEHOLDS BY NUMBER OF ROOMS

PROVINCE & DISTRICT	HOUSING UNITS			
	One Room	2 - 4 Rooms	5 & More Rooms	Total
Sindh	**35.61**	**62.95**	**1.43**	**100.00**
Urban	19.16	78.67	2.17	100.00
Rural	56.01	43.47	.52	100.00
Badin	56.40	43.52	.08	100.00
Urban	34.05	65.95	0.00	100.00
Rural	63.60	36.30	.10	100.00
Dadu	40.44	58.53	1.03	100.00
Urban	21.57	75.27	3.16	100.00
Rural	45.84	53.74	.42	100.00
Ghotki	57.57	41.62	.81	100.00
Urban	42.66	55.87	1.47	100.00
Rural	61.39	37.97	.64	100.00
Hyderabad	32.97	65.89	1.15	100.00
Urban	30.34	68.45	1.21	100.00
Rural	48.72	50.50	.78	100.00
Jacobabad	63.46	35.68	.85	100.00
Urban	35.09	62.95	1.96	100.00
Rural	72.57	26.93	.50	100.00
Jamshoro	53.19	46.26	.55	100.00
Urban	39.66	58.90	1.44	100.00
Rural	61.58	38.42	0.00	100.00
Karachi central	9.54	86.03	4.43	100.00
Urban	9.54	86.03	4.43	100.00
Rural				
Karachi East	9.12	88.01	2.87	100.00
Urban	9.12	88.01	2.87	100.00
Rural				
Karachi Malir	22.44	76.74	.82	100.00
Urban	17.15	82.65	.20	100.00
Rural	28.51	69.96	1.54	100.00
Karachi South	12.22	83.96	3.82	100.00
Urban	12.22	83.96	3.82	100.00
Rural				
Karachi West	14.74	84.13	1.13	100.00
Urban	14.26	84.64	1.10	100.00
Rural	24.12	74.17	1.71	100.00
Kashmore	56.03	43.83	.15	100.00
Urban	55.53	44.47	0.00	100.00
Rural	56.17	43.65	.19	100.00
Khairpur	63.16	35.82	1.02	100.00
Urban	56.19	42.89	.91	100.00
Rural	66.18	32.75	1.07	100.00
Korangi	10.91	87.59	1.50	100.00
Urban	10.91	87.59	1.50	100.00
Rural				
Larkana	15.68	83.12	1.19	100.00
Urban	14.29	83.84	1.86	100.00
Rural	16.91	82.49	.61	100.00
Mitiari	58.06	41.94	0.00	100.00
Urban	47.52	52.48	0.00	100.00
Rural	60.90	39.10	0.00	100.00
Mirpur Khas	55.06	42.98	1.96	100.00
Urban	26.59	67.28	6.14	100.00
Rural	65.24	34.29	.46	100.00

TABLE 7.5: PERCENTAGE DISTRIBUTION OF HOUSEHOLDS BY NUMBER OF ROOMS

PROVINCE & DISTRICT	HOUSING UNITS			
	One Room	2 - 4 Rooms	5 & More Rooms	Total
Naushahro Feroze	58.23	41.31	.46	100.00
Urban	51.19	47.45	1.36	100.00
Rural	59.65	40.07	.27	100.00
Sanghar	70.26	29.04	.70	100.00
Urban	56.72	41.35	1.93	100.00
Rural	75.00	24.74	.27	100.00
Shahdadkot	11.31	87.95	.74	100.00
Urban	6.43	91.37	2.20	100.00
Rural	13.77	86.23	0.00	100.00
Shaheed Benazirabad	71.92	27.46	.62	100.00
Urban	52.14	45.84	2.02	100.00
Rural	78.48	21.37	.15	100.00
Shikarpur	60.19	39.12	.69	100.00
Urban	37.54	59.84	2.62	100.00
Rural	67.17	32.73	.10	100.00
Sujawal	52.46	47.19	.36	100.00
Urban	30.73	69.27	0.00	100.00
Rural	54.74	44.86	.39	100.00
Sukkur	43.80	55.01	1.19	100.00
Urban	30.06	67.49	2.45	100.00
Rural	54.70	45.11	.19	100.00
Tando Allah Yar	49.34	49.96	.70	100.00
Urban	24.70	74.02	1.27	100.00
Rural	60.59	38.97	.44	100.00
Tando Muhammad Khan	62.66	36.88	.45	100.00
Urban	52.18	45.84	1.98	100.00
Rural	65.78	34.22	0.00	100.00
Tharparkar	58.62	40.10	1.28	100.00
Urban	50.15	49.85	0.00	100.00
Rural	59.37	39.24	1.39	100.00
Thatta	49.59	50.10	.31	100.00
Urban	35.05	64.57	.39	100.00
Rural	53.73	45.98	.29	100.00
Umerkot	52.16	46.86	.98	100.00
Urban	24.74	72.94	2.32	100.00
Rural	59.60	39.78	.62	100.00

TABLE 7.5: PERCENTAGE DISTRIBUTION OF HOUSEHOLDS BY NUMBER OF ROOMS

PROVINCE & DISTRICT	HOUSING UNITS			
	One Room	2 - 4 Rooms	5 & More Rooms	Total
Khyber Pakhtunkhwa	**16.33**	**74.25**	**9.43**	**100.00**
Urban	15.51	70.84	13.64	100.00
Rural	16.48	74.89	8.63	100.00
Abbottabad	12.04	77.03	10.92	100.00
Urban	6.29	81.68	12.03	100.00
Rural	13.51	75.85	10.64	100.00
Bajur	21.15	67.33	11.52	100.00
Urban				
Rural	21.15	67.33	11.52	100.00
Bannu	14.12	78.78	7.10	100.00
Urban	24.00	65.41	10.59	100.00
Rural	13.67	79.40	6.94	100.00
Batagram	13.88	78.14	7.99	100.00
Urban				
Rural	13.88	78.14	7.99	100.00
Buner	16.67	75.21	8.11	100.00
Urban				
Rural	16.67	75.21	8.11	100.00
Charsadda	26.80	66.81	6.39	100.00
Urban	26.57	63.86	9.57	100.00
Rural	26.86	67.54	5.60	100.00
Chitral	17.43	67.56	15.01	100.00
Urban	10.89	76.24	12.87	100.00
Rural	18.27	66.45	15.28	100.00
D.I Khan	12.61	82.24	5.15	100.00
Urban	10.23	82.83	6.94	100.00
Rural	13.25	82.09	4.67	100.00
Hangu	16.71	71.48	11.81	100.00
Urban	17.77	67.83	14.40	100.00
Rural	16.55	72.02	11.43	100.00
Haripur	11.57	75.82	12.61	100.00
Urban	3.34	73.23	23.42	100.00
Rural	12.68	76.17	11.16	100.00
Karak	12.08	84.27	3.65	100.00
Urban	17.86	64.29	17.86	100.00
Rural	11.84	85.08	3.07	100.00
Khyber	9.66	80.33	10.01	100.00
Urban	17.24	75.86	6.90	100.00
Rural	8.24	81.16	10.60	100.00
Kohat	26.43	65.79	7.79	100.00
Urban	19.62	73.23	7.16	100.00
Rural	27.72	64.37	7.91	100.00
Kohistan	10.40	85.95	3.65	100.00
Urban				
Rural	10.40	85.95	3.65	100.00
Khurram	16.50	62.67	20.83	100.00
Urban				
Rural	16.50	62.67	20.83	100.00
Lakki Marwat	14.85	79.24	5.91	100.00
Urban	6.64	84.69	8.68	100.00
Rural	15.79	78.62	5.59	100.00
Lower Dir	15.17	68.62	16.21	100.00
Urban	6.67	66.67	26.67	100.00
Rural	15.25	68.64	16.12	100.00

TABLE 7.5: PERCENTAGE DISTRIBUTION OF HOUSEHOLDS BY NUMBER OF ROOMS

PROVINCE & DISTRICT	HOUSING UNITS			
	One Room	2 - 4 Rooms	5 & More Rooms	Total
Malakand PA	23.33	66.62	10.05	100.00
Urban	40.74	55.56	3.70	100.00
Rural	21.54	67.75	10.71	100.00
Mansehra	13.16	81.57	5.26	100.00
Urban	15.49	75.05	9.46	100.00
Rural	13.01	82.01	4.98	100.00
Mardan	22.50	70.44	7.07	100.00
Urban	27.69	67.09	5.22	100.00
Rural	21.35	71.17	7.47	100.00
Mohmand	18.48	71.86	9.66	100.00
Urban				
Rural	18.48	71.86	9.66	100.00
North Waziristan	16.40	79.28	4.32	100.00
Urban				
Rural	16.40	79.28	4.32	100.00
Nowshera	25.26	67.08	7.66	100.00
Urban	24.30	70.48	5.23	100.00
Rural	25.54	66.09	8.37	100.00
Orakzai	9.81	88.59	1.60	100.00
Urban				
Rural	9.81	88.59	1.60	100.00
Peshawar	16.70	67.08	16.21	100.00
Urban	10.89	66.44	22.68	100.00
Rural	21.40	67.60	11.00	100.00
Shangla	18.96	74.68	6.36	100.00
Urban				
Rural	18.96	74.68	6.36	100.00
South Waziristan	8.40	84.08	7.52	100.00
Urban				
Rural	8.40	84.08	7.52	100.00
Swabi	20.06	72.92	7.03	100.00
Urban	17.69	72.94	9.36	100.00
Rural	20.50	72.91	6.59	100.00
Swat	13.28	71.32	15.40	100.00
Urban	19.87	69.94	10.19	100.00
Rural	10.01	72.01	17.98	100.00
Tank	4.80	91.22	3.98	100.00
Urban	6.67	63.33	30.00	100.00
Rural	4.68	93.08	2.25	100.00
Tor Ghar	16.60	80.58	2.82	100.00
Urban				
Rural	16.60	80.58	2.82	100.00
Upper Dir	17.60	69.40	13.00	100.00
Urban	21.43	71.43	7.14	100.00
Rural	17.42	69.30	13.28	100.00

TABLE 7.5: PERCENTAGE DISTRIBUTION OF HOUSEHOLDS BY NUMBER OF ROOMS

PROVINCE & DISTRICT	HOUSING UNITS			
	One Room	2 - 4 Rooms	5 & More Rooms	Total
Balochistan	**23.30**	**65.74**	**10.96**	**100.00**
Urban	13.79	76.52	9.69	100.00
Rural	26.85	61.72	11.43	100.00
Awaran	61.15	38.85	0.00	100.00
Urban	30.00	70.00	0.00	100.00
Rural	64.53	35.47	0.00	100.00
Barkhan	2.02	94.41	3.57	100.00
Urban	0.00	93.33	6.67	100.00
Rural	2.47	94.64	2.89	100.00
Dera Bugti	14.30	85.30	.40	100.00
Urban	11.09	88.91	0.00	100.00
Rural	15.51	83.93	.55	100.00
Duki	.75	93.04	6.22	100.00
Urban	3.33	96.67	0.00	100.00
Rural	.40	92.55	7.06	100.00
Gwadar	20.49	78.27	1.24	100.00
Urban	10.69	87.54	1.77	100.00
Rural	37.09	62.56	.34	100.00
Harnai	3.37	86.36	10.27	100.00
Urban	2.55	83.97	13.49	100.00
Rural	3.69	87.32	8.99	100.00
Jaffarabad	61.94	37.81	.25	100.00
Urban	32.40	67.09	.51	100.00
Rural	73.41	26.45	.15	100.00
Kachhi(Bolan)	35.27	63.28	1.44	100.00
Urban	26.77	72.17	1.06	100.00
Rural	36.44	62.06	1.50	100.00
Kalat	41.01	58.12	.87	100.00
Urban				
Rural	41.01	58.12	.87	100.00
Ketch /Turbat	32.63	67.21	.16	100.00
Urban	30.97	69.03	0.00	100.00
Rural	33.41	66.36	.24	100.00
Kharan	11.37	86.80	1.83	100.00
Urban	14.90	81.04	4.06	100.00
Rural	10.44	88.31	1.25	100.00
Khuzdar	58.84	41.07	.09	100.00
Urban				
Rural	58.84	41.07	.09	100.00
Kohlu	1.56	73.13	25.30	100.00
Urban	0.00	73.08	26.92	100.00
Rural	1.82	73.14	25.03	100.00
Lasbela	15.19	84.55	.26	100.00
Urban	11.45	88.05	.50	100.00
Rural	19.23	80.77	0.00	100.00
Loralai	1.43	91.92	6.65	100.00
Urban	.96	91.56	7.48	100.00
Rural	1.79	92.20	6.01	100.00

TABLE 7.5: PERCENTAGE DISTRIBUTION OF HOUSEHOLDS BY NUMBER OF ROOMS

PROVINCE & DISTRICT	HOUSING UNITS			
	One Room	2 - 4 Rooms	5 & More Rooms	Total
Mastung	29.96	64.89	5.14	100.00
Urban	16.30	83.70	0.00	100.00
Rural	33.20	60.44	6.36	100.00
Nasirabad	58.05	41.95	0.00	100.00
Urban	31.86	68.14	0.00	100.00
Rural	63.47	36.53	0.00	100.00
Nushki	5.25	94.28	.48	100.00
Urban	1.09	97.02	1.89	100.00
Rural	6.52	93.43	.04	100.00
Pishin	.84	60.22	38.95	100.00
Urban	0.00	75.92	24.08	100.00
Rural	1.04	56.46	42.50	100.00
Qilla Abdullah	14.52	54.77	30.72	100.00
Urban	3.67	50.73	45.60	100.00
Rural	15.94	55.30	28.76	100.00
Qilla Saifullah	8.66	73.90	17.43	100.00
Urban				
Rural	8.66	73.90	17.43	100.00
Quetta	6.55	69.98	23.48	100.00
Urban	9.55	73.10	17.35	100.00
Rural	3.91	67.24	28.84	100.00
Shaheed Sikandar	54.18	45.82	0.00	100.00
Urban				
Rural	54.18	45.82	0.00	100.00
Sheerani	0.00	94.84	5.16	100.00
Urban				
Rural	0.00	94.84	5.16	100.00
Sibi	44.96	49.36	5.68	100.00
Urban	17.72	68.47	13.81	100.00
Rural	62.82	36.83	.35	100.00
Sohbat pur	66.83	33.17	0.00	100.00
Urban	32.14	67.86	0.00	100.00
Rural	69.67	30.33	0.00	100.00
Washuk	23.90	75.18	.92	100.00
Urban	32.73	65.54	1.73	100.00
Rural	22.22	77.01	.76	100.00
Zhob				
Urban				
Rural				
Ziarat	4.83	85.04	10.14	100.00
Urban	30.77	69.23	0.00	100.00
Rural	4.39	85.30	10.31	100.00

Note: Chaghi, Jhal Magsi , Musakhel, Pnjgor, Zhob districts has been droped from the scope of the survey .

TABLE 7.6: PERCENT DISTRIBUTION OF HOUSEHOLDS BY MATERIAL USED FOR ROOF

PROVINCE & DISTRICT	MATERIAL USED FOR ROOF					
	RCC/RBC	WOOD/ BAMBOO	SHEET/IRON/CEMENT	T-R/GAR	OTHER	TOTAL
Pakistan	**33.31**	**22.86**	**4.05**	**39.19**	**.59**	**100.00**
Urban	59.74	6.63	4.85	28.29	.49	100.00
Rural	16.64	33.09	3.55	46.06	.65	100.00
Punjab	**35.57**	**12.64**	**1.38**	**49.95**	**.45**	**100.00**
Urban	63.89	5.13	1.65	28.96	.36	100.00
Rural	18.33	17.22	1.22	62.73	.51	100.00
Attock	65.99	7.13	1.54	25.03	.32	100.00
Urban	85.94	2.95	.35	10.76	0.00	100.00
Rural	58.53	8.68	1.98	30.36	.44	100.00
Bhawal Nagar	11.43	20.26	.29	67.40	.62	100.00
Urban	34.70	8.92	.28	56.10	0.00	100.00
Rural	5.44	23.18	.29	70.31	.78	100.00
Bahawalpur	9.44	5.61	.92	83.84	.19	100.00
Urban	25.37	1.51	2.26	70.48	.39	100.00
Rural	2.16	7.49	.31	89.94	.10	100.00
Bhakkar	1.90	15.66	.98	80.61	.86	100.00
Urban	8.85	15.23	.28	73.75	1.88	100.00
Rural	.70	15.73	1.10	81.79	.68	100.00
Chakwal	29.68	5.64	3.99	59.11	1.58	100.00
Urban	72.40	3.90	3.44	20.26	0.00	100.00
Rural	21.12	5.98	4.10	66.90	1.90	100.00
Chiniot	5.68	17.98	.10	76.02	.21	100.00
Urban	15.02	14.71	.31	69.95	0.00	100.00
Rural	1.14	19.58	0.00	78.97	.31	100.00
D.G Khan	3.58	41.20	.07	55.09	.06	100.00
Urban	18.99	5.46	0.00	75.55	0.00	100.00
Rural	.28	48.86	.09	50.71	.07	100.00
Faisalabad	24.92	11.06	.21	63.60	.20	100.00
Urban	44.06	4.96	.18	50.68	.11	100.00
Rural	7.42	16.63	.24	75.41	.29	100.00
Gujranwala	74.28	14.07	1.78	9.65	.21	100.00
Urban	87.86	6.49	.55	4.74	.36	100.00
Rural	53.82	25.49	3.65	17.05	0.00	100.00
Gujrat	62.26	16.18	2.05	19.07	.44	100.00
Urban	77.55	12.65	.94	7.35	1.51	100.00
Rural	56.10	17.61	2.50	23.79	0.00	100.00
Hafizabad	36.00	27.65	6.77	29.51	.06	100.00
Urban	57.02	20.49	5.74	16.75	0.00	100.00
Rural	24.23	31.66	7.35	36.66	.10	100.00
Islamabad	**91.13**	**1.26**	**1.62**	**5.41**	**.59**	**100.00**
Urban	85.25	1.71	2.85	9.04	1.15	100.00
Rural	97.36	.79	.31	1.55	0.00	100.00
Jehlum	47.75	9.62	4.11	38.33	.20	100.00
Urban	80.23	4.68	.88	14.21	0.00	100.00
Rural	37.73	11.15	5.10	45.77	.26	100.00
Jhang	5.58	9.57	.20	84.10	.55	100.00
Urban	15.35	9.81	.21	73.26	1.38	100.00
Rural	1.93	9.48	.19	88.15	.24	100.00
Kasur	34.98	9.40	.72	54.26	.63	100.00
Urban	59.64	6.85	0.00	32.55	.97	100.00
Rural	27.04	10.23	.96	61.25	.52	100.00
Khanewal	5.37	12.42	.53	81.12	.56	100.00
Urban	18.87	2.82	1.23	76.66	.41	100.00
Rural	2.13	14.72	.37	82.19	.60	100.00
Khushab	9.69	22.63	1.03	66.53	.11	100.00
Urban	28.12	12.14	.53	58.80	.40	100.00
Rural	2.73	26.60	1.22	69.45	0.00	100.00
Lahore	86.80	2.11	1.59	9.23	.28	100.00
Urban	86.80	2.11	1.59	9.23	.28	100.00
Rural						

TABLE 7.6: PERCENT DISTRIBUTION OF HOUSEHOLDS BY MATERIAL USED FOR ROOF

PROVINCE & DISTRICT	MATERIAL USED FOR ROOF					
	RCC/RBC	WOOD/ BAMBOO	SHEET/IRON/CEMENT	T-R/GAR	OTHER	TOTAL
Layyah	3.21	15.60	.13	80.61	.44	100.00
Urban	7.59	1.06	0.00	91.36	0.00	100.00
Rural	2.26	18.76	.16	78.28	.54	100.00
Lodhran	7.17	13.51	.03	79.29	0.00	100.00
Urban	26.68	4.46	0.00	68.86	0.00	100.00
Rural	3.45	15.23	.04	81.28	0.00	100.00
Mandi Bahauddin	38.71	24.46	5.15	31.58	.10	100.00
Urban	75.56	8.34	.57	15.54	0.00	100.00
Rural	31.51	27.61	6.05	34.71	.12	100.00
Mianwali	7.56	14.00	.74	71.01	6.70	100.00
Urban	10.99	15.86	1.15	70.93	1.07	100.00
Rural	6.73	13.54	.64	71.03	8.06	100.00
Multan	21.44	14.56	3.00	60.78	.23	100.00
Urban	41.71	7.00	6.01	44.86	.43	100.00
Rural	6.34	20.19	.76	72.63	.08	100.00
Muzaffargarh	2.74	21.35	.96	74.88	.07	100.00
Urban	10.78	9.75	5.85	73.41	.21	100.00
Rural	1.34	23.38	.10	75.14	.04	100.00
Nankana Sahib	22.59	21.20	4.49	51.58	.14	100.00
Urban	32.96	19.78	0.00	47.27	0.00	100.00
Rural	20.14	21.54	5.55	52.60	.17	100.00
Narowal	48.80	16.43	.85	33.81	.11	100.00
Urban	79.83	11.04	0.00	9.13	0.00	100.00
Rural	42.79	17.48	1.01	38.60	.13	100.00
Okara	15.83	5.10	.18	78.67	.22	100.00
Urban	49.26	4.04	0.00	46.70	0.00	100.00
Rural	4.21	5.47	.24	89.78	.29	100.00
Pakpattan	5.72	7.05	.19	87.04	0.00	100.00
Urban	22.83	4.82	0.00	72.35	0.00	100.00
Rural	2.79	7.43	.23	89.55	0.00	100.00
Rahim Yar Khan	8.89	11.43	.66	78.77	.26	100.00
Urban	33.44	4.57	2.71	59.27	0.00	100.00
Rural	2.38	13.25	.12	83.94	.32	100.00
Rajanpur	1.49	51.98	.06	46.47	0.00	100.00
Urban	5.84	8.22	0.00	85.94	0.00	100.00
Rural	.54	61.54	.07	37.84	0.00	100.00
Rawalpindi	79.24	2.36	5.96	11.80	.64	100.00
Urban	90.84	1.42	4.57	2.79	.38	100.00
Rural	67.32	3.33	7.38	21.06	.92	100.00
Sahiwal	12.30	7.64	.58	79.34	.15	100.00
Urban	44.75	5.35	1.51	48.39	0.00	100.00
Rural	3.65	8.25	.33	87.59	.19	100.00
Sargodha	17.12	21.58	1.39	59.18	.72	100.00
Urban	44.20	13.53	3.15	38.85	.27	100.00
Rural	5.65	25.00	.64	67.80	.91	100.00
Sheikhupura	55.38	15.43	.53	27.35	1.32	100.00
Urban	75.16	6.67	.14	16.77	1.27	100.00
Rural	45.20	19.93	.72	32.79	1.34	100.00
Sialkot	78.84	13.18	.66	6.96	.36	100.00
Urban	90.81	6.48	.33	2.17	.21	100.00
Rural	73.47	16.18	.81	9.10	.43	100.00
Toba Tek Singh	6.75	14.71	.20	78.30	.04	100.00
Urban	22.75	11.78	.58	64.89	0.00	100.00
Rural	2.29	15.53	.09	82.04	.05	100.00
Vehari	9.85	6.26	.32	83.35	.22	100.00
Urban	35.88	5.89	.32	57.26	.65	100.00
Rural	4.49	6.34	.32	88.72	.13	100.00

TABLE 7.6: PERCENT DISTRIBUTION OF HOUSEHOLDS BY MATERIAL USED FOR ROOF

PROVINCE & DISTRICT	MATERIAL USED FOR ROOF					
	RCC/RBC	WOOD/ BAMBOO	SHEET/IRON/CEMENT	T-R/GAR	OTHER	TOTAL
Sindh	**32.91**	**28.68**	**6.75**	**30.55**	**1.11**	**100.00**
Urban	56.36	5.26	9.35	28.25	.77	100.00
Rural	3.85	57.70	3.52	33.40	1.54	100.00
Badin	7.76	64.01	0.00	27.59	.65	100.00
Urban	28.03	27.26	0.00	42.06	2.65	100.00
Rural	1.23	75.84	0.00	22.93	0.00	100.00
Dadu	1.31	31.27	.25	67.17	0.00	100.00
Urban	5.14	10.16	.30	84.40	0.00	100.00
Rural	.21	37.32	.24	62.23	0.00	100.00
Ghotki	3.22	41.58	0.00	54.99	.21	100.00
Urban	13.66	12.59	0.00	73.75	0.00	100.00
Rural	.55	49.00	0.00	50.19	.26	100.00
Hyderabad	64.28	7.83	.71	27.02	.16	100.00
Urban	74.15	5.46	.83	19.45	.10	100.00
Rural	4.97	22.05	0.00	72.51	.47	100.00
Jacobabad	1.11	64.75	.40	31.54	2.20	100.00
Urban	4.30	17.80	0.00	77.90	0.00	100.00
Rural	.09	79.82	.53	16.66	2.90	100.00
Jamshoro	10.36	39.13	3.25	47.18	.08	100.00
Urban	24.96	6.65	.58	67.80	0.00	100.00
Rural	1.31	59.27	4.91	34.39	.12	100.00
Karachi central	81.14	0.00	7.38	10.06	1.42	100.00
Urban	81.14	0.00	7.38	10.06	1.42	100.00
Rural						
Karachi East	74.65	.52	8.24	13.76	2.83	100.00
Urban	74.65	.52	8.24	13.76	2.83	100.00
Rural						
Karachi Malir	48.79	1.94	30.43	18.79	.04	100.00
Urban	52.41	0.00	24.39	23.20	0.00	100.00
Rural	44.63	4.18	37.37	13.74	.08	100.00
Karachi South	84.48	0.00	3.40	11.98	.14	100.00
Urban	84.48	0.00	3.40	11.98	.14	100.00
Rural						
Karachi west	50.76	.58	26.45	22.03	.19	100.00
Urban	52.89	.05	25.64	21.28	.15	100.00
Rural	9.05	11.08	42.39	36.56	.92	100.00
Kashmore	0.00	64.13	0.00	35.68	.19	100.00
Urban	0.00	49.93	0.00	49.64	.43	100.00
Rural	0.00	68.11	0.00	31.77	.12	100.00
Khairpur	.37	41.80	.21	57.44	.18	100.00
Urban	.77	24.31	.15	74.41	.36	100.00
Rural	.20	49.40	.24	50.07	.09	100.00
Korangi	74.70	0.00	9.96	15.14	.20	100.00
Urban	74.70	0.00	9.96	15.14	.20	100.00
Rural						
Larkana	1.32	33.03	.06	64.87	.72	100.00
Urban	1.50	7.39	0.00	91.11	0.00	100.00
Rural	1.17	55.59	.12	41.76	1.36	100.00
Mitiari	10.41	31.89	.29	57.20	.21	100.00
Urban	32.83	10.33	0.00	56.84	0.00	100.00
Rural	4.39	37.69	.36	57.29	.27	100.00
Mirpur Khas	16.48	59.76	0.00	23.76	0.00	100.00
Urban	48.93	12.92	0.00	38.15	0.00	100.00
Rural	4.88	76.50	0.00	18.62	0.00	100.00

TABLE 7.6: PERCENT DISTRIBUTION OF HOUSEHOLDS BY MATERIAL USED FOR ROOF

PROVINCE & DISTRICT	MATERIAL USED FOR ROOF					
	RCC/RBC	WOOD/ BAMBOO	SHEET/IRON/CEMENT	T-R/GAR	OTHER	TOTAL
Naushahro Feroze	1.53	35.75	.37	62.35	0.00	100.00
Urban	8.31	10.45	0.00	81.24	0.00	100.00
Rural	.16	40.86	.45	58.54	0.00	100.00
Sanghar	6.88	47.20	.14	39.46	6.32	100.00
Urban	24.49	20.11	.26	51.73	3.40	100.00
Rural	.72	56.67	.09	35.17	7.34	100.00
Shahdadkot	1.16	52.88	0.00	45.87	.09	100.00
Urban	3.24	11.99	0.00	84.77	0.00	100.00
Rural	.11	73.47	0.00	26.29	.14	100.00
Shaheed Benazirabad	2.96	50.95	0.00	42.82	3.27	100.00
Urban	11.68	31.65	0.00	56.67	0.00	100.00
Rural	.08	57.35	0.00	38.23	4.35	100.00
Shikarpur	.29	53.30	.26	45.98	.16	100.00
Urban	1.24	13.90	0.00	84.16	.69	100.00
Rural	0.00	65.45	.34	34.21	0.00	100.00
Sujawal	4.06	60.63	5.96	18.73	10.62	100.00
Urban	5.89	21.67	12.19	60.26	0.00	100.00
Rural	3.87	64.73	5.30	14.36	11.74	100.00
Sukkur	7.60	33.76	1.11	56.95	.58	100.00
Urban	16.53	10.66	2.51	69.89	.41	100.00
Rural	.52	52.08	0.00	46.69	.71	100.00
Tando Allah Yar	23.89	41.39	.16	34.45	.11	100.00
Urban	52.35	9.59	0.00	38.06	0.00	100.00
Rural	10.88	55.92	.23	32.80	.16	100.00
Tando Muhammad Khan	5.84	61.30	.12	32.41	.33	100.00
Urban	15.27	28.49	0.00	54.80	1.44	100.00
Rural	3.04	71.05	.16	25.76	0.00	100.00
Tharparkar	0.00	92.24	0.00	7.76	0.00	100.00
Urban	0.00	74.21	0.00	25.79	0.00	100.00
Rural	0.00	93.83	0.00	6.17	0.00	100.00
Thatta	5.05	52.07	23.51	12.58	6.80	100.00
Urban	11.34	40.15	35.02	12.37	1.12	100.00
Rural	3.26	55.46	20.23	12.64	8.41	100.00
Umerkot	6.12	67.17	0.00	25.89	.81	100.00
Urban	28.69	18.57	0.00	52.74	0.00	100.00
Rural	0.00	80.36	0.00	18.61	1.03	100.00

TABLE 7.6: PERCENT DISTRIBUTION OF HOUSEHOLDS BY MATERIAL USED FOR ROOF

PROVINCE & DISTRICT	MATERIAL USED FOR ROOF					
	RCC/RBC	WOOD/ BAMBOO	SHEET/IRON/CEMENT	T-R/GAR	OTHER	TOTAL
Khyber Pakhtunkhwa	**35.08**	**35.25**	**8.68**	**20.76**	**.23**	**100.00**
Urban	68.47	14.28	2.36	14.83	.07	100.00
Rural	28.78	39.21	9.87	21.88	.27	100.00
Abbottabad	59.78	11.84	27.84	.47	.06	100.00
Urban	95.18	.73	4.10	0.00	0.00	100.00
Rural	50.77	14.67	33.89	.59	.08	100.00
Bajur	9.23	86.08	.98	3.05	.66	100.00
Urban						
Rural	9.23	86.08	.98	3.05	.66	100.00
Bannu	12.08	29.96	.20	57.77	0.00	100.00
Urban	59.05	6.93	0.00	34.02	0.00	100.00
Rural	9.91	31.02	.20	58.87	0.00	100.00
Batagram	30.78	19.17	49.19	.30	.57	100.00
Urban						
Rural	30.78	19.17	49.19	.30	.57	100.00
Buner	54.28	43.13	1.21	1.38	0.00	100.00
Urban						
Rural	54.28	43.13	1.21	1.38	0.00	100.00
Charsadda	37.26	42.87	6.26	13.55	.06	100.00
Urban	55.63	38.71	1.47	4.19	0.00	100.00
Rural	32.67	43.91	7.45	15.88	.08	100.00
Chitral	4.88	53.68	41.30	.15	0.00	100.00
Urban	24.75	25.74	49.51	0.00	0.00	100.00
Rural	2.33	57.26	40.24	.17	0.00	100.00
D.I Khan	3.40	35.63	.06	60.68	.23	100.00
Urban	8.40	16.51	.29	74.80	0.00	100.00
Rural	2.06	40.74	0.00	56.90	.29	100.00
Hangu	28.19	33.97	.07	37.76	0.00	100.00
Urban	58.52	18.32	.57	22.59	0.00	100.00
Rural	23.72	36.28	0.00	40.00	0.00	100.00
Haripur	73.33	14.11	3.35	8.78	.43	100.00
Urban	100.00	0.00	0.00	0.00	0.00	100.00
Rural	69.74	16.01	3.80	9.96	.49	100.00
Karak	2.92	16.71	.14	80.09	.14	100.00
Urban	17.86	3.57	3.57	71.43	3.57	100.00
Rural	2.31	17.24	0.00	80.45	0.00	100.00
Khyber	8.45	48.38	.94	42.01	.21	100.00
Urban	3.45	51.72	0.00	44.83	0.00	100.00
Rural	9.39	47.76	1.12	41.49	.25	100.00
Kohat	36.81	18.87	.22	44.10	0.00	100.00
Urban	65.36	5.11	0.00	29.52	0.00	100.00
Rural	31.36	21.49	.26	46.88	0.00	100.00
Kohistan	4.47	62.89	31.83	.16	.65	100.00
Urban						
Rural	4.47	62.89	31.83	.16	.65	100.00
khurram	19.12	65.24	3.76	11.05	.83	100.00
Urban						
Rural	19.12	65.24	3.76	11.05	.83	100.00
Lakki Marwat	1.72	29.47	.12	68.69	0.00	100.00
Urban	11.74	1.53	0.00	86.73	0.00	100.00
Rural	.57	32.68	.13	66.62	0.00	100.00
Lower Dir	44.84	45.78	6.40	.55	2.44	100.00
Urban	80.00	20.00	0.00	0.00	0.00	100.00
Rural	44.51	46.01	6.46	.56	2.46	100.00
Malakand PA	48.72	26.64	18.17	6.22	.25	100.00
Urban	77.78	22.22	0.00	0.00	0.00	100.00
Rural	45.73	27.10	20.04	6.86	.27	100.00
Mansehra	40.34	12.64	38.31	8.71	0.00	100.00
Urban	86.64	0.00	13.36	0.00	0.00	100.00
Rural	37.26	13.48	39.98	9.29	0.00	100.00
Mardan	44.56	31.88	6.99	16.57	0.00	100.00
Urban	51.10	26.70	3.69	18.51	0.00	100.00
Rural	43.11	33.03	7.71	16.15	0.00	100.00
Mohmand	4.74	87.55	.17	7.35	.19	100.00
Urban						
Rural	4.74	87.55	.17	7.35	.19	100.00
North Waziristan	1.29	37.89	.58	60.24	0.00	100.00
Urban						
Rural	1.29	37.89	.58	60.24	0.00	100.00
Nowshera	48.09	34.91	3.39	13.54	.07	100.00
Urban	67.74	25.60	.31	6.04	.31	100.00
Rural	42.38	37.62	4.28	15.72	0.00	100.00

TABLE 7.6: PERCENT DISTRIBUTION OF HOUSEHOLDS BY MATERIAL USED FOR ROOF

PROVINCE & DISTRICT	MATERIAL USED FOR ROOF					
	RCC/RBC	WOOD/ BAMBOO	SHEET/IRON/CEMENT	T-R/GAR	OTHER	TOTAL
Orkazai	4.34	94.17	0.00	1.48	0.00	100.00
Urban						
Rural	4.34	94.17	0.00	1.48	0.00	100.00
Peshawar	61.34	26.06	1.22	11.06	.31	100.00
Urban	86.93	9.64	.66	2.68	.09	100.00
Rural	40.72	39.30	1.67	17.82	.49	100.00
Shangla	20.46	45.13	34.41	0.00	0.00	100.00
Urban						
Rural	20.46	45.13	34.41	0.00	0.00	100.00
South Waziristan	1.50	70.37	4.06	24.07	0.00	100.00
Urban						
Rural	1.50	70.37	4.06	24.07	0.00	100.00
Swabi	62.63	20.75	1.25	15.37	0.00	100.00
Urban	88.64	6.30	1.39	3.67	0.00	100.00
Rural	57.79	23.44	1.23	17.55	0.00	100.00
Swat	59.96	34.86	4.65	.52	0.00	100.00
Urban	79.36	15.87	4.48	.29	0.00	100.00
Rural	50.34	44.29	4.73	.64	0.00	100.00
Tank	.63	59.24	0.00	39.62	.52	100.00
Urban	10.00	3.33	0.00	86.67	0.00	100.00
Rural	0.00	62.97	0.00	36.48	.55	100.00
Tor Ghar	16.64	67.77	15.35	0.00	.24	100.00
Urban						
Rural	16.64	67.77	15.35	0.00	.24	100.00
Upper Dir	23.91	59.29	16.34	.36	.10	100.00
Urban	71.43	7.14	17.86	3.57	0.00	100.00
Rural	21.62	61.80	16.27	.20	.10	100.00

TABLE 7.6: PERCENT DISTRIBUTION OF HOUSEHOLDS BY MATERIAL USED FOR ROOF

PROVINCE & DISTRICT	MATERIAL USED FOR ROOF					
	RCC/RBC	WOOD/ BAMBOO	SHEET/IRON/CEMENT	T-R/GAR	OTHER	TOTAL
Balochistan	**8.52**	**61.25**	**4.76**	**25.11**	**.36**	**100.00**
Urban	22.97	28.64	7.75	40.55	.09	100.00
Rural	3.13	73.39	3.65	19.36	.46	100.00
Awaran	.38	99.62	0.00	0.00	0.00	100.00
Urban	0.00	100.00	0.00	0.00	0.00	100.00
Rural	.42	99.58	0.00	0.00	0.00	100.00
Barkhan	2.54	88.09	0.00	9.37	0.00	100.00
Urban	13.33	70.00	0.00	16.67	0.00	100.00
Rural	.19	92.03	0.00	7.78	0.00	100.00
Dera Bugti	.42	79.95	.40	19.23	0.00	100.00
Urban	0.00	31.14	0.00	68.86	0.00	100.00
Rural	.59	98.47	.56	.39	0.00	100.00
Duki	0.00	99.70	0.00	.30	0.00	100.00
Urban	0.00	100.00	0.00	0.00	0.00	100.00
Rural	0.00	99.66	0.00	.34	0.00	100.00
Gwadar	1.36	42.74	4.65	51.25	0.00	100.00
Urban	1.25	30.04	6.38	62.33	0.00	100.00
Rural	1.55	64.26	1.71	32.48	0.00	100.00
Harnai	3.01	74.71	1.34	17.68	3.26	100.00
Urban	9.99	36.12	3.52	50.37	0.00	100.00
Rural	.23	90.08	.47	4.66	4.55	100.00
Jaffarabad	.63	68.06	0.00	29.28	2.04	100.00
Urban	1.28	27.02	0.00	71.69	0.00	100.00
Rural	.38	83.97	0.00	12.82	2.82	100.00
Kachhi(Bolan)	.72	76.95	0.00	21.78	.55	100.00
Urban	3.07	58.73	0.00	38.20	0.00	100.00
Rural	.39	79.46	0.00	19.52	.62	100.00
Kalat	1.39	88.38	.33	9.75	.15	100.00
Urban						
Rural	1.39	88.38	.33	9.75	.15	100.00
Ketch/Turbat	.98	54.75	3.25	40.85	.17	100.00
Urban	2.38	41.21	3.36	53.06	0.00	100.00
Rural	.33	61.06	3.20	35.16	.25	100.00
Kharan	4.97	82.90	.76	11.37	0.00	100.00
Urban	12.85	31.72	3.65	51.78	0.00	100.00
Rural	2.91	96.31	0.00	.78	0.00	100.00
Khuzdar	1.07	98.68	0.00	.25	0.00	100.00
Urban						
Rural	1.07	98.68	0.00	.25	0.00	100.00
Kohlu	9.64	58.11	3.55	28.01	.69	100.00
Urban	3.85	88.46	0.00	7.69	0.00	100.00
Rural	10.61	53.01	4.14	31.42	.81	100.00
Lasbela	19.38	40.83	23.14	16.65	0.00	100.00
Urban	37.32	18.17	25.80	18.71	0.00	100.00
Rural	0.00	65.33	20.26	14.41	0.00	100.00
Loralai	7.34	72.83	1.68	18.16	0.00	100.00
Urban	10.89	58.20	3.54	27.38	0.00	100.00
Rural	4.59	84.14	.24	11.03	0.00	100.00
Mastung	.87	42.58	39.68	16.29	.57	100.00
Urban	0.00	32.20	24.92	42.88	0.00	100.00
Rural	1.08	45.03	43.18	10.00	.71	100.00
Nasirabad	0.00	75.65	.34	22.87	1.14	100.00
Urban	0.00	24.93	.56	74.01	.49	100.00
Rural	0.00	86.16	.30	12.27	1.27	100.00
Nushki	9.39	67.50	0.00	22.85	.26	100.00
Urban	4.24	45.06	0.00	50.69	0.00	100.00
Rural	10.97	74.39	0.00	14.30	.34	100.00
Pishin	2.83	64.72	5.28	27.15	.02	100.00
Urban	9.31	42.26	12.96	35.47	0.00	100.00
Rural	1.28	70.09	3.44	25.16	.02	100.00
Qilla Abdullah	.79	86.01	.18	12.59	.43	100.00
Urban	1.58	54.03	0.00	44.39	0.00	100.00
Rural	.68	90.20	.20	8.42	.49	100.00
Qilla Saifullah	.16	93.60	1.93	1.35	2.96	100.00
Urban						
Rural	.16	93.60	1.93	1.35	2.96	100.00
Quetta	30.71	16.49	4.14	48.55	.11	100.00
Urban	47.35	12.57	6.04	33.79	.24	100.00
Rural	16.13	19.92	2.47	61.48	0.00	100.00
Shaheed Sikandr Aabad	.37	95.07	0.00	4.56	0.00	100.00
Urban						
Rural	.37	95.07	0.00	4.56	0.00	100.00

TABLE 7.6: PERCENT DISTRIBUTION OF HOUSEHOLDS BY MATERIAL USED FOR ROOF

PROVINCE & DISTRICT	MATERIAL USED FOR ROOF					
	RCC/RBC	WOOD/ BAMBOO	SHEET/IRON/CEMENT	T-R/GAR	OTHER	TOTAL
Sheerani	0.00	100.00	0.00	0.00	0.00	100.00
Urban						
Rural	0.00	100.00	0.00	0.00	0.00	100.00
Sibi	4.88	64.65	.29	30.16	.03	100.00
Urban	11.77	24.01	.72	63.50	0.00	100.00
Rural	.36	91.29	0.00	8.30	.04	100.00
Sohbatpur	0.00	84.51	0.00	15.49	0.00	100.00
Urban	0.00	25.00	0.00	75.00	0.00	100.00
Rural	0.00	89.38	0.00	10.62	0.00	100.00
Washuk	10.59	67.83	0.00	21.47	.11	100.00
Urban	24.17	75.83	0.00	0.00	0.00	100.00
Rural	8.01	66.32	0.00	25.54	.13	100.00
Ziarat	0.00	79.40	18.29	1.26	1.05	100.00
Urban	0.00	11.54	88.46	0.00	0.00	100.00
Rural	0.00	80.55	17.10	1.29	1.06	100.00

Note: Chaghi, Jhal Magsi , Musakhel, Pnjgor, Zhob districts has been droped from the scope of the survey .

TABLE 7.7: PERCENT DISTRIBUTION OF HOUSEHOLD BY MATERIAL USED FOR WALLS

PROVINCE & DISTRICT	MATERIAL USED FOR WALLS				
	BURNT BRICKS /BLOCKS	MUD BRICKS/MUD	WOOD	OTHER	TOTAL
Pakistan	**79.84**	**15.32**	**1.62**	**3.21**	**100.00**
Urban	95.95	2.94	.46	.65	100.00
Rural	69.68	23.13	2.35	4.83	100.00
Punjab	**91.72**	**7.06**	**.37**	**.85**	**100.00**
Urban	98.55	.83	.12	.51	100.00
Rural	87.57	10.85	.52	1.06	100.00
Attock	94.85	3.53	.04	1.58	100.00
Urban	96.41	3.59	0.00	0.00	100.00
Rural	94.27	3.51	.05	2.17	100.00
Bhawal Nagar	85.70	11.64	.26	2.41	100.00
Urban	98.44	.44	.50	.62	100.00
Rural	82.41	14.52	.19	2.87	100.00
Bahawalpur	87.81	11.75	.33	.12	100.00
Urban	97.22	2.40	.26	.12	100.00
Rural	83.51	16.02	.36	.11	100.00
Bhakkar	84.28	14.75	.13	.84	100.00
Urban	97.90	2.10	0.00	0.00	100.00
Rural	81.93	16.93	.16	.98	100.00
Chakwal	93.42	3.43	0.00	3.15	100.00
Urban	97.88	2.12	0.00	0.00	100.00
Rural	92.52	3.69	0.00	3.78	100.00
Chiniot	89.89	9.74	0.00	.37	100.00
Urban	97.81	1.88	0.00	.31	100.00
Rural	86.03	13.57	0.00	.40	100.00
D.G Khan	52.18	38.84	.66	8.32	100.00
Urban	96.48	3.52	0.00	0.00	100.00
Rural	42.70	46.40	.80	10.11	100.00
Faisalabad	97.91	1.73	.22	.14	100.00
Urban	99.85	.07	.04	.03	100.00
Rural	96.14	3.25	.38	.24	100.00
Gujranwala	98.68	.42	.10	.81	100.00
Urban	98.48	.20	0.00	1.31	100.00
Rural	98.96	.74	.25	.04	100.00
Gujrat	98.89	.14	.30	.67	100.00
Urban	97.33	0.00	.50	2.18	100.00
Rural	99.53	.19	.22	.06	100.00
Hafizabad	97.04	2.53	.31	.13	100.00
Urban	98.98	.63	.39	0.00	100.00
Rural	95.95	3.59	.26	.20	100.00
Islamabad	**99.29**	**.59**	**.11**	**0.00**	**100.00**
Urban	99.21	.58	.22	0.00	100.00
Rural	99.39	.61	0.00	0.00	100.00
Jehlum	97.92	1.22	0.00	.86	100.00
Urban	98.71	1.29	0.00	0.00	100.00
Rural	97.68	1.20	0.00	1.12	100.00
Jhang	89.69	10.01	.07	.23	100.00
Urban	97.84	1.49	0.00	.67	100.00
Rural	86.65	13.20	.09	.06	100.00
Kasur	96.81	2.89	.30	0.00	100.00
Urban	99.42	.58	0.00	0.00	100.00
Rural	95.97	3.64	.39	0.00	100.00
Khanewal	89.02	9.66	.58	.74	100.00
Urban	97.70	1.89	0.00	.41	100.00
Rural	86.94	11.52	.72	.82	100.00
Khushab	92.77	3.31	.41	3.51	100.00
Urban	99.02	.58	0.00	.40	100.00
Rural	90.41	4.35	.56	4.68	100.00
Lahore	99.33	.39	.12	.16	100.00
Urban	99.33	.39	.12	.16	100.00
Rural					

TABLE 7.7: PERCENT DISTRIBUTION OF HOUSEHOLD BY MATERIAL USED FOR WALLS

PROVINCE & DISTRICT	MATERIAL USED FOR WALLS				
	BURNT BRICKS /BLOCKS	MUD BRICKS/MUD	WOOD	OTHER	TOTAL
Layyah	83.57	16.17	.26	0.00	100.00
Urban	98.94	1.06	0.00	0.00	100.00
Rural	80.23	19.45	.32	0.00	100.00
Lodhran	87.61	12.25	0.00	.14	100.00
Urban	99.33	.67	0.00	0.00	100.00
Rural	85.38	14.45	0.00	.17	100.00
Mandi Bahauddin	98.54	.59	.60	.27	100.00
Urban	98.25	0.00	.57	1.18	100.00
Rural	98.60	.71	.60	.10	100.00
Mianwali	83.33	10.88	.09	5.71	100.00
Urban	92.73	6.74	0.00	.54	100.00
Rural	81.04	11.88	.11	6.97	100.00
Multan	86.56	13.00	.06	.37	100.00
Urban	98.30	1.29	0.00	.41	100.00
Rural	77.82	21.73	.11	.35	100.00
Muzaffargarh	80.72	18.25	.76	.26	100.00
Urban	97.41	2.21	.39	0.00	100.00
Rural	77.81	21.05	.83	.31	100.00
Nankana Sahib	96.47	2.24	1.28	0.00	100.00
Urban	94.77	1.77	3.46	0.00	100.00
Rural	96.88	2.36	.77	0.00	100.00
Narowal	98.94	.78	.18	.11	100.00
Urban	100.00	0.00	0.00	0.00	100.00
Rural	98.73	.93	.21	.13	100.00
Okara	98.74	1.20	.06	0.00	100.00
Urban	100.00	0.00	0.00	0.00	100.00
Rural	98.31	1.62	.08	0.00	100.00
Pakpattan	93.15	6.79	0.00	.06	100.00
Urban	100.00	0.00	0.00	0.00	100.00
Rural	91.97	7.95	0.00	.07	100.00
Rahim Yar Khan	85.30	12.68	1.77	.25	100.00
Urban	98.51	1.27	.22	0.00	100.00
Rural	81.80	15.71	2.18	.31	100.00
Rajanpur	47.62	45.53	5.67	1.18	100.00
Urban	95.61	4.39	0.00	0.00	100.00
Rural	37.14	54.51	6.90	1.44	100.00
Rawalpindi	94.60	1.90	.07	3.42	100.00
Urban	95.12	1.33	.06	3.49	100.00
Rural	94.07	2.49	.08	3.36	100.00
Sahiwal	96.71	3.00	.13	.16	100.00
Urban	99.52	.48	0.00	0.00	100.00
Rural	95.97	3.67	.16	.20	100.00
Sargodha	97.65	2.03	.17	.16	100.00
Urban	99.70	.30	0.00	0.00	100.00
Rural	96.78	2.75	.24	.22	100.00
Sheikhupura	96.48	3.24	.12	.16	100.00
Urban	97.92	1.46	.14	.48	100.00
Rural	95.74	4.16	.10	0.00	100.00
Sialkot	99.15	.25	.21	.40	100.00
Urban	99.17	.14	.16	.52	100.00
Rural	99.14	.29	.23	.34	100.00
Toba Tek Singh	96.07	3.84	.05	.05	100.00
Urban	100.00	0.00	0.00	0.00	100.00
Rural	94.97	4.91	.06	.06	100.00
Vehari	85.46	14.25	.06	.23	100.00
Urban	98.39	1.27	0.00	.34	100.00
Rural	82.80	16.92	.07	.20	100.00

TABLE 7.7: PERCENT DISTRIBUTION OF HOUSEHOLD BY MATERIAL USED FOR WALLS

PROVINCE & DISTRICT	MATERIAL USED FOR WALLS				
	BURNT BRICKS /BLOCKS	MUD BRICKS/MUD	WOOD	OTHER	TOTAL
Sindh	**74.23**	**20.66**	**4.36**	**.75**	**100.00**
Urban	95.60	2.99	.97	.44	100.00
Rural	47.76	42.55	8.57	1.13	100.00
Badin	36.32	42.51	20.52	.65	100.00
Urban	72.17	18.13	7.05	2.65	100.00
Rural	24.78	50.36	24.86	0.00	100.00
Dadu	68.82	30.19	.89	.10	100.00
Urban	88.52	11.02	0.00	.46	100.00
Rural	63.18	35.67	1.14	0.00	100.00
Ghotki	68.15	30.33	1.28	.24	100.00
Urban	92.23	6.24	1.53	0.00	100.00
Rural	61.98	36.50	1.22	.30	100.00
Hyderabad	93.30	5.79	.84	.07	100.00
Urban	96.48	2.97	.55	0.00	100.00
Rural	74.22	22.71	2.60	.47	100.00
Jacobabad	61.44	33.39	2.29	2.88	100.00
Urban	96.01	3.66	.33	0.00	100.00
Rural	50.35	42.93	2.92	3.80	100.00
Jamshoro	60.02	33.97	6.01	0.00	100.00
Urban	94.36	5.64	0.00	0.00	100.00
Rural	38.72	51.54	9.73	0.00	100.00
Karachi central	99.34	.10	0.00	.56	100.00
Urban	99.34	.10	0.00	.56	100.00
Rural					
Karachi East	99.26	.10	.41	.24	100.00
Urban	99.26	.10	.41	.24	100.00
Rural					
Karachi Malir	97.76	2.04	.20	0.00	100.00
Urban	99.93	.07	0.00	0.00	100.00
Rural	95.27	4.29	.44	0.00	100.00
Karachi South	99.58	.31	0.00	.11	100.00
Urban	99.58	.31	0.00	.11	100.00
Rural					
Karachi west	99.10	.37	.54	0.00	100.00
Urban	99.71	.25	.04	0.00	100.00
Rural	87.08	2.77	10.15	0.00	100.00
Kashmore	62.03	19.97	7.02	10.98	100.00
Urban	79.02	5.11	5.54	10.33	100.00
Rural	57.28	24.13	7.44	11.15	100.00
Khairpur	52.94	43.04	3.67	.34	100.00
Urban	72.44	25.87	1.20	.48	100.00
Rural	44.48	50.49	4.75	.28	100.00
Korangi	99.80	.11	0.00	.08	100.00
Urban	99.80	.11	0.00	.08	100.00
Rural					
Larkana	81.82	13.85	2.83	1.51	100.00
Urban	99.73	.27	0.00	0.00	100.00
Rural	66.05	25.81	5.31	2.83	100.00
Mitiari	65.34	32.08	2.58	0.00	100.00
Urban	88.07	10.06	1.86	0.00	100.00
Rural	59.24	37.99	2.77	0.00	100.00
Mirpur Khas	42.89	53.97	3.08	.06	100.00
Urban	87.85	11.15	.77	.22	100.00
Rural	26.82	69.27	3.90	0.00	100.00

TABLE 7.7: PERCENT DISTRIBUTION OF HOUSEHOLD BY MATERIAL USED FOR WALLS

PROVINCE & DISTRICT	MATERIAL USED FOR WALLS				
	BURNT BRICKS /BLOCKS	MUD BRICKS/MUD	WOOD	OTHER	TOTAL
Naushahro Feroze	67.43	32.42	.15	0.00	100.00
Urban	90.26	9.74	0.00	0.00	100.00
Rural	62.82	37.00	.18	0.00	100.00
Sanghar	60.33	25.88	12.87	.92	100.00
Urban	87.61	7.87	4.23	.30	100.00
Rural	50.80	32.18	15.89	1.14	100.00
Shahdadkot	69.44	29.07	.36	1.13	100.00
Urban	91.06	6.08	0.00	2.86	100.00
Rural	58.56	40.63	.55	.26	100.00
Shaheed Benazirabad	57.14	33.07	6.37	3.41	100.00
Urban	80.49	9.07	4.76	5.68	100.00
Rural	49.40	41.03	6.91	2.66	100.00
Shikarpur	60.85	30.80	6.04	2.31	100.00
Urban	96.47	2.28	.56	.69	100.00
Rural	49.86	39.60	7.73	2.81	100.00
Sujawal	26.45	67.09	3.70	2.76	100.00
Urban	66.14	32.50	1.35	0.00	100.00
Rural	22.27	70.73	3.94	3.05	100.00
Sukkur	70.72	25.01	3.97	.30	100.00
Urban	94.24	5.28	.32	.16	100.00
Rural	52.07	40.66	6.85	.41	100.00
Tando Allah Yar	64.53	31.35	4.12	0.00	100.00
Urban	93.58	5.37	1.05	0.00	100.00
Rural	51.26	43.22	5.52	0.00	100.00
Tando Muhammad Khan	35.48	51.95	12.02	.56	100.00
Urban	55.83	36.76	5.96	1.44	100.00
Rural	29.43	56.46	13.82	.29	100.00
Tharparkar	8.26	59.98	31.75	0.00	100.00
Urban	25.79	27.52	46.69	0.00	100.00
Rural	6.73	62.83	30.44	0.00	100.00
Thatta	41.87	41.80	14.01	2.32	100.00
Urban	60.52	10.61	25.68	3.19	100.00
Rural	36.56	50.67	10.69	2.07	100.00
Umerkot	35.11	58.18	6.43	.27	100.00
Urban	84.02	13.02	2.96	0.00	100.00
Rural	21.85	70.43	7.38	.34	100.00

TABLE 7.7: PERCENT DISTRIBUTION OF HOUSEHOLD BY MATERIAL USED FOR WALLS

PROVINCE & DISTRICT	MATERIAL USED FOR WALLS				
	BURNT BRICKS /BLOCKS	MUD BRICKS/MUD	WOOD	OTHER	TOTAL
Khyber Pakhtunkhwa	**62.80**	**19.70**	**.86**	**16.64**	**100.00**
Urban	91.82	4.98	.14	3.06	100.00
Rural	57.32	22.48	1.00	19.20	100.00
Abbottabad	76.39	4.89	.66	18.06	100.00
Urban	100.00	0.00	0.00	0.00	100.00
Rural	70.39	6.13	.83	22.65	100.00
Bajur	16.86	15.36	.46	67.32	100.00
Urban					
Rural	16.86	15.36	.46	67.32	100.00
Bannu	67.79	31.89	.25	.06	100.00
Urban	94.67	5.33	0.00	0.00	100.00
Rural	66.55	33.12	.26	.07	100.00
Batagram	47.98	16.29	1.49	34.24	100.00
Urban					
Rural	47.98	16.29	1.49	34.24	100.00
Buner	68.27	3.80	.32	27.62	100.00
Urban					
Rural	68.27	3.80	.32	27.62	100.00
Charsadda	83.77	15.81	.21	.21	100.00
Urban	93.96	6.04	0.00	0.00	100.00
Rural	81.22	18.25	.26	.26	100.00
Chitral	10.12	30.50	1.29	58.09	100.00
Urban	40.59	18.82	0.00	40.60	100.00
Rural	6.21	32.00	1.45	60.33	100.00
D.I Khan	45.74	50.23	.78	3.25	100.00
Urban	71.26	27.43	1.31	0.00	100.00
Rural	38.91	56.33	.64	4.12	100.00
Hangu	67.17	1.97	0.00	30.86	100.00
Urban	94.78	.57	0.00	4.65	100.00
Rural	63.09	2.18	0.00	34.72	100.00
Haripur	78.89	8.40	.36	12.35	100.00
Urban	99.11	.89	0.00	0.00	100.00
Rural	76.17	9.41	.41	14.01	100.00
Karak	73.63	25.43	.80	.14	100.00
Urban	92.86	3.57	0.00	3.57	100.00
Rural	72.84	26.33	.83	0.00	100.00
Khyber	39.34	23.20	.20	37.26	100.00
Urban	24.14	27.59	0.00	48.28	100.00
Rural	42.19	22.37	.24	35.20	100.00
Kohat	73.34	6.55	.11	20.00	100.00
Urban	100.00	0.00	0.00	0.00	100.00
Rural	68.25	7.80	.13	23.82	100.00
Kohistan	10.45	26.21	19.63	43.70	100.00
Urban					
Rural	10.45	26.21	19.63	43.70	100.00
Kurram	20.96	40.20	0.00	38.84	100.00
Urban					
Rural	20.96	40.20	0.00	38.84	100.00
Lakki Marwat	61.78	38.10	.12	0.00	100.00
Urban	98.47	1.53	0.00	0.00	100.00
Rural	57.57	42.29	.13	0.00	100.00
Lower Dir	54.08	15.74	.26	29.91	100.00
Urban	96.67	0.00	0.00	3.33	100.00
Rural	53.69	15.89	.27	30.16	100.00

TABLE 7.7: PERCENT DISTRIBUTION OF HOUSEHOLD BY MATERIAL USED FOR WALLS

PROVINCE & DISTRICT	MATERIAL USED FOR WALLS				
	BURNT BRICKS /BLOCKS	MUD BRICKS/MUD	WOOD	OTHER	TOTAL
Malakand PA	70.31	5.93	.20	23.56	100.00
Urban	88.89	0.00	0.00	11.11	100.00
Rural	68.40	6.54	.22	24.84	100.00
Mansehra	69.72	11.79	.37	18.12	100.00
Urban	98.33	1.67	0.00	0.00	100.00
Rural	67.81	12.46	.40	19.33	100.00
Mardan	88.73	8.03	.13	3.11	100.00
Urban	94.82	3.25	.39	1.53	100.00
Rural	87.38	9.08	.07	3.46	100.00
Mohmand	15.46	44.81	.72	39.02	100.00
Urban					
Rural	15.46	44.81	.72	39.02	100.00
North Waziristan	23.24	67.19	0.00	9.57	100.00
Urban					
Rural	23.24	67.19	0.00	9.57	100.00
Nowshera	94.13	2.41	0.00	3.46	100.00
Urban	99.69	0.00	0.00	.31	100.00
Rural	92.51	3.11	0.00	4.38	100.00
Orakzai	6.06	58.64	1.66	33.64	100.00
Urban					
Rural	6.06	58.64	1.66	33.64	100.00
Peshawar	87.59	11.26	.10	1.04	100.00
Urban	97.98	1.98	0.00	.04	100.00
Rural	79.22	18.74	.19	1.85	100.00
Shangla	31.92	.21	1.35	66.52	100.00
Urban					
Rural	31.92	.21	1.35	66.52	100.00
South Waziristan	18.40	81.00	0.00	.61	100.00
Urban					
Rural	18.40	81.00	0.00	.61	100.00
Swabi	91.18	8.20	.22	.41	100.00
Urban	100.00	0.00	0.00	0.00	100.00
Rural	89.53	9.72	.26	.48	100.00
Swat	68.20	2.07	0.00	29.73	100.00
Urban	87.14	3.15	0.00	9.71	100.00
Rural	58.79	1.53	0.00	39.67	100.00
Tank	31.07	64.71	.45	3.77	100.00
Urban	100.00	0.00	0.00	0.00	100.00
Rural	26.47	69.02	.48	4.02	100.00
Tor Ghar	22.95	8.19	.22	68.64	100.00
Urban					
Rural	22.95	8.19	.22	68.64	100.00
Upper Dir	23.74	13.56	.18	62.53	100.00
Urban	82.14	3.57	0.00	14.29	100.00
Rural	20.92	14.04	.19	64.86	100.00

TABLE 7.7: PERCENT DISTRIBUTION OF HOUSEHOLD BY MATERIAL USED FOR WALLS

PROVINCE & DISTRICT	MATERIAL USED FOR WALLS				
	BURNT BRICKS /BLOCKS	MUD BRICKS/MUD	WOOD	OTHER	TOTAL
Balochistan	**36.56**	**58.46**	**2.60**	**2.38**	**100.00**
Urban	70.48	27.92	.60	1.01	100.00
Rural	23.93	69.84	3.35	2.89	100.00
Awaran	2.63	96.85	.52	0.00	100.00
Urban	0.00	100.00	0.00	0.00	100.00
Rural	2.91	96.50	.58	0.00	100.00
Barkhan	6.30	13.73	5.83	74.14	100.00
Urban	30.00	3.33	0.00	66.67	100.00
Rural	1.14	16.00	7.10	75.77	100.00
Dera Bugti	26.07	73.58	.35	0.00	100.00
Urban	67.75	32.25	0.00	0.00	100.00
Rural	10.26	89.27	.48	0.00	100.00
Duki	.38	98.61	1.01	0.00	100.00
Urban	0.00	100.00	0.00	0.00	100.00
Rural	.43	98.42	1.15	0.00	100.00
Gwadar	52.52	45.52	1.96	0.00	100.00
Urban	73.37	26.63	0.00	0.00	100.00
Rural	17.21	77.52	5.27	0.00	100.00
Harnai	17.93	55.98	22.40	3.69	100.00
Urban	53.70	38.12	8.19	0.00	100.00
Rural	3.69	63.10	28.06	5.15	100.00
Jaffarabad	44.80	51.65	1.45	2.10	100.00
Urban	95.80	3.40	.80	0.00	100.00
Rural	25.02	70.36	1.71	2.92	100.00
Kachhi(Bolan)	12.91	86.29	.36	.44	100.00
Urban	38.09	61.91	0.00	0.00	100.00
Rural	9.45	89.64	.40	.50	100.00
Kalat	8.81	89.48	1.57	.15	100.00
Urban					
Rural	8.81	89.48	1.57	.15	100.00
Ketch/turbat	46.23	53.77	0.00	0.00	100.00
Urban	53.43	46.57	0.00	0.00	100.00
Rural	42.87	57.13	0.00	0.00	100.00
Kharan	20.47	76.38	3.15	0.00	100.00
Urban	71.10	28.90	0.00	0.00	100.00
Rural	7.20	88.82	3.97	0.00	100.00
Khuzdar	.54	99.46	0.00	0.00	100.00
Urban					
Rural	.54	99.46	0.00	0.00	100.00
Kohlu	40.14	53.08	5.40	1.38	100.00
Urban	15.38	84.62	0.00	0.00	100.00
Rural	44.29	47.78	6.31	1.62	100.00
Lasbela	54.05	29.11	16.84	0.00	100.00
Urban	79.45	20.08	.47	0.00	100.00
Rural	26.60	38.87	34.53	0.00	100.00
Loralai	23.95	74.01	1.89	.15	100.00
Urban	41.71	54.88	3.42	0.00	100.00
Rural	10.20	88.81	.72	.27	100.00
Mastung	16.39	82.44	.98	.18	100.00
Urban	38.37	61.63	0.00	0.00	100.00
Rural	11.18	87.37	1.22	.23	100.00
Nasirabad	23.97	73.72	1.49	.82	100.00
Urban	80.16	18.75	.59	.49	100.00
Rural	12.33	85.10	1.68	.89	100.00

TABLE 7.7: PERCENT DISTRIBUTION OF HOUSEHOLD BY MATERIAL USED FOR WALLS

PROVINCE & DISTRICT	MATERIAL USED FOR WALLS				
	BURNT BRICKS /BLOCKS	MUD BRICKS/MUD	WOOD	OTHER	TOTAL
Nushki	24.64	74.60	.76	0.00	100.00
Urban	55.06	44.94	0.00	0.00	100.00
Rural	15.30	83.71	.99	0.00	100.00
Pishin	54.21	45.03	.76	0.00	100.00
Urban	97.17	2.83	0.00	0.00	100.00
Rural	43.94	55.12	.94	0.00	100.00
Qilla Abdullah	3.87	95.54	.59	0.00	100.00
Urban	25.80	74.20	0.00	0.00	100.00
Rural	.99	98.34	.67	0.00	100.00
Qilla Saifullah	.69	70.64	3.18	25.49	100.00
Urban					
Rural	.69	70.64	3.18	25.49	100.00
Quetta	74.31	24.91	.60	.18	100.00
Urban	81.54	17.74	.72	0.00	100.00
Rural	67.97	31.20	.50	.33	100.00
Shaheed Skindar	11.88	84.25	3.88	0.00	100.00
Urban					
Rural	11.88	84.25	3.88	0.00	100.00
Sheerani	0.00	100.00	0.00	0.00	100.00
Urban					
Rural	0.00	100.00	0.00	0.00	100.00
Sibi	32.90	66.99	.09	.03	100.00
Urban	69.57	30.43	0.00	0.00	100.00
Rural	8.85	90.95	.15	.04	100.00
Sohbat pur	43.63	55.76	.62	0.00	100.00
Urban	100.00	0.00	0.00	0.00	100.00
Rural		60.32	.67	0.00	100.00
Washuk	32.08	66.28	1.42	.21	100.00
Urban	20.72	75.84	3.44	0.00	100.00
Rural	34.24	64.47	1.04	.25	100.00
Ziarat	1.44	76.73	17.19	4.64	100.00
Urban	19.23	80.77	0.00	0.00	100.00
Rural	1.14	76.66	17.48	4.72	100.00

Note: Chaghi, Jhal Magsi , Musakhel, Pnjgor, Zhob districts has been droped from the scope of the survey .

TABLE 7.8: PERCENT DISTRIBUTION OF HOUSEHOLDS BY FUEL USED FOR LIGHTING

PROVINCE & DISTRICT	FUEL USED FOR LIGHTING				
	ELECTRICITY	SOLAR PANEL	GAS	OTHER	TOTAL
Pakistan	**90.91**	**5.08**	**.82**	**3.18**	**100.00**
Urban	98.02	.89	.53	.56	100.00
Rural	86.43	7.72	1.01	4.84	100.00
Punjab	**95.68**	**2.18**	**1.02**	**1.12**	**100.00**
Urban	98.70	.33	.73	.23	100.00
Rural	93.85	3.30	1.19	1.66	100.00
Attock	97.83	1.78	.39	0.00	100.00
Urban	99.19	.35	.45	0.00	100.00
Rural	97.32	2.32	.36	0.00	100.00
Bhawal Nagar	94.35	.55	1.03	4.07	100.00
Urban	96.62	.52	1.53	1.32	100.00
Rural	93.76	.56	.91	4.77	100.00
Bahawalpur	94.60	.75	1.46	3.19	100.00
Urban	98.91	0.00	.15	.93	100.00
Rural	92.62	1.10	2.06	4.22	100.00
Bhakkar	92.08	4.89	.86	2.17	100.00
Urban	97.08	1.22	.54	1.15	100.00
Rural	91.22	5.53	.91	2.35	100.00
Chakwal	98.75	.27	.56	.41	100.00
Urban	99.29	0.00	.71	0.00	100.00
Rural	98.65	.33	.53	.49	100.00
Chiniot	97.66	.49	.88	.97	100.00
Urban	99.69	0.00	0.00	.31	100.00
Rural	96.68	.72	1.31	1.30	100.00
D.G Khan	81.67	13.82	2.88	1.63	100.00
Urban	99.81	0.00	.19	0.00	100.00
Rural	77.79	16.78	3.46	1.98	100.00
Faisalabad	98.84	.31	.39	.45	100.00
Urban	99.80	.08	.12	0.00	100.00
Rural	97.97	.52	.65	.86	100.00
Gujranwala	98.85	.19	.82	.15	100.00
Urban	98.49	.26	1.08	.17	100.00
Rural	99.40	.07	.42	.11	100.00
Gujrat	99.17	.19	.53	.11	100.00
Urban	99.15	0.00	.85	0.00	100.00
Rural	99.18	.27	.39	.15	100.00
Hafizabad	98.37	.12	1.35	.16	100.00
Urban	98.04	0.00	1.96	0.00	100.00
Rural	98.55	.19	1.01	.25	100.00
Islamabad	**99.18**	**.52**	**.16**	**.14**	**100.00**
Urban	98.84	.85	.21	.10	100.00
Rural	99.55	.17	.11	.18	100.00
Jehlum	99.26	.25	.26	.23	100.00
Urban	99.16	0.00	.84	0.00	100.00
Rural	99.29	.33	.08	.31	100.00
Jhang	93.58	2.03	1.59	2.81	100.00
Urban	99.08	0.00	.47	.45	100.00
Rural	91.52	2.79	2.01	3.69	100.00
Kasur	98.83	.22	.11	.85	100.00
Urban	99.74	0.00	.07	.19	100.00
Rural	98.53	.29	.12	1.06	100.00
Khanewal	95.93	.85	1.19	2.03	100.00
Urban	97.63	.80	1.19	.38	100.00
Rural	95.52	.86	1.20	2.42	100.00
Khushab	94.06	4.09	1.19	.66	100.00
Urban	97.61	1.31	.40	.68	100.00
Rural	92.72	5.14	1.49	.65	100.00
Lahore	98.79	.14	.89	.19	100.00
Urban	98.79	.14	.89	.19	100.00
Rural					

TABLE 7.8: PERCENT DISTRIBUTION OF HOUSEHOLDS BY FUEL USED FOR LIGHTING

PROVINCE & DISTRICT	FUEL USED FOR LIGHTING				
	ELECTRICITY	SOLAR PANEL	GAS	OTHER	TOTAL
Layyah	79.08	18.22	2.56	.14	100.00
Urban	94.72	5.28	0.00	0.00	100.00
Rural	75.69	21.02	3.11	.18	100.00
Lodhran	98.28	.29	.61	.81	100.00
Urban	98.33	0.00	1.67	0.00	100.00
Rural	98.28	.35	.41	.97	100.00
Mandi Bahauddin	99.14	.16	.25	.46	100.00
Urban	97.95	.51	1.53	0.00	100.00
Rural	99.37	.09	0.00	.54	100.00
Mianwali	87.23	9.95	.73	2.09	100.00
Urban	97.92	1.35	.54	.19	100.00
Rural	84.63	12.04	.78	2.55	100.00
Multan	97.01	1.25	.79	.95	100.00
Urban	97.95	.75	.85	.45	100.00
Rural	96.31	1.62	.75	1.32	100.00
Muzaffargarh	87.78	6.71	1.99	3.53	100.00
Urban	97.25	.61	1.37	.77	100.00
Rural	86.12	7.77	2.10	4.01	100.00
Nankana Sahib	99.83	0.00	0.00	.17	100.00
Urban	99.12	0.00	0.00	.88	100.00
Rural	100.00	0.00	0.00	0.00	100.00
Narowal	98.96	.80	.24	0.00	100.00
Urban	98.28	.58	1.14	0.00	100.00
Rural	99.09	.85	.06	0.00	100.00
Okara	98.54	.34	.85	.26	100.00
Urban	97.97	0.00	2.03	0.00	100.00
Rural	98.74	.46	.44	.35	100.00
Pakpattan	98.69	.35	.60	.35	100.00
Urban	99.50	0.00	.50	0.00	100.00
Rural	98.55	.41	.62	.42	100.00
Rahim Yar Khan	89.55	3.42	1.43	5.60	100.00
Urban	96.92	1.41	.51	1.17	100.00
Rural	87.60	3.95	1.68	6.77	100.00
Rajanpur	59.77	28.70	8.67	2.86	100.00
Urban	95.76	4.24	0.00	0.00	100.00
Rural	51.91	34.04	10.56	3.49	100.00
Rawalpindi	99.01	.23	.52	.24	100.00
Urban	98.89	.33	.72	.06	100.00
Rural	99.13	.13	.30	.43	100.00
Sahiwal	98.70	.47	.78	.05	100.00
Urban	99.17	.21	.62	0.00	100.00
Rural	98.57	.54	.82	.07	100.00
Sargodha	97.04	1.09	1.42	.44	100.00
Urban	98.32	.09	1.18	.41	100.00
Rural	96.50	1.52	1.52	.46	100.00
Sheikhupura	99.62	.06	.28	.03	100.00
Urban	99.37	.08	.54	0.00	100.00
Rural	99.75	.05	.15	.05	100.00
Sialkot	99.09	.48	.38	.05	100.00
Urban	99.40	.17	.42	0.00	100.00
Rural	98.95	.62	.37	.07	100.00
Toba Tek Singh	98.06	.31	.84	.78	100.00
Urban	99.63	0.00	.37	0.00	100.00
Rural	97.62	.40	.98	1.00	100.00
Vehari	98.52	.06	.45	.97	100.00
Urban	98.09	.34	1.23	.34	100.00
Rural	98.61	0.00	.29	1.11	100.00

TABLE 7.8: PERCENT DISTRIBUTION OF HOUSEHOLDS BY FUEL USED FOR LIGHTING

PROVINCE & DISTRICT	FUEL USED FOR LIGHTING				
	ELECTRICITY	SOLAR PANEL	GAS	OTHER	TOTAL
Sindh	**86.82**	**4.79**	**.45**	**7.94**	**100.00**
Urban	97.66	1.07	.29	.99	100.00
Rural	73.39	9.40	.64	16.56	100.00
Badin	59.62	11.66	2.52	26.20	100.00
Urban	89.47	1.75	2.47	6.30	100.00
Rural	50.00	14.85	2.53	32.61	100.00
Dadu	91.44	3.82	.21	4.53	100.00
Urban	99.22	.78	0.00	0.00	100.00
Rural	89.22	4.69	.27	5.83	100.00
Ghotki	74.18	16.53	3.09	6.20	100.00
Urban	87.13	6.83	.49	5.55	100.00
Rural	70.86	19.01	3.76	6.37	100.00
Hyderabad	98.21	.41	.19	1.19	100.00
Urban	98.59	.14	.22	1.06	100.00
Rural	95.96	2.04	0.00	1.99	100.00
Jacobabad	77.62	19.37	.20	2.80	100.00
Urban	90.81	8.86	0.00	.33	100.00
Rural	73.39	22.75	.27	3.59	100.00
Jamshoro	75.12	11.11	.07	13.70	100.00
Urban	98.87	1.01	0.00	.11	100.00
Rural	60.38	17.37	.12	22.13	100.00
Karachi central	99.51	.10	.32	.07	100.00
Urban	99.51	.10	.32	.07	100.00
Rural					
Karachi East	99.20	.35	.25	.19	100.00
Urban	99.20	.35	.25	.19	100.00
Rural					
Karachi Malir	95.72	.47	0.00	3.81	100.00
Urban	100.00	0.00	0.00	0.00	100.00
Rural	90.80	1.02	0.00	8.18	100.00
Karachi South	99.62	.13	.26	0.00	100.00
Urban	99.62	.13	.26	0.00	100.00
Rural					
Karachi West	98.36	1.16	.22	.26	100.00
Urban	99.59	.13	.23	.04	100.00
Rural	74.23	21.16	0.00	4.61	100.00
Kashmore	91.03	6.64	.12	2.21	100.00
Urban	99.04	0.00	.55	.40	100.00
Rural	88.78	8.50	0.00	2.72	100.00
Khairpur	90.56	5.26	.72	3.46	100.00
Urban	98.46	.22	0.00	1.32	100.00
Rural	87.13	7.45	1.04	4.39	100.00
Korangi	99.81	.08	.11	0.00	100.00
Urban	99.81	.08	.11	0.00	100.00
Rural					
Larkana	93.68	1.84	.72	3.76	100.00
Urban	96.71	1.75	1.54	0.00	100.00
Rural	91.01	1.92	0.00	7.07	100.00
Mitiari	88.33	3.71	0.00	7.96	100.00
Urban	96.30	3.70	0.00	0.00	100.00
Rural	86.19	3.71	0.00	10.10	100.00
Mirpur Khas	71.85	2.17	.07	25.90	100.00
Urban	92.35	.34	.28	7.04	100.00
Rural	64.53	2.83	0.00	32.64	100.00

TABLE 7.8: PERCENT DISTRIBUTION OF HOUSEHOLDS BY FUEL USED FOR LIGHTING

PROVINCE & DISTRICT	FUEL USED FOR LIGHTING				
	ELECTRICITY	SOLAR PANEL	GAS	OTHER	TOTAL
Naushahro Feroze	91.85	6.10	0.00	2.05	100.00
Urban	100.00	0.00	0.00	0.00	100.00
Rural	90.20	7.33	0.00	2.47	100.00
Sanghar	78.74	12.58	.08	8.60	100.00
Urban	93.08	3.52	0.00	3.39	100.00
Rural	73.73	15.74	.10	10.43	100.00
Shahdadkot	84.53	6.96	.99	7.51	100.00
Urban	87.57	6.27	1.16	5.01	100.00
Rural	83.01	7.30	.91	8.78	100.00
Shaheed Benazirabad	81.86	10.78	.08	7.28	100.00
Urban	91.16	7.33	0.00	1.51	100.00
Rural	78.78	11.93	.10	9.18	100.00
Shikarpur	94.68	4.84	.08	.39	100.00
Urban	98.76	0.00	0.00	1.24	100.00
Rural	93.42	6.34	.11	.13	100.00
Sujawal	57.61	12.28	1.31	28.81	100.00
Urban	98.65	0.00	1.35	0.00	100.00
Rural	53.29	13.57	1.31	31.84	100.00
Sukkur	83.51	13.72	.16	2.61	100.00
Urban	91.55	7.23	.35	.86	100.00
Rural	77.14	18.87	0.00	4.00	100.00
Tando Allah Yar	86.24	3.27	.16	10.33	100.00
Urban	97.90	.52	.52	1.05	100.00
Rural	80.91	4.52	0.00	14.57	100.00
Tando Muhammad Khan	71.46	8.01	.67	19.86	100.00
Urban	87.45	12.55	0.00	0.00	100.00
Rural	66.71	6.66	.87	25.76	100.00
Tharparkar	34.77	5.59	0.00	59.64	100.00
Urban	49.85	0.00	0.00	50.15	100.00
Rural	33.45	6.08	0.00	60.47	100.00
Thatta	59.53	19.41	1.81	19.26	100.00
Urban	71.19	28.01	0.00	.80	100.00
Rural	56.21	16.96	2.33	24.51	100.00
Umerkot	61.29	4.24	0.00	34.47	100.00
Urban	86.57	3.70	0.00	9.73	100.00
Rural	54.43	4.38	0.00	41.18	100.00

TABLE 7.8: PERCENT DISTRIBUTION OF HOUSEHOLDS BY FUEL USED FOR LIGHTING

PROVINCE & DISTRICT	FUEL USED FOR LIGHTING				
	ELECTRICITY	SOLAR PANEL	GAS	OTHER	TOTAL
Khyber Pakhtunkhwa	**86.11**	**11.45**	**.29**	**2.15**	**100.00**
Urban	97.50	2.18	.32	0.00	100.00
Rural	83.96	13.20	.29	2.55	100.00
Abbottabad	99.45	.14	.15	.26	100.00
Urban	99.27	0.00	.73	0.00	100.00
Rural	99.50	.17	0.00	.33	100.00
Bajur	33.02	66.06	.29	.63	100.00
Urban					
Rural	33.02	66.06	.29	.63	100.00
Bannu	90.88	8.66	.23	.22	100.00
Urban	100.00	0.00	0.00	0.00	100.00
Rural	90.46	9.06	.24	.24	100.00
Batagram	81.30	16.43	0.00	2.27	100.00
Urban					
Rural	81.30	16.43	0.00	2.27	100.00
Buner	79.55	18.57	.49	1.39	100.00
Urban					
Rural	79.55	18.57	.49	1.39	100.00
Charsadda	88.77	10.69	.07	.47	100.00
Urban	98.15	1.85	0.00	0.00	100.00
Rural	86.43	12.90	.09	.59	100.00
Chitral	94.40	2.18	0.00	3.41	100.00
Urban	100.00	0.00	0.00	0.00	100.00
Rural	93.69	2.46	0.00	3.85	100.00
D.I Khan	93.16	6.53	0.00	.31	100.00
Urban	99.43	.57	0.00	0.00	100.00
Rural	91.48	8.12	0.00	.40	100.00
Hangu	54.06	45.94	0.00	0.00	100.00
Urban	97.02	2.98	0.00	0.00	100.00
Rural	47.73	52.27	0.00	0.00	100.00
Haripur	97.64	.81	.67	.87	100.00
Urban	97.33	0.00	2.67	0.00	100.00
Rural	97.69	.92	.40	.99	100.00
Karak	90.90	5.89	1.92	1.29	100.00
Urban	82.14	14.29	3.57	0.00	100.00
Rural	91.26	5.54	1.85	1.34	100.00
Khyber	15.29	83.91	0.00	.79	100.00
Urban	20.69	79.31	0.00	0.00	100.00
Rural	14.28	84.78	0.00	.94	100.00
Kohat	80.08	19.32	0.00	.60	100.00
Urban	100.00	0.00	0.00	0.00	100.00
Rural	76.29	23.00	0.00	.71	100.00
Kohistan	23.54	25.35	4.14	46.97	100.00
Urban					
Rural	23.54	25.35	4.14	46.97	100.00
Kurram	65.18	32.03	.21	2.58	100.00
Urban					
Rural	65.18	32.03	.21	2.58	100.00
Lakki Marwat	93.51	6.39	0.00	.11	100.00
Urban	100.00	0.00	0.00	0.00	100.00
Rural	92.76	7.12	0.00	.12	100.00
Lower Dir	95.92	3.63	0.00	.44	100.00
Urban	100.00	0.00	0.00	0.00	100.00
Rural	95.89	3.66	0.00	.45	100.00

TABLE 7.8: PERCENT DISTRIBUTION OF HOUSEHOLDS BY FUEL USED FOR LIGHTING

PROVINCE & DISTRICT	FUEL USED FOR LIGHTING				
	ELECTRICITY	SOLAR PANEL	GAS	OTHER	TOTAL
Malakand PA	99.73	.27	0.00	0.00	100.00
Urban	100.00	0.00	0.00	0.00	100.00
Rural	99.70	.30	0.00	0.00	100.00
Mansehra	97.49	1.64	0.00	.86	100.00
Urban	100.00	0.00	0.00	0.00	100.00
Rural	97.33	1.75	0.00	.92	100.00
Mardan	97.82	2.04	0.00	.14	100.00
Urban	99.62	.38	0.00	0.00	100.00
Rural	97.42	2.41	0.00	.17	100.00
Mohmand	50.03	49.77	0.00	.19	100.00
Urban					
Rural	50.03	49.77	0.00	.19	100.00
North waziristan	94.49	4.81	0.00	.70	100.00
Urban					
Rural	94.49	4.81	0.00	.70	100.00
Nowshera	97.86	1.36	.19	.60	100.00
Urban	100.00	0.00	0.00	0.00	100.00
Rural	97.23	1.75	.24	.78	100.00
Orakzai	78.53	21.35	0.00	.12	100.00
Urban					
Rural	78.53	21.35	0.00	.12	100.00
Peshawar	92.41	7.07	.29	.24	100.00
Urban	98.88	.55	.57	0.00	100.00
Rural	87.19	12.32	.06	.43	100.00
Shangla	98.16	1.38	.20	.27	100.00
Urban					
Rural	98.16	1.38	.20	.27	100.00
south Wazristan	69.05	30.05	.15	.75	100.00
Urban					
Rural	69.05	30.05	.15	.75	100.00
Swabi	98.41	.84	.27	.48	100.00
Urban	100.00	0.00	0.00	0.00	100.00
Rural	98.11	1.00	.32	.57	100.00
Swat	94.72	3.62	0.00	1.66	100.00
Urban	99.73	.27	0.00	0.00	100.00
Rural	92.24	5.28	0.00	2.48	100.00
Tank	79.35	20.65	0.00	0.00	100.00
Urban	96.67	3.33	0.00	0.00	100.00
Rural	78.19	21.81	0.00	0.00	100.00
Tor Ghar	35.25	61.97	2.36	.43	100.00
Urban					
Rural	35.25	61.97	2.36	.43	100.00
Upper Dir	74.79	12.86	.08	12.27	100.00
Urban	96.43	3.57	0.00	0.00	100.00
Rural	73.74	13.31	.08	12.86	100.00

TABLE 7.8: PERCENT DISTRIBUTION OF HOUSEHOLDS BY FUEL USED FOR LIGHTING

PROVINCE & DISTRICT	FUEL USED FOR LIGHTING				
	ELECTRICITY	SOLAR PANEL	GAS	OTHER	TOTAL
Balochistan	**76.97**	**17.83**	**2.17**	**3.02**	**100.00**
Urban	93.22	4.70	.50	1.58	100.00
Rural	70.92	22.72	2.80	3.56	100.00
Awaran	25.28	74.03	.36	.33	100.00
Urban	100.00	0.00	0.00	0.00	100.00
Rural	17.17	82.07	.40	.37	100.00
Barkhan	56.81	41.84	1.22	.13	100.00
Urban	100.00	0.00	0.00	0.00	100.00
Rural	47.41	50.95	1.48	.16	100.00
Dera Bugti	77.17	22.20	.52	.12	100.00
Urban	78.89	21.11	0.00	0.00	100.00
Rural	76.52	22.61	.71	.16	100.00
Duki	75.46	11.43	11.34	1.77	100.00
Urban	100.00	0.00	0.00	0.00	100.00
Rural	72.14	12.98	12.88	2.01	100.00
Gwadar	81.00	10.92	8.08	0.00	100.00
Urban	98.76	1.24	0.00	0.00	100.00
Rural	50.92	27.31	21.77	0.00	100.00
Harnai	87.82	8.32	1.58	2.29	100.00
Urban	97.06	2.94	0.00	0.00	100.00
Rural	84.14	10.46	2.21	3.20	100.00
Jaffarabad	87.47	9.88	.88	1.77	100.00
Urban	91.84	7.84	.32	0.00	100.00
Rural	85.77	10.67	1.10	2.46	100.00
Kachhi(Bolan)	97.84	.44	.22	1.49	100.00
Urban	100.00	0.00	0.00	0.00	100.00
Rural	97.55	.50	.25	1.70	100.00
Kalat	81.12	12.81	4.92	1.14	100.00
Urban					
Rural	81.12	12.81	4.92	1.14	100.00
Ketch/Turbat	91.67	7.29	.80	.25	100.00
Urban	98.65	1.35	0.00	0.00	100.00
Rural	88.42	10.06	1.17	.36	100.00
Kharan	93.95	5.88	.17	0.00	100.00
Urban	100.00	0.00	0.00	0.00	100.00
Rural	92.36	7.42	.22	0.00	100.00
Khuzdar	38.34	61.03	.20	.43	100.00
Urban					
Rural	38.34	61.03	.20	.43	100.00
Kohlu	88.37	.64	0.00	10.99	100.00
Urban	100.00	0.00	0.00	0.00	100.00
Rural	86.42	.75	0.00	12.83	100.00
Lasbela	87.25	7.15	.87	4.72	100.00
Urban	80.19	12.20	.50	7.11	100.00
Rural	94.89	1.70	1.28	2.13	100.00
Loralai	77.10	21.18	0.00	1.72	100.00
Urban	99.46	0.00	0.00	.54	100.00
Rural	59.80	37.56	0.00	2.64	100.00
Mastung	98.66	.79	.55	0.00	100.00
Urban	100.00	0.00	0.00	0.00	100.00
Rural	98.34	.98	.68	0.00	100.00
Nasirabad	44.62	30.18	0.00	25.21	100.00
Urban	79.03	20.28	0.00	.69	100.00
Rural	37.49	32.23	0.00	30.29	100.00

TABLE 7.8: PERCENT DISTRIBUTION OF HOUSEHOLDS BY FUEL USED FOR LIGHTING

PROVINCE & DISTRICT	FUEL USED FOR LIGHTING				
	ELECTRICITY	SOLAR PANEL	GAS	OTHER	TOTAL
Nushki	98.74	1.26	0.00	0.00	100.00
Urban	100.00	0.00	0.00	0.00	100.00
Rural	98.35	1.65	0.00	0.00	100.00
Pishin	84.30	12.46	.75	2.49	100.00
Urban	86.08	13.42	.50	0.00	100.00
Rural	83.87	12.23	.80	3.09	100.00
Qilla Abdullah	47.75	45.67	.58	6.00	100.00
Urban	96.76	1.42	0.00	1.82	100.00
Rural	41.32	51.47	.66	6.55	100.00
Qilla Saifullah	2.18	97.12	0.00	.69	100.00
Urban					
Rural	2.18	97.12	0.00	.69	100.00
Quetta	96.38	1.25	1.51	.86	100.00
Urban	96.82	.90	.93	1.35	100.00
Rural	95.99	1.56	2.01	.44	100.00
Shaheed Skindarabad	74.36	12.63	10.99	2.01	100.00
Urban					
Rural	74.36	12.63	10.99	2.01	100.00
Sheerani	0.00	66.12	33.88	0.00	100.00
Urban					
Rural	0.00	66.12	33.88	0.00	100.00
Sibi	94.46	4.94	.02	.58	100.00
Urban	99.84	.16	0.00	0.00	100.00
Rural	90.94	8.08	.03	.96	100.00
sohbat Pur	95.23	0.00	2.64	2.13	100.00
Urban	100.00	0.00	0.00	0.00	100.00
Rural	94.84	0.00	2.86	2.30	100.00
Washuk	44.82	38.70	13.62	2.86	100.00
Urban	79.33	8.61	10.34	1.72	100.00
Rural	38.27	44.41	14.24	3.08	100.00
Ziarat	87.44	8.48	2.04	2.04	100.00
Urban	96.15	3.85	0.00	0.00	100.00
Rural	87.29	8.56	2.08	2.08	100.00

Note: Chaghi, Jhal Magsi , Musakhel, Pnjgor, Zhob districts has been droped from the scope of the survey .

TABLE 7.9: PERCENT DISTRIBUTION OF HOUSEHOLDS BY FUEL USED FOR COOKING

PROVINCE & DISTRICT	FUEL USED FOR COOKING				
	GAS	WOOD/STICKS	OIL	OTHER	TOTAL
Pakistan	**48.24**	**40.91**	**.02**	**10.83**	**100.00**
Urban	87.95	10.45	.02	1.59	100.00
Rural	23.21	60.11	.02	16.66	100.00
Punjab	**50.03**	**34.69**	**.01**	**15.27**	**100.00**
Urban	87.66	10.00	.00	2.34	100.00
Rural	27.13	49.71	.02	23.14	100.00
Attock	58.30	41.53	0.00	.17	100.00
Urban	88.60	11.40	0.00	0.00	100.00
Rural	46.98	52.79	0.00	.23	100.00
Bhawal Nagar	12.43	33.10	0.00	54.47	100.00
Urban	53.00	27.36	0.00	19.64	100.00
Rural	1.98	34.57	0.00	63.44	100.00
Bahawalpur	28.21	16.82	0.00	54.96	100.00
Urban	76.85	14.64	0.00	8.51	100.00
Rural	6.00	17.82	0.00	76.18	100.00
Bhakkar	4.94	89.09	0.00	5.97	100.00
Urban	31.60	66.68	0.00	1.72	100.00
Rural	.35	92.95	0.00	6.70	100.00
Chakwal	55.27	44.45	0.00	.28	100.00
Urban	95.10	4.90	0.00	0.00	100.00
Rural	47.29	52.38	0.00	.33	100.00
Chiniot	28.00	63.54	0.00	8.46	100.00
Urban	72.84	26.11	0.00	1.05	100.00
Rural	6.18	81.75	0.00	12.06	100.00
D.G Khan	17.19	81.50	.06	1.26	100.00
Urban	75.19	24.24	0.00	.57	100.00
Rural	4.76	93.76	.07	1.41	100.00
Faisalabad	65.59	28.64	0.00	5.77	100.00
Urban	94.77	4.84	0.00	.39	100.00
Rural	38.92	50.39	0.00	10.69	100.00
Gujranwala	84.25	7.49	0.00	8.26	100.00
Urban	96.37	2.57	0.00	1.05	100.00
Rural	65.99	14.89	0.00	19.12	100.00
Gujrat	76.27	14.01	.04	9.68	100.00
Urban	96.41	3.16	0.00	.43	100.00
Rural	68.15	18.38	.06	13.41	100.00
Hafizabad	79.61	8.69	0.00	11.70	100.00
Urban	93.48	2.97	0.00	3.56	100.00
Rural	71.84	11.89	0.00	16.27	100.00
Islamabad	**92.73**	**7.12**	**.03**	**.12**	**100.00**
Urban	89.82	10.18	0.00	0.00	100.00
Rural	95.83	3.87	.07	.24	100.00
Jehlum	53.69	46.08	.07	.15	100.00
Urban	95.38	4.62	0.00	0.00	100.00
Rural	40.84	58.87	.09	.20	100.00
Jhang	24.10	64.11	0.00	11.80	100.00
Urban	73.44	21.93	0.00	4.63	100.00
Rural	5.66	79.87	0.00	14.48	100.00
Kasur	41.58	49.59	0.00	8.83	100.00
Urban	82.02	16.42	0.00	1.55	100.00
Rural	28.55	60.28	0.00	11.17	100.00
Khanewal	29.26	41.68	0.00	29.05	100.00
Urban	76.28	14.31	0.00	9.40	100.00
Rural	17.98	48.25	0.00	33.77	100.00
Khushab	22.57	75.73	0.00	1.70	100.00
Urban	54.95	44.70	0.00	.35	100.00
Rural	10.32	87.47	0.00	2.21	100.00
Lahore	94.57	4.21	0.00	1.22	100.00
Urban	94.57	4.21	0.00	1.22	100.00
Rural					

TABLE 7.9: PERCENT DISTRIBUTION OF HOUSEHOLDS BY FUEL USED FOR COOKING

PROVINCE & DISTRICT	FUEL USED FOR COOKING				
	GAS	WOOD/STICKS	OIL	OTHER	TOTAL
Layyah	24.54	75.46	0.00	0.00	100.00
Urban	60.52	39.48	0.00	0.00	100.00
Rural	16.72	83.28	0.00	0.00	100.00
Lodhran	19.62	37.87	0.00	42.51	100.00
Urban	69.08	26.51	0.00	4.41	100.00
Rural	10.20	40.04	0.00	49.76	100.00
Mandi Bahauddin	49.88	32.95	.10	17.07	100.00
Urban	98.18	1.82	0.00	0.00	100.00
Rural	40.44	39.03	.12	20.41	100.00
Mianwali	14.00	77.97	0.00	8.03	100.00
Urban	49.81	50.19	0.00	0.00	100.00
Rural	5.30	84.72	0.00	9.98	100.00
Multan	52.58	39.36	0.00	8.06	100.00
Urban	90.19	6.79	0.00	3.02	100.00
Rural	24.57	63.61	0.00	11.81	100.00
Muzaffargarh	9.47	56.08	.03	34.42	100.00
Urban	51.17	25.71	0.00	23.12	100.00
Rural	2.19	61.38	.03	36.39	100.00
Nankana Sahib	55.41	39.87	0.00	4.72	100.00
Urban	78.22	20.23	0.00	1.55	100.00
Rural	50.02	44.51	0.00	5.47	100.00
Narowal	22.84	19.32	0.00	57.84	100.00
Urban	54.20	43.38	0.00	2.43	100.00
Rural	16.77	14.66	0.00	68.57	100.00
Okara	46.91	33.22	.11	19.77	100.00
Urban	92.10	6.77	0.00	1.13	100.00
Rural	31.20	42.41	.15	26.25	100.00
Pakpattan	14.61	44.71	.07	40.62	100.00
Urban	76.04	20.17	.45	3.33	100.00
Rural	4.10	48.91	0.00	46.99	100.00
Rahim Yar Khan	22.11	35.66	0.00	42.23	100.00
Urban	70.11	21.29	0.00	8.59	100.00
Rural	9.38	39.47	0.00	51.15	100.00
Rajanpur	4.23	95.55	0.00	.22	100.00
Urban	16.02	83.98	0.00	0.00	100.00
Rural	1.66	98.07	0.00	.27	100.00
Rawalpindi	80.10	19.30	0.00	.60	100.00
Urban	95.72	3.70	0.00	.58	100.00
Rural	64.04	35.34	0.00	.62	100.00
Sahiwal	34.46	39.40	0.00	26.14	100.00
Urban	94.28	5.23	0.00	.49	100.00
Rural	18.52	48.51	0.00	32.97	100.00
Sargodha	51.71	46.88	0.00	1.42	100.00
Urban	87.39	11.84	0.00	.77	100.00
Rural	36.59	61.73	0.00	1.69	100.00
Sheikhupura	63.89	22.14	0.00	13.97	100.00
Urban	82.59	14.46	0.00	2.95	100.00
Rural	54.26	26.10	0.00	19.64	100.00
Sialkot	79.60	7.20	0.00	13.20	100.00
Urban	98.89	.35	0.00	.76	100.00
Rural	70.94	10.27	0.00	18.79	100.00
Toba Tek Singh	38.20	55.84	0.00	5.96	100.00
Urban	94.68	5.32	0.00	0.00	100.00
Rural	22.44	69.93	0.00	7.63	100.00
Vehari	16.95	46.74	.06	36.25	100.00
Urban	80.46	13.93	0.00	5.61	100.00
Rural	3.86	53.50	.08	42.56	100.00

TABLE 7.9: PERCENT DISTRIBUTION OF HOUSEHOLDS BY FUEL USED FOR COOKING

PROVINCE & DISTRICT	FUEL USED FOR COOKING				
	GAS	WOOD/STICKS	OIL	OTHER	TOTAL
Sindh	**57.27**	**36.29**	**.02**	**6.42**	**100.00**
Urban	91.45	7.93	.04	.58	100.00
Rural	14.90	71.44	0.00	13.66	100.00
Badin	17.11	71.02	0.00	11.87	100.00
Urban	65.44	31.52	0.00	3.04	100.00
Rural	1.55	83.74	0.00	14.71	100.00
Dadu	38.06	37.61	0.00	24.33	100.00
Urban	80.23	13.57	0.00	6.21	100.00
Rural	25.99	44.49	0.00	29.51	100.00
Ghotki	22.92	32.43	0.00	44.65	100.00
Urban	74.24	8.72	0.00	17.05	100.00
Rural	9.78	38.50	0.00	51.72	100.00
Hyderabad	78.51	18.28	.05	3.17	100.00
Urban	88.20	11.39	.05	.36	100.00
Rural	20.30	59.68	0.00	20.02	100.00
Jacobabad	27.09	61.41	0.00	11.50	100.00
Urban	75.30	23.80	0.00	.90	100.00
Rural	11.62	73.48	0.00	14.90	100.00
Jamshoro	40.08	44.88	0.00	15.05	100.00
Urban	74.57	20.09	0.00	5.34	100.00
Rural	18.69	60.25	0.00	21.06	100.00
Karachi central	99.45	.39	.03	.13	100.00
Urban	99.45	.39	.03	.13	100.00
Rural					
Karachi East	99.48	.48	0.00	.03	100.00
Urban	99.48	.48	0.00	.03	100.00
Rural					
Karachi Malir	88.12	11.82	0.00	.05	100.00
Urban	98.44	1.56	0.00	0.00	100.00
Rural	76.28	23.60	0.00	.12	100.00
Karachi South	99.71	.09	.12	.07	100.00
Urban	99.71	.09	.12	.07	100.00
Rural					
Karachi west	97.98	1.84	.10	.08	100.00
Urban	99.29	.52	.10	.08	100.00
Rural	72.31	27.69	0.00	0.00	100.00
Kashmore	13.96	86.04	0.00	0.00	100.00
Urban	63.78	36.22	0.00	0.00	100.00
Rural	0.00	100.00	0.00	0.00	100.00
Khairpur	26.27	69.94	0.00	3.79	100.00
Urban	52.51	47.49	0.00	0.00	100.00
Rural	14.88	79.68	0.00	5.44	100.00
Korangi	99.67	.20	.05	.08	100.00
Urban	99.67	.20	.05	.08	100.00
Rural					
Larkana	57.28	26.79	0.00	15.93	100.00
Urban	97.60	1.14	0.00	1.25	100.00
Rural	21.78	49.36	0.00	28.85	100.00
Mitiari	37.02	62.45	0.00	.53	100.00
Urban	82.89	16.17	0.00	.93	100.00
Rural	24.70	74.88	0.00	.42	100.00
Mirpur Khas	22.93	76.88	0.00	.18	100.00
Urban	57.86	42.14	0.00	0.00	100.00
Rural	10.45	89.30	0.00	.25	100.00

TABLE 7.9: PERCENT DISTRIBUTION OF HOUSEHOLDS BY FUEL USED FOR COOKING

PROVINCE & DISTRICT	FUEL USED FOR COOKING				
	GAS	WOOD/STICKS	OIL	OTHER	TOTAL
Naushahro Feroze	18.61	77.87	0.00	3.52	100.00
Urban	75.43	24.57	0.00	0.00	100.00
Rural	7.15	88.63	0.00	4.22	100.00
Sanghar	23.02	76.80	0.00	.18	100.00
Urban	63.51	36.22	0.00	.27	100.00
Rural	8.85	90.99	0.00	.16	100.00
Shahdadkot	28.21	68.55	0.00	3.24	100.00
Urban	77.50	22.50	0.00	0.00	100.00
Rural	3.40	91.72	0.00	4.87	100.00
Shaheed Benazirabad	29.72	67.34	0.00	2.94	100.00
Urban	74.84	25.16	0.00	0.00	100.00
Rural	14.77	81.32	0.00	3.92	100.00
Shikarpur	24.89	12.72	0.00	62.39	100.00
Urban	78.74	12.73	0.00	8.53	100.00
Rural	8.29	12.71	0.00	79.00	100.00
Sujawal	15.18	79.34	0.00	5.48	100.00
Urban	100.00	0.00	0.00	0.00	100.00
Rural	6.25	87.69	0.00	6.06	100.00
Sukkur	49.30	38.11	0.00	12.60	100.00
Urban	86.99	12.64	0.00	.37	100.00
Rural	19.42	58.30	0.00	22.29	100.00
Tando Allah Yar	42.76	45.67	0.00	11.57	100.00
Urban	84.42	15.58	0.00	0.00	100.00
Rural	**23.73**	59.41	0.00	16.86	100.00
Tando Muhammad Khan	26.25	51.92	0.00	21.83	100.00
Urban	87.45	12.55	0.00	0.00	100.00
Rural	8.06	63.62	0.00	28.32	100.00
Tharparkar	0.00	100.00	0.00	0.00	100.00
Urban	0.00	100.00	0.00	0.00	100.00
Rural	0.00	100.00	0.00	0.00	100.00
Thatta	24.42	69.84	0.00	5.74	100.00
Urban	61.68	38.32	0.00	0.00	100.00
Rural	13.81	78.81	0.00	7.38	100.00
Umerkot	4.47	95.53	0.00	0.00	100.00
Urban	20.93	79.07	0.00	0.00	100.00
Rural	0.00	100.00	0.00	0.00	100.00

TABLE 7.9: PERCENT DISTRIBUTION OF HOUSEHOLDS BY FUEL USED FOR COOKING

PROVINCE & DISTRICT	FUEL USED FOR COOKING				
	GAS	WOOD/STICKS	OIL	OTHER	TOTAL
Khyber Pakhtunkhwa	**30.40**	**66.49**	**.01**	**3.09**	**100.00**
Urban	81.27	17.96	0.00	.77	100.00
Rural	20.81	75.64	.02	3.53	100.00
Abbottabad	39.43	58.24	0.00	2.33	100.00
Urban	97.82	2.18	0.00	0.00	100.00
Rural	24.57	72.51	0.00	2.92	100.00
Bajur	2.01	94.76	0.00	3.23	100.00
Urban					
Rural	2.01	94.76	0.00	3.23	100.00
Bannu	17.52	81.99	0.00	.50	100.00
Urban	72.28	16.49	0.00	11.23	100.00
Rural	14.99	85.01	0.00	0.00	100.00
Batagram	13.78	85.77	.32	.12	100.00
Urban					
Rural	13.78	85.77	.32	.12	100.00
Buner	10.98	79.55	0.00	9.47	100.00
Urban					
Rural	10.98	79.55	0.00	9.47	100.00
Charsadda	50.48	41.57	0.00	7.95	100.00
Urban	71.24	21.26	0.00	7.50	100.00
Rural	45.30	46.64	0.00	8.06	100.00
Chitral	9.09	90.67	0.00	.24	100.00
Urban	35.64	64.36	0.00	0.00	100.00
Rural	5.69	94.04	0.00	.27	100.00
D.I Khan	17.21	80.00	0.00	2.79	100.00
Urban	58.44	41.56	0.00	0.00	100.00
Rural	6.17	90.29	0.00	3.53	100.00
Hangu	15.73	84.27	0.00	0.00	100.00
Urban	59.44	40.56	0.00	0.00	100.00
Rural	9.28	90.72	0.00	0.00	100.00
Haripur	37.84	52.30	0.00	9.87	100.00
Urban	100.00	0.00	0.00	0.00	100.00
Rural	29.46	59.34	0.00	11.20	100.00
Karak	55.62	44.25	0.00	.13	100.00
Urban	71.43	28.57	0.00	0.00	100.00
Rural	54.98	44.89	0.00	.14	100.00
Khyber	.87	98.65	0.00	.48	100.00
Urban	0.00	100.00	0.00	0.00	100.00
Rural	1.03	98.40	0.00	.57	100.00
Kohat	40.88	58.63	0.00	.49	100.00
Urban	93.68	6.32	0.00	0.00	100.00
Rural	30.81	68.60	0.00	.59	100.00
Kohistan	.38	99.22	0.00	.40	100.00
Urban					
Rural	.38	99.22	0.00	.40	100.00
Khurram	12.74	77.37	0.00	9.89	100.00
Urban					
Rural	12.74	77.37	0.00	9.89	100.00
Lakki Marwat	12.63	87.08	0.00	.30	100.00
Urban	96.94	3.06	0.00	0.00	100.00
Rural	2.95	96.72	0.00	.33	100.00
Lower Dir	23.39	76.61	0.00	0.00	100.00
Urban	96.67	3.33	0.00	0.00	100.00
Rural	22.72	77.28	0.00	0.00	100.00

TABLE 7.9: PERCENT DISTRIBUTION OF HOUSEHOLDS BY FUEL USED FOR COOKING

PROVINCE & DISTRICT	FUEL USED FOR COOKING				
	GAS	WOOD/STICKS	OIL	OTHER	TOTAL
Malakand PA	51.15	44.44	0.00	4.41	100.00
Urban	96.30	3.70	0.00	0.00	100.00
Rural	46.50	48.63	0.00	4.87	100.00
Mansehra	16.84	83.16	0.00	0.00	100.00
Urban	73.28	26.72	0.00	0.00	100.00
Rural	13.07	86.93	0.00	0.00	100.00
Mardan	36.96	55.39	0.00	7.65	100.00
Urban	81.95	16.48	0.00	1.58	100.00
Rural	27.03	63.98	0.00	8.99	100.00
Mohmand	1.76	54.25	0.00	43.99	100.00
Urban					
Rural	1.76	54.25	0.00	43.99	100.00
North Waziristan	1.68	97.69	.34	.29	100.00
Urban					
Rural	1.68	97.69	.34	.29	100.00
Nowshera	59.62	35.87	0.00	4.51	100.00
Urban	94.43	5.57	0.00	0.00	100.00
Rural	49.49	44.69	0.00	5.82	100.00
Orakzai	0.00	100.00	0.00	0.00	100.00
Urban					
Rural	0.00	100.00	0.00	0.00	100.00
Peshawar	72.55	25.22	0.00	2.23	100.00
Urban	95.40	4.27	0.00	.33	100.00
Rural	54.13	42.11	0.00	3.77	100.00
Shangla	6.12	93.49	.20	.20	100.00
Urban					
Rural	6.12	93.49	.20	.20	100.00
South wazaristan	.58	99.42	0.00	0.00	100.00
Urban					
Rural	.58	99.42	0.00	0.00	100.00
Swabi	29.08	65.22	0.00	5.70	100.00
Urban	62.36	37.64	0.00	0.00	100.00
Rural	22.89	70.35	0.00	6.76	100.00
Swat	29.81	70.19	0.00	0.00	100.00
Urban	67.70	32.30	0.00	0.00	100.00
Rural	11.01	88.99	0.00	0.00	100.00
Tank	5.63	92.66	0.00	1.71	100.00
Urban	90.00	3.33	0.00	6.67	100.00
Rural	0.00	98.62	0.00	1.38	100.00
Tor Ghar	.71	99.29	0.00	0.00	100.00
Urban					
Rural	.71	99.29	0.00	0.00	100.00
Upper Dir	29.08	70.70	0.00	.22	100.00
Urban	92.86	7.14	0.00	0.00	100.00
Rural	26.01	73.77	0.00	.23	100.00

TABLE 7.9: PERCENT DISTRIBUTION OF HOUSEHOLDS BY FUEL USED FOR COOKING

PROVINCE & DISTRICT	FUEL USED FOR COOKING				
	GAS	WOOD/STICKS	OIL	OTHER	TOTAL
Balochistan	**34.78**	**55.68**	**.03**	**9.51**	**100.00**
Urban	67.74	29.73	0.00	2.53	100.00
Rural	22.51	65.34	.04	12.11	100.00
Awaran	.70	9.21	0.00	90.09	100.00
Urban	0.00	80.00	0.00	20.00	100.00
Rural	.78	1.52	0.00	97.70	100.00
Barkhan	.13	99.87	0.00	0.00	100.00
Urban	0.00	100.00	0.00	0.00	100.00
Rural	.16	99.84	0.00	0.00	100.00
Dera Bugti	23.31	75.41	0.00	1.28	100.00
Urban	78.87	21.13	0.00	0.00	100.00
Rural	2.23	96.01	0.00	1.76	100.00
Duki	.63	99.06	0.00	.30	100.00
Urban	0.00	100.00	0.00	0.00	100.00
Rural	.72	98.94	0.00	.35	100.00
Gwadar	41.96	57.44	0.00	.59	100.00
Urban	38.36	60.70	0.00	.95	100.00
Rural	48.07	51.93	0.00	0.00	100.00
Harnai	.63	98.76	0.00	.61	100.00
Urban	2.22	97.78	0.00	0.00	100.00
Rural	0.00	99.15	0.00	.85	100.00
Jaffarabad	23.92	68.94	0.00	7.14	100.00
Urban	74.48	18.51	0.00	7.01	100.00
Rural	4.31	88.50	0.00	7.19	100.00
Kachhi(Bolan)	19.20	80.80	0.00	0.00	100.00
Urban	81.37	18.63	0.00	0.00	100.00
Rural	10.65	89.35	0.00	0.00	100.00
Kalat	12.52	59.37	0.00	28.11	100.00
Urban					
Rural	12.52	59.37	0.00	28.11	100.00
Ketch/Turbat	25.84	67.55	.09	6.52	100.00
Urban	39.50	60.50	0.00	0.00	100.00
Rural	19.48	70.83	.14	9.55	100.00
Kharan	3.16	96.84	0.00	0.00	100.00
Urban	14.47	85.53	0.00	0.00	100.00
Rural	.19	99.81	0.00	0.00	100.00
Khuzdar	1.22	5.77	.50	92.51	100.00
Urban					
Rural	1.22	5.77	.50	92.51	100.00
Kohlu	30.14	60.18	0.00	9.68	100.00
Urban	53.85	34.62	0.00	11.54	100.00
Rural	26.15	64.48	0.00	9.37	100.00
Lasbela	40.39	59.61	0.00	0.00	100.00
Urban	67.30	32.70	0.00	0.00	100.00
Rural	11.31	88.69	0.00	0.00	100.00
Loralai	18.75	79.82	0.00	1.43	100.00
Urban	34.55	64.62	0.00	.84	100.00
Rural	6.52	91.59	0.00	1.89	100.00
Mastung	40.87	57.86	0.00	1.27	100.00
Urban	98.50	0.00	0.00	1.50	100.00
Rural	27.22	71.56	0.00	1.22	100.00
Nasirabad	9.90	81.62	0.00	8.47	100.00
Urban	57.68	28.73	0.00	13.59	100.00
Rural	0.00	92.58	0.00	7.42	100.00

TABLE 7.9: PERCENT DISTRIBUTION OF HOUSEHOLDS BY FUEL USED FOR COOKING

PROVINCE & DISTRICT	FUEL USED FOR COOKING				
	GAS	WOOD/STICKS	OIL	OTHER	TOTAL
Nushki	18.80	80.86	0.00	.34	100.00
Urban	73.62	26.38	0.00	0.00	100.00
Rural	1.97	97.59	0.00	.44	100.00
Pishin	55.82	40.96	0.00	3.22	100.00
Urban	66.35	33.65	0.00	0.00	100.00
Rural	53.30	42.70	0.00	3.99	100.00
Qilla Abdullah	2.79	78.59	0.00	18.62	100.00
Urban	12.29	68.91	0.00	18.81	100.00
Rural	1.54	79.86	0.00	18.60	100.00
Qilla Saifullah	.40	98.55	0.00	1.04	100.00
Urban					
Rural	.40	98.55	0.00	1.04	100.00
Quetta	96.74	2.17	0.00	1.08	100.00
Urban	96.29	2.41	0.00	1.30	100.00
Rural	97.14	1.97	0.00	.89	100.00
Shaheed Sikander	.63	70.85	0.00	28.53	100.00
Urban					
Rural	.63	70.85	0.00	28.53	100.00
Sheerani	0.00	100.00	0.00	0.00	100.00
Urban					
Rural	0.00	100.00	0.00	0.00	100.00
Sibi	41.92	58.08	0.00	0.00	100.00
Urban	95.77	4.23	0.00	0.00	100.00
Rural	6.61	93.39	0.00	0.00	100.00
Sohbat Pur	4.05	94.33	0.00	1.62	100.00
Urban	53.57	25.00	0.00	21.43	100.00
Rural	0.00	100.00	0.00	0.00	100.00
Washuk	1.23	88.27	.07	10.44	100.00
Urban	3.45	62.12	0.00	34.43	100.00
Rural	.81	93.23	.08	5.89	100.00
Ziarat	20.34	74.61	0.00	5.05	100.00
Urban	88.46	11.54	0.00	0.00	100.00
Rural	19.19	75.68	0.00	5.14	100.00

Note: Chaghi, Jhal Magsi , Musakhel, Pnjgor, Zhob districts has been droped from the scope of the survey .

8. Household Perception of Economic Situation and Satisfaction by Facilities and Service Use

8.1 Introduction

This chapter is focused on the Perception of household about economic situation of their own households and community. Aim of the present government is to improve the economic situation of people and government is investing considerable amount for providing Basic Services. According to United Nations High Commissioner for Human Rights, "States are responsible for delivering a variety of services to their populations, including education, health and social welfare services. The provision of these services is essential to the protection of human rights such as the right to housing, health, education etc.

In PSLM 2019-20 information regarding Perception of Economic Situation and Satisfaction from the services, a household used in last 12 years has been collected at District Level for evidence based policy making and fund allocation . This will help the government to identify priority sectors in particular district to properly address the problems.

8.2 Perception of Household about the Economic Situation

Households were asked to compare their economic situation with last year. Forty six percent household in 2019-20 reported no change as compared to 44 percent in 2014-15. Twenty Six percent household reported worse and 12 percent reported much Worse situation of household in 2019-20, as compared to 30 percent and 7 percent in 2014-15 respectively. While 13 percent household reported better and 2 percent much better situation of household in 2019-20 as compared to 16 percent and 2 percent in 2014-15. Figure-1

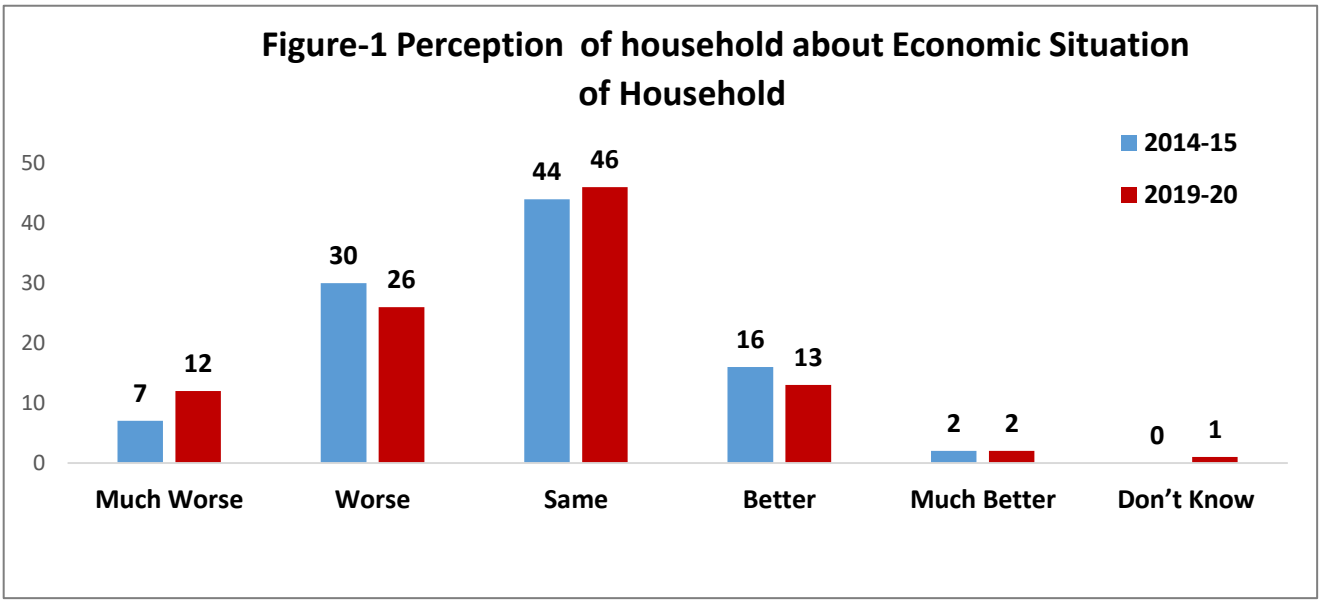

Provincial level comparison shows that Punjab with 25 percent worse and 12 percent Much Worse situation of household in 2019-20 as compare to 30 percent and 7 percent respectively in 2014-15 reported less proportion with worse or much worse situation of household. While Balochistan with 22 Percent worse and 20 percent much worse situation of household in 2019-20 as compare to 23 percent and 11 percent respectively in 2014-15 reported highest percentage among all provinces. In Islamabad 17 percent households reported worse and 14 percent reported much worse household economic situation as compared to 21 percent and 3 percent household respectively in 2014-15. District level situation showed that, Toba Tek Singh with 39 percent worse and 18 Much worse situation, Jamshoro with 40 percent Worse and 44 percent Much Worse situation of household , Bajur with 43 percent Worse 27 percent Much worse condition and Nasirabad with 21 percent Worse and 65 percent Much Worse condition of household showed highest proportion of household reported worse or much worse economic situation of household within their respective province. (Table 8.1)

8.3 Perception of Situation of the household about Economic Situation of Community

Household were also asked about the economic situation of the community where they live, 23 percent of households reported worse and 11 percent reported much worse situation of community in 2019-20 as compare to 17 percent and 4 percent respectively in 2014-15, while 48 percent reported no change in 2019-20, as compared to 62 percent in 2014-15 . Eleven percent household reported better and 1 percent reported much better situation of community in 2019-20 as compare to 11 percent and 1 percent respectively in 2014-15. Provincial level situation showed that Punjab with 23 percent household reported worse and 10 percent reported Much Worse situation of community in 2019-20 as compared to 14 percent and 3 percent respectively in 2014-15 reported less proportion of worse or much worse situation of community among

Figure-2: Perception of household about Economic Situation of Community

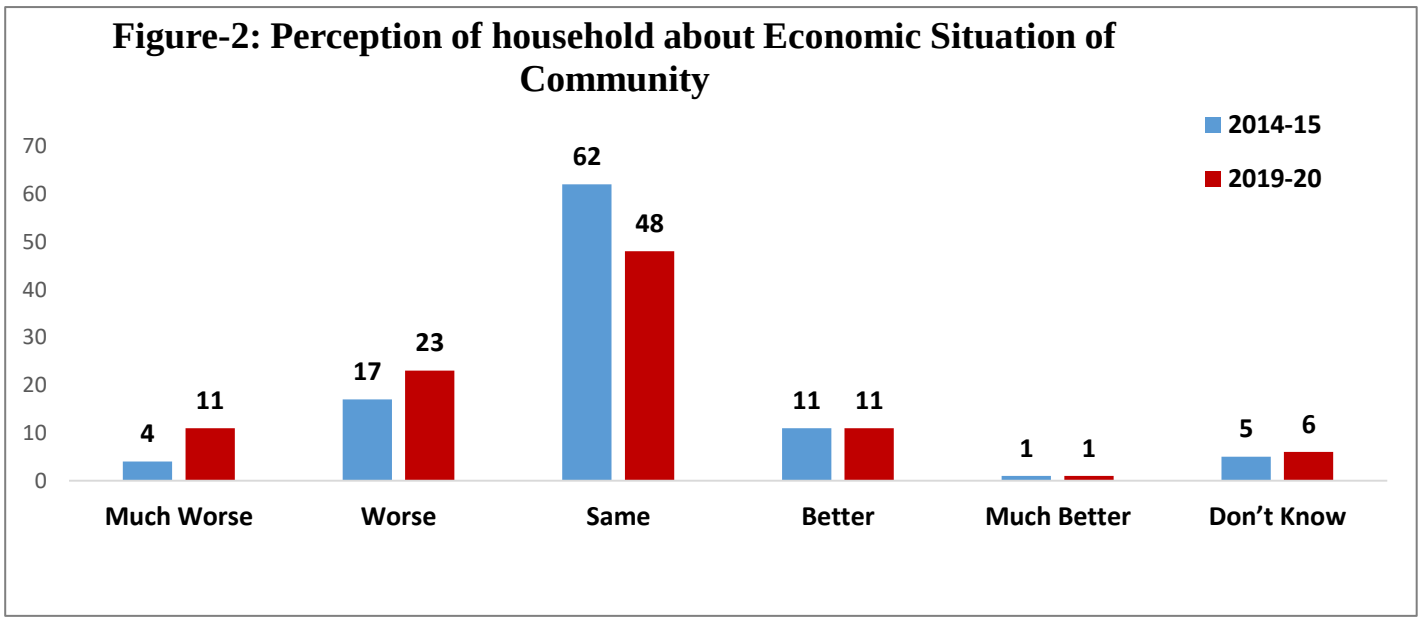

other province while Balochistan with 21 percent worse and 17 percent Much Worse situation of community in 2019-20 as compare 16 percent and 10 percent respectively in 2014-15 reported highest percentage regarding worst Situation of community among all the four Provinces. In Islamabad 11 percent household reported Worse and 8 percent household reported much worse situation of community as compare to 16 percent and 3 percent respectively in 2014-15. (Figure 2, Figure 3, Table 8.2)

District level comparison show that Layyah with 76 percent worse 7 percent Much Worse situation of Community, Jamshoro 24 percent Worse 55 percent Much Worse, Shangla 35 percent Worse 55 percent Much Worse and Nasirabad with 19 percent Worse and 54 percent Much worse showed highest proportion of household who have replied that economic situation of community is worse or much worse within their respective province. (Table 8.2)

Figure 3: Perception of household about economic situation of commnity: Provincial Situation

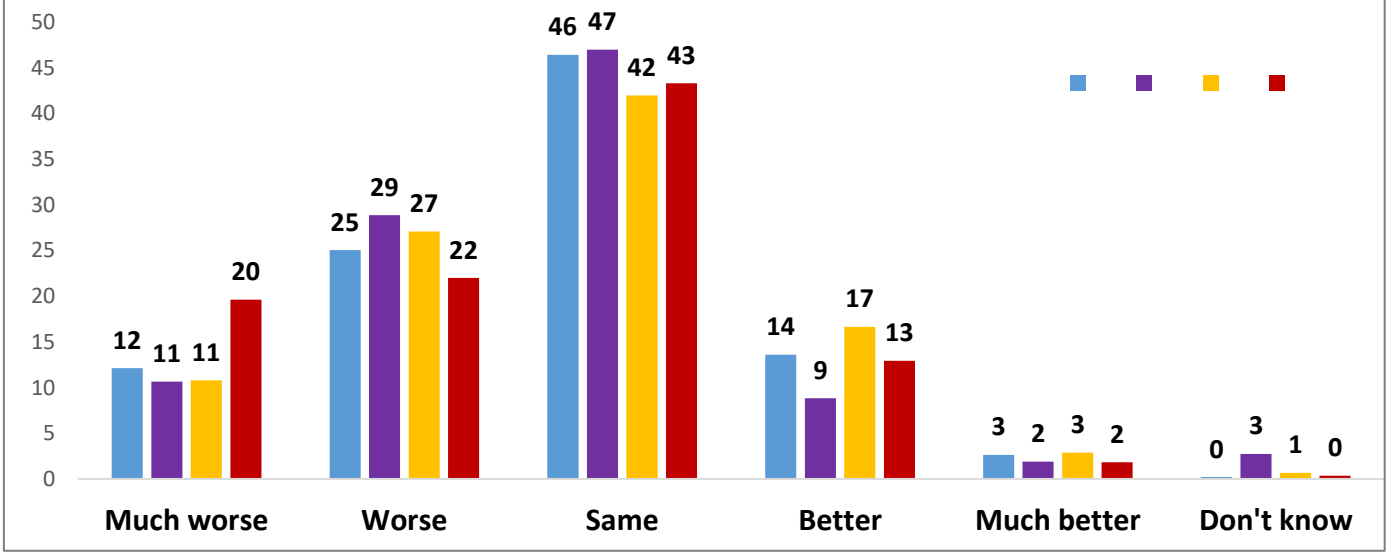

3.4 Satisfaction of the household with the Service Used

Households were also asked to give opinion about their satisfaction with the use of Facilities/ Services (Table 5.3); the denominator includes only those household who are using the facility. It is observed that overall satisfaction of the services used has increased for all facilities, 67 percent of the household were satisfied from Government Basic health facility in 2019-20 as compared to 57 percent in 2014-15.Eighty Six percent of the household were satisfied with the Family Planning Service in 2019-20, as compared to 83 percent in 2014-15, whereas 97 percent household were satisfied with Primary Schools as compared to 94 percent in 2014-15.Satisfaction from Veterinary Services were 77 percent as compared to 71 percent in 2014-15, Seventy Six percent of household showed satisfaction after using Agriculture Extension

as compared to 69 percent in 2014-15 regarding Satisfaction with Police service it has increased to 57 percent as compare to 48 percent in 2014-15.(Figure 4,Table 8.3)

Figure 4: Percentage of Household with Satisfaction from Basic Service



It is observed that in **Punjab** satisfaction with facilities has increased in almost all services, but there is decline in agriculture extension from 80 percent to 77 percent in 2019-20. Increase in satisfaction from BHU has been observed 72 percent as compared to 66 percent in 2014-15. Satisfaction from Family planning services with 89 percent, Schools with 98 percent, veterinary with 81 percent, Police with 57 percent have increased while as compared to Family planning with 86 percent, Schools with 96 percent, veterinary with 81 percent, Police with 50 percent in 2014-15. (Figure5, Table 8.3)

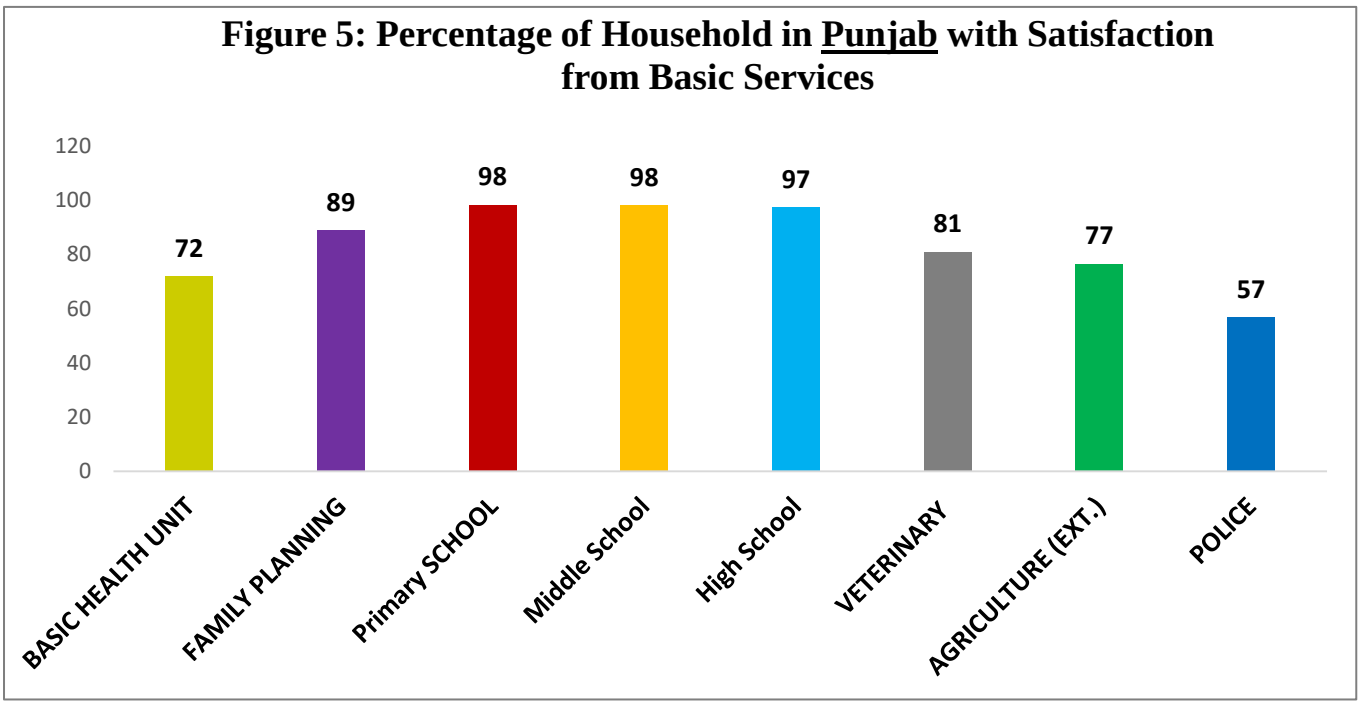

In **Sindh** Satisfaction from services of Basic Health Unit, Family Planning, Schools, Agriculture, Veterinary& Police increased. Satisfaction from services of Basic Health Unit increased to 64 percent from 51 percent in 2014-15, satisfaction from Family Planning service is 92 percent, Schools 95 percent, Agriculture Extension 83 percent, Veterinary with 78 & Police with 49 percent in 2019-20, while comparing with the situation in 2014-15 , Family Planning with 81 percent, Schools with 90 percent, Agriculture with 58 percent, satisfaction of services of Veterinary with 58 percent and Police with 35 percent .(Figure 6,Table 8.3)

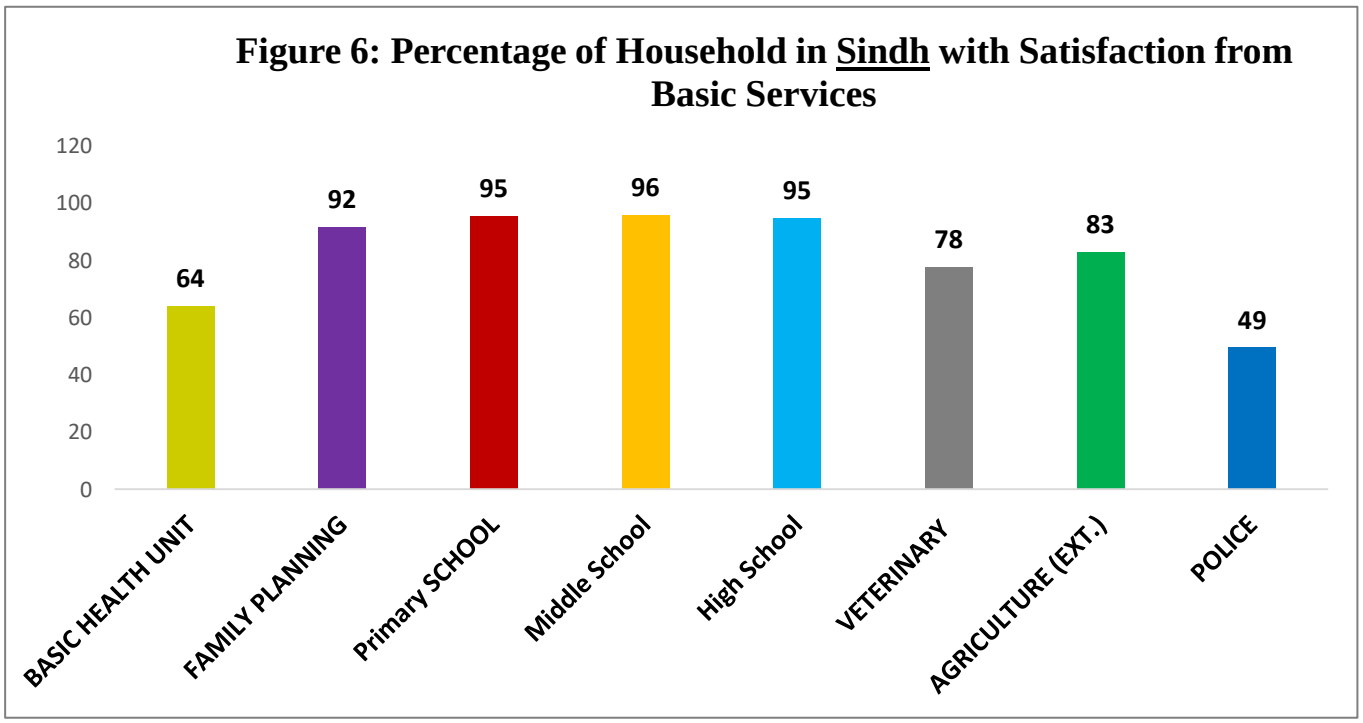

In **Khyber Pakhtunkhwa** increase in satisfaction from all services has been observed as compared to 2014-15. The situation showed that satisfaction from BHU is 65 in 2019-20 has increased to50 percent in 2014-15, family planning to 88 percent, Primary Schools to 97 percent, Veterinary to 72 percent, Agriculture extension to 83 percent & police to 71 in 2019-20, while comparing with situation in 2014-15, Family Planning 82 percent, School 93 percent, veterinary 58 percent, Agriculture 57 percent and Police with 66 percent. (Figure 7, Table 8.3)

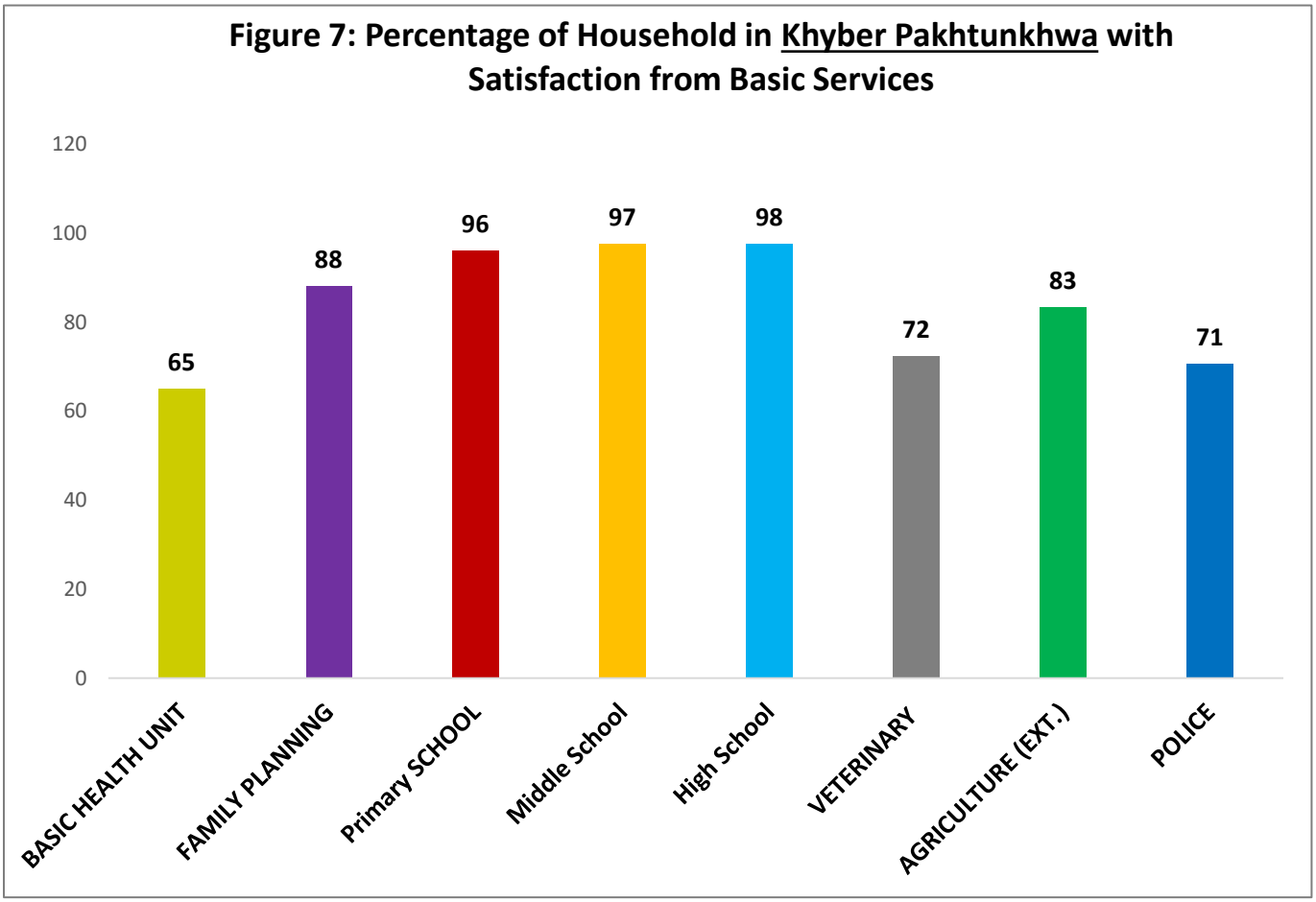

The situation of **Balochistan** need immediate attention as only increase in satisfaction from services like School and police has been observed. While satisfaction from services of BHU, Family Planning, Veterinary services and Agriculture Extension decreased as compared to the situation in 2014-15.Increase in satisfaction from services like School with 84 percent and police with 56 percent observed in 2019-20, while Comparing with the situation in 2014-15 Schools with 82 percent and police with 50 percent. Satisfaction from BHU decreased to 40 percent, Family Planning to 50 percent, Veterinary to 41 percent and Agriculture with 42 percent in 2019-20, while comparing with the situation in 2014-15 BHU 43 percent, Family Planning 62 percent, Veterinary 47 percent and Agriculture Extension with 55 percent. (Figure 8, Table 8.3)

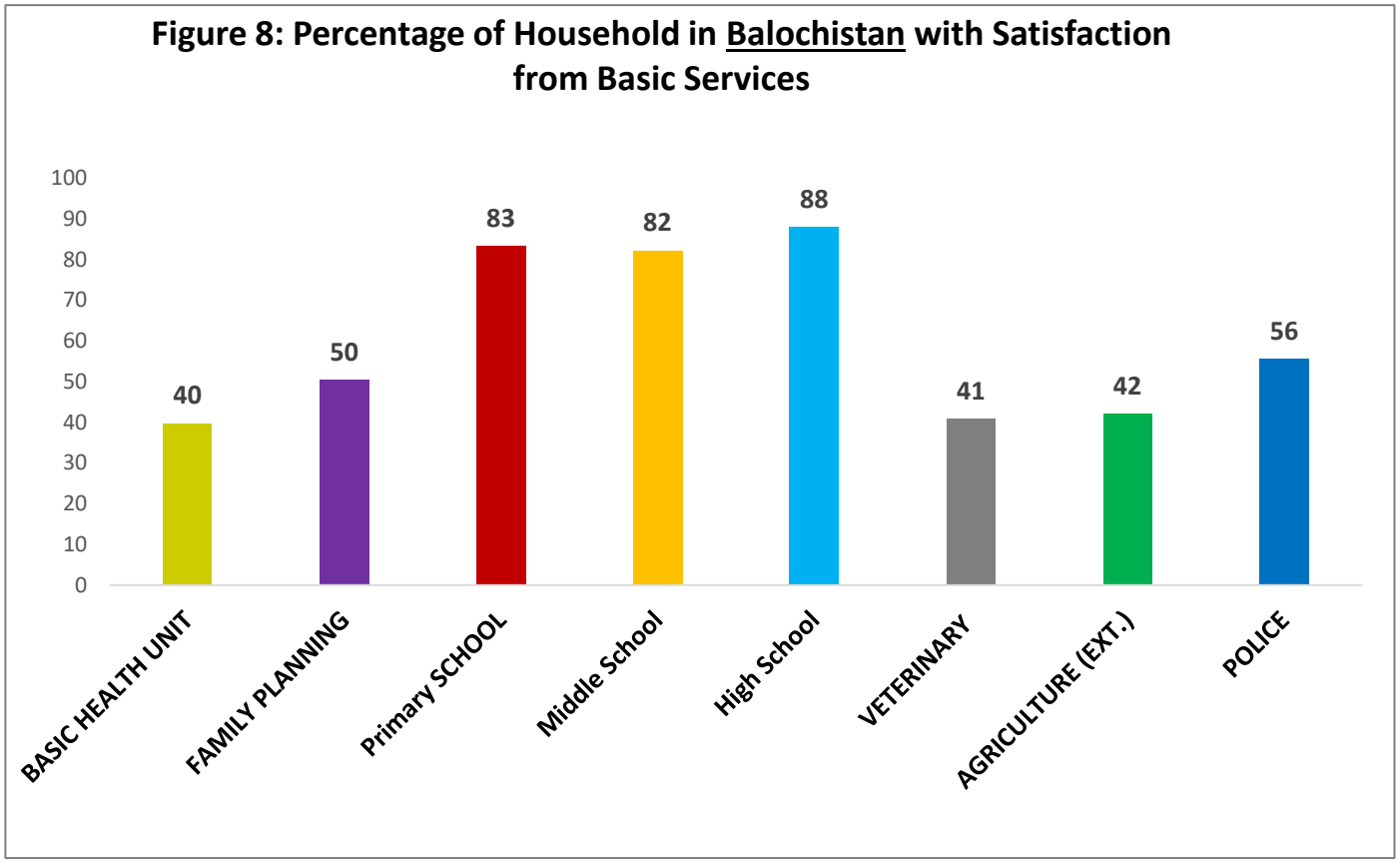
Figure 8: Percentage of Household in Balochistan with Satisfaction from Basic Services
100
90
80
70
60
50
40
30
20
10
0
40
50
83
82
88
41
42
56
BASIC HEALTH UNIT
FAMILY PLANNING
Primary SCHOOL
Middle School
High School
VETERINARY
AGRICULTURE (EXT.)
POLICE

TABLE 8.1:PERCENT DISTRIBUTION OF HOUSEHOLDS BY THE PERCEPTION OF THE ECONOMICS SITUATION OF THE HOUSEHOLD COMPARED OF THE YEAR BEFORE

PROVINCE & DISTRICT	ECONOMICS SITUATION OF VTHE HOUSEHOLD						
	MUCH WORSE	WORSE	SAME	BETTER	MUCH BETTER	DON'T KNOW	TOTAL
Pakistan	11.94	26.19	45.73	12.74	2.44	.96	100.00
Urban	11.37	26.66	45.03	12.24	3.06	1.65	100.00
Rural	12.30	25.89	46.18	13.05	2.05	.52	100.00
Punjab	12.11	25.04	46.40	13.60	2.65	.21	100.00
Urban	12.77	25.20	45.49	12.96	3.37	.21	100.00
Rural	11.70	24.95	46.95	13.98	2.21	.20	100.00
Attock	9.70	9.83	68.52	9.55	2.15	.25	100.00
Urban	9.48	9.63	64.05	11.19	5.65	0.00	100.00
Rural	9.78	9.91	70.19	8.93	.84	.35	100.00
Bhawal Nagar	32.77	22.52	28.65	14.29	1.72	.04	100.00
Urban	22.77	29.96	24.08	21.86	1.13	.20	100.00
Rural	35.35	20.61	29.83	12.34	1.87	0.00	100.00
Bahawalpur	26.58	22.82	45.61	3.60	1.01	.38	100.00
Urban	23.94	22.13	47.27	4.45	2.21	0.00	100.00
Rural	27.78	23.13	44.86	3.21	.46	.56	100.00
Bhakkar	19.09	18.45	55.02	6.24	.40	.81	100.00
Urban	12.31	16.63	56.19	13.08	1.21	.59	100.00
Rural	20.26	18.76	54.82	5.07	.26	.85	100.00
Chakwal	10.39	23.79	52.66	10.26	2.58	.31	100.00
Urban	15.44	21.13	58.10	4.39	.29	.65	100.00
Rural	9.38	24.33	51.57	11.43	3.04	.24	100.00
Chiniot	4.46	30.60	49.13	14.58	.89	.35	100.00
Urban	2.12	27.54	55.25	15.09	0.00	0.00	100.00
Rural	5.60	32.08	46.15	14.33	1.32	.52	100.00
D.G Khan	13.76	29.52	50.17	5.33	1.03	.19	100.00
Urban	2.47	30.04	50.85	13.09	3.21	.35	100.00
Rural	16.18	29.41	50.03	3.66	.56	.16	100.00
Faisalabad	4.52	26.06	53.05	15.10	.97	.30	100.00
Urban	4.92	30.28	52.47	11.58	.52	.22	100.00
Rural	4.15	22.23	53.58	18.29	1.38	.37	100.00
Gujranwala	10.69	24.47	44.46	16.11	4.07	.21	100.00
Urban	10.94	21.19	45.31	17.99	4.41	.17	100.00
Rural	10.29	29.42	43.18	13.27	3.55	.29	100.00
Gujrat	4.57	25.50	55.67	12.46	1.81	0.00	100.00
Urban	6.12	24.16	51.31	14.99	3.43	0.00	100.00
Rural	3.94	26.04	57.44	11.43	1.15	0.00	100.00
Hafizabad	4.68	26.95	54.60	11.11	2.57	.09	100.00
Urban	5.07	26.07	59.92	8.05	.89	0.00	100.00
Rural	4.47	27.44	51.61	12.83	3.52	.14	100.00
Islamabad	13.55	17.43	56.82	8.79	3.23	.18	100.00
Urban	10.82	16.21	60.02	8.99	3.69	.27	100.00
Rural	16.44	18.73	53.43	8.59	2.74	.08	100.00
Jehlum	15.35	19.21	57.09	6.67	1.38	.30	100.00
Urban	15.69	15.38	66.06	1.72	.43	.72	100.00
Rural	15.25	20.39	54.32	8.20	1.67	.17	100.00
Jhang	19.11	29.56	33.65	15.53	1.89	.26	100.00
Urban	29.20	28.48	26.94	13.74	1.24	.41	100.00
Rural	15.49	29.94	36.06	16.17	2.13	.20	100.00
Kasur	17.11	37.93	32.08	12.05	.76	.07	100.00
Urban	19.86	42.88	25.23	11.10	.81	.12	100.00
Rural	16.23	36.34	34.28	12.36	.75	.05	100.00
Khanewal	18.40	30.03	30.87	14.95	5.56	.19	100.00
Urban	13.10	29.16	45.29	9.72	2.30	.41	100.00
Rural	19.67	30.24	27.41	16.20	6.34	.14	100.00

TABLE 8.1:PERCENT DISTRIBUTION OF HOUSEHOLDS BY THE PERCEPTION OF THE ECONOMICS SITUATION OF THE HOUSEHOLD COMPARED OF THE YEAR BEFORE

PROVINCE & DISTRICT	ECONOMICS SITUATION OF VTHE HOUSEHOLD						
	MUCH WORSE	WORSE	SAME	BETTER	MUCH BETTER	DON'T KNOW	TOTAL
Khushab	22.20	28.15	42.50	6.67	.48	0.00	100.00
Urban	18.71	23.89	52.87	3.57	.95	0.00	100.00
Rural	23.52	29.76	38.58	7.85	.30	0.00	100.00
Lahore	15.03	27.84	40.16	12.51	4.24	.21	100.00
Urban	15.03	27.84	40.16	12.51	4.24	.21	100.00
Rural							
Layyah	13.07	39.74	36.54	10.12	.53	0.00	100.00
Urban	2.31	41.86	44.20	11.62	0.00	0.00	100.00
Rural	15.41	39.28	34.87	9.80	.64	0.00	100.00
Lodhran	15.79	30.20	43.01	10.57	.43	0.00	100.00
Urban	23.01	40.92	35.12	.95	0.00	0.00	100.00
Rural	14.42	28.16	44.51	12.40	.52	0.00	100.00
Mandi Bahauddin	5.52	23.65	55.36	12.84	2.57	.05	100.00
Urban	2.18	24.34	56.76	15.53	1.18	0.00	100.00
Rural	6.18	23.51	55.09	12.32	2.84	.06	100.00
Mianwali	9.89	25.73	47.36	14.65	2.22	.14	100.00
Urban	12.79	27.53	43.20	13.76	2.23	.49	100.00
Rural	9.19	25.30	48.38	14.87	2.21	.06	100.00
Multan	8.32	27.45	43.09	16.38	4.58	.18	100.00
Urban	9.41	23.84	36.75	23.35	6.22	.42	100.00
Rural	7.51	30.13	47.81	11.20	3.35	0.00	100.00
Muzaffargarh	9.19	31.40	39.79	17.56	2.02	.03	100.00
Urban	19.03	15.03	37.93	23.05	4.76	.20	100.00
Rural	7.47	34.26	40.12	16.61	1.55	0.00	100.00
Nankana Sahib	9.76	12.81	64.40	9.16	3.79	.07	100.00
Urban	12.05	20.00	54.88	8.83	4.24	0.00	100.00
Rural	9.22	11.12	66.65	9.24	3.69	.09	100.00
Narowal	1.94	15.29	54.45	23.90	4.42	0.00	100.00
Urban	1.07	8.66	84.51	5.76	0.00	0.00	100.00
Rural	2.11	16.57	48.63	27.41	5.27	0.00	100.00
Okara	2.63	17.59	67.06	11.50	.91	.30	100.00
Urban	1.51	17.47	65.50	13.64	1.38	.50	100.00
Rural	3.01	17.64	67.61	10.76	.75	.23	100.00
Pakpattan	3.96	23.07	64.60	8.00	.31	.06	100.00
Urban	4.60	21.02	61.70	11.78	.90	0.00	100.00
Rural	3.85	23.43	65.10	7.36	.20	.07	100.00
Rahim Yar Khan	8.48	24.03	43.91	20.23	3.19	.16	100.00
Urban	17.20	23.59	39.63	15.18	3.65	.76	100.00
Rural	6.16	24.14	45.04	21.57	3.07	0.00	100.00
Rajanpur	11.99	23.67	54.47	9.22	.58	.06	100.00
Urban	3.61	24.60	58.85	12.53	.40	0.00	100.00
Rural	13.82	23.47	53.52	8.50	.62	.08	100.00
Rawalpindi	9.63	16.36	59.41	11.80	2.55	.25	100.00
Urban	11.01	17.46	55.79	12.69	2.94	.11	100.00
Rural	8.21	15.23	63.13	10.90	2.14	.39	100.00
Sahiwal	3.45	20.71	58.72	14.31	1.16	1.65	100.00
Urban	4.83	20.30	53.71	16.83	3.31	1.03	100.00
Rural	3.10	20.81	59.99	13.67	.62	1.81	100.00
Sargodha	20.25	24.92	45.25	9.01	.53	.04	100.00
Urban	22.11	23.50	44.89	8.74	.76	0.00	100.00
Rural	19.47	25.52	45.41	9.12	.43	.05	100.00
Sheikhupura	20.65	29.23	35.15	9.48	5.39	.11	100.00
Urban	19.14	29.94	29.65	12.78	8.36	.11	100.00
Rural	21.43	28.86	37.98	7.77	3.86	.10	100.00
Sialkot	2.21	17.90	56.93	18.47	4.33	.16	100.00
Urban	5.10	19.32	60.15	8.23	7.20	0.00	100.00
Rural	.91	17.26	55.49	23.06	3.04	.24	100.00
Toba Tek Singh	17.53	38.56	24.97	15.70	3.16	.08	100.00
Urban	28.58	33.14	24.26	7.85	5.78	.39	100.00
Rural	14.45	40.06	25.16	17.89	2.43	0.00	100.00
Vehari	6.47	15.30	30.18	40.39	7.68	0.00	100.00
Urban	6.61	18.04	49.41	22.84	3.09	0.00	100.00
Rural	6.44	14.73	26.21	44.00	8.62	0.00	100.00

TABLE 8.1:PERCENT DISTRIBUTION OF HOUSEHOLDS BY THE PERCEPTION OF THE ECONOMICS SITUATION OF THE HOUSEHOLD COMPARED OF THE YEAR BEFORE

PROVINCE & DISTRICT	ECONOMICS SITUATION OF VTHE HOUSEHOLD						
	MUCH WORSE	WORSE	SAME	BETTER	MUCH BETTER	DON'T KNOW	TOTAL
Sindh	10.66	28.88	46.97	8.84	1.91	2.74	100.00
Urban	9.23	29.64	45.33	9.69	2.32	3.79	100.00
Rural	12.43	27.92	49.01	7.78	1.41	1.45	100.00
Badin	15.29	40.05	36.13	7.87	.05	.61	100.00
Urban	7.43	35.88	41.19	13.67	.20	1.63	100.00
Rural	17.82	41.39	34.50	6.01	0.00	.28	100.00
Dadu	27.64	11.61	57.02	3.29	.45	0.00	100.00
Urban	13.94	15.97	59.37	9.80	.92	0.00	100.00
Rural	31.56	10.37	56.34	1.42	.31	0.00	100.00
Ghotki	18.01	17.80	41.42	17.53	5.25	0.00	100.00
Urban	9.46	21.99	49.75	15.73	3.07	0.00	100.00
Rural	20.20	16.73	39.28	17.99	5.80	0.00	100.00
Hyderabad	11.85	28.37	43.08	12.92	1.99	1.80	100.00
Urban	9.40	27.03	46.47	12.90	2.32	1.88	100.00
Rural	26.57	36.36	22.67	13.08	0.00	1.32	100.00
Jacobabad	17.45	15.00	66.10	.75	.21	.50	100.00
Urban	15.57	5.76	75.68	2.52	0.00	.47	100.00
Rural	18.05	17.96	63.02	.19	.27	.51	100.00
Jamshoro	43.71	39.60	14.90	.45	.27	1.07	100.00
Urban	40.13	43.21	15.72	.23	.71	0.00	100.00
Rural	45.94	37.36	14.39	.59	0.00	1.73	100.00
Karachi	10.50	30.97	42.06	8.94	3.18	4.35	100.00
Urban	10.50	30.97	42.06	8.94	3.18	4.35	100.00
Rural							
Karachi East	5.57	26.03	49.23	10.82	1.75	6.61	100.00
Urban	5.57	26.03	49.23	10.82	1.75	6.61	100.00
Rural							
Karachi Malir	7.07	35.79	43.64	6.31	.47	6.72	100.00
Urban	7.00	44.76	39.46	7.83	.23	.71	100.00
East	7.14	25.50	48.44	4.57	.74	13.62	100.00
Karachi South	14.60	31.26	48.09	3.94	.30	1.80	100.00
Urban	14.60	31.26	48.09	3.94	.30	1.80	100.00
Rural							
Karachi west	12.04	35.33	36.23	3.60	5.28	7.53	100.00
Urban	11.95	33.87	38.08	3.78	5.55	6.78	100.00
Rural	13.84	63.92	0.00	0.00	0.00	22.23	100.00
Kashmore	.47	3.61	95.08	.84	0.00	0.00	100.00
Urban	1.11	8.76	87.93	2.20	0.00	0.00	100.00
Rural	.29	2.17	97.08	.46	0.00	0.00	100.00
Khairpur	5.13	14.42	55.59	23.54	1.26	.05	100.00
Urban	6.14	12.80	46.07	32.79	2.21	0.00	100.00
Rural	4.70	15.13	59.72	19.53	.85	.08	100.00
Korangi	5.77	36.65	45.91	6.68	0.00	4.98	100.00
Urban	5.77	36.65	45.91	6.68	0.00	4.98	100.00
Rural							
Larkana	.64	.46	89.50	6.15	1.17	2.08	100.00
Urban	.79	.83	81.50	10.07	2.35	4.45	100.00
Rural	.50	.13	96.54	2.70	.12	0.00	100.00
Mitiari	12.15	34.79	45.52	6.20	1.34	0.00	100.00
Urban	18.80	33.05	42.49	4.68	.97	0.00	100.00
Rural	10.37	35.25	46.34	6.61	1.44	0.00	100.00
Mirpur Khas	3.50	64.99	18.28	11.41	1.57	.25	100.00
Urban	.94	68.20	21.39	8.41	.32	.75	100.00
Rural	4.41	63.84	17.16	12.49	2.01	.07	100.00

TABLE 8.1:PERCENT DISTRIBUTION OF HOUSEHOLDS BY THE PERCEPTION OF THE ECONOMICS SITUATION OF THE HOUSEHOLD COMPARED OF THE YEAR BEFORE

PROVINCE & DISTRICT	ECONOMICS SITUATION OF VTHE HOUSEHOLD						
	MUCH WORSE	WORSE	SAME	BETTER	MUCH BETTER	DON'T KNOW	TOTAL
Naushahro Feroze	11.02	4.75	75.73	7.88	.32	.30	100.00
Urban	7.23	3.94	77.52	10.29	.65	.37	100.00
Rural	11.78	4.91	75.37	7.40	.26	.29	100.00
Sanghar	.97	18.59	67.32	12.78	.34	0.00	100.00
Urban	.31	14.85	66.77	18.07	0.00	0.00	100.00
Rural	1.20	19.90	67.52	10.92	.46	0.00	100.00
Shahdadkot	.93	.97	83.45	12.69	1.66	.30	100.00
Urban	0.00	0.00	69.44	26.86	3.70	0.00	100.00
Rural	1.40	1.46	90.50	5.56	.63	.46	100.00
Shaheed Benazirabad	.28	11.73	76.83	10.67	.41	.08	100.00
Urban	0.00	7.81	72.42	19.00	.78	0.00	100.00
Rural	.37	13.03	78.29	7.91	.29	.10	100.00
Shikarpur	33.89	21.24	20.51	11.26	12.53	.57	100.00
Urban	26.49	26.19	24.06	18.42	4.85	0.00	100.00
Rural	36.17	19.72	19.41	9.06	14.91	.74	100.00
Sujawal	30.28	37.01	29.83	2.47	.14	.26	100.00
Urban	4.97	87.34	4.97	0.00	0.00	2.71	100.00
Rural	32.94	31.71	32.45	2.74	.16	0.00	100.00
Sukkur	16.22	30.48	33.20	14.11	5.48	.51	100.00
Urban	20.88	20.17	27.86	19.78	10.14	1.16	100.00
Rural	12.52	38.66	37.44	9.61	1.77	0.00	100.00
Tando Allah Yar	17.62	39.01	36.42	5.83	.23	.89	100.00
Urban	16.83	38.69	29.25	14.59	0.00	.64	100.00
Rural	17.99	39.16	39.69	1.83	.33	1.00	100.00
Tando Muhammad Khan	18.12	38.04	39.87	3.71	.11	.16	100.00
Urban	29.66	28.98	40.13	1.23	0.00	0.00	100.00
Rural	14.69	40.73	39.79	4.44	.14	.21	100.00
Tharparkar	2.40	63.59	21.84	11.46	.70	0.00	100.00
Urban	3.46	46.69	11.35	36.89	1.60	0.00	100.00
Rural	2.31	65.08	22.76	9.23	.63	0.00	100.00
Thatta	27.80	28.65	28.25	1.99	.52	12.77	100.00
Urban	12.68	24.99	34.26	.61	.61	26.85	100.00
Rural	32.11	29.70	26.54	2.39	.50	8.76	100.00
Umerkot	1.79	68.57	14.09	13.93	1.62	0.00	100.00
Urban	1.89	60.14	5.56	28.19	4.23	0.00	100.00
Rural	1.76	70.86	16.41	10.06	.91	0.00	100.00

TABLE 8.1:PERCENT DISTRIBUTION OF HOUSEHOLDS BY THE PERCEPTION OF THE ECONOMICS SITUATION OF THE HOUSEHOLD COMPARED OF THE YEAR BEFORE

PROVINCE & DISTRICT	ECONOMICS SITUATION OF VTHE HOUSEHOLD						
	MUCH WORSE	WORSE	SAME	BETTER	MUCH BETTER	DON'T KNOW	TOTAL
Khyber Pakhtunkhwa	10.80	27.06	41.94	16.65	2.87	.68	100.00
Urban	9.24	24.53	42.62	17.60	4.97	1.05	100.00
Rural	11.09	27.54	41.81	16.47	2.47	.61	100.00
Abbottabad	11.59	25.90	35.62	22.94	3.96	0.00	100.00
Urban	0.00	6.85	43.48	37.62	12.05	0.00	100.00
Rural	14.54	30.75	33.61	19.20	1.90	0.00	100.00
Bajur	26.73	42.77	25.22	4.07	0.00	1.21	100.00
Urban							
Rural	26.73	42.77	25.22	4.07	0.00	1.21	100.00
Bannu	13.31	19.72	39.69	24.39	2.57	.32	100.00
Urban	10.14	15.46	56.87	13.29	0.00	4.24	100.00
Rural	13.46	19.92	38.90	24.90	2.69	.14	100.00
Batagram	14.34	28.27	39.95	16.81	.62	0.00	100.00
Urban							
Rural	14.34	28.27	39.95	16.81	.62	0.00	100.00
Buner	4.19	18.52	59.35	16.44	1.11	.37	100.00
Urban							
Rural	4.19	18.52	59.35	16.44	1.11	.37	100.00
Charsadda	10.30	28.71	44.67	15.22	.81	.29	100.00
Urban	8.88	33.83	41.15	15.68	0.00	.45	100.00
Rural	10.65	27.43	45.55	15.11	1.01	.25	100.00
Chitral	13.95	20.74	27.12	25.16	12.18	.85	100.00
Urban	0.00	18.81	22.77	34.65	23.76	0.00	100.00
Rural	15.74	20.98	27.68	23.94	10.70	.96	100.00
D.I Khan	2.02	12.87	60.75	18.77	5.23	.36	100.00
Urban	5.52	11.29	61.93	9.64	10.55	1.07	100.00
Rural	1.09	13.30	60.43	21.21	3.81	.17	100.00
Hangu	1.07	12.74	74.40	10.64	.42	.73	100.00
Urban	.93	7.15	80.35	11.57	0.00	0.00	100.00
Rural	1.09	13.56	73.52	10.51	.48	.84	100.00
Haripur	17.10	45.99	25.80	10.16	.95	0.00	100.00
Urban	23.96	55.74	14.98	5.32	0.00	0.00	100.00
Rural	16.17	44.68	27.26	10.81	1.08	0.00	100.00
Karak	5.84	8.21	64.26	18.79	2.63	.28	100.00
Urban	3.57	0.00	78.57	17.86	0.00	0.00	100.00
Rural	5.93	8.54	63.67	18.83	2.74	.29	100.00
Khyber	3.29	21.15	46.81	28.65	.11	0.00	100.00
Urban	0.00	17.86	57.14	25.00	0.00	0.00	100.00
Rural	3.89	21.75	44.90	29.32	.13	0.00	100.00
Kohat	14.23	42.92	40.81	1.48	.35	.21	100.00
Urban	2.12	15.97	72.11	6.31	2.17	1.32	100.00
Rural	16.54	48.06	34.84	.55	0.00	0.00	100.00
Kohistan	13.65	42.36	28.92	13.05	.23	1.79	100.00
Urban							
Rural	13.65	42.36	28.92	13.05	.23	1.79	100.00
Kurram	12.88	19.25	37.54	20.03	10.07	.24	100.00
Urban							
Rural	12.88	19.25	37.54	20.03	10.07	.24	100.00
Lakki Marwat	7.53	14.97	49.09	25.51	1.98	.93	100.00
Urban	9.70	11.22	21.43	52.04	2.04	3.57	100.00
Rural	7.28	15.40	52.27	22.47	1.97	.62	100.00
Lower Dir	17.35	32.59	26.78	15.07	7.92	.28	100.00
Urban	63.33	23.33	13.33	0.00	0.00	0.00	100.00
Rural	16.93	32.68	26.90	15.21	7.99	.29	100.00

TABLE 8.1:PERCENT DISTRIBUTION OF HOUSEHOLDS BY THE PERCEPTION OF THE ECONOMICS SITUATION OF THE HOUSEHOLD COMPARED OF THE YEAR BEFORE

	ECONOMICS SITUATION OF VTHE HOUSEHOLD						
PROVINCE & DISTRICT	MUCH WORSE	WORSE	SAME	BETTER	MUCH BETTER	DON'T KNOW	TOTAL
Malakand PA	4.91	23.71	28.31	25.50	14.40	3.17	100.00
Urban	7.41	22.22	37.04	14.81	0.00	18.52	100.00
Rural	4.65	23.86	27.41	26.60	15.89	1.59	100.00
Mansehra	23.17	14.62	48.27	13.47	.47	0.00	100.00
Urban	38.41	12.71	34.68	13.26	.93	0.00	100.00
Rural	22.15	14.75	49.17	13.48	.44	0.00	100.00
Mardan	6.68	26.10	50.21	15.52	1.20	.29	100.00
Urban	7.00	30.56	43.72	15.82	2.48	.43	100.00
Rural	6.60	25.12	51.64	15.45	.92	.26	100.00
Mohmand	6.73	37.95	41.12	12.64	1.03	.54	100.00
Urban							
Rural	6.73	37.95	41.12	12.64	1.03	.54	100.00
North Waziristan	9.62	28.74	22.67	34.68	4.00	.29	100.00
Urban							
Rural	9.62	28.74	22.67	34.68	4.00	.29	100.00
Nowshera	3.93	31.05	48.87	14.57	.50	1.09	100.00
Urban	3.12	36.68	38.36	21.23	0.00	.62	100.00
Rural	4.16	29.41	51.93	12.63	.64	1.23	100.00
Orkazi	.87	22.55	50.82	22.81	1.75	1.20	100.00
Urban							
Rural	.87	22.55	50.82	22.81	1.75	1.20	100.00
Peshawar	4.70	32.57	42.55	16.17	2.56	1.44	100.00
Urban	3.10	26.63	45.33	19.39	4.19	1.36	100.00
Rural	5.99	37.35	40.31	13.59	1.26	1.50	100.00
Shangla	41.87	42.84	12.75	.41	0.00	2.13	100.00
Urban							
Rural	41.87	42.84	12.75	.41	0.00	2.13	100.00
South waziristan	5.42	9.31	63.05	22.04	0.00	.18	100.00
Urban							
Rural	5.42	9.31	63.05	22.04	0.00	.18	100.00
Swabi	4.79	30.54	54.89	8.68	.36	.74	100.00
Urban	6.09	38.52	42.85	11.94	0.00	.60	100.00
Rural	4.54	29.06	57.13	8.07	.43	.77	100.00
Swat	25.57	36.30	26.70	8.53	2.56	.34	100.00
Urban	32.37	26.30	23.06	10.44	7.32	.51	100.00
Rural	22.19	41.27	28.51	7.59	.20	.25	100.00
Tank	1.26	14.95	35.16	40.80	7.58	.25	100.00
Urban	13.33	13.33	43.33	23.33	6.67	0.00	100.00
Rural	.46	15.06	34.62	41.96	7.64	.26	100.00
Tor Ghar	8.20	26.60	23.12	28.63	0.00	13.45	100.00
Urban							
Rural	8.20	26.60	23.12	28.63	0.00	13.45	100.00
Upper Dir	3.90	24.48	25.46	28.02	17.86	.28	100.00
Urban	0.00	0.00	7.14	25.00	67.86	0.00	100.00
Rural	4.09	25.66	26.34	28.17	15.45	.30	100.00

TABLE 8.1:PERCENT DISTRIBUTION OF HOUSEHOLDS BY THE PERCEPTION OF THE ECONOMICS SITUATION OF THE HOUSEHOLD COMPARED OF THE YEAR BEFORE

PROVINCE & DISTRICT	ECONOMICS SITUATION OF VTHE HOUSEHOLD						
	MUCH WORSE	WORSE	SAME	BETTER	MUCH BETTER	DON'T KNOW	TOTAL
Balochistan	19.60	21.99	43.30	12.93	1.83	.35	100.00
Urban	16.77	20.32	39.47	19.43	3.13	.89	100.00
Rural	20.66	22.62	44.73	10.49	1.35	.15	100.00
Awaran	69.74	2.31	26.30	1.65	0.00	0.00	100.00
Urban	63.33	0.00	33.33	3.33	0.00	0.00	100.00
Rural	70.48	2.57	25.49	1.46	0.00	0.00	100.00
Barkhan	2.59	12.06	84.29	1.05	0.00	0.00	100.00
Urban	0.00	0.00	100.00	0.00	0.00	0.00	100.00
Rural	3.16	14.69	80.87	1.28	0.00	0.00	100.00
Dera Bugti	16.09	3.99	52.54	27.37	0.00	0.00	100.00
Urban	32.77	1.13	22.47	43.63	0.00	0.00	100.00
Rural	9.68	5.09	64.11	21.11	0.00	0.00	100.00
Duki	17.36	4.37	77.88	.40	0.00	0.00	100.00
Urban	20.00	0.00	76.67	3.33	0.00	0.00	100.00
Rural	17.00	4.96	78.05	0.00	0.00	0.00	100.00
Gwadar	11.41	6.31	55.17	26.54	.56	0.00	100.00
Urban	4.87	5.83	57.49	31.33	.48	0.00	100.00
Rural	22.47	7.12	51.26	18.44	.71	0.00	100.00
Harnai	1.99	21.18	73.85	1.09	0.00	1.89	100.00
Urban	4.36	21.30	74.33	0.00	0.00	0.00	100.00
Rural	1.04	21.13	73.66	1.52	0.00	2.64	100.00
Jaffarabad	19.06	31.10	49.40	0.00	0.00	.45	100.00
Urban	26.37	21.03	51.97	0.00	0.00	.63	100.00
Rural	16.22	35.00	48.40	0.00	0.00	.39	100.00
Kachhi(Bolan)	28.26	23.68	16.00	31.62	.44	0.00	100.00
Urban	20.64	26.77	41.27	11.32	0.00	0.00	100.00
Rural	29.31	23.25	12.53	34.41	.50	0.00	100.00
Kalat	13.67	15.30	69.01	1.72	0.00	.30	100.00
Urban							
Rural	13.67	15.30	69.01	1.72	0.00	.30	100.00
Kech Turbat	9.48	20.85	45.16	23.46	1.04	0.00	100.00
Urban	16.40	24.36	20.94	38.31	0.00	0.00	100.00
Rural	6.13	19.15	56.91	16.26	1.55	0.00	100.00
Kharan	5.64	69.71	21.53	1.92	1.03	.18	100.00
Urban	2.78	51.82	39.84	5.56	0.00	0.00	100.00
Rural	6.37	74.32	16.80	.98	1.29	.22	100.00
Khuzdar	51.50	.97	45.85	1.39	.09	.19	100.00
Urban							
Rural	51.50	.97	45.85	1.39	.09	.19	100.00
Kohlu	3.56	16.54	51.67	19.69	7.24	1.28	100.00
Urban	7.69	42.31	42.31	3.85	3.85	0.00	100.00
Rural	2.87	12.21	53.25	22.36	7.81	1.50	100.00
Lasbela	7.72	20.07	65.71	6.24	0.00	.26	100.00
Urban	6.34	19.55	66.24	7.37	0.00	.50	100.00
Rural	9.21	20.63	65.14	5.02	0.00	0.00	100.00
Loralai	11.36	13.35	67.28	6.50	1.52	0.00	100.00
Urban	5.41	5.57	72.50	13.05	3.48	0.00	100.00
Rural	15.97	19.37	63.24	1.43	0.00	0.00	100.00
Mastung	14.79	17.70	56.48	10.34	.68	0.00	100.00
Urban	2.93	1.59	78.73	15.16	1.59	0.00	100.00
Rural	17.52	21.42	51.36	9.23	.47	0.00	100.00
Nasirabad	65.45	21.24	13.31	0.00	0.00	0.00	100.00
Urban	78.10	20.42	1.48	0.00	0.00	0.00	100.00
Rural	62.83	21.41	15.76	0.00	0.00	0.00	100.00

TABLE 8.1:PERCENT DISTRIBUTION OF HOUSEHOLDS BY THE PERCEPTION OF THE ECONOMICS SITUATION OF THE HOUSEHOLD COMPARED OF THE YEAR BEFORE

PROVINCE & DISTRICT	ECONOMICS SITUATION OF VTHE HOUSEHOLD						
	MUCH WORSE	WORSE	SAME	BETTER	MUCH BETTER	DON'T KNOW	TOTAL
Nushki	0.00	75.17	23.49	.42	0.00	.92	100.00
Urban	0.00	76.01	22.25	1.74	0.00	0.00	100.00
Rural	0.00	74.90	23.89	0.00	0.00	1.21	100.00
Pishin	17.55	25.89	25.10	26.57	4.81	.08	100.00
Urban	4.48	17.06	32.78	33.85	11.44	.39	100.00
Rural	20.68	27.99	23.27	24.83	3.23	0.00	100.00
Killa Abdullah	19.91	37.63	27.42	11.08	3.88	.08	100.00
Urban	31.46	18.79	36.66	8.49	3.89	.71	100.00
Rural	18.40	40.10	26.21	11.42	3.88	0.00	100.00
Killa Saifullah	15.85	27.41	41.87	13.80	.73	.34	100.00
Urban							
Rural	15.85	27.41	41.87	13.80	.73	.34	100.00
Quetta	20.12	24.98	28.11	21.31	4.28	1.20	100.00
Urban	18.63	23.40	26.41	23.41	5.81	2.34	100.00
Rural	21.43	26.36	29.59	19.48	2.94	.20	100.00
Shaheed Sakindar	13.61	18.90	64.44	3.06	0.00	0.00	100.00
Urban							
Rural	13.61	18.90	64.44	3.06	0.00	0.00	100.00
Sheerani	14.76	3.35	81.10	0.00	0.00	.78	100.00
Urban							
Rural	14.76	3.35	81.10	0.00	0.00	.78	100.00
Sibi	28.21	32.46	8.74	26.27	4.32	0.00	100.00
Urban	19.81	29.68	12.31	29.26	8.94	0.00	100.00
Rural	33.72	34.28	6.39	24.31	1.30	0.00	100.00
Sohbat pur	.70	5.35	93.96	0.00	0.00	0.00	100.00
Urban	3.57	39.29	57.14	0.00	0.00	0.00	100.00
Rural	.46	2.57	96.97	0.00	0.00	0.00	100.00
Washuk	5.15	4.44	85.90	4.16	.29	.07	100.00
Urban	0.00	15.49	79.33	5.18	0.00	0.00	100.00
Rural	6.14	2.32	87.16	3.96	.34	.08	100.00
Ziarat	13.71	19.59		1.04	.35	.20	100.00
Urban	69.23	26.92	3.85	0.00	0.00	0.00	100.00
Rural	12.77	19.47	66.15	1.06	.35	.20	100.00

TABLE 8.2 PERCENT DISTRIBUTION OF HOUSEHOLDS BY THE PERCEPTION OF THE SITUATION OF THE COMMUNITY AS COMPARED TO YEAR BEFORE THE SURVEY

PROVINCE & DISTRICT	ECONOMIC SITUATION OF THE HOUSEHOLD						
	MUCH WORSE	WORSE	SAME	BETTER	MUCH BETTER	DON'T KNOW	TOTAL
Pakistan	11.03	23.39	47.51	10.55	1.24	6.29	100.00
Urban	10.23	23.55	47.03	9.41	1.56	8.22	100.00
Rural	11.54	23.29	47.81	11.28	1.03	5.06	100.00
Punjab	10.20	22.69	51.33	9.67	1.09	5.03	100.00
Urban	10.22	22.26	51.18	8.44	1.22	6.67	100.00
Rural	10.18	22.95	51.42	10.41	1.00	4.04	100.00
Attock	6.50	11.33	78.85	1.19	0.00	2.13	100.00
Urban	3.70	8.71	81.75	1.71	0.00	4.13	100.00
Rural	7.56	12.32	77.76	.99	0.00	1.38	100.00
Bhawal Nagar	29.97	18.45	42.36	8.66	.07	.49	100.00
Urban	18.94	30.67	36.80	11.95	.35	1.28	100.00
Rural	32.81	15.30	43.80	7.81	0.00	.29	100.00
Bahawalpur	31.36	18.42	26.82	20.00	.37	3.03	100.00
Urban	28.39	18.11	27.14	22.06	.94	3.35	100.00
Rural	32.71	18.56	26.68	19.07	.11	2.88	100.00
Bhakkar	5.12	14.06	64.94	2.42	.36	13.10	100.00
Urban	1.13	9.69	74.98	3.80	0.00	10.40	100.00
Rural	5.81	14.82	63.20	2.19	.42	13.57	100.00
Chakwal	7.69	27.97	43.70	5.28	0.00	15.36	100.00
Urban	7.50	23.60	61.79	0.00	0.00	7.11	100.00
Rural	7.73	28.85	40.07	6.34	0.00	17.01	100.00
Chiniot	2.00	25.63	60.42	4.39	.28	7.28	100.00
Urban	.95	21.12	69.88	.56	0.00	7.49	100.00
Rural	2.50	27.83	55.81	6.25	.42	7.17	100.00
D.G Khan	18.42	34.17	43.08	1.81	.20	2.32	100.00
Urban	1.05	40.54	54.78	1.98	.19	1.47	100.00
Rural	22.14	32.81	40.57	1.77	.20	2.50	100.00
Faisalabad	1.63	17.45	55.72	13.64	.25	11.31	100.00
Urban	1.29	21.30	57.32	8.83	.07	11.20	100.00
Rural	1.94	13.96	54.28	17.98	.42	11.42	100.00
Gujranwala	10.06	19.08	55.37	11.62	1.24	2.63	100.00
Urban	10.82	18.30	54.00	11.47	1.81	3.60	100.00
Rural	8.92	20.26	57.42	11.85	.40	1.15	100.00
Gujrat	4.89	20.95	65.43	8.29	.31	.14	100.00
Urban	8.04	26.23	57.43	7.86	.43	0.00	100.00
Rural	3.61	18.82	68.65	8.46	.26	.19	100.00
Hafizabad	2.07	12.01	73.35	11.22	1.21	.14	100.00
Urban	3.15	12.65	72.51	11.29	0.00	.40	100.00
Rural	1.46	11.65	73.82	11.18	1.89	0.00	100.00
Islamabad	8.40	11.41	58.20	4.01	1.33	16.65	100.00
Urban	7.04	10.48	59.84	3.24	.75	18.65	100.00
Rural	9.84	12.39	56.46	4.83	1.94	14.54	100.00
Jehlum	15.51	12.85	53.39	6.38	.65	11.22	100.00
Urban	8.02	9.73	63.34	2.68	0.00	16.23	100.00
Rural	17.81	13.82	50.32	7.52	.85	9.68	100.00
Jhang	16.49	25.84	46.40	6.09	.19	5.00	100.00
Urban	16.37	28.90	32.82	8.68	.33	12.90	100.00
Rural	16.53	24.74	51.27	5.16	.14	2.17	100.00
Kasur	10.30	30.71	45.03	3.83	0.00	10.13	100.00
Urban	13.65	26.09	47.89	2.24	0.00	10.12	100.00
Rural	9.22	32.20	44.10	4.34	0.00	10.13	100.00
Khanewal	20.01	23.78	35.19	11.43	6.22	3.36	100.00
Urban	12.05	26.67	54.29	6.16	.28	.55	100.00
Rural	21.92	23.08	30.61	12.69	7.65	4.04	100.00

TABLE 8.2 PERCENT DISTRIBUTION OF HOUSEHOLDS BY THE PERCEPTION OF THE SITUATION OF THE COMMUNITY AS COMPARED TO YEAR BEFORE THE SURVEY

PROVINCE & DISTRICT	ECONOMIC SITUATION OF THE HOUSEHOLD						
	MUCH WORSE	WORSE	SAME	BETTER	MUCH BETTER	DON'T KNOW	TOTAL
Khushab	6.61	33.18	58.28	1.84	.09	0.00	100.00
Urban	6.61	28.66	59.45	4.96	.32	0.00	100.00
Rural	6.61	34.89	57.84	.66	0.00	0.00	100.00
Lahore	11.89	24.00	49.06	5.93	.53	8.58	100.00
Urban	11.89	24.00	49.06	5.93	.53	8.58	100.00
Rural							
Layyah	6.61	76.35	16.03	.32	0.00	.69	100.00
Urban	0.00	59.61	39.34	1.06	0.00	0.00	100.00
Rural	8.04	79.99	10.97	.16	0.00	.84	100.00
Lodhran	5.04	30.39	56.45	4.12	4.00	0.00	100.00
Urban	5.30	50.70	44.00	0.00	0.00	0.00	100.00
Rural	4.99	26.52	58.82	4.91	4.77	0.00	100.00
Mandi Bahauddin	2.59	12.43	70.24	14.00	.74	0.00	100.00
Urban	2.09	12.38	72.12	13.42	0.00	0.00	100.00
Rural	2.68	12.44	69.88	14.12	.89	0.00	100.00
Mianwali	5.21	22.63	58.40	6.40	.93	6.43	100.00
Urban	8.03	20.64	54.10	7.32	.91	9.00	100.00
Rural	4.53	23.12	59.44	6.17	.93	5.81	100.00
Multan	7.44	29.87	38.84	18.47	4.21	1.17	100.00
Urban	10.18	27.05	36.09	18.76	6.33	1.59	100.00
Rural	5.40	31.96	40.88	18.26	2.63	.86	100.00
Muzaffargarh	12.11	31.64	38.91	15.62	.80	.92	100.00
Urban	27.91	25.08	21.47	21.02	1.61	2.91	100.00
Rural	9.35	32.79	41.95	14.68	.66	.58	100.00
Nankana Sahib	11.05	17.78	65.25	5.29	.31	.31	100.00
Urban	20.60	17.60	53.24	8.08	.47	0.00	100.00
Rural	8.80	17.82	68.09	4.63	.27	.38	100.00
Narowal	6.03	10.76	49.38	28.29	4.69	.85	100.00
Urban	0.00	.58	81.22	18.20	0.00	0.00	100.00
Rural	7.19	12.74	43.21	30.24	5.60	1.01	100.00
Okara	2.04	16.33	57.32	12.92	0.00	11.41	100.00
Urban	1.49	17.75	47.56	20.10	0.00	13.11	100.00
Rural	2.22	15.83	60.71	10.42	0.00	10.81	100.00
Pakpattan	5.06	21.09	59.43	4.69	0.00	9.74	100.00
Urban	5.47	22.05	59.82	2.50	0.00	10.17	100.00
Rural	4.98	20.93	59.36	5.06	0.00	9.66	100.00
Rahim Yar Khan	6.69	19.72	53.84	18.44	.53	.78	100.00
Urban	20.72	19.13	47.48	10.29	.16	2.22	100.00
Rural	2.97	19.88	55.53	20.60	.63	.40	100.00
Rajanpur	22.21	21.20	44.23	9.93	2.12	.31	100.00
Urban	4.55	17.40	57.98	15.01	5.05	0.00	100.00
Rural	26.06	22.03	41.22	8.82	1.48	.38	100.00
Rawalpindi	5.76	17.38	63.83	3.56	1.40	8.07	100.00
Urban	6.35	17.49	60.22	5.14	1.43	9.36	100.00
Rural	5.14	17.27	67.54	1.94	1.37	6.74	100.00
Sahiwal	4.61	20.12	56.61	8.59	.24	9.82	100.00
Urban	5.42	24.55	52.37	12.18	.53	4.95	100.00
Rural	4.40	19.00	57.69	7.68	.16	11.06	100.00
Sargodha	4.53	31.01	61.57	2.42	.30	.18	100.00
Urban	5.90	34.04	55.22	3.51	.86	.46	100.00
Rural	3.95	29.73	64.25	1.95	.06	.06	100.00
Sheikhupura	24.19	24.27	42.83	5.36	.35	3.00	100.00
Urban	15.25	26.56	44.13	8.45	.62	5.00	100.00
Rural	28.80	23.09	42.16	3.77	.21	1.97	100.00
Sialkot	3.90	13.42	58.01	19.58	4.61	.48	100.00
Urban	8.07	8.28	61.58	11.16	9.82	1.09	100.00
Rural	2.03	15.73	56.41	23.36	2.26	.21	100.00
Toba Tek Singh	19.11	26.99	38.33	10.31	1.61	3.64	100.00
Urban	37.29	19.03	26.44	6.40	5.72	5.13	100.00
Rural	14.04	29.22	41.64	11.41	.47	3.23	100.00
Vehari	.68	15.76	67.37	15.10	.87	.22	100.00
Urban	.31	14.56	65.92	14.76	3.15	1.29	100.00
Rural	.75	16.00	67.67	15.17	.40	0.00	100.00

TABLE 8.2 PERCENT DISTRIBUTION OF HOUSEHOLDS BY THE PERCEPTION OF THE SITUATION OF THE COMMUNITY AS COMPARED TO YEAR BEFORE THE SURVEY

PROVINCE & DISTRICT	ECONOMIC SITUATION OF THE HOUSEHOLD						
	MUCH WORSE	WORSE	SAME	BETTER	MUCH BETTER	DON'T KNOW	TOTAL
Sindh	11.50	25.53	44.70	8.65	1.46	8.17	100.00
Urban	10.09	26.42	43.12	8.29	1.78	10.30	100.00
Rural	13.25	24.42	46.65	9.09	1.06	5.53	100.00
Badin	19.43	39.01	36.22	.52	0.00	4.82	100.00
Urban	13.37	31.98	49.29	0.00	0.00	5.36	100.00
Rural	21.38	41.27	32.02	.69	0.00	4.65	100.00
Dadu	31.92	10.39	54.79	1.09	.60	1.22	100.00
Urban	23.90	10.05	56.10	2.30	2.18	5.47	100.00
Rural	34.21	10.49	54.41	.74	.15	0.00	100.00
Ghotki	20.22	5.18	41.11	15.48	2.71	15.30	100.00
Urban	9.53	6.11	52.85	10.45	1.82	19.24	100.00
Rural	22.95	4.94	38.10	16.76	2.94	14.30	100.00
Hyderabad	11.58	29.83	47.75	2.90	1.05	6.89	100.00
Urban	9.31	30.18	49.17	3.38	1.23	6.72	100.00
Rural	25.21	27.68	39.19	0.00	0.00	7.92	100.00
Jacobabad	16.80	13.85	64.36	.65	.38	3.96	100.00
Urban	11.28	11.24	71.08	.94	0.00	5.46	100.00
Rural	18.57	14.69	62.20	.56	.51	3.47	100.00
Jamshoro	54.87	23.82	19.06	0.00	0.00	2.25	100.00
Urban	42.03	37.41	19.87	0.00	0.00	.68	100.00
Rural	62.83	15.39	18.55	0.00	0.00	3.22	100.00
Karachi	15.19	24.67	36.23	7.39	2.17	14.34	100.00
Urban	15.19	24.67	36.23	7.39	2.17	14.34	100.00
Rural							
Karachi East	5.20	24.01	43.61	8.14	3.21	15.83	100.00
Urban	5.20	24.01	43.61	8.14	3.21	15.83	100.00
Rural							
Karachi Malir	3.73	29.39	44.98	9.42	1.97	10.50	100.00
Urban	3.33	38.88	41.74	7.83	1.59	6.62	100.00
Rural	4.19	18.50	48.70	11.24	2.41	14.96	100.00
Karachi south	17.95	27.90	43.26	2.51	.67	7.71	100.00
Urban	17.95	27.90	43.26	2.51	.67	7.71	100.00
Rural							
Karachi west	12.86	29.74	35.00	7.70	1.18	13.51	100.00
Urban	12.46	28.34	36.79	8.10	1.24	13.07	100.00
Rural	20.59	57.17	0.00	0.00	0.00	22.23	100.00
Kashmore	.39	3.70	95.00	.59	0.00	.32	100.00
Urban	1.79	6.83	89.74	1.25	0.00	.39	100.00
Rural	0.00	2.82	96.47	.41	0.00	.30	100.00
Khairpur	8.52	14.54	52.63	22.29	1.30	.71	100.00
Urban	8.10	14.12	49.60	24.37	2.51	1.30	100.00
Rural	8.70	14.73	53.94	21.39	.77	.46	100.00
Korangi	6.35	32.99	47.06	2.93	.55	10.12	100.00
Urban	6.35	32.99	47.06	2.93	.55	10.12	100.00
Rural							
Larkana	.02	.42	77.61	17.61	.77	3.57	100.00
Urban	0.00	.64	77.95	12.42	1.51	7.48	100.00
Rural	.03	.23	77.30	22.18	.12	.13	100.00
Mitiari	19.25	34.20	45.49	.16	0.00	.91	100.00
Urban	19.58	17.60	60.49	0.00	0.00	2.33	100.00
Rural	19.16	38.66	41.46	.20	0.00	.53	100.00
Mirpur Khas	3.21	68.64	19.70	7.03	.16	1.27	100.00
Urban	2.40	69.01	24.17	3.83	.59	0.00	100.00
Rural	3.50	68.50	18.10	8.17	0.00	1.72	100.00

TABLE 8.2 PERCENT DISTRIBUTION OF HOUSEHOLDS BY THE PERCEPTION OF THE SITUATION OF THE COMMUNITY AS COMPARED TO YEAR BEFORE THE SURVEY

PROVINCE & DISTRICT	ECONOMIC SITUATION OF THE HOUSEHOLD						
	MUCH WORSE	WORSE	SAME	BETTER	MUCH BETTER	DON'T KNOW	TOTAL
Naushahro Feroze	9.00	.45	74.21	.59	0.00	15.74	100.00
Urban	2.41	0.00	81.75	.66	0.00	15.19	100.00
Rural	10.33	.55	72.69	.58	0.00	15.86	100.00
Sanghar	.21	9.94	63.79	21.32	0.00	4.74	100.00
Urban	.45	6.58	56.19	28.28	0.00	8.50	100.00
Rural	.12	11.11	66.46	18.88	0.00	3.42	100.00
Shahdadkot	3.05	.20	66.02	25.63	4.40	.71	100.00
Urban	0.00	0.00	54.33	34.03	11.64	0.00	100.00
Rural	4.58	.30	71.91	21.40	.75	1.06	100.00
Shaheed Benazirabad	1.12	10.67	61.33	20.37	.24	6.27	100.00
Urban	3.93	16.58	46.98	30.02	.97	1.51	100.00
Rural	.19	8.71	66.08	17.17	0.00	7.85	100.00
Shikarpur	13.90	22.98	28.53	9.71	11.93	12.94	100.00
Urban	4.48	28.49	29.03	18.42	2.90	16.68	100.00
Rural	16.81	21.28	28.38	7.02	14.71	11.79	100.00
Sujawal	28.72	34.10	32.53	1.85	.74	2.07	100.00
Urban	2.27	95.03	0.00	0.00	0.00	2.71	100.00
Rural	31.51	27.68	35.95	2.04	.81	2.00	100.00
Sukkur	18.45	21.30	35.84	13.29	3.03	8.10	100.00
Urban	22.50	18.52	26.45	17.92	6.84	7.76	100.00
Rural	15.23	23.51	43.29	9.61	0.00	8.36	100.00
Tando Allah Yar	20.15	34.58	35.75	2.51	.40	6.61	100.00
Urban	21.24	33.34	27.52	.85	0.00	17.04	100.00
Rural	19.65	35.15	39.51	3.26	.59	1.84	100.00
Tando Muhammad	23.24	39.28	35.21	0.00	.25	2.02	100.00
Urban	22.52	29.52	47.96	0.00	0.00	0.00	100.00
Rural	23.45	42.18	31.42	0.00	.32	2.62	100.00
Tharparkar	3.57	63.10	15.66	13.41	0.00	4.26	100.00
Urban	1.73	50.15	0.00	48.12	0.00	0.00	100.00
Rural	3.73	64.24	17.03	10.37	0.00	4.64	100.00
Thatta	27.61	24.43	26.71	5.94	1.14	14.17	100.00
Urban	8.67	26.20	23.93	10.80	3.22	27.17	100.00
Rural	33.00	23.93	27.49	4.56	.55	10.47	100.00
Umerkot	3.32	65.92	22.91	7.85	0.00	0.00	100.00
Urban	1.70	67.49	8.88	21.93	0.00	0.00	100.00
Rural	3.76	65.50	26.71	4.03	0.00	0.00	100.00

TABLE 8.2 PERCENT DISTRIBUTION OF HOUSEHOLDS BY THE PERCEPTION OF THE SITUATION OF THE COMMUNITY AS COMPARED TO YEAR BEFORE THE SURVEY

PROVINCE & DISTRICT	ECONOMIC SITUATION OF THE HOUSEHOLD						
	MUCH WORSE	WORSE	SAME	BETTER	MUCH BETTER	DON'T KNOW	TOTAL
Khyber Pakhtunkhwa	11.17	23.14	39.17	17.02	1.52	7.99	100.00
Urban	9.60	18.52	38.05	20.96	2.96	9.91	100.00
Rural	11.47	24.02	39.39	16.27	1.24	7.62	100.00
Abbottabad	8.40	27.29	41.62	22.69	0.00	0.00	100.00
Urban	0.00	0.00	68.87	31.13	0.00	0.00	100.00
Rural	10.53	34.24	34.68	20.54	0.00	0.00	100.00
Bajur	28.77	29.50	26.58	4.89	0.00	10.27	100.00
Urban							
Rural	28.77	29.50	26.58	4.89	0.00	10.27	100.00
Bannu	26.04	10.85	48.72	10.46	1.94	1.99	100.00
Urban	20.85	1.60	63.74	7.45	2.12	4.24	100.00
Rural	26.29	11.28	48.03	10.60	1.93	1.89	100.00
Batagram	15.42	21.59	46.00	16.99	0.00	0.00	100.00
Urban							
Rural	15.42	21.59	46.00	16.99	0.00	0.00	100.00
Buner	4.75	10.06	54.27	23.62	.12	7.17	100.00
Urban							
Rural	4.75	10.06	54.27	23.62	.12	7.17	100.00
Charsadda	8.72	26.19	43.03	13.01	.08	8.98	100.00
Urban	10.53	23.72	29.79	30.14	0.00	5.83	100.00
Rural	8.27	26.80	46.34	8.73	.10	9.76	100.00
Chitral	13.91	15.69	32.09	28.42	2.01	7.89	100.00
Urban	0.00	10.89	28.71	45.55	13.86	.99	100.00
Rural	15.69	16.30	32.52	26.22	.49	8.78	100.00
D.I Khan	2.28	14.20	46.03	30.01	4.22	3.26	100.00
Urban	2.90	20.51	39.81	24.21	10.93	1.64	100.00
Rural	2.12	12.51	47.69	31.57	2.43	3.69	100.00
Hangu	.46	10.93	79.05	3.57	.07	5.92	100.00
Urban	1.86	3.72	75.08	11.33	.57	7.44	100.00
Rural	.25	11.99	79.64	2.42	0.00	5.70	100.00
Haripur	10.48	53.28	16.13	15.72	3.50	.88	100.00
Urban	17.11	65.90	13.46	2.71	0.00	.81	100.00
Rural	9.59	51.58	16.49	17.48	3.97	.89	100.00
Karak	10.50	7.05	62.87	12.45	1.03	6.09	100.00
Urban	3.57	3.57	64.29	28.57	0.00	0.00	100.00
Rural	10.79	7.19	62.82	11.79	1.07	6.34	100.00
Khyber	4.44	20.11	47.87	27.41	.17	0.00	100.00
Urban	0.00	3.57	53.57	42.86	0.00	0.00	100.00
Rural	5.38	23.64	46.66	24.11	.21	0.00	100.00
Kohat	.96	41.58	35.75	1.86	0.00	19.85	100.00
Urban	.73	7.62	70.04	11.61	0.00	10.00	100.00
Rural	1.01	48.06	29.21	0.00	0.00	21.73	100.00
Kohistan	15.67	42.53	32.79	7.16	.07	1.78	100.00
Urban							
Rural	15.67	42.53	32.79	7.16	.07	1.78	100.00
Kurram	12.46	8.83	26.63	42.10	1.79	8.19	100.00
Urban							
Rural	12.46	8.83	26.63	42.10	1.79	8.19	100.00
Lakki Marwat	19.11	13.51	49.35	6.70	2.62	8.71	100.00
Urban	37.76	6.12	36.23	10.20	3.57	6.12	100.00
Rural	16.97	14.36	50.85	6.29	2.51	9.01	100.00
Lower Dir	14.57	31.90	32.11	18.50	.85	2.07	100.00
Urban	70.00	23.33	6.67	0.00	0.00	0.00	100.00
Rural	14.06	31.98	32.34	18.67	.86	2.09	100.00
Malakand PA	4.33	12.81	29.91	37.76	5.13	10.05	100.00
Urban	0.00	11.11	37.04	3.70	0.00	48.15	100.00
Rural	4.78	12.99	29.18	41.27	5.65	6.13	100.00

TABLE 8.2 PERCENT DISTRIBUTION OF HOUSEHOLDS BY THE PERCEPTION OF THE SITUATION OF THE COMMUNITY AS COMPARED TO YEAR BEFORE THE SURVEY

PROVINCE & DISTRICT	ECONOMIC SITUATION OF THE HOUSEHOLD						
	MUCH WORSE	WORSE	SAME	BETTER	MUCH BETTER	DON'T KNOW	TOTAL
Mansehra	22.20	20.93	39.36	17.37	0.00	.14	100.00
Urban	38.13	20.98	29.21	11.68	0.00	0.00	100.00
Rural	21.13	20.93	40.04	17.75	0.00	.15	100.00
Mardan	4.00	20.60	40.33	23.18	2.25	9.65	100.00
Urban	3.96	12.62	37.68	24.57	6.02	15.15	100.00
Rural	4.01	22.36	40.91	22.87	1.41	8.44	100.00
Mohmand	15.80	15.98	50.76	6.88	.37	10.22	100.00
Urban							
Rural	15.80	15.98	50.76	6.88	.37	10.22	100.00
North wazirirstan	20.24	23.91	19.43	30.28	1.55	4.59	100.00
Urban							
Rural	20.24	23.91	19.43	30.28	1.55	4.59	100.00
Nowshera	2.80	18.21	43.83	15.85	1.52	17.79	100.00
Urban	3.08	18.92	24.79	34.02	0.00	19.19	100.00
Rural	2.72	18.00	49.38	10.56	1.96	17.38	100.00
Orkazai	3.38	16.17	59.82	10.42	0.00	10.20	100.00
Urban							
Rural	3.38	16.17	59.82	10.42	0.00	10.20	100.00
Peshawar	5.34	20.08	43.06	12.92	1.62	16.97	100.00
Urban	2.97	15.09	43.68	20.02	2.25	15.99	100.00
Rural	7.24	24.09	42.57	7.22	1.12	17.75	100.00
Shangla	54.98	35.02	7.27	0.00	0.00	2.73	100.00
Urban							
Rural	54.98	35.02	7.27	0.00	0.00	2.73	100.00
south waziristan	7.60	19.12	53.72	14.94	.17	4.45	100.00
Urban							
Rural	7.60	19.12	53.72	14.94	.17	4.45	100.00
Swabi	4.19	25.37	39.65	6.89	.06	23.84	100.00
Urban	1.98	48.85	26.67	7.49	0.00	15.01	100.00
Rural	4.60	21.01	42.07	6.77	.07	25.49	100.00
Swat	24.26	34.41	24.96	9.19	1.46	5.72	100.00
Urban	36.76	27.18	16.04	11.70	4.08	4.25	100.00
Rural	18.05	37.99	29.39	7.95	.16	6.45	100.00
Tank	1.73	9.21	28.12	60.10	.34	.50	100.00
Urban	10.00	10.00	16.67	63.33	0.00	0.00	100.00
Rural	1.18	9.16	28.88	59.89	.36	.53	100.00
Tor Ghar	15.14	14.32	28.48	20.65	.25	21.16	100.00
Urban							
Rural	15.14	14.32	28.48	20.65	.25	21.16	100.00
Upper Dir	.26	19.10	32.01	32.07	10.85	5.71	100.00
Urban	0.00	0.00	0.00	85.71	14.29	0.00	100.00
Rural	.28	20.02	33.55	29.48	10.69	5.98	100.00

TABLE 8.2 PERCENT DISTRIBUTION OF HOUSEHOLDS BY THE PERCEPTION OF THE SITUATION OF THE COMMUNITY AS COMPARED TO YEAR BEFORE THE SURVEY

PROVINCE & DISTRICT	ECONOMIC SITUATION OF THE HOUSEHOLD						
	MUCH WORSE	WORSE	SAME	BETTER	MUCH BETTER	DON'T KNOW	TOTAL
Balochistan	16.54	20.56	45.80	11.37	.86	4.87	100.00
Urban	12.71	20.61	43.29	15.49	1.76	6.14	100.00
Rural	17.98	20.53	46.74	9.83	.52	4.39	100.00
Awaran	40.76	2.21	47.68	0.00	.17	9.18	100.00
Urban	53.33	0.00	43.33	0.00	0.00	3.33	100.00
Rural	39.32	2.46	48.18	0.00	.19	9.85	100.00
Barkhan	24.13	10.72	64.33	0.00	0.00	.82	100.00
Urban	0.00	0.00	100.00	0.00	0.00	0.00	100.00
Rural	29.39	13.05	56.57	0.00	0.00	.99	100.00
Dera Bugti	16.22	2.37	15.77	54.94	9.77	.93	100.00
Urban	33.90	0.00	0.00	39.31	23.44	3.35	100.00
Rural	9.41	3.28	21.85	60.96	4.50	0.00	100.00
Duki	18.92	3.65	76.91	0.00	0.00	.52	100.00
Urban	23.33	0.00	76.67	0.00	0.00	0.00	100.00
Rural	18.33	4.14	76.94	0.00	0.00	.59	100.00
Gwadar	10.21	7.01	72.98	9.16	.65	0.00	100.00
Urban	5.53	1.94	85.18	7.35	0.00	0.00	100.00
Rural	18.11	15.59	52.35	12.21	1.74	0.00	100.00
Harnai	1.30	18.22	68.37	.43	.47	11.21	100.00
Urban	1.31	30.60	52.03	0.00	1.64	14.42	100.00
Rural	1.30	13.28	74.89	.60	0.00	9.93	100.00
Jaffarabad	15.64	28.76	51.23	0.00	0.00	4.38	100.00
Urban	18.17	18.31	54.07	0.00	0.00	9.45	100.00
Rural	14.65	32.82	50.12	0.00	0.00	2.41	100.00
Kachhi(Bolan)	19.62	23.59	30.23	25.19	.13	1.24	100.00
Urban	1.06	56.50	41.38	0.00	0.00	1.06	100.00
Rural	22.17	19.07	28.70	28.65	.15	1.27	100.00
Kalat	14.07	15.38	63.88	.41	0.00	6.25	100.00
Urban							
Rural	14.07	15.38	63.88	.41	0.00	6.25	100.00
Kech/Turbat	5.14	29.00	61.36	0.00	0.00	4.50	100.00
Urban	7.21	44.98	47.81	0.00	0.00	0.00	100.00
Rural	4.15	21.26	67.91	0.00	0.00	6.68	100.00
Kharan	.70	41.90	30.53	.16	1.18	25.53	100.00
Urban	.97	19.04	71.65	0.00	0.00	8.34	100.00
Rural	.63	47.82	19.88	.20	1.48	29.99	100.00
Khuzdar	43.84	1.30	53.15	.36	0.00	1.35	100.00
Urban							
Rural	43.84	1.30	53.15	.36	0.00	1.35	100.00
Kohlu	.27	1.98	82.60	12.99	2.17	0.00	100.00
Urban	0.00	0.00	80.77	11.54	7.69	0.00	100.00
Rural	.31	2.31	82.91	13.23	1.24	0.00	100.00
Lasbela	1.69	24.28	63.71	.78	.26	9.27	100.00
Urban	.50	30.78	55.64	1.50	.50	11.09	100.00
Rural	2.98	17.26	72.44	0.00	0.00	7.31	100.00
Loralai	32.72	14.90	45.15	3.95	0.00	3.28	100.00
Urban	40.11	10.62	32.95	8.80	0.00	7.52	100.00
Rural	26.99	18.20	54.60	.20	0.00	0.00	100.00
Mastung	23.56	28.75	31.09	11.67	2.50	2.44	100.00
Urban	13.32	17.50	39.61	23.70	2.93	2.93	100.00
Rural	26.07	31.50	29.00	8.72	2.39	2.32	100.00
Nasirabad	54.03	19.42	14.00	0.00	.07	12.48	100.00
Urban	46.77	18.20	1.48	0.00	0.00	33.55	100.00
Rural	55.54	19.67	16.59	0.00	.08	8.11	100.00

TABLE 8.2 PERCENT DISTRIBUTION OF HOUSEHOLDS BY THE PERCEPTION OF THE SITUATION OF THE COMMUNITY AS COMPARED TO YEAR BEFORE THE SURVEY

PROVINCE & DISTRICT	ECONOMIC SITUATION OF THE HOUSEHOLD						
	MUCH WORSE	WORSE	SAME	BETTER	MUCH BETTER	DON'T KNOW	TOTAL
Nushki	.25	36.95	43.18	.27	0.00	19.35	100.00
Urban	0.00	39.02	41.54	0.00	0.00	19.44	100.00
Rural	.33	36.30	43.69	.35	0.00	19.32	100.00
Pishin	15.02	28.66	29.96	24.43	1.27	.66	100.00
Urban	0.00	.64	42.31	52.29	2.72	2.03	100.00
Rural	18.61	35.36	27.01	17.77	.93	.33	100.00
Qilla Abdullah	24.29	31.76	31.06	10.63	1.14	1.13	100.00
Urban	26.81	17.41	40.00	8.35	3.88	3.55	100.00
Rural	23.95	33.64	29.89	10.92	.78	.81	100.00
Qilla Saifullah	16.30	34.07	43.50	4.50	.28	1.36	100.00
Urban							
Rural	16.30	34.07	43.50	4.50	.28	1.36	100.00
Quetta	13.76	21.09	29.94	26.06	1.15	7.99	100.00
Urban	14.75	17.90	31.80	28.24	1.83	5.48	100.00
Rural	12.90	23.89	28.31	24.15	.56	10.19	100.00
Shaheed Sakindar	8.43	8.21	80.80	.20	.36	1.99	100.00
Urban							
Rural	8.43	8.21	80.80	.20	.36	1.99	100.00
Sheerani	16.40	8.06	75.53	0.00	0.00	0.00	100.00
Urban							
Rural	16.40	8.06	75.53	0.00	0.00	0.00	100.00
Sibi	4.16	17.13	49.87	26.79	1.47	.58	100.00
Urban	4.85	24.24	38.67	28.57	2.19	1.47	100.00
Rural	3.71	12.46	57.21	25.62	1.00	0.00	100.00
Sohbat pur	.46	5.93	93.61	0.00	0.00	0.00	100.00
Urban	0.00	32.14	67.86	0.00	0.00	0.00	100.00
Rural	.49	3.78	95.73	0.00	0.00	0.00	100.00
Washuk	2.29	3.85	65.61	28.02	.16	.07	100.00
Urban	0.00	20.66	79.34	0.00	0.00	0.00	100.00
Rural	2.73	.60	62.96	33.44	.19	.08	100.00
Ziarat	11.54	21.46	62.73	.69	0.00	3.58	100.00
Urban	50.00	7.69	42.31	0.00	0.00	0.00	100.00
Rural	10.89	21.70	63.08	.70	0.00	3.64	100.00

Table 8.3 PERCENT DISTRIBUTION OF HOUSEHOLDS SATISFICTION BY FACILITIES &SERVICES USE

PROVINCE & DISTRICT	BASIC HEALTH UNIT	FAMILY PLANNING	PRIMARY SCHOOL	MIDDLE SCHOOL	HIGH SCHOOL	VETERINARY	AGRICULTURE (EXT.)	POLICE
Pakistan	66.82	85.60	96.58	96.79	96.13	77.42	76.50	57.30
Urban	76.28	89.11	97.78	97.66	96.72	85.75	82.92	56.12
Rural	65.40	83.82	95.88	96.18	95.69	76.58	75.86	58.06
Punjab	71.92	88.81	98.44	98.20	97.32	80.95	76.58	56.68
Urban	76.09	89.31	98.63	98.46	97.38	87.22	85.85	56.31
Rural	71.39	88.56	98.32	98.04	97.27	80.32	75.48	56.95
Attock	90.28	98.10	99.73	100.00	98.71	83.66	94.36	56.09
Urban	88.86	100.00	100.00	100.00	98.48	100.00		100.00
Rural	90.44	98.05	99.64	100.00	98.83	83.45	94.36	54.84
Bhawal Nagar	75.62	90.90	95.22	94.65	96.57	80.00	83.73	77.88
Urban	42.04	92.00	95.00	92.77	96.40	75.73	94.13	70.24
Rural	75.91	90.84	95.28	95.32	96.63	80.28	82.67	78.37
Bahawalpur	57.62	98.41	97.75	98.95	98.15	70.25	52.77	41.63
Urban	38.10	97.60	100.00	100.00	98.58	75.52	65.37	39.55
Rural	58.05	99.01	96.71	98.24	97.71	69.88	51.13	42.79
Bhakkar	42.42	100.00	98.31	98.76	97.21	86.36	84.98	21.16
Urban	0.00	100.00	97.89	98.06	100.00	100.00	100.00	31.90
Rural	42.53	100.00	98.39	98.94	96.32	85.12	84.43	19.34
Chakwal	77.22	97.72	99.09	98.97	99.34	96.70	96.11	71.78
Urban		83.83	100.00	98.19	100.00	62.34	100.00	85.70
Rural	77.22	98.34	98.93	99.12	99.26	97.19	96.09	69.60
Chiniot	85.33	100.00	99.05	99.69	99.16	84.17	86.26	54.31
Urban	93.56	100.00	100.00	100.00	100.00	91.48	100.00	55.36
Rural	84.16	100.00	98.64	99.51	98.73	83.28	84.40	53.81
D.G Khan	95.12	95.04	99.28	98.74	99.38	88.04	63.43	71.13
Urban	95.02	86.44	99.47	100.00	100.00	100.00	55.75	66.22
Rural	95.14	96.31	99.23	98.23	99.22	86.93	64.40	72.38
Faisalabad	76.59	90.77	98.71	99.02	98.02	81.17	84.14	44.33
Urban	89.80	92.57	99.88	99.78	98.56	86.82	100.00	37.07
Rural	73.55	89.91	97.70	98.33	97.49	80.59	83.58	50.53
Gujranwala	73.04	72.09	99.18	98.44	98.08	82.57	80.08	52.72
Urban	73.20	62.93	98.93	98.07	97.28	72.19	73.40	45.19
Rural	73.01	86.52	99.53	99.05	99.56	84.94	81.88	70.65
Gujrat	51.48	94.11	99.46	99.86	97.78	88.64	90.30	74.60
Urban	35.66	97.57	100.00	100.00	96.16	100.00	100.00	79.40
Rural	51.75	92.63	99.27	99.81	98.40	87.43	90.14	71.95
Hafizabad	85.65	64.71	98.86	98.75	96.50	81.12	74.59	77.19
Urban	100.00	72.69	98.55	100.00	97.20	100.00	100.00	71.98
Rural	85.16	56.40	98.96	98.31	95.88	78.57	70.13	79.54
Islamabad	95.58	100.00	99.18	99.37	99.27	95.12	81.64	83.26
Urban	100.00	100.00	99.28	99.35	98.52	100.00	84.55	82.05
Rural	94.51	100.00	99.09	99.39	100.00	94.36	75.19	84.27
Jehlum	67.17	98.64	99.46	99.49	99.33	89.37	84.88	51.92
Urban		93.70	99.56	100.00	98.28	100.00		84.56
Rural	67.17	99.36	99.43	99.36	99.56	89.04	84.88	43.36
Jhang	76.19	96.81	98.39	98.59	98.22	75.08	83.06	46.79
Urban	0.00	80.92	98.05	96.75	96.91	79.45	63.66	27.41
Rural	76.63	97.71	98.51	99.69	98.97	74.66	87.22	61.99
Kasur	80.81	89.10	97.75	98.18	97.75	82.40	85.22	60.66
Urban	96.82	95.14	98.75	97.37	94.91	93.41	100.00	60.12
Rural	80.07	85.70	97.44	98.47	98.60	81.65	84.56	61.93
Khanewal	70.74	72.41	94.57	92.62	91.72	79.70	66.96	75.08
Urban	70.26	86.27	97.36	97.92	96.20	83.89	58.80	76.44
Rural	70.79	70.12	93.85	91.40	90.52	79.37	68.05	74.85

Table 8.3 PERCENT DISTRIBUTION OF HOUSEHOLDS SATISFICTION BY FACILITIES &SERVICES USE

PROVINCE & DISTRICT	BASIC HEALTH UNIT	FAMILY PLANNING	PRIMARY SCHOOL	MIDDLE SCHOOL	HIGH SCHOOL	VETERINARY	AGRICULTURE (EXT.)	POLICE
Khushab	36.17	95.86	98.62	99.48	99.31	79.43	41.43	78.34
Urban	12.22	98.32	100.00	100.00	100.00	81.20	56.02	88.49
Rural	37.43	94.36	98.11	99.17	98.99	79.28	39.12	68.71
Lahore	84.21	92.89	97.93	98.38	97.07	96.74	93.18	55.53
Urban	84.21	92.89	97.93	98.38	97.07	96.74	93.18	55.53
Rural								
Layyah	35.24	88.47	99.71	98.39	100.00	81.95	70.78	88.56
Urban	44.02	100.00	100.00	100.00	100.00	100.00	100.00	90.15
Rural	31.90	83.66	99.66	98.09	100.00	79.72	44.73	88.19
Lodhran	86.21	86.40	100.00	99.56	98.04	79.39	82.94	67.67
Urban	90.57	87.37	100.00	100.00	100.00	61.99	89.47	90.93
Rural	85.90	85.25	100.00	99.36	97.46	79.97	79.96	63.54
Mandi Bahauddin	27.35	91.06	97.20	97.94	98.13	82.25	86.32	79.50
Urban		87.52	98.84	100.00	98.69	100.00	87.99	93.37
Rural	27.35	91.73	96.91	97.54	98.01	81.87	86.19	76.68
Mianwali	62.02	100.00	95.90	96.24	96.64	73.90	61.52	6.63
Urban	35.81	100.00	97.76	97.60	97.89	94.53	100.00	2.46
Rural	62.56	100.00	95.39	95.78	96.18	69.46	57.50	7.62
Multan	75.35	80.36	97.79	95.61	94.36	77.40	83.44	69.29
Urban	81.09	86.26	98.97	97.13	95.05	87.25	97.49	71.12
Rural	74.22	72.85	96.81	94.00	93.63	74.94	78.06	66.18
Muzaffargarh	44.64	87.02	98.51	98.44	95.04	73.25	79.53	73.75
Urban	69.26	92.79	96.27	96.42	94.47	73.80	88.74	74.38
Rural	43.01	84.65	98.87	99.19	95.21	73.16	78.95	73.55
Nankana Sahib	94.07	93.41	99.38	100.00	96.70	92.57	89.16	86.76
Urban	100.00	100.00	100.00	100.00	94.97	100.00	100.00	69.42
Rural	92.93	91.40	99.25	100.00	96.91	92.34	88.20	92.37
Narowal	81.58	89.49	99.41	98.89	98.63	73.20	79.73	76.56
Urban	10.37	92.21	100.00	100.00	100.00	100.00	87.22	84.64
Rural	85.38	84.35	99.33	98.85	98.21	68.31	78.29	60.18
Okara	94.46	92.54	99.56	99.38	99.73	92.61	78.08	63.77
Urban	78.80	100.00	98.94	97.95	100.00	100.00	100.00	86.15
Rural	96.16	90.47	99.77	100.00	99.56	92.43	76.79	56.35
Pakpattan	87.15	67.32	98.16	97.19	96.57	75.39	62.69	28.83
Urban	100.00	89.39	100.00	100.00	100.00	100.00	85.55	77.41
Rural	87.10	61.48	97.86	96.49	95.77	74.80	61.97	18.89
Rahim Yar Khan	67.82	63.62	98.28	96.65	93.69	77.18	74.04	44.89
Urban	76.99	89.88	98.05	98.41	94.96	86.88	75.92	71.30
Rural	67.36	52.71	98.38	95.63	93.42	76.35	73.81	35.56
Rajanpur	42.55	91.67	99.29	100.00	99.51	82.70	67.97	64.34
Urban	7.63	78.61	100.00	100.00	100.00	46.29	100.00	63.84
Rural	47.76	94.03	99.07	100.00	99.30	83.10	67.01	64.41
Rawalpindi	81.65	95.07	99.30	98.86	98.08	85.54	90.87	48.53
Urban	71.00	93.93	98.84	98.22	97.38	79.74	83.54	44.20
Rural	85.00	96.56	99.76	99.54	98.83	86.41	91.80	57.50
Sahiwal	73.68	53.07	96.07	95.31	96.08	63.17	37.91	19.42
Urban	56.42	53.95	96.03	95.95	96.20	87.65	81.35	16.91
Rural	74.20	52.75	96.09	95.10	96.04	62.65	37.14	20.18
Sargodha	48.81	84.72	98.35	98.51	97.98	73.08	61.62	48.76
Urban	62.71	76.37	96.89	97.80	96.42	70.00	88.40	59.57
Rural	47.93	88.46	98.89	98.82	98.87	73.34	57.37	43.66
Sheikhupura	82.71	97.28	99.70	99.03	98.78	73.16	85.24	70.36
Urban	99.23	100.00	99.65	98.08	98.01	92.40	100.00	61.26
Rural	73.17	94.24	99.72	99.47	99.23	71.25	83.53	86.60
Sialkot	88.46	91.54	99.55	100.00	98.98	94.79	95.55	72.76
Urban	89.68	87.16	98.06	100.00	99.00	76.60	85.62	65.34
Rural	88.18	98.08	100.00	100.00	98.98	97.21	96.84	82.13
Toba Tek Singh	74.60	100.00	99.00	98.21	98.83	77.45	65.85	42.20
Urban	100.00	100.00	99.33	100.00	98.15	84.44		56.51
Rural	73.63	100.00	98.91	97.59	99.06	77.05	65.85	40.73
Vehari	89.46	86.43	99.35	99.49	99.01	95.41	94.37	71.60
Urban	31.82	70.87	100.00	98.69	98.27	65.68	89.81	61.57
Rural	90.50	90.06	99.28	99.66	99.42	96.32	94.51	79.59

Table 8.3 PERCENT DISTRIBUTION OF HOUSEHOLDS SATISFICTION BY FACILITIES &SERVICES USE

PROVINCE & DISTRICT	BASIC HEALTH UNIT	FAMILY PLANNING	PRIMARY SCHOOL	MIDDLE SCHOOL	HIGH SCHOOL	VETERINARY	AGRICULTURE (EXT.)	POLICE
Sindh	63.94	91.59	95.24	95.78	94.61	77.51	82.91	49.46
Urban	82.01	91.28	97.04	96.72	95.69	84.74	79.34	48.63
Rural	59.39	91.99	92.84	93.97	92.96	76.33	83.29	50.42
Badin	50.21	78.72	93.64	96.31	94.58	80.72	69.30	40.31
Urban	60.80	100.00	100.00	97.58	98.18	92.72	50.13	43.19
Rural	49.38	73.83	90.42	95.67	92.86	80.50	70.26	37.86
Dadu	34.12	94.24	98.21	98.68	96.92	51.10	37.59	62.85
Urban	49.84	88.67	95.52	97.12	96.80	45.67	36.70	55.24
Rural	32.03	100.00	99.40	99.40	96.96	51.75	37.76	70.94
Ghotki	89.50	100.00	95.02	96.89	97.69	83.67	92.53	61.33
Urban	56.79	100.00	100.00	100.00	100.00	46.03	0.00	81.39
Rural	89.80	100.00	93.73	95.93	96.87	84.09	93.35	57.89
Hyderabad	82.76	89.50	97.40	97.07	96.15	83.06	82.83	44.43
Urban	86.64	88.89	97.53	97.11	96.16	78.93	82.44	43.82
Rural	77.67	100.00	96.59	96.54	96.11	95.95	84.58	48.45
Jacobabad	71.17	89.92	92.83	95.96	92.90	84.18	89.38	90.07
Urban	91.11	75.98	93.40	93.73	93.42	68.14	90.66	76.68
Rural	67.69	94.72	92.53	98.11	92.52	100.00	89.13	96.61
Jamshoro	56.65	92.33	96.96	92.50	93.71	64.87	86.84	44.25
Urban	90.98	100.00	100.00	100.00	95.84	16.67	0.00	35.46
Rural	49.73	88.68	94.85	91.39	92.60	77.79	91.81	45.34
Karachi	80.27	88.39	96.04	94.61	93.43	86.65	100.00	59.66
Urban	80.27	88.39	96.04	94.61	93.43	86.65	100.00	59.66
Rural								
Karachi East	93.50	88.41	99.30	98.62	96.23	100.00	100.00	58.98
Urban	93.50	88.41	99.30	98.62	96.23	100.00	100.00	58.98
Rural								
Karachi Malir	97.74	86.53	95.91	98.05	96.97	92.51	100.00	81.09
Urban	100.00	54.91	97.79	98.13	97.88		100.00	69.59
Rural	97.60	100.00	93.88	97.96	95.96	92.51	100.00	91.80
Karachi South	66.47	92.32	95.19	94.40	94.12	100.00		18.71
Urban	66.47	92.32	95.19	94.40	94.12	100.00		18.71
Rural								
Karachi west	77.55	94.49	98.12	97.20	96.19		43.64	54.01
Urban	77.55	94.49	98.03	97.02	96.09		43.64	53.54
Rural			100.00	100.00	100.00			100.00
Kashmore	53.21	97.85	96.93	98.93	91.21	92.07	96.06	97.95
Urban	41.54	100.00	95.23	96.16	91.63	100.00	91.12	100.00
Rural	53.84	97.59	97.49	100.00	90.97	91.49	96.49	97.69
Khairpur	73.48	98.45	95.14	95.05	94.12	42.30	55.83	74.60
Urban	74.31	98.28	96.38	94.66	95.18	41.56	49.78	75.46
Rural	73.18	98.57	94.56	95.28	93.63	42.39	56.61	74.00
Korngi	100.00	100.00	97.42	96.74	95.30	100.00	100.00	51.42
Urban	100.00	100.00	97.42	96.74	95.30	100.00	100.00	51.42
Rural								
Larkana	79.71	83.68	96.71	95.45	93.53	76.17	64.06	42.94
Urban	95.52	90.03	96.78	96.32	93.02	100.00	100.00	33.07
Rural	74.88	66.05	96.65	93.66	94.33	62.92	53.64	52.33
Mitiari	64.20	70.75	87.65	94.28	94.67	88.00	75.71	46.57
Urban	97.99	70.69	97.84	100.00	96.07	100.00	85.99	92.35
Rural	60.23	70.78	84.28	91.51	93.94	83.15	74.43	32.09
Mirpur Khas	41.17	86.13	94.87	95.38	92.61	94.48	99.84	21.70
Urban	47.13	100.00	97.48	95.77	95.45	100.00	100.00	24.25
Rural	39.46	74.14	93.15	94.96	91.18	94.32	99.83	16.56

Table 8.3 PERCENT DISTRIBUTION OF HOUSEHOLDS SATISFICTION BY FACILITIES &SERVICES USE

PROVINCE & DISTRICT	BASIC HEALTH UNIT	FAMILY PLANNING	PRIMARY SCHOOL	MIDDLE SCHOOL	HIGH SCHOOL	VETERINARY	AGRICULTURE (EXT.)	POLICE
Naushahro Feroze	45.23	99.28	99.08	99.64	97.66	28.55	49.26	48.63
Urban	44.44	100.00	100.00	100.00	97.87	0.00	57.51	15.02
Rural	45.28	99.16	98.89	99.54	97.60	29.37	48.04	53.14
Sanghar	65.10	76.49	94.17	98.65	97.05	95.88	85.53	56.59
Urban	93.80	65.76	95.13	100.00	99.14	90.69	47.99	54.36
Rural	62.50	79.18	93.76	97.97	96.05	96.44	88.77	57.36
Shahdadkot	44.95	91.57	95.27	100.00	96.22	97.14	85.26	35.82
Urban	43.97	100.00	98.08	100.00	99.18	100.00		44.53
Rural	45.10	86.61	93.05	100.00	91.84	96.25	85.26	30.99
Shaheed Benazirabad	37.91	37.01	90.33	91.50	91.87	79.91	57.28	72.07
Urban	64.89	42.64	94.17	95.73	94.70	70.19	100.00	65.86
Rural	35.35	21.20	88.97	89.69	90.19	80.95	48.88	77.35
Shikarpur	66.08	90.33	77.76	65.94	89.52	100.00	92.76	70.16
Urban		100.00	78.08	73.11	86.24	100.00	100.00	73.62
Rural	66.08	76.18	77.52	57.19	90.59	100.00	92.39	62.40
Sujawal	48.20	44.68	66.98	65.54	79.39	64.87	89.08	15.08
Urban	100.00		100.00	100.00	100.00			
Rural	37.32	44.68	63.55	60.87	77.43	64.87	89.08	15.08
Sukkur	88.86	100.00	94.65	92.01	92.79	79.06	66.28	61.49
Urban	96.97	100.00	97.46	97.60	97.28	75.64	80.70	58.66
Rural	87.76	100.00	91.85	85.36	87.17	79.36	64.96	65.91
Tando Allah Yar	66.53	87.50	90.57	95.54	92.44	55.40	64.93	48.04
Urban	100.00	100.00	90.55	100.00	96.29	100.00	66.95	43.94
Rural	66.27	82.51	90.58	92.31	90.76	52.15	64.83	52.52
Tando Muhammad Khan	70.00	82.70	88.31	70.81	77.62	42.03	42.13	56.13
Urban	89.66		100.00	100.00	100.00			0.00
Rural	68.69	82.70	86.00	69.53	69.23	42.03	42.13	56.41
Tharparkar	58.43	100.00	97.39	96.14	90.88	74.55	100.00	20.18
Urban	100.00	100.00	100.00	100.00	91.67	100.00		50.00
Rural	53.02	100.00	97.15	95.36	90.79	70.69	100.00	13.24
Thatta	75.93	76.10	82.81	88.65	88.61	88.80	97.94	6.28
Urban	80.67	100.00	94.83	97.32	97.19	80.00	100.00	5.42
Rural	74.42	62.44	76.19	78.82	81.49	89.23	97.90	7.39
Umerkot	52.11	100.00	99.24	98.89	95.31	90.93	99.68	40.03
Urban	46.31	100.00	100.00	100.00	100.00	85.89	100.00	100.00
Rural	52.92	100.00	98.86	97.93	93.27	92.22	99.66	15.22

Table 8.3 PERCENT DISTRIBUTION OF HOUSEHOLDS SATISFICTION BY FACILITIES &SERVICES USE

PROVINCE & DISTRICT	BASIC HEALTH UNIT	FAMILY PLANNING	PRIMARY SCHOOL	MIDDLE SCHOOL	HIGH SCHOOL	VETERINARY	AGRICULTURE (EXT.)	POLICE
Khyber Pakhtunkhwa	64.92	88.05	96.05	97.47	97.60	72.28	83.27	70.54
Urban	77.88	86.13	97.92	98.83	98.66	91.51	87.15	74.69
Rural	63.76	88.51	95.69	97.18	97.35	71.41	83.14	69.69
Abbottabad	64.99	88.82	97.81	98.95	98.77	25.40	97.96	74.36
Urban	71.49	67.64	100.00	100.00	100.00			49.36
Rural	62.78	93.34	97.13	98.50	98.21	25.40	97.96	77.35
Bajur	64.99	84.96	86.61	89.33	84.32	38.16	81.43	81.19
Urban								
Rural	64.98	84.96	86.61	89.33	84.32	38.16	81.43	81.19
Bannu	78.00	100.00	86.64	91.06	97.70	82.82	96.01	71.16
Urban	90.60	100.00	100.00	100.00	100.00	100.00		58.85
Rural	77.64	100.00	86.15	90.29	97.58	82.73	96.01	72.04
Batagram	54.14	95.92	94.06	93.11	97.37	89.23	81.49	87.82
Urban								
Rural	54.14	95.92	94.06	93.11	97.37	89.23	81.49	87.82
Buner	77.76	100.00	98.22	98.61	98.54	85.11	92.25	45.78
Urban								
Rural	77.76	100.00	98.22	98.61	98.54	85.11	92.25	45.78
Charsadda	69.88	74.24	98.58	99.31	98.58	85.56	86.92	83.04
Urban	75.06	42.53	98.47	100.00	100.00	95.21	83.49	86.30
Rural	69.51	77.40	98.61	99.16	98.22	84.59	87.36	82.01
Chitral	48.39	93.41	99.57	100.00	98.40	85.10	75.63	28.98
Urban			100.00	100.00	100.00	100.00	57.13	24.98
Rural	48.39	93.41	99.51	100.00	98.20	84.12	76.90	29.62
D.I Khan	71.87	72.41	97.00	98.28	96.43	75.75	87.95	62.53
Urban	94.09	100.00	93.68	100.00	94.75	85.36	100.00	82.70
Rural	67.86	56.43	97.87	97.78	97.11	74.92	87.51	50.83
Hangu	70.00	100.00	91.11	85.62	93.60	84.21	100.00	69.23
Urban		100.00	100.00	100.00	100.00	83.72		74.36
Rural	70.00	100.00	89.59	82.89	92.05	84.24	100.00	68.30
Haripur	61.38	97.42	94.31	93.69	96.91	42.78	71.73	79.44
Urban	64.00	91.93	73.83	80.15	88.63	24.86	0.00	88.22
Rural	61.17	98.52	95.88	95.15	98.49	43.28	74.89	76.60
Karak	79.47	95.24	99.16	100.00	98.90	92.82	100.00	77.98
Urban	0.00	0.00	100.00	100.00	100.00			100.00
Rural	81.17	100.00	99.13	100.00	98.85	92.82	100.00	77.77
Khyber	94.87	66.44	89.38	94.54	95.72	83.24	55.74	84.40
Urban	100.00		88.00	100.00	100.00	100.00		85.71
Rural	94.10	66.44	89.70	94.08	95.25	77.29	55.74	83.97
Kohat	66.99	87.35	97.00	97.30	96.04	93.96	100.00	63.87
Urban	38.83	59.77	100.00	100.00	100.00	100.00		52.87
Rural	70.42	100.00	96.39	96.66	94.88	93.00	100.00	88.59
Kohistan	23.72	88.68	76.88	89.43	94.73	58.55	88.27	52.70
Urban								
Rural	23.72	88.68	76.88	89.43	94.73	58.55	88.27	52.70
Kurram	44.00	70.80	96.05	92.03	88.88	57.62	70.77	15.02
Urban								
Rural	44.00	70.80	96.05	92.03	88.88	57.62	70.77	15.02
Lakki Marwat	75.61	100.00	92.07	90.02	99.00	85.82	100.00	72.27
Urban			100.00	100.00	100.00	100.00		100.00
Rural	75.61	100.00	91.11	89.11	98.79	85.65	100.00	70.48
Lower Dir	55.09	100.00	97.39	99.01	99.21	51.21	86.63	79.44
Urban		100.00	100.00	100.00	100.00	100.00		
Rural	55.09	100.00	97.36	99.00	99.19	50.85	86.63	79.44

Table 8.3 PERCENT DISTRIBUTION OF HOUSEHOLDS SATISFICTION BY FACILITIES &SERVICES USE

PROVINCE & DISTRICT	BASIC HEALTH UNIT	FAMILY PLANNING	PRIMARY SCHOOL	MIDDLE SCHOOL	HIGH SCHOOL	VETERINARY	AGRICULTURE (EXT.)	POLICE
Malakand PA	60.80	100.00	99.39	100.00	97.40	95.37	85.93	48.84
Urban			100.00	100.00	100.00			28.57
Rural	60.80	100.00	99.33	100.00	97.20	95.37	85.93	53.01
Mansehra	61.33	79.68	98.06	98.73	96.24	79.34	98.85	83.71
Urban	90.18	100.00	100.00	100.00	100.00			80.59
Rural	60.27	78.97	97.96	98.62	95.91	79.34	98.85	84.08
Mardan	78.79	81.18	98.24	99.57	99.43	89.97	83.39	66.09
Urban	57.17	71.38	97.03	100.00	100.00	85.84	100.00	52.43
Rural	79.41	83.67	98.50	99.49	99.33	90.40	82.65	71.65
Mohmand	42.62	87.25	70.66	86.69	87.87	63.74	69.47	95.02
Urban								
Rural	42.62	87.25	70.66	86.69	87.87	63.74	69.47	95.02
North Wazirirstan	18.88	97.49	99.46	99.27	96.86	79.39	95.99	55.90
Urban								
Rural	18.88	97.49	99.46	99.27	96.86	79.39	95.99	55.90
Nowshera	50.27	81.38	99.03	99.68	99.02	75.81	80.32	74.98
Urban	57.72	100.00	100.00	100.00	100.00	100.00	100.00	82.70
Rural	49.73	80.36	98.76	99.57	98.73	72.69	78.19	73.05
Orkazai	39.46	62.30	99.70	99.21	98.22	72.52	61.78	96.63
Urban								
Rural	39.46	62.30	99.70	99.21	98.22	72.52	61.78	96.63
Peshawar	75.99	84.30	97.92	98.23	98.44	80.58	58.61	80.44
Urban	85.79	87.11	98.59	98.23	98.71	74.10	84.34	86.48
Rural	72.69	81.32	97.39	98.23	98.19	80.85	57.22	76.82
Shangla	64.21	98.26	96.68	98.02	97.05	78.95	65.47	47.90
Urban								
Rural	64.21	98.26	96.68	98.02	97.05	78.95	65.47	47.90
South waziritan	22.24	0.00	92.49	91.73	96.01	6.52	14.26	14.25
Urban								
Rural	22.24	0.00	92.49	91.73	96.01	6.52	14.26	14.25
Swabi	67.03	89.15	99.54	99.37	98.93	80.86	88.59	88.08
Urban	72.78	0.00	99.34	100.00	97.03	88.06	84.75	78.11
Rural	66.59	93.11	99.57	99.28	99.12	79.93	89.14	89.24
Swat	64.31	100.00	99.56	100.00	98.57	95.32	90.22	66.40
Urban	58.87	100.00	99.00	100.00	99.27	100.00	100.00	52.82
Rural	65.99	100.00	99.80	100.00	98.07	94.30	88.98	74.14
Tank	68.81	100.00	96.42	96.09	96.68	41.35	85.55	36.20
Urban	0.00	100.00	95.83	90.91	100.00	100.00		88.89
Rural	69.14	100.00	96.52	97.35	96.13	36.25	85.55	30.66
Tor Ghar	51.46	82.43	98.09	100.00	100.00	80.09	85.20	72.96
Urban								
Rural	51.46	82.43	98.09	100.00	100.00	80.09	85.20	72.96
Upper Dir	46.59	30.90	97.97	98.98	97.34	84.51	82.41	77.05
Urban	100.00		100.00	100.00	100.00	100.00		50.00
Rural	46.16	30.90	97.84	98.87	97.10	84.35	82.41	77.73

Table 8.3 PERCENT DISTRIBUTION OF HOUSEHOLDS SATISFICTION BY FACILITIES &SERVICES USE

PROVINCE & DISTRICT	BASIC HEALTH UNIT	FAMILY PLANNING	PRIMARY SCHOOL	MIDDLE SCHOOL	HIGH SCHOOL	VETERINARY	AGRICULTURE (EXT.)	POLICE
Balochistan	39.78	50.34	83.23	82.13	87.92	40.78	42.13	55.51
Urban	55.70	84.58	92.06	93.24	94.01	65.87	67.02	72.80
Rural	36.31	36.89	79.33	75.77	85.06	36.66	40.21	49.89
Awaran	0.00	0.00	24.15	10.23	59.77	0.00	0.00	1.94
Urban	0.00	0.00	0.00	0.00	22.22	0.00	0.00	20.00
Rural	0.00	0.00	27.49	12.59	63.15	0.00	0.00	1.24
Barkhan	44.38	100.00	95.87	98.03	94.96	100.00	99.62	29.79
Urban	0.00		100.00	100.00	91.67	100.00	100.00	25.00
Rural	55.77	100.00	95.46	97.96	95.71	100.00	99.61	30.16
Dera Bugti	9.42	.86	9.33	33.78	86.42	54.24	0.00	51.71
Urban	0.00		13.59	46.24	93.72		0.00	
Rural	13.18	.86	8.17	6.62	84.68	54.24		51.71
Duki	0.00	0.00	1.77	2.22	49.59	0.00	0.00	1.04
Urban	0.00	0.00	0.00	0.00	100.00			0.00
Rural	0.00	0.00	2.02	2.60	46.43	0.00	0.00	1.23
Gwadar	91.49	81.30	76.20	83.73	93.76	35.48	17.03	55.02
Urban	95.00	100.00	94.47	95.10	100.00	56.26		68.17
Rural	88.24	21.11	52.84	59.17	86.67	7.53	17.03	40.92
Harnai	92.01	100.00	98.71	97.21	97.28		80.07	
Urban	92.25	100.00	95.69	100.00	100.00			
Rural	91.93	100.00	100.00	95.98	96.46		80.07	
Jaffarabad	34.46	31.66	92.88	85.30	91.72	81.63	84.47	83.07
Urban	27.42	65.66	95.34	100.00	94.60	50.00	100.00	96.60
Rural	37.20	16.53	90.67	71.25	89.91	86.07	83.14	73.57
Kachhi(Bolan)	77.11	97.69	89.92	89.61	87.05	3.47	25.34	80.45
Urban		100.00	94.85	66.92	57.36	0.00	100.00	94.58
Rural	77.11	95.85	88.73	94.96	93.84	3.75	0.00	77.07
Kalat	70.19	21.44	98.07	98.35	95.79	66.03	65.93	54.27
Urban								
Rural	70.19	21.44	98.07	98.35	95.79	66.03	65.93	54.27
Ketch	87.72	97.07	93.71	96.48	94.51	56.07	75.25	84.38
Urban	90.66	96.55	90.91	96.01	91.52	69.87	85.16	87.57
Rural	86.13	97.46	95.37	97.07	98.68	48.50	67.57	82.08
Kharan	3.38	14.88	45.96	45.92	61.20	48.36	37.26	28.24
Urban	1.39	4.08	71.88	70.46	75.42	67.25	62.77	18.85
Rural	3.89	23.90	39.36	37.12	55.73	44.37	34.85	32.61
Khuzdar	2.63	2.60	66.51	16.24	65.77	.38	.35	12.26
Urban								
Rural	2.63	2.60	66.51	16.24	65.77	.38	.35	12.26
Kohlu	66.67		88.53	88.37	90.21		0.00	33.00
Urban	66.67		94.12	90.00	90.00			21.43
Rural	66.67		86.21	87.64	90.27		0.00	36.63
Lasbela	86.85		96.52	84.23	88.96	100.00		73.40
Urban			100.00	100.00	94.68	100.00		100.00
Rural	86.85		93.20	52.37	69.37	100.00		42.28
Loralai	70.02	90.62	84.33	88.11	92.36	29.85	40.63	70.67
Urban	83.58	92.17	93.59	95.29	96.12	63.78	100.00	63.50
Rural	29.10	78.36	67.99	67.58	86.59	3.03	37.62	78.19
Mastung	74.42	80.05	78.27	48.74	66.12	92.57	82.05	26.28
Urban	80.00		96.58	100.00	100.00			100.00
Rural	73.92	80.05	72.29	47.84	53.98	92.57	82.05	21.71
Nasirabad	33.01	43.27	68.39	97.85	91.23	63.76	53.80	84.81
Urban	58.65	100.00	100.00	100.00	93.61	100.00	100.00	93.86
Rural	31.74	35.08	56.89	93.79	90.49	58.40	53.02	79.08

Table 8.3 PERCENT DISTRIBUTION OF HOUSEHOLDS SATISFICTION BY FACILITIES &SERVICES USE

PROVINCE & DISTRICT	BASIC HEALTH UNIT	FAMILY PLANNING	PRIMARY SCHOOL	MIDDLE SCHOOL	HIGH SCHOOL	VETERINARY	AGRICULTURE (EXT.)	POLICE
Nushki	35.36	73.74	90.56	85.50	91.55	75.04	78.94	36.64
Urban	82.70	96.17	100.00	100.00	100.00	100.00	100.00	42.60
Rural	23.70	62.74	87.91	81.06	88.10	72.92	77.38	34.23
Pishin	36.50	77.48	89.98	91.07	95.24	45.85	18.08	69.92
Urban	88.04	100.00	92.45	97.80	96.34	50.75	100.00	74.21
Rural	19.58	71.85	89.49	89.68	94.93	45.13	16.22	69.79
Qilla Abdullah	37.29	100.00	76.64	77.66	88.23	100.00	100.00	35.22
Urban			90.84	89.87	91.61	100.00		70.26
Rural	37.29	100.00	74.67	75.70	87.49	100.00	100.00	32.96
Qilla Saifullah	23.17	20.69	83.54	90.82	98.07	20.64	47.70	70.22
Urban								
Rural	23.17	20.69	83.54	90.82	98.07	20.64	47.70	70.22
Quetta	41.51	84.02	93.28	93.72	92.99	76.60	42.84	78.75
Urban	39.77	83.41	94.67	95.40	94.01	100.00	40.66	72.83
Rural	43.99	100.00	92.01	91.89	92.21	71.56	50.00	83.17
Shaheed sikandra bad	65.83	100.00	72.59	0.00	74.71	5.84	38.72	47.76
Urban								
Rural	65.83	100.00	72.59	0.00	74.71	5.84	38.72	47.76
Sheerani	0.00	0.00	0.00	0.00	94.79	0.00	0.00	1.36
Urban								
Rural	0.00	0.00	0.00	0.00	94.79	0.00	0.00	1.36
Sibi	52.24	100.00	94.06	97.18	96.88	21.02	66.67	90.33
Urban	100.00	100.00	91.93	96.26	96.35	21.02		85.97
Rural	51.56	100.00	100.00	100.00	97.86		66.67	96.32
Sohbatpur	35.59	6.23	98.48	100.00	92.95	100.00		100.00
Urban	80.00	100.00	100.00	100.00	100.00	100.00		100.00
Rural	34.27	4.41	98.30	100.00	92.42			100.00
Washuk	41.80	35.59	88.69	90.72	94.80	37.31	22.97	34.19
Urban	55.56		95.83	90.00	100.00	100.00	0.00	50.01
Rural	40.17	35.59	87.66	90.84	93.42	28.90	25.77	29.50
Ziarat	31.72		89.11	96.60	90.23	44.29	0.00	30.69
Urban			100.00	100.00	100.00			100.00
Rural	31.72		88.96	96.52	90.13	44.29	0.00	28.65

9. FOOD INSECURITY EXPERIENCE SCALE

Nation-wide Food Insecurity is the deficiency of sustenance that contains the proper nutrients needed to feed a population. Lack of nutritious food, serves to create inhabitants with weak immune systems, high malnutrition rates and consists of children suffering from impaired growth. A household within a quintile, that experiences moderate levels of food insecurity, is forced to compromise on low quality food and additionally be required to reduce their quantity consumed during the year. On the other hand, the more extreme case is of those experiencing severe levels of food insecurity that do not have access to daily meals let alone the proper nutrients within their meal.

The root cause of food insecurity in developing countries is hunger and poverty People experiences moderate levels of food insecurity would eat low quality food and might have been forced reduce quantity of food at times during the year, while those experiencing severe levels wouldn't have anything to eat for an entire day, Our questionnaire is designed to focus on the four pillars of food security i.e. availability of food, access of food, utilization of food and stability of food to the society. A series of questions are drafted that are targeted to get relevant information to cast out actionable results for government institutions and policy makers to tackle food security. The module and analysis procedures developed by Food and Agriculture Organization (FAO), aims to find responses to calculate SDG indicator 2.1.2: the prevalence of moderate or severe food insecurity in population/households. To measure the experiences of the household members: i.e.

- Were you or your family members worried about not having enough food to eat, due to poor financial conditions and other resources[1]?
- Were you or your family members wouldn't able to eat healthy and nutritious food, due to poor financial conditions and other resources?
- Were you or your family members worried about not to ate different kind of food, due to poor financial conditions and other resources?
- Were you or your family members skipped meal for a time, due to poor financial conditions and other resources?
- Were you or your family members ate less food, due to poor financial conditions and other resources?

[1] barter trade; small livestock; fishing, hunting or gathering; the transfer of food from; family, community members, government or other donors.

- There is nothing to eat at your home, due to poor financial conditions and other resources?
- Were you or your family members are hungry but did not eat food, due to poor financial conditions and other resources?
- Were you or your family members would not be able to eat food a whole day[2] due to lack of money or other resources?

Respondents were asked to report if each of the conditions has been experienced, at times, over the past 12 months, to cover possible seasonal changes in food security across provinces, their districts and national and regional level.

According to our data collected, Overall 83.56 percent of the household in Pakistan are food secure (not face any problem), 14.64 percent experiencing moderate food insecurity while 1.80 percent facing severe food insecurity 2019-20[3] as compare to 84.08 percent of household were food secure, 13.55 percent experiencing moderate food insecurity while 2.37 percent facing severe food insecurity in 2018-19.

[2] Source: FAO
[3] Data collection period for the survey 2019-20 is from August 2019 to March 2020.

Figure1: Moderate or Severe food insecurity 2018-19

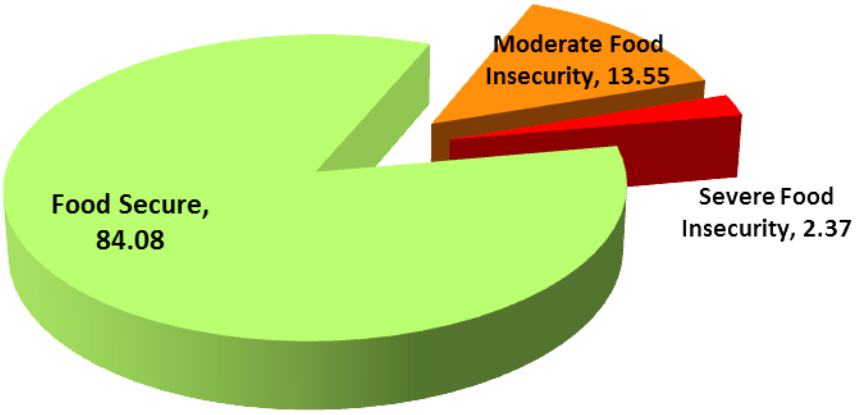

Figure1: Moderate or Severe food insecurity 2019-20

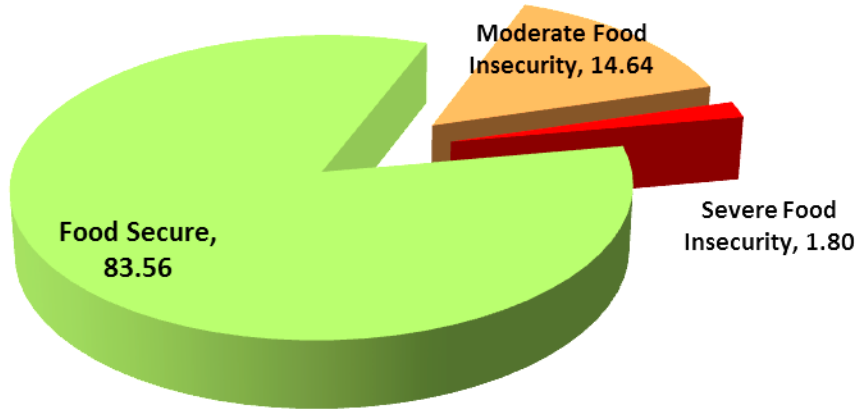

Figure1: Moderate or Severe food insecurity COVID-19

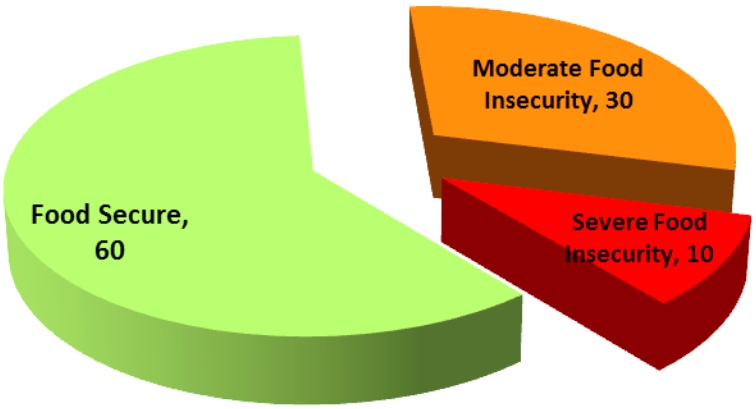

In the light of above scenario, comparability with COVID–19[4] survey explains that there is a sudden decline in the number of food secure households i.e. 60 percent, 30 percent were experiencing moderate food insecurity while 10 percent facing severe food insecurity in Pakistan. Elucidation of moderate or severe food insecurity by provinces their top and bottom districts with the help of table 9.1.

Table 9.1	**Moderate or Severe Food Insecurity**		
	Severe		**Moderate or Severe**
Pakistan	**1.80**		**16.44**
Punjab	**2.29**		**15.66**
Sindh	**1.52**		**17.52**
Khyber Pakhtunkhwa	**1.24**		**14.44**
Balochistan	**3.55**		**23.36**
	District Level Analysis		
Punjab	**Kasur**	Top	**28.81**
	Okara	Bottom	**4.18**
Sindh	**Kahairpur**	Top	**34.04**
	Korangi	Bottom	**7.66**
Khyber Pakhtunkhwa	**Tank**	Top	**32.4**
	Shangla	Bottom	**3.94**
Balochistan	**Barkhan**	Top	**48.80**
	Gwadar	Bottom	**4.59**

[4] Period of survey COVID-19 was March 2020 to July 2020.

Figure 2 Provincial comparison

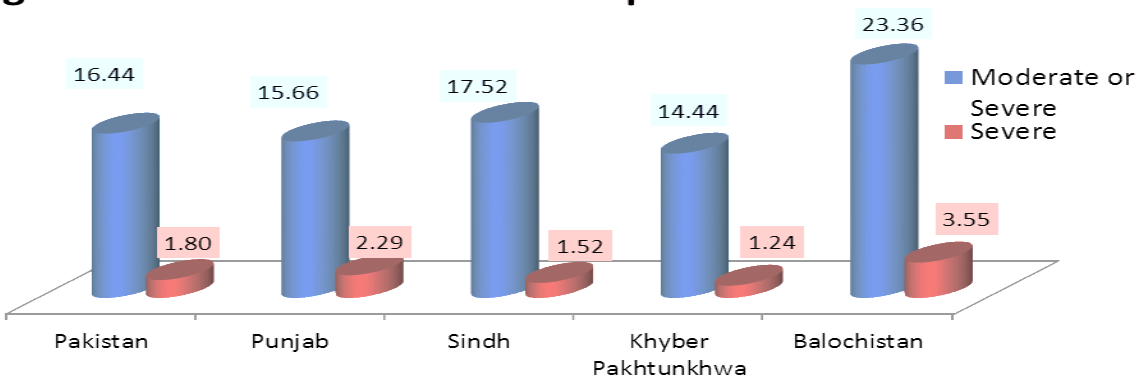

Table 9.1 Moderate or Severe Food insecurity using Food insecurity Experience scale Module

Province & District	Moderate or Severe	MoE	Severe	MoE
Pakistan	**16.44**	**0.30**	**1.80**	**0.09**
Punjab	**15.66**	**0.42**	**2.29**	**0.16**
Attock	6.93	1.83	0.46	0.39
Bahawalnagar	23.11	2.72	8.5	1.53
Bahawalpur	21.25	2.05	5	1.11
Bhakhar	14.96	2.45	1.78	0.92
Chakwal	13.04	2.61	2.25	1.1
Chiniot	13.31	2.77	1.11	0.71
D. G. Khan	21.92	3.02	1.99	0.95
Faisalabad	8.67	1.26	1.31	0.43
Gujranwala	10.53	1.78	2.11	0.77
Gujrat	4.4	1.46	0.72	0.55
Hafizabad	9.74	2.47	1.27	0.85
Islamabad	7.93	2.33	2.03	1.16
Jehlum	16.75	3.24	4.77	1.63
Jhang	25.87	3.62	3.71	1.47
Kasur	28.81	2.62	4.28	1.1
Khanewal	24.86	2.86	3.65	1.01
Khushab	12.77	2.63	1.3	0.87
Lahore	17.96	1.71	2.61	0.67
Layyah	25.78	4.9	1.03	1.03
Lodhran	22.76	3.7	5.4	1.77
Mandi Bahauddin	9.53	2.75	1.79	1.13
Mianwali	11.51	2.21	0.21	0.24
Multan	16.88	1.92	1.63	0.62
Muzaffar Garh	24.86	2.4	2.84	0.77
Nankana Sahib	12.83	3.37	2.21	1.47
Narowal	12.87	2.81	2.5	0.97
Okara	4.18	1.31	0.12	0.2
Pakpattan	8.52	1.71	0.22	0.3
Rahim Yar Khan	21.49	2.53	2.17	0.86
Rajanpur	16.99	2.87	0.79	0.61
Rawalpindi	9.41	1.48	1.88	0.63
Sahiwal	7.83	1.5	0.29	0.29
Sargodha	16.38	2.02	2.41	0.77
Sheikhupura	17.62	2.31	1.3	0.66
Sialkot	9.65	2.28	1.43	0.68
T.T. Singh	16.5	2.81	1.3	0.78
Vehari	13.22	2.55	2.81	1.17

Province & District	Moderate or Severe	MoE	Severe	MoE
Sindh	**17.52**	**0.63**	**1.52**	**0.16**
Badin	28.22	4.14	3.79	1.41
Dadu	25.54	4.9	0.34	0.41
Ghotki	13.63	2.63	0.98	0.58
Hyderabad	16.59	2.63	1.38	0.77
Jacobabad	20.37	4.19	5.34	1.85
Jamshoro	35.21	5.86	0.95	0.78
Karachi Central	8.61	1.69	0.94	0.47
Karachi East	10.12	2.18	1.26	0.69
Karachi Malir	9.4	2.8	0.03	0.11
Karachi South	8.78	1.91	0.59	0.49
Karachi West	11.77	2.1	0.49	0.4
Kashmore	26.98	5.48	3.98	1.96
Khairpur	34.04	3.39	4.11	1.04
Korangi	7.66	2.09	0.3	0.37
Larkana	17.28	3.1	0.23	0.3
Matiari	20.06	4.59	1.21	1.08
Mir Pur Khas	11.74	2.43	0.21	0.33
Nowshero Feroze	13.76	3.07	0.19	0.32
Sanghar	22.42	3.35	4.72	1.54
Shahdadkot	22.01	4.04	0.07	0.18
Shaheed Banazir Abad	24.78	3.52	5.35	1.57
Shikarpur	22.93	3.85	0.83	0.7
Sujawal	24.19	5.04	5.78	2.46
Sukkur	15.53	3.22	0.77	0.62
Tando Allah Yar	32.7	5.42	3.58	1.77
Tando Muhammad Khan	25.49	4.29	2.88	1.36
Tharparkar	17.27	3.02	0.79	0.76
Thatta	26.8	4.54	3.9	1.77
Umer Kot	23.98	4.53	3.22	1.78

Province & District	Moderate or Severe	MoE	Severe	MoE
Khyber Pakhtunkhwa	**14.44**	**0.69**	**1.24**	**0.2**
Abbottabad	16.8	3.3	0.24	0.49
Bajur	17.29	4.05	0.52	0.69
Bannu	18.73	4.11	1.55	1.13
Batagram	30.57	6.35	0.38	0.85
Bunair	16.66	4.14	0.19	0.39
Charsada	21.68	3.18	0.72	0.61
Chitral	12.45	4.07	2.12	1.46
D. I. Khan	6.72	2.41	1	0.73
Hangu	9.15	5.92	0.1	0.26
Haripur	19.03	3.28	0.41	0.47
Karak	8.36	3.55	1.86	1.41
Khyber	6.95	2.7	0.19	0.38
Kohat	13.62	3.91	0.04	0.14
Kohistan	25.38	7.46	0.02	0.09
Kurram	10	3.34	0.27	0.57
Lakki Marwat	12.95	4.13	0.73	0.91
Lower Dir	20.87	3.63	4.6	1.52
Malakand	8.83	3.36	0.32	0.64
Mansehra	13.59	2.64	0.02	0.09
Mardan	18.96	2.89	0.75	0.58
Mohmand	22.33	5.06	0.21	0.51
North Waziristan	10.28	4.08	0.33	0.99
Nowshera	11.67	2.7	0.34	0.41
Orakzai	9.89	3.94	0.57	1.21
Peshawar	11.22	1.98	0.46	0.37
Shangla	3.94	2.34	0.24	0.57
South Waziristan	26.84	6.04	4.08	2.18
Swabi	10.87	2.45	0.43	0.47
Swat	17.99	4.1	4.26	1.76
Tank	32.43	7.27	4.76	2.65
Tor Garh	14.81	4.58	0.07	0.24
Upper Dir	19.68	4.13	3.37	1.61

Province & District	Moderate or Severe	MoE	Severe	MoE
Balochistan	**23.36**	**1.41**	**3.55**	**0.53**
Awaran	35.43	9.37	4.75	3.35
Barkhan	48.8	8.1	14.06	4.11
Dera Bugti	33.47	7.1	13.72	4.52
Duki	17.5	6.94	1.58	1.89
Gwadar	4.59	2.52	0	0.03
Harnai	4.64	4.07	1.8	2.13
Jaffarabad	39.75	6.11	8.14	2.95
Kachhi/ Bolan	24.83	7.17	6.96	3.39
Kalat	18.37	4.75	2.18	1.47
Kech/Turbat	12.42	3.99	0.25	0.39
Kharan	16.58	4.49	0.75	1
Khuzdar	29.26	5.61	4.65	2.4
Kohlu	11.67	7.92	2.97	3.77
Lasbela	16.42	5.38	0.35	0.77
Loralai	24.91	9.01	3.84	4.2
Mastung	12.79	4.94	3.46	2.09
Nasirabad/ Tamboo	35.06	6.06	5.14	2.17
Nushki	16.36	5.61	1.11	1.41
Pishin	20.15	3.89	3.95	1.61
Qilla Abdullah	26.9	8.91	8.79	4.85
Qilla Saifullah	21.71	4.76	0.22	0.73
Quetta	23.47	3.76	5.01	1.71
Shaheed Sikandar Abad	21.1	6.25	0.29	0.62
Sherani	6.03	6.23	0.98	2.04
Sibbi	17.05	5.51	0.82	1.72
Sohbatpur	39.42	9.44	3.17	3.2
Washuk	11.67	4.32	0.75	0.94
Ziarat	13.08	6.42	0.91	1.37

Ever Attended population 10 years and older

Province/District	Estimate	Standard Error	95% Interval		DEFF
			MIN.	MAX.	
Pakistan	**60**	**0.24**	**59.68**	**60.62**	
Punjab	**66**	**0.29**	**65.19**	**66.34**	
Attock	71	1.40	67.76	73.25	0.78
Bahawalnager	54	2.08	50.30	58.44	0.89
Bahawalpur	53	1.77	49.22	56.16	0.68
Bhakhar	57	1.75	53.33	60.18	0.63
Chakwal	78	1.37	75.37	80.76	0.82
Chiniot	53	1.59	50.35	56.57	0.82
D.G.khan	46	2.47	40.66	50.36	1.03
Faisalabad	70	1.11	67.83	72.18	1.05
Gujranwala	77	1.03	74.59	78.62	1.13
Gujrat	78	0.99	75.60	79.48	1.01
Hafizabad	66	1.91	62.62	70.12	0.55
Islamabad	85	1.49	82.56	88.39	1.18
Jehlum	64	1.53	61.40	67.41	0.91
Jhang	79	1.51	76.03	81.97	0.68
Kasur	62	1.12	59.39	63.80	0.88
Khanewal	62	1.73	58.12	64.91	0.93
Khushab	61	1.87	57.76	65.09	0.60
Lahore	77	0.96	74.85	78.60	2.18
Layyah	65	2.42	59.90	69.41	1.80
Lodhran	54	2.23	49.20	57.95	0.69
Mandi Bahuddin	70	1.48	67.42	73.24	1.16
Mianwali	60	3.16	53.50	65.88	1.20
Multan	62	1.41	59.59	65.12	0.62
Muzaffar Garh	44	1.48	41.51	47.32	0.98
Nankana Sahib	66	2.25	61.12	69.95	0.96
Narowal	78	0.89	76.32	79.79	0.57
Okara	64	2.25	59.52	68.34	1.41
Pakpatten	53	1.36	50.58	55.91	0.57
Rahim Yar Khan	49	1.92	45.37	52.90	1.12
Rajanpur	40	3.08	33.75	45.84	0.82
Rawalpindi	83	0.84	81.16	84.46	1.13
Sahiwal	62	2.25	57.86	66.69	0.94
Sargodha	68	1.35	65.84	71.13	0.77
Sheikhupura	66	1.58	62.84	69.04	1.33
Sialkot	81	0.90	79.68	83.22	1.76
T.T.Singh	70	1.59	67.37	73.59	0.75
Vehari	52	2.43	46.75	56.28	1.00

Province/District	Estimate	Standard Error	95% Interval		DEFF
			MIN.	MAX.	
Sindh	**55**	**0.58**	**54.07**	**56.34**	
Badin	34	4.03	25.76	41.56	2.11
Dadu	42	2.89	36.00	47.33	1.23
Ghotki	40	2.29	35.77	44.76	0.64
Hyderabad	65	2.63	59.79	70.09	1.10
Jaccobabad	40	2.97	34.03	45.66	0.30
Jamshoro	45	5.61	34.32	56.33	0.81
Karachi Central	34	2.80	28.30	39.28	1.25
Karachi East	80	1.68	76.99	83.57	1.21
Karachi Malir	80	2.19	75.53	84.13	1.34
Karachi South	75	1.85	71.23	78.50	1.10
Karachi West	65	2.15	60.89	69.33	1.75
Kashmore	29	5.25	18.88	39.48	1.85
Khairpur	47	1.94	43.33	50.93	0.79
Korangi	82	2.10	77.66	85.89	2.48
Larkana	38	2.41	33.72	43.17	0.56
Matiari	64	4.03	55.90	71.69	2.57
Mir Pur Khas	50	4.31	41.21	58.13	0.92
Nowshero Feroze	42	3.24	36.08	48.77	0.63
Sanghar	48	3.94	40.68	56.11	1.27
Shahdadkot	47	2.80	41.80	52.78	1.07
Shaheed Benazirabad	46	1.88	42.35	49.74	0.63
Shikarpur	38	3.85	30.40	45.49	0.71
Sujawal	28	3.84	20.40	35.46	0.86
Sukkur	53	2.95	47.25	58.80	0.59
Tando Allah Yar	42	3.21	35.96	48.54	0.69
Tando Muhd Khan	31	3.95	23.22	38.71	0.87
Tharparkar	28	2.93	21.83	33.31	1.99
Thatta	26	3.07	20.35	32.39	0.70
Umer Kot	40	3.41	33.07	46.44	0.91

Province/District	Estimate	Standard Error	95% Interval		DEFF
			MIN.	MAX.	
Khyber Pakhtunkhwa	**54**	**0.52**	**53.10**	**55.12**	
Abbottabad	77	1.80	73.12	80.18	1.06
Bajur	33	2.93	26.98	38.46	0.86
Bannu	52	2.44	47.18	56.75	1.41
Batagram	42	3.26	35.29	48.09	0.60
Bonair	45	2.69	39.60	50.13	0.70
Charsada	54	1.73	50.67	57.47	0.89
Chitral	60	2.21	55.71	64.38	0.46
D.I.Khan	44	3.04	37.75	49.66	1.18
Hangu	39	4.11	30.83	46.96	0.97
Haripur	71	2.07	66.87	74.99	0.74
Karak	63	3.39	56.05	69.35	1.17
Khyber	50	2.04	45.81	53.79	0.73
Kohat	55	2.22	50.85	59.57	0.68
Kohistan	32	1.66	28.53	35.04	0.81
Kurram	43	3.34	35.98	49.09	0.59
Lakki Marwat	55	2.86	49.54	60.75	1.03
Lower Dir	58	2.58	52.54	62.65	0.76
Malakand	63	2.25	58.97	67.80	0.87
Mansehra	62	2.24	57.39	66.19	1.07
Mardan	58	1.35	55.53	60.84	1.06
Mohmand	28	3.76	20.81	35.57	0.61
North Waziritan	43	2.14	38.82	47.20	0.86
Nowshera	59	1.89	55.14	62.56	0.70
Orakzai	46	2.57	41.36	51.44	0.56
Peshawar	61	1.57	58.30	64.48	1.04
Shangla	38	2.67	32.51	42.98	0.88
South Waziristan	36	3.24	30.11	42.83	1.34
Swabi	58	1.83	54.65	61.82	0.75
Swat	56	2.91	50.03	61.42	2.05
Tank	40	4.93	30.12	49.45	1.03
Tor Garh	31	2.99	25.51	37.23	0.32
Upper Dir	46	2.26	41.23	50.07	0.51

Province/District	Estimate	Standard Error	95% Interval		DEFF
			MIN.	MAX.	
Balochistan	**44**	**1.19**	**41.74**	**46.42**	
Awaran	20	3.43	13.67	27.13	0.32
Barkhan	28	4.69	18.68	37.06	0.68
Dera Bugti	14	2.02	9.65	17.58	0.21
Duki	33	3.68	25.73	40.15	0.65
Gwadar	60	4.60	50.87	68.91	0.48
Hernai	33	4.67	23.77	42.07	0.15
Jafarabad	35	5.53	23.97	45.65	1.09
Bolan	42	5.63	30.93	53.00	0.39
Kalat	31	4.01	23.07	38.78	0.20
Ketch	47	5.56	36.43	58.25	1.76
Kharan	50	2.74	44.22	54.97	0.16
Khuzdar	20	2.07	16.00	24.12	0.48
Kohlu	35	4.27	26.61	43.37	1.25
Lasbilla	44	4.00	36.45	52.13	0.33
Loralai	57	8.26	40.51	72.90	0.80
Mastung	46	7.05	32.21	59.84	2.44
Nasirabad	50	3.49	43.25	56.94	0.29
Nushki	53	3.21	47.07	59.66	0.36
Pashin	25	4.68	15.96	34.32	0.84
Qilla Abdullah	58	3.33	51.45	64.52	0.23
Qilla Saifullah	59	1.93	55.09	62.67	0.60
Quetta	57	2.82	51.62	62.69	1.28
Shaheed Sikandar Abad	14	3.05	8.02	19.97	0.61
Sherani	14	4.33	5.28	22.27	1.14
Sibbi	45	8.88	27.31	62.12	0.91
Sohbatpur	40	8.25	23.83	56.18	1.02
Washuk	47	8.02	31.41	62.85	0.24
Ziarat	40	6.96	26.45	53.73	0.38

Literacy 10 years and older

Province/District	Estimate	Standard Error	95% Interval		DEFF
			MIN.	MAX.	
Pakistan	**60**	**0.25**	**59.50**	**60.48**	
Punjab	**64**	**0.31**	**63.86**	**65.07**	
Attock	69	1.48	66.41	72.19	0.80
Bahawalnager	50	1.90	46.61	54.06	0.80
Bahawalpur	49	1.82	45.66	52.79	0.64
Bhakhar	53	1.96	48.97	56.66	0.65
Chakwal	75	1.41	72.18	77.70	0.84
Chiniot	50	1.86	46.32	53.61	0.95
D.G.khan	51	2.61	45.90	56.15	1.03
Faisalabad	67	1.19	64.54	69.19	1.02
Gujranwala	74	1.17	71.79	76.37	1.14
Gujrat	77	0.98	75.32	79.17	1.01
Hafizabad	66	1.59	63.08	69.33	0.49
Islamabad	85	1.61	81.73	88.05	1.19
Jehlum	62	1.49	59.38	65.21	0.83
Jhang	76	1.82	71.94	79.08	0.63
Kasur	59	1.08	57.07	61.30	0.89
Khanewal	60	1.81	56.32	63.40	0.87
Khushab	61	1.91	57.33	64.83	0.60
Lahore	77	0.97	75.03	78.85	2.10
Layyah	65	2.37	59.92	69.22	1.63
Lodhran	53	2.34	48.53	57.70	0.73
Mandi Bahuddin	70	1.42	66.95	72.51	1.15
Mianwali	58	2.66	53.09	63.52	0.92
Multan	61	1.52	58.35	64.33	0.66
Muzaffar Garh	46	1.83	42.55	49.70	1.14
Nankana Sahib	66	2.32	61.39	70.46	0.88
Narowal	76	1.05	74.23	78.35	0.61
Okara	60	2.74	55.11	65.84	1.54
Pakpatten	51	1.57	47.92	54.09	0.66
Rahim Yar Khan	47	1.96	43.65	51.33	1.13
Rajanpur	42	2.74	36.86	47.60	0.81
Rawalpindi	82	0.88	80.34	83.79	1.04
Sahiwal	60	2.35	54.99	64.18	0.97
Sargodha	67	1.36	64.55	69.89	0.77
Sheikhupura	63	1.70	59.86	66.51	1.34
Sialkot	79	1.06	76.54	80.71	1.81
T.T.Singh	68	1.59	65.29	71.54	0.74
Vehari	53	2.06	48.99	57.08	0.88

Province/District	Estimate	Standard Error	95% Interval		DEFF
			MIN.	MAX.	
Sindh	**58**	**0.60**	**56.86**	**59.20**	
Badin	36	4.17	27.37	43.71	2.14
Dadu	61	4.73	51.60	70.14	1.85
Ghotki	40	2.27	35.30	44.21	0.63
Hyderabad	66	2.62	60.65	70.93	1.12
Jaccobabad	39	3.01	33.34	45.15	0.31
Jamshoro	51	4.37	42.03	59.16	0.63
Karachi Central	47	2.97	41.67	53.31	1.24
Karachi East	81	1.68	78.06	84.64	1.21
Karachi Malir	82	2.09	77.82	86.02	1.35
Karachi South	75	1.91	71.41	78.88	1.10
Karachi West	67	2.38	61.85	71.17	1.89
Kashmore	31	5.45	20.38	41.73	1.68
Khairpur	50	1.85	45.98	53.23	0.77
Korangi	84	2.11	79.70	87.98	2.54
Larkana	56	3.74	48.40	63.08	0.84
Matiari	68	4.17	59.34	75.69	2.56
Mir Pur Khas	49	4.32	40.29	57.21	0.91
Nowshero Feroze	44	3.37	36.90	50.10	0.58
Sanghar	54	3.45	47.19	60.70	1.15
Shahdadkot	46	2.86	40.56	51.79	1.09
Shaheed Benazirabad	46	2.18	41.87	50.43	0.64
Shikarpur	42	4.09	34.22	50.25	0.84
Sujawal	29	4.40	20.83	38.07	0.97
Sukkur	54	2.93	48.09	59.57	0.62
Tando Allah Yar	41	3.27	35.05	47.85	0.66
Tando Muhd Khan	31	3.95	23.14	38.61	0.83
Tharparkar	29	2.87	23.49	34.74	1.66
Thatta	34	4.05	26.12	42.01	0.67
Umer Kot	39	3.36	32.46	45.62	0.91

Province/District	Estimate	Standard Error	95% Interval MIN.	95% Interval MAX.	DEFF
Balochistan	**46**	**1.20**	**44.04**	**48.74**	
Awaran	45	11.77	21.94	68.08	0.52
Barkhan	26	5.13	15.49	35.60	0.70
Dera Bugti	22	5.20	11.86	32.27	0.41
Duki	33	3.56	26.29	40.26	0.65
Gwadar	61	4.84	51.47	70.44	0.52
Hernai	39	5.13	28.70	48.82	0.08
Jafarabad	33	5.69	21.79	44.11	1.11
Bolan	43	6.09	31.34	55.23	0.36
Kalat	33	3.92	25.24	40.59	0.19
Ketch	49	5.60	37.64	59.60	1.64
Kharan	49	2.97	43.62	55.25	0.15
Khuzdar	22	2.63	17.08	27.38	0.61
Kohlu	39	3.91	31.31	46.64	1.15
Lasbilla	43	4.23	34.83	51.43	0.33
Loralai	55	8.31	39.07	71.65	0.82
Mastung	42	5.13	32.20	52.32	2.06
Nasirabad	47	3.36	40.84	54.01	0.25
Nushki	54	3.30	47.98	60.92	0.39
Pashin	30	3.83	22.44	37.46	0.72
Qilla Abdullah	58	3.39	51.04	64.32	0.23
Qilla Saifullah	58	2.05	53.70	61.73	0.57
Quetta	64	3.37	57.31	70.54	1.34
Shaheed Sikandar Abad	14	3.15	7.82	20.16	0.61
Sherani	15	4.18	6.70	23.08	1.10
Sibbi	44	8.41	27.21	60.19	0.85
Sohbatpur	40	8.01	24.13	55.54	1.06
Washuk	47	8.01	31.38	62.78	0.24
Ziarat	43	6.53	30.32	55.94	0.39

Province/District	Estimate	Standard Error	95% Interval		DEFF
			MIN.	MAX.	
Khyber Pakhtunkhwa	**53**	**0.55**	**51.67**	**53.84**	
Abbottabad	74	1.89	70.30	77.69	1.00
Bajur	29	2.59	23.95	34.11	0.81
Bannu	53	2.72	47.57	58.22	1.41
Batagram	40	3.62	32.94	47.13	0.63
Bonair	43	2.55	37.53	47.55	0.69
Charsada	50	1.70	46.51	53.18	0.85
Chitral	61	2.11	57.12	65.39	0.46
D.I.Khan	43	3.28	36.11	48.97	1.21
Hangu	34	4.90	24.57	43.76	1.10
Haripur	70	2.08	65.68	73.83	0.72
Karak	72	2.55	66.71	76.69	1.03
Khyber	45	1.74	41.73	48.55	0.65
Kohat	50	2.23	46.10	54.86	0.65
Kohistan	30	1.59	26.98	33.21	0.73
Kurram	40	3.24	33.56	46.27	0.59
Lakki Marwat	57	2.39	52.51	61.86	0.74
Lower Dir	57	2.42	52.34	61.83	0.70
Malakand	62	2.43	57.43	66.97	0.86
Mansehra	63	2.27	58.38	67.28	1.10
Mardan	56	1.43	52.73	58.34	1.02
Mohmand	26	3.69	19.18	33.66	0.59
North Waziritan	44	2.25	39.84	48.67	0.95
Nowshera	56	1.87	52.64	59.99	0.67
Orakzai	43	2.90	37.46	48.83	0.56
Peshawar	60	1.69	56.52	63.15	1.04
Shangla	38	2.71	32.22	42.84	0.88
South Waziristan	35	3.46	28.55	42.14	1.36
Swabi	56	1.90	52.45	59.89	0.76
Swat	55	3.41	48.56	61.93	2.07
Tank	43	5.34	32.23	53.15	1.19
Tor Garh	34	3.53	27.23	41.08	0.40
Upper Dir	44	2.42	39.20	48.69	0.55

Net Enrolment Rate at Primary Level Age (6-10) and Class (1-5)

Province/District	Estimate	Standard Error	95% Interval		DEFF
			MIN.	MAX.	
Pakistan	**64**	**0.31**	**63.78**	**64.99**	
Punjab	**70**	**0.37**	**69.02**	**70.49**	
Attock	82	1.30	79.65	84.73	0.88
Bahawalnager	63	1.83	59.56	66.74	0.93
Bahawalpur	61	1.88	57.73	65.11	0.86
Bhakhar	72	1.65	69.07	75.55	0.71
Chakwal	82	1.74	78.23	85.05	0.88
Chiniot	68	1.91	64.37	71.85	0.98
D.G.khan	66	3.10	59.56	71.73	1.30
Faisalabad	73	1.45	69.73	75.43	1.33
Gujranwala	71	1.32	68.35	73.52	1.34
Gujrat	79	1.17	76.55	81.14	0.97
Hafizabad	75	1.71	71.94	78.64	0.64
Islamabad	89	1.33	86.80	92.01	1.13
Jehlum	75	1.71	71.27	77.96	1.09
Jhang	90	1.16	87.59	92.13	0.76
Kasur	70	1.43	67.01	72.63	1.06
Khanewal	66	2.19	61.34	69.94	1.19
Khushab	78	1.84	74.39	81.59	0.76
Lahore	69	1.20	66.39	71.11	2.18
Layyah	85	2.48	80.41	90.13	2.14
Lodhran	52	3.48	44.87	58.52	0.93
Mandi Bahuddin	76	2.03	72.34	80.30	0.97
Mianwali	70	6.02	57.80	81.41	1.75
Multan	63	1.66	59.43	65.95	0.87
Muzaffar Garh	58	2.17	53.32	61.81	1.02
Nankana Sahib	74	3.14	67.79	80.11	0.93
Narowal	79	1.19	77.16	81.81	0.86
Okara	80	2.03	76.07	84.02	1.80
Pakpatten	77	1.88	72.85	80.21	0.87
Rahim Yar Khan	54	2.08	50.29	58.43	1.46
Rajanpur	52	3.66	45.21	59.57	0.90
Rawalpindi	78	1.33	75.08	80.30	1.22
Sahiwal	70	1.97	65.95	73.67	1.02
Sargodha	78	1.19	75.19	79.85	0.91
Sheikhupura	70	2.06	65.91	73.99	1.29
Sialkot	86	0.99	84.53	88.40	1.54
T.T.Singh	75	1.72	72.03	78.76	0.90
Vehari	66	2.53	60.68	70.60	1.45

Province/District	Estimate	Standard Error	95% Interval		DEFF
			MIN.	MAX.	
Sindh	**55**	**0.75**	**53.71**	**56.64**	
Badin	38	4.58	28.96	46.91	2.09
Dadu	77	3.65	70.30	84.61	1.72
Ghotki	47	2.90	41.81	53.17	0.79
Hyderabad	65	3.11	58.59	70.80	1.25
Jaccobabad	49	4.51	40.61	58.31	0.57
Jamshoro	59	6.15	47.16	71.27	0.87
Karachi Central	55	4.82	45.63	64.54	1.34
Karachi East	68	2.10	63.54	71.76	1.21
Karachi Malir	63	2.83	57.06	68.14	1.31
Karachi South	67	2.79	61.53	72.48	1.07
Karachi West	59	2.57	54.37	64.46	1.88
Kashmore	39	5.92	27.37	50.57	1.36
Khairpur	51	2.34	46.33	55.49	0.96
Korangi	65	3.71	58.02	72.56	2.23
Larkana	52	4.31	43.11	60.02	0.86
Matiari	55	5.36	44.93	65.94	2.33
Mir Pur Khas	52	5.16	42.16	62.39	0.95
Nowshero Feroze	46	3.21	39.65	52.24	0.61
Sanghar	66	3.33	59.45	72.52	1.04
Shahdadkot	50	3.10	43.56	55.72	1.33
Shaheed Benazirabad	59	2.59	53.57	63.72	0.81
Shikarpur	50	5.09	40.44	60.41	0.90
Sujawal	43	5.50	32.42	53.98	0.97
Sukkur	53	4.44	44.13	61.55	1.01
Tando Allah Yar	51	5.55	40.51	62.28	0.91
Tando Muhd Khan	36	4.70	26.37	44.81	0.76
Tharparkar	54	4.40	45.34	62.59	1.63
Thatta	31	3.71	24.03	38.59	0.67
Umer Kot	54	3.09	48.28	60.41	0.93

Province/District	Estimate	Standard Error	95% Interval		DEFF
			MIN.	MAX	
Khyber Pakhtunkhwa	**65**	**0.69**	**63.32**	**66.04**	
Abbottabad	82	1.80	78.04	85.08	1.31
Bajur	36	4.80	26.76	45.60	1.05
Bannu	56	5.85	44.41	67.33	1.79
Batagram	59	5.39	48.18	69.31	0.69
Bonair	72	3.16	65.56	77.93	0.71
Charsada	71	2.51	66.34	76.19	0.84
Chitral	68	3.39	61.63	74.91	0.47
D.I.Khan	54	3.66	46.42	60.78	1.53
Hangu	67	4.64	57.65	75.84	0.95
Haripur	77	2.78	71.44	82.32	0.93
Karak	73	3.70	65.50	80.00	1.13
Khyber	53	2.45	48.28	57.90	0.64
Kohat	71	3.20	64.49	77.03	1.08
Kohistan	36	2.65	30.58	40.98	0.52
Kurram	48	5.05	38.27	58.08	0.57
Lakki Marwat	61	4.77	51.40	70.10	1.78
Lower Dir	67	3.52	59.94	73.74	0.80
Malakand	75	3.70	67.95	82.45	0.91
Mansehra	77	2.17	72.31	80.84	1.20
Mardan	72	1.51	69.41	75.32	1.11
Mohmand	40	4.54	31.25	49.04	0.64
North Waziritan	45	2.81	39.26	50.26	1.09
Nowshera	75	1.63	71.90	78.30	0.84
Orakzai	60	4.97	50.50	69.98	0.52
Peshawar	75	1.72	71.20	77.96	1.34
Shangla	48	3.66	41.29	55.64	0.89
South Waziristan	38	5.46	27.52	48.93	1.18
Swabi	79	1.92	75.48	83.01	0.58
Swat	73	2.53	68.08	78.00	1.56
Tank	54	6.74	40.58	66.99	0.89
Tor Garh	43	4.10	34.51	50.58	0.28
Upper Dir	61	3.49	53.87	67.57	0.59

Province/District	Estimate	Standard Error	95% Interval		DEFF
			MIN.	MAX.	
Balochistan	**64**	**0.31**	**63.78**	**64.99**	
Awaran	64	8.84	46.23	80.88	0.40
Barkhan	57	5.12	47.17	67.26	0.39
Dera Bugti	45	11.93	21.95	68.72	0.71
Duki	39	6.25	27.14	51.63	0.60
Gwadar	85	5.83	73.43	96.28	0.27
Hernai	35	5.51	23.99	45.59	0.10
Jafarabad	51	7.06	37.28	64.98	0.97
Bolan	40	8.22	23.92	56.14	0.51
Kalat	63	7.25	48.79	77.20	0.22
Ketch	75	6.33	63.08	87.89	1.87
Kharan	62	6.52	49.54	75.09	0.24
Khuzdar	53	6.22	40.39	64.79	0.56
Kohlu	37	5.74	25.80	48.32	1.11
Lasbilla	50	5.61	39.37	61.38	0.34
Loralai	47	13.50	20.66	73.58	0.63
Mastung	46	8.41	29.55	62.53	2.12
Nasirabad	62	3.29	55.60	68.49	0.35
Nushki	72	3.75	64.53	79.23	0.37
Pashin	36	4.38	27.28	44.46	0.62
Qilla Abdullah	63	5.32	52.68	73.55	0.25
Qilla Saifullah	49	8.04	33.41	64.92	0.97
Quetta	73	2.58	68.33	78.42	1.10
Shaheed Sikandar Abad	39	6.98	25.28	52.64	0.60
Sherani	39	10.97	17.33	60.34	1.20
Sibbi	40	7.76	24.56	54.99	0.61
Sohbatpur	51	7.69	35.84	65.99	1.03
Washuk	63	9.05	45.41	80.90	0.30
Ziarat	52	7.60	36.67	66.45	0.35

NER Enrollment Rate at Middle Level (Aged 11-13)

Province/District	Estimate	Standard Error	95% Interval		DEFF
			MIN	MAX	
Pakistan	**37**	**0.33**	**36.81**	**38.12**	
Punjab	**41**	**0.42**	**39.72**	**41.36**	
Attock	57	2.80	51.74	62.72	0.75
Bahawalnager	33	2.42	28.13	37.63	0.93
Bahawalpur	27	1.81	23.75	30.86	0.83
Bhakhar	37	2.49	31.80	41.56	0.78
Chakwal	59	3.28	52.73	65.58	0.89
Chiniot	38	3.44	31.61	45.09	1.14
D.G.khan	30	2.82	24.86	35.91	1.09
Faisalabad	46	1.68	42.27	48.86	1.27
Gujranwala	44	1.80	40.11	47.16	1.42
Gujrat	54	1.98	50.14	57.88	0.99
Hafizabad	43	2.51	38.19	48.03	0.57
Islamabad	67	3.31	60.22	73.19	1.33
Jehlum	36	2.31	31.38	40.45	1.03
Jhang	63	2.64	57.69	68.04	0.68
Kasur	40	2.16	35.78	44.23	0.99
Khanewal	39	2.63	33.35	43.68	1.01
Khushab	44	2.52	39.12	49.00	0.61
Lahore	45	1.73	41.28	48.08	2.44
Layyah	45	3.05	38.88	50.83	2.11
Lodhran	29	2.54	24.29	34.25	0.93
Mandi Bahuddin	46	2.93	40.31	51.78	1.16
Mianwali	44	4.05	35.81	51.69	1.13
Multan	36	1.77	32.13	39.08	0.84
Muzaffar Garh	24	2.03	19.53	27.48	1.38
Nankana Sahib	45	3.93	37.36	52.77	0.93
Narowal	49	2.10	44.44	52.67	0.78
Okara	41	3.11	34.62	46.82	1.71
Pakpatten	35	2.56	29.57	39.59	0.74
Rahim Yar Khan	26	1.62	22.34	28.70	1.13
Rajanpur	28	3.21	21.28	33.88	1.04
Rawalpindi	54	1.78	50.16	57.14	1.08
Sahiwal	40	2.28	35.52	44.48	0.93
Sargodha	46	1.93	42.59	50.14	0.92
Sheikhupura	37	2.51	31.86	41.71	1.35
Sialkot	50	2.11	46.21	54.47	1.72
T.T.Singh	44	2.27	39.17	48.07	0.93
Vehari	34	2.62	29.08	39.36	1.38

Province/District	Estimate	Standard Error	95% Interval		DEFF
			MIN.	MAX.	
Sindh	**32**	**0.74**	**30.97**	**33.87**	
Badin	20	2.63	15.16	25.46	1.37
Dadu	42	5.61	31.11	53.12	1.75
Ghotki	26	2.97	19.84	31.49	0.87
Hyderabad	42	4.14	33.83	50.06	1.23
Jaccobabad	27	3.75	19.73	34.43	0.36
Jamshoro	29	6.78	15.35	41.94	1.11
Karachi Central	23	4.30	15.00	31.88	1.36
Karachi East	44	2.95	38.62	50.17	1.29
Karachi Malir	44	3.09	38.21	50.33	1.32
Karachi South	37	3.23	31.10	43.77	1.11
Karachi West	37	2.92	31.04	42.51	1.95
Kashmore	29	5.85	17.17	40.09	1.66
Khairpur	30	2.99	23.89	35.60	0.95
Korangi	52	3.45	45.48	59.03	2.29
Larkana	36	4.40	27.83	45.09	0.87
Matiari	35	4.23	26.31	42.89	2.09
Mir Pur Khas	25	4.49	15.74	33.36	1.00
Nowshero Feroze	26	3.25	19.93	32.69	0.75
Sanghar	23	3.72	15.88	30.46	1.08
Shahdadkot	27	3.34	20.42	33.53	1.39
Shaheed Benazirabad	26	3.05	20.31	32.28	0.74
Shikarpur	28	4.05	19.56	35.45	0.74
Sujawal	12	3.15	6.27	18.61	0.92
Sukkur	38	3.65	30.94	45.25	0.84
Tando Allah Yar	26	4.33	17.32	34.31	0.80
Tando Muhd Khan	18	3.38	10.89	24.15	0.80
Tharparkar	16	3.17	9.73	22.17	1.46
Thatta	9	2.96	3.60	15.21	0.78
Umer Kot	22	2.69	16.87	27.41	0.79

Province/District	Estimate	Standard Error	95% Interval		DEFF
			MIN.	MAX.	
Khyber Pakhtunkhwa	**38**	**0.91**	**36.04**	**39.59**	
Abbottabad	52	4.25	43.81	60.48	1.37
Bajur	12	4.07	4.06	20.02	1.21
Bannu	34	2.87	28.73	39.99	1.10
Batagram	22	4.02	13.72	29.50	0.72
Bonair	35	3.83	27.65	42.68	0.63
Charsada	36	2.30	31.91	40.93	0.70
Chitral	55	2.97	49.02	60.67	0.48
D.I.Khan	35	4.82	25.22	44.11	1.68
Hangu	31	2.55	26.25	36.25	0.22
Haripur	55	3.96	47.10	62.64	0.92
Karak	55	5.34	44.24	65.18	1.03
Khyber	22	5.10	12.22	32.21	1.46
Kohat	41	5.85	29.97	52.92	1.49
Kohistan	11	3.17	4.40	16.84	1.40
Kurram	22	2.87	16.24	27.48	0.58
Lakki Marwat	43	4.84	33.05	52.03	1.59
Lower Dir	38	2.44	33.60	43.17	0.59
Malakand	51	3.49	44.45	58.12	0.87
Mansehra	44	4.21	35.38	51.88	1.14
Mardan	40	2.61	35.32	45.55	0.97
Mohmand	19	5.29	8.56	29.31	0.58
North Waziritan	22	2.88	16.21	27.50	1.18
Nowshera	47	3.25	40.38	53.13	0.81
Orakzai	22	4.36	13.73	30.83	0.53
Peshawar	45	2.99	39.18	50.89	1.66
Shangla	21	3.85	13.30	28.38	1.20
South Waziristan	41	6.58	28.04	53.84	1.03
Swabi	48	3.03	41.92	53.78	0.88
Swat	37	5.96	25.61	48.98	2.61
Tank	35	7.82	19.62	50.27	0.90
Tor Garh	20	5.41	9.84	31.07	0.31
Upper Dir	35	3.18	28.67	41.14	0.44

Province/District	Estimate	Standard Error	95% Interval		DEFF
			MIN.	MAX.	
Balochistan	**26**	**1.16**	**24.18**	**28.72**	
Awaran	15	6.54	2.38	28.03	0.42
Barkhan	15	5.42	4.65	25.92	0.85
Dera Bugti	13	3.99	5.61	21.24	0.29
Duki	45	7.52	30.49	59.95	0.62
Gwadar	38	5.58	27.53	49.41	0.22
Hernai	19	4.63	9.83	27.99	0.11
Jafarabad	23	4.28	14.21	31.01	0.89
Bolan	18	4.85	8.24	27.25	0.44
Kalat	33	5.68	22.12	44.38	0.22
Ketch	40	6.28	27.61	52.22	1.04
Kharan	39	6.99	25.17	52.57	0.23
Khuzdar	15	4.16	6.75	23.05	0.76
Kohlu	11	2.75	5.69	16.45	1.28
Lasbilla	26	6.43	13.84	39.05	0.41
Loralai	26	4.36	17.93	35.03	0.76
Mastung	21	8.24	4.47	36.76	1.92
Nasirabad	21	6.01	8.91	32.46	0.65
Nushki	53	4.82	43.27	62.16	0.43
Pashin	14	4.72	4.74	23.23	0.91
Qilla Abdullah	39	8.13	23.02	54.89	0.32
Qilla Saifullah	37	5.13	26.68	46.79	0.66
Quetta	32	2.93	26.33	37.81	1.31
Shaheed Sikandar Abad	3	2.57	-2.19	7.89	0.53
Sherani	19	10.48	-1.84	39.24	0.55
Sibbi	26	4.81	16.56	35.43	0.60
Sohbatpur	30	8.65	13.49	47.41	0.92
Washuk	29	9.14	11.34	47.17	0.25
Ziarat	13	4.21	4.55	21.04	0.34

Prenatal Consultation for women aged 15 – 49.

Province/District	Ratio	Standard Error	Confidence Interval		DEFF
			Min	Max	
Pakistan	76.85	0.45	75.96	77.73	
Punjab	82.87	0.54	81.82	83.92	
Attock	87.89	2.47	83.04	92.73	0.83
Bahawalnagar	72.99	3.72	65.69	80.28	0.96
Bahawalpur	89.48	1.45	86.64	92.32	0.80
Bhakkar	77.44	3.85	69.90	84.97	0.82
Chakwal	89.24	3.81	81.77	96.70	0.73
Chiniot	88.84	1.97	84.99	92.70	0.95
Dera Ghazi Khan	53.09	3.92	45.40	60.77	1.39
Faisalabad	84.50	2.04	80.49	88.51	1.36
Gujranwala	91.12	1.53	88.13	94.12	1.20
Gujrat	92.56	1.84	88.96	96.16	0.95
Hafizabad	76.39	4.45	67.67	85.11	0.79
Islamabad	96.55	1.75	93.12	99.97	1.32
Jhang	82.23	2.34	77.64	86.82	1.06
Jhelum	96.22	1.41	93.47	98.98	0.92
Kasur	79.83	3.09	73.77	85.90	1.01
Khanewal	87.00	2.82	81.47	92.53	1.09
Khushab	84.57	2.96	78.77	90.38	0.63
Lahore	91.61	1.42	88.82	94.40	2.07
Layyah	77.80	5.71	66.61	88.99	2.22
Lodhran	81.01	4.34	72.51	89.52	1.09
Mandi Bahauddin	94.13	1.69	90.82	97.43	1.32
Mianwali	79.57	4.05	71.63	87.51	1.41
Multan	83.04	2.79	77.58	88.50	0.91
Muzaffargarh	87.24	2.31	82.72	91.76	1.04
Nankana Sahib	84.61	4.15	76.47	92.75	1.01
Narowal	73.98	5.38	63.44	84.52	0.77
Okara	80.12	2.65	74.92	85.33	1.43
Pakpattan	79.55	2.98	73.70	85.39	0.89
Rahim Yar Khan	77.24	2.96	71.44	83.04	1.46
Rajanpur	56.71	5.14	46.63	66.78	1.15
Rawalpindi	87.83	2.76	82.42	93.24	1.21
Sahiwal	82.50	2.52	77.56	87.43	0.94
Sargodha	83.37	1.95	79.55	87.18	0.91
Sheikhupura	85.48	2.06	81.45	89.51	1.21
Sialkot	76.52	4.94	66.82	86.21	1.80
Toba Tek Singh	89.33	1.95	85.51	93.14	1.11
Vehari	89.80	1.42	87.02	92.58	1.41

Province/District	Ratio	Standard Error	Confidence Interval		DEFF
			Min	Max	
Sindh	72.96	1.09	70.81	75.10	
Badin	58.76	6.06	46.88	70.63	1.37
Dadu	70.28	7.12	56.33	84.24	1.89
Ghotki	60.75	5.48	50.00	71.49	0.90
Hyderabad	80.18	3.85	72.63	87.73	0.80
Jacobabad	62.83	6.27	50.54	75.12	0.60
Jamshoro	80.14	5.96	68.46	91.82	0.83
Kambar Shahdad Kot	63.17	3.43	56.45	69.90	1.52
Karachi Central	92.63	2.08	88.56	96.71	1.10
Karachi East	92.41	2.06	88.36	96.45	1.15
Karachi South	94.91	2.08	90.84	98.98	1.04
Karachi West	84.11	3.68	76.89	91.33	1.78
Kashmore	65.07	6.06	53.19	76.95	1.04
Khairpur	57.14	4.82	47.70	66.58	1.04
Korangi	87.56	9.03	69.86	105.26	5.35
Larkana	81.89	4.65	72.77	91.01	0.93
Malir	93.66	3.40	87.00	100.32	2.19
Matiari	83.29	4.80	73.87	92.71	0.93
Mirpur Khas	49.04	7.41	34.52	63.57	0.81
Naushahro Feroze	73.43	5.72	62.22	84.64	1.40
Sanghar	75.62	5.29	65.25	85.99	1.57
Shaheed Benazirabad	66.49	4.95	56.78	76.20	0.89
Shikarpur	58.97	4.13	50.87	67.06	1.18
Sujawal	88.07	3.04	82.12	94.03	0.92
Sukkur	71.38	4.24	63.06	79.69	0.92
Tando Allahyar	74.11	7.49	59.43	88.78	1.06
Tando Muhammad Khan	63.16	7.80	47.88	78.45	0.67
Tharparkar	51.85	7.32	37.50	66.21	1.71
Thatta	81.86	5.13	71.80	91.92	0.72
Umer Kot	58.41	7.52	43.66	73.15	1.34

CONFIDENCE INTERVAL AND DEFF 2019-20

Province/District	Ratio	Standard Error	Confidence Interval		DEFF
			Min	Max	
Khyber Pakhtunkhwa	68.63	1.09	66.49	70.77	
Abbottabad	81.38	5.02	71.55	91.22	1.13
Bajaur	56.67	6.54	43.84	69.49	0.69
Bannu	44.87	5.01	35.05	54.69	1.21
Batagram	59.67	5.40	49.09	70.25	0.64
Buner	73.32	3.42	66.62	80.02	0.62
Charsadda	81.84	2.79	76.37	87.31	0.79
Chitral	69.04	4.63	59.96	78.13	0.43
Dera Ismail Khan	50.24	6.31	37.88	62.61	1.44
Hangu	82.76	5.55	71.89	93.63	0.46
Haripur	87.41	4.61	78.38	96.44	0.82
Karak	42.16	4.89	32.57	51.75	0.86
Khyber	66.51	6.27	54.22	78.80	0.90
Kohat	76.58	3.77	69.19	83.98	1.11
Kohistan	39.03	5.73	27.81	50.26	1.18
Kurram	71.28	7.64	56.29	86.26	0.57
Lakki Marwat	32.11	3.52	25.21	39.02	1.11
Lower Dir	63.04	6.96	49.40	76.67	0.75
Malakand	82.18	5.34	71.72	92.65	0.98
Mansehra	61.73	5.95	50.07	73.38	1.19
Mardan	83.39	2.73	78.04	88.74	1.04
Mohmand	70.08	7.40	55.57	84.58	0.61
North Waziristan	26.16	3.88	18.55	33.77	0.89
Nowshera	70.62	4.87	61.08	80.17	0.82
Orakzai	89.11	2.99	83.25	94.97	0.41
Peshawar	85.87	2.58	80.81	90.94	1.42
Shangla	76.16	2.37	71.50	80.81	0.95
South Waziristan	15.04	5.30	4.64	25.44	1.18
Swabi	76.29	3.62	69.21	83.38	0.81
Swat	65.36	4.17	57.17	73.54	1.77
Tank	47.58	10.30	27.38	67.78	1.09
Torgarh	20.21	8.34	3.87	36.56	0.25
Upper Dir	53.18	6.23	40.97	65.39	0.54

CONFIDENCE INTERVAL AND DEFF 2019-20

Province/District	Ratio	Standard Error	Confidence Interval		DEFF
			Min	Max	
Balochistan	62.95	1.98	59.06	66.83	
Awaran	28.31	4.85	18.81	37.81	0.41
Barkhan	67.81	3.26	61.42	74.19	0.48
Dera Bugti	69.17	8.63	52.25	86.09	0.32
Duki	83.33	5.86	71.84	94.81	0.66
Gwadar	45.75	7.05	31.93	59.58	0.22
Harnai	74.94	6.41	62.36	87.51	0.18
Jaffarabad	69.25	9.11	51.39	87.11	0.72
Kachhi	71.10	9.24	52.99	89.21	0.39
Kalat	73.72	7.03	59.95	87.50	0.20
Kech	43.48	6.38	30.97	55.99	1.01
Kharan	73.37	5.00	63.56	83.17	0.22
Khuzdar	4.59	1.50	1.65	7.53	0.45
Qilla Abdullah	50.90	5.01	41.08	60.72	0.75
Qilla Saifullah	51.64	7.69	36.58	66.71	0.28
Kohlu	77.47	7.35	63.06	91.89	0.64
Lasbela	63.08	17.10	29.57	96.59	3.30
Loralai	84.22	4.87	74.67	93.77	0.64
Mastung	66.86	6.57	53.98	79.75	0.41
Nasirabad	68.26	11.68	45.37	91.15	2.31
Nushki	83.54	3.88	75.94	91.15	0.24
Pishin	47.68	7.06	33.83	61.53	0.67
Quetta	77.22	3.84	69.69	84.75	1.17
Shaheed Sikandar Abad	65.44	5.30	55.04	75.84	0.55
Sherani	78.45	13.53	51.93	104.98	1.53
Sibi	83.20	7.95	67.62	98.78	0.80
Sohbatpur	88.06	6.47	75.38	100.75	0.70
Washuk	56.87	11.16	35.00	78.75	0.30
Ziarat	59.93	8.09	44.08	75.79	0.39

CONFIDENCE INTERVAL AND DEFF 2019-20

Post-natal consultation for women age 15-49

Province/District	Ratio	Standard Error	Confidence Interval		Deff
			Min	Max	
Pakistan	38.54	0.50	37.55	39.52	
Punjab	42.23	0.72	40.82	43.64	
Attock	53.84	5.20	43.65	64.03	0.79
Bahawalnagar	25.75	3.23	19.41	32.08	0.89
Bahawalpur	29.99	2.51	25.07	34.91	0.87
Bhakkar	29.26	3.83	21.76	36.76	0.76
Chakwal	51.11	6.24	38.88	63.34	0.90
Chiniot	28.99	3.81	21.52	36.46	0.83
Dera Ghazi Khan	27.20	4.38	18.61	35.79	1.27
Faisalabad	43.18	3.11	37.08	49.28	1.35
Gujranwala	47.34	2.89	41.67	53.01	1.18
Gujrat	39.34	3.12	33.23	45.44	1.01
Hafizabad	36.51	3.99	28.69	44.32	0.63
Islamabad	65.68	5.85	54.21	77.14	1.32
Jhang	31.95	2.25	27.54	36.36	0.85
Jhelum	37.19	5.54	26.33	48.05	0.72
Kasur	24.97	2.71	19.66	30.28	1.06
Khanewal	44.44	3.14	38.29	50.60	1.07
Khushab	39.42	4.59	30.42	48.42	0.75
Lahore	49.34	2.62	44.20	54.48	2.04
Layyah	68.32	4.55	59.40	77.25	2.15
Lodhran	36.52	5.75	25.24	47.79	0.90
Mandi Bahauddin	34.15	4.07	26.17	42.13	1.19
Mianwali	49.90	4.70	40.68	59.12	1.29
Multan	47.90	3.73	40.58	55.22	0.97
Muzaffargarh	48.95	3.72	41.66	56.25	1.37
Nankana Sahib	33.10	4.28	24.71	41.49	0.92
Narowal	34.90	5.39	24.32	45.47	0.63
Okara	45.35	4.21	37.10	53.60	1.83
Pakpattan	47.75	3.65	40.60	54.90	0.85
Rahim Yar Khan	43.41	4.51	34.56	52.25	1.53
Rajanpur	31.19	5.67	20.07	42.31	1.13
Rawalpindi	53.99	3.45	47.22	60.76	1.20
Sahiwal	61.12	3.84	53.59	68.65	1.03
Sargodha	45.77	3.26	39.37	52.16	0.93
Sheikhupura	37.79	3.07	31.77	43.80	1.20
Sialkot	48.56	6.38	36.05	61.08	1.90
Toba Tek Singh	32.76	3.56	25.78	39.74	1.03
Vehari	32.91	3.17	26.68	39.13	1.31

CONFIDENCE INTERVAL AND DEFF 2019-20

Province/District	Ratio	Standard Error	Confidence Interval		DEFF
			Min	Max	
Sindh	39.72	1.06	37.63	41.80	
Badin	32.85	4.03	24.95	40.76	1.36
Dadu	53.76	8.14	37.80	69.72	1.95
Ghotki	36.02	5.17	25.89	46.14	0.94
Hyderabad	55.70	4.18	47.51	63.90	0.99
Jacobabad	21.88	4.70	12.67	31.09	0.63
Jamshoro	54.66	8.73	37.54	71.77	0.90
Kambar Shahdad Kot	63.45	3.58	56.43	70.47	1.47
Karachi Central	52.38	3.61	45.30	59.46	1.23
Karachi East	46.73	5.13	36.69	56.78	1.25
Karachi South	47.12	4.79	37.73	56.51	1.05
Karachi West	45.67	4.94	35.99	55.35	1.88
Kashmore	26.21	3.13	20.06	32.35	1.18
Khairpur	44.52	3.83	37.01	52.02	1.04
Korangi	47.43	9.32	29.17	65.69	2.94
Larkana	74.48	4.51	65.64	83.33	0.88
Malir	49.38	9.47	30.81	67.94	3.29
Matiari	59.93	5.29	49.56	70.30	1.05
Mirpur Khas	33.68	4.75	24.36	43.00	0.76
Naushahro Feroze	38.84	6.01	27.06	50.62	1.31
Sanghar	24.12	3.49	17.29	30.96	1.57
Shaheed Benazirabad	26.61	3.18	20.38	32.85	0.90
Shikarpur	24.66	4.67	15.50	33.81	1.14
Sujawal	25.16	3.51	18.28	32.03	1.01
Sukkur	32.90	5.82	21.49	44.32	0.81
Tando Allahyar	44.40	4.50	35.59	53.22	0.75
Tando Muhammad Khan	41.98	5.77	30.67	53.29	0.63
Tharparkar	19.27	2.84	13.71	24.84	1.16
Thatta	26.02	7.04	12.23	39.82	0.72
Umer Kot	29.26	6.95	15.64	42.88	1.33

CONFIDENCE INTERVAL AND DEFF 2019-20

Province/District	Ratio	Standard Error	Confidence Interval		DEFF
			Min	Max	
Khyber Pakhtunkhwa	30.35	0.99	28.42	32.29	
Abbottabad	44.97	5.83	33.53	56.40	1.16
Bajaur	16.04	2.83	10.48	21.59	0.69
Bannu	16.30	3.86	8.73	23.87	1.36
Batagram	33.62	9.87	14.27	52.97	0.95
Buner	19.35	3.26	12.97	25.73	0.65
Charsadda	32.51	3.79	25.08	39.94	0.87
Chitral	19.90	4.09	11.89	27.91	0.58
Dera Ismail Khan	40.92	4.78	31.55	50.28	1.37
Hangu	16.63	4.75	7.32	25.95	0.47
Haripur	32.87	5.62	21.86	43.88	0.80
Karak	21.02	7.05	7.20	34.83	1.05
Khyber	36.70	3.74	29.37	44.03	1.01
Kohat	20.89	5.92	9.29	32.49	1.17
Kohistan	12.05	1.74	8.65	15.45	0.78
Kurram	22.40	3.09	16.35	28.45	0.55
Lakki Marwat	12.94	2.58	7.89	17.99	1.32
Lower Dir	37.93	6.05	26.08	49.79	0.78
Malakand Protected Area	25.37	6.77	12.10	38.65	0.89
Mansehra	26.94	4.67	17.78	36.10	1.20
Mardan	32.56	3.70	25.30	39.82	1.04
Mohmand	14.22	3.79	6.80	21.65	0.52
North Waziristan	33.39	3.81	25.92	40.87	0.65
Nowshera	39.86	4.21	31.61	48.12	0.81
Orakzai	22.58	3.91	14.92	30.25	0.46
Peshawar	42.30	3.30	35.82	48.77	1.16
Shangla	22.37	2.19	18.07	26.67	0.94
South Waziristan	48.51	8.79	31.27	65.75	1.17
Swabi	26.56	3.65	19.40	33.72	0.83
Swat	26.91	4.58	17.93	35.90	1.69
Tank	48.68	11.35	26.43	70.93	1.04
Torghar	5.82	2.97	0.00	11.65	0.28
Upper Dir	37.81	6.82	24.44	51.18	0.54

CONFIDENCE INTERVAL AND DEFF 2019-20

Province/District	Ratio	Standard Error	Confidence Interval		DEFF
			Min	Max	
Balochistan	28.04	1.79	24.53	31.54	
Awaran	11.73	4.37	3.17	20.30	0.32
Barkhan	29.32	4.61	20.27	38.36	0.39
Dera Bugti	33.62	9.59	14.82	52.42	0.36
Duki	20.19	8.01	4.48	35.90	0.61
Gwadar	21.10	6.85	7.66	34.53	0.61
Harnai	9.34	3.65	2.18	16.49	0.24
Jaffarabad	41.18	9.52	22.52	59.85	0.97
Kachhi	40.45	13.28	14.42	66.48	0.55
Kalat	27.02	5.73	15.78	38.26	0.20
Kech	23.75	3.71	16.48	31.01	0.79
Kharan	50.75	5.65	39.67	61.83	0.27
Khuzdar	1.96	0.79	0.41	3.50	0.51
Qilla Abdullah	34.76	6.29	22.43	47.09	0.88
Qilla Saifullah	12.73	2.90	7.05	18.41	0.26
Kohlu	11.97	9.32	-6.31	30.24	0.75
Lasbela	15.80	8.21	-0.29	31.89	1.81
Loralai	44.90	10.92	23.49	66.30	0.65
Mastung	24.61	6.20	12.46	36.77	0.80
Nasirabad	31.19	9.32	12.92	49.47	1.00
Nushki	70.50	5.64	59.44	81.56	0.31
Pishin	17.43	3.88	9.82	25.03	0.64
Quetta	31.55	5.17	21.41	41.69	1.69
Shaheed Sikandar Abad	15.62	6.05	3.76	27.49	0.60
Sherani	28.53	13.64	1.80	55.26	1.26
Sibi	31.92	9.63	13.04	50.81	0.61
Sohbatpur	37.74	12.20	13.82	61.65	1.22
Washuk	46.82	8.74	29.68	63.96	0.24
Ziarat	6.48	2.31	1.95	11.00	0.33

CONFIDENCE INTERVAL AND DEFF 2019-20

Diarrhoea cases in children under 5 years of age.

Province/District	Ratio	Standard Error	Confidence Interval		DEFF
			Min	Max	
Pakistan	6.42	0.16	6.11	6.73	
Punjab	5.90	0.20	5.51	6.28	
Attock	1.64	0.54	0.58	2.71	0.77
Bahawalnagar	4.21	0.87	2.50	5.92	0.94
Bahawalpur	9.00	1.00	7.04	10.96	0.83
Bhakkar	3.58	0.79	2.02	5.13	0.71
Chakwal	6.85	1.80	3.31	10.38	0.91
Chiniot	4.63	0.82	3.03	6.23	0.72
Dera Ghazi Khan	16.87	2.09	12.78	20.96	1.45
Faisalabad	3.10	0.45	2.21	3.99	1.26
Gujranwala	4.86	0.69	3.50	6.22	1.27
Gujrat	1.32	0.38	0.57	2.08	1.06
Hafizabad	2.89	0.67	1.57	4.21	0.62
Islamabad	2.34	0.71	0.95	3.72	0.90
Jhang	7.24	0.88	5.52	8.96	1.07
Jhelum	7.94	2.09	3.84	12.04	0.71
Kasur	4.37	0.66	3.07	5.67	1.13
Khanewal	13.22	1.77	9.75	16.68	1.08
Khushab	3.87	0.98	1.95	5.79	0.76
Lahore	6.26	0.69	4.90	7.62	2.34
Layyah	18.05	2.11	13.90	22.19	3.06
Lodhran	4.37	1.22	1.98	6.77	0.81
Mandi Bahauddin	2.45	0.78	0.93	3.97	1.09
Mianwali	5.09	0.97	3.19	6.98	0.98
Multan	9.53	1.63	6.32	12.73	1.11
Muzaffargarh	4.47	0.99	2.52	6.42	1.06
Nankana Sahib	1.92	0.63	0.69	3.15	0.87
Narowal	1.57	0.41	0.75	2.38	0.73
Okara	7.67	1.37	4.98	10.36	1.41
Pakpattan	9.03	1.26	6.57	11.49	0.86
Rahim Yar Khan	2.38	0.50	1.39	3.36	1.34
Rajanpur	14.26	2.12	10.11	18.41	0.98
Rawalpindi	3.09	0.69	1.74	4.45	1.42
Sahiwal	10.31	1.33	7.70	12.92	1.04
Sargodha	2.93	0.55	1.85	4.00	0.92
Sheikhupura	3.63	0.58	2.49	4.76	1.12
Sialkot	1.23	0.57	0.10	2.36	1.56
Toba Tek Singh	3.51	0.79	1.96	5.06	1.21
Vehari	3.78	0.78	2.25	5.31	1.68

CONFIDENCE INTERVAL AND DEFF 2019-20

Province/District	Ratio	Standard Error	Confidence Interval		DEFF
			Min	Max	
Sindh	8.09	0.46	7.20	8.98	
Badin	6.60	0.99	4.67	8.53	1.42
Dadu	2.37	1.07	0.27	4.48	1.26
Ghotki	8.61	1.55	5.58	11.64	0.87
Hyderabad	11.14	1.74	7.74	14.55	1.04
Jacobabad	7.04	1.74	3.63	10.45	0.63
Jamshoro	8.22	2.81	2.71	13.72	0.83
Kambar Shahdad Kot	16.07	5.96	4.39	27.75	1.23
Karachi Central	5.71	1.04	3.67	7.76	0.97
Karachi East	14.07	4.80	4.65	23.48	2.13
Karachi South	5.79	1.36	3.12	8.46	1.09
Karachi West	10.07	2.02	6.11	14.04	1.59
Kashmore	14.39	1.93	10.61	18.18	1.06
Khairpur	14.07	2.98	8.22	19.92	1.09
Korangi	9.91	2.71	4.60	15.22	1.84
Larkana	15.52	4.26	7.16	23.88	0.98
Malir	8.22	2.92	2.50	13.95	2.33
Matiari	8.07	2.17	3.82	12.32	0.84
Mirpur Khas	2.27	0.58	1.14	3.41	0.58
Naushahro Feroze	5.42	1.10	3.27	7.57	1.25
Sanghar	2.56	0.49	1.60	3.52	1.42
Shaheed Benazirabad	2.73	0.51	1.73	3.72	0.80
Shikarpur	5.75	1.24	3.32	8.19	1.10
Sujawal	6.63	2.29	2.15	11.12	0.91
Sukkur	9.84	2.04	5.85	13.84	1.07
Tando Allahyar	9.36	2.40	4.66	14.06	0.98
Tando Muhammad Khan	11.20	2.10	7.08	15.31	0.68
Tharparkar	2.91	0.56	1.81	4.01	1.36
Thatta	16.16	5.05	6.25	26.07	0.84
Umer Kot	3.12	1.15	0.87	5.37	1.43

CONFIDENCE INTERVAL AND DEFF 2019-20

Province/District	Ratio	Standard Error	Confidence Interval		Deff
			Min	Max	
Khyber Pakhtunkhwa	5.84	0.29	5.27	6.40	
Abbottabad	2.27	0.62	1.05	3.48	1.28
Bajaur	5.64	0.84	3.99	7.29	0.59
Bannu	14.85	2.10	10.73	18.96	1.15
Batagram	15.00	5.37	4.47	25.53	1.03
Buner	3.82	1.09	1.69	5.95	0.65
Charsadda	5.80	1.33	3.19	8.41	0.84
Chitral	6.61	1.29	4.07	9.14	0.47
Dera Ismail Khan	7.03	2.20	2.72	11.34	1.83
Hangu	4.11	1.65	0.88	7.34	0.61
Haripur	2.87	0.79	1.31	4.42	0.81
Karak	3.85	1.67	0.58	7.13	0.99
Khyber	10.09	2.13	5.91	14.26	1.00
Kohat	1.91	0.96	0.03	3.79	1.62
Kohistan	3.71	1.36	1.05	6.37	1.68
Kurram	7.06	1.54	4.04	10.09	0.59
Lakki Marwat	4.87	1.38	2.18	7.57	1.20
Lower Dir	4.27	0.83	2.64	5.91	0.55
Malakand	9.65	3.61	2.58	16.72	0.87
Mansehra	5.71	1.29	3.19	8.23	1.34
Mardan	4.88	1.07	2.78	6.98	1.05
Mohmand	2.48	0.79	0.94	4.03	0.47
North Waziristan	6.52	3.66	-0.64	13.69	1.75
Nowshera	6.12	1.22	3.72	8.52	0.76
Orakzai	6.92	1.11	4.74	9.11	0.48
Peshawar	7.09	0.85	5.43	8.76	1.32
Shangla	4.39	0.88	2.67	6.11	0.98
South Waziristan	16.57	3.79	9.14	23.99	1.30
Swabi	3.60	1.25	1.15	6.06	0.94
Swat	1.78	0.57	0.67	2.89	1.71
Tank	11.39	2.84	5.83	16.95	1.09
Torghar	1.38	0.59	0.22	2.54	0.26
Upper Dir	8.22	1.64	5.01	11.43	0.48

CONFIDENCE INTERVAL AND DEFF 2019-20

Province/District	Ratio	Standard Error	Confidence Interval		Deff
			Min	Max	
Balochistan	6.88	0.59	5.73	8.03	
Awaran	1.96	0.80	0.39	3.52	0.32
Barkhan	5.84	1.52	2.86	8.81	0.42
Dera Bugti	0.50	0.50	-0.47	1.48	0.35
Duki	14.15	2.72	8.82	19.48	0.62
Gwadar	12.83	3.29	6.37	19.29	0.48
Harnai	2.35	1.64	-0.87	5.58	0.22
Jaffarabad	3.08	1.09	0.94	5.22	0.53
Kachhi	9.46	3.26	3.07	15.85	0.58
Kalat	6.23	1.06	4.16	8.31	0.20
Kech	20.23	4.10	12.19	28.26	2.14
Kharan	12.04	2.11	7.89	16.18	0.27
Khuzdar	3.31	0.86	1.63	4.98	0.58
Qilla Abdullah	2.34	0.78	0.81	3.88	1.05
Qilla Saifullah	2.72	0.65	1.45	3.98	0.32
Kohlu	3.81	4.24	-4.50	12.12	0.77
Lasbela	5.39	3.14	-0.78	11.55	2.80
Loralai	5.80	1.56	2.73	8.87	0.38
Mastung	7.38	2.36	2.76	12.00	0.42
Nasirabad	10.86	3.81	3.39	18.32	1.38
Nushki	11.63	2.78	6.18	17.08	0.34
Pishin	2.82	0.80	1.25	4.39	0.62
Quetta	6.97	1.37	4.28	9.67	1.41
Shaheed Sikandar Abad	7.80	2.81	2.30	13.30	0.61
Sherani	14.61	7.47	-0.03	29.25	1.56
Sibi	0.57	0.35	-0.11	1.25	0.33
Sohbatpur	1.03	0.65	-0.25	2.32	1.18
Washuk	18.71	3.43	11.99	25.43	0.40
Ziarat	1.40	0.96	-0.47	3.27	0.29

Functional Limitation disability

Province/District	Ratio	Standard Error	Confidence Interval		Deff
			Min	Max	
Pakistan	10.69	0.08	10.54	10.85	
Punjab	11.47	0.11	11.25	11.70	
Attock	11.45	0.60	10.28	12.63	0.97
Bahawalnagar	10.71	0.32	10.08	11.33	0.92
Bahawalpur	9.18	0.36	8.47	9.90	0.90
Bhakkar	13.01	0.68	11.68	14.33	0.77
Chakwal	11.99	0.59	10.84	13.14	0.87
Chiniot	10.30	0.55	9.22	11.39	0.91
Dera Ghazi Khan	11.17	0.76	9.68	12.66	1.29
Faisalabad	10.04	0.30	9.45	10.63	1.23
Gujranwala	14.64	0.68	13.32	15.97	1.49
Gujrat	14.46	0.82	12.85	16.06	1.00
Hafizabad	12.53	0.83	10.90	14.16	0.64
Islamabad	9.20	0.57	8.08	10.32	1.24
Jhang	13.49	0.79	11.95	15.04	0.93
Jhelum	10.73	0.57	9.62	11.84	0.76
Kasur	10.03	0.45	9.15	10.91	0.86
Khanewal	13.05	0.92	11.24	14.85	1.09
Khushab	13.43	0.85	11.77	15.09	0.62
Lahore	11.43	0.39	10.66	12.21	1.90
Layyah	11.43	0.75	9.95	12.91	2.26
Lodhran	7.95	0.61	6.76	9.14	1.00
Mandi Bahauddin	15.79	1.09	13.66	17.92	1.04
Mianwali	17.00	1.03	14.98	19.02	0.90
Multan	10.74	0.76	9.25	12.22	0.97
Muzaffargarh	11.38	1.03	9.37	13.39	1.07
Nankana Sahib	9.10	0.62	7.89	10.31	0.99
Narowal	10.79	0.39	10.03	11.54	0.77
Okara	10.18	1.16	7.90	12.45	2.44
Pakpattan	11.78	0.65	10.50	13.05	0.80
Rahim Yar Khan	13.58	0.57	12.46	14.70	1.50
Rajanpur	8.82	0.64	7.57	10.07	1.08
Rawalpindi	11.74	0.42	10.92	12.56	1.23
Sahiwal	15.28	0.68	13.96	16.61	0.91
Sargodha	14.28	0.60	13.12	15.45	0.96
Sheikhupura	8.89	0.54	7.84	9.94	1.24
Sialkot	9.08	0.51	8.08	10.09	1.63
Toba Tek Singh	12.78	0.87	11.07	14.49	1.24
Vehari	7.13	0.31	6.52	7.74	1.08

CONFIDENCE INTERVAL AND DEFF 2019-20

Province/District	Ratio	Standard Error	Confidence Interval		Deff
			Min	Max	
Sindh	10.16	0.17	9.83	10.50	
Badin	8.66	0.78	7.14	10.19	1.61
Dadu	6.34	0.69	4.98	7.69	1.25
Ghotki	8.76	0.88	7.04	10.49	0.88
Hyderabad	12.13	0.91	10.34	13.92	1.20
Jacobabad	7.92	0.59	6.76	9.08	0.60
Jamshoro	8.84	1.13	6.62	11.07	0.65
Kambar Shahdad Kot	8.13	0.77	6.62	9.64	1.07
Karachi Central	15.28	0.67	13.97	16.58	1.31
Karachi East	13.43	0.82	11.81	15.04	1.45
Karachi South	13.58	0.99	11.64	15.52	1.28
Karachi West	9.98	0.65	8.70	11.26	2.21
Kashmore	6.76	0.85	5.10	8.42	1.67
Khairpur	8.55	0.51	7.56	9.54	1.02
Korangi	11.81	1.24	9.39	14.23	2.42
Larkana	12.37	1.17	10.08	14.66	0.81
Malir	7.69	0.64	6.45	8.94	2.38
Matiari	9.43	0.86	7.75	11.12	1.03
Mirpur Khas	10.04	0.70	8.67	11.41	0.64
Naushahro Feroze	9.52	1.30	6.97	12.07	1.37
Sanghar	6.82	0.41	6.02	7.62	1.53
Shaheed Benazirabad	7.04	0.43	6.19	7.89	0.88
Shikarpur	9.09	0.75	7.62	10.57	1.12
Sujawal	8.64	0.77	7.13	10.15	0.86
Sukkur	9.43	0.79	7.88	10.99	1.03
Tando Allahyar	10.91	1.24	8.47	13.34	0.93
Tando Muhammad Khan	12.25	0.96	10.36	14.14	0.42
Tharparkar	7.79	0.64	6.53	9.06	1.72
Thatta	9.88	0.90	8.12	11.63	0.76
Umer Kot	11.67	0.80	10.09	13.25	1.10

CONFIDENCE INTERVAL AND DEFF 2019-20

Province/District	Ratio	Standard Error	Confidence Interval		Deff
			Min	Max	
Khyber Pakhtunkhwa	9.57	0.16	9.26	9.87	
Abbottabad	12.30	1.06	10.22	14.38	1.46
Bajaur	7.16	0.35	6.48	7.84	0.59
Bannu	14.29	0.71	12.90	15.68	1.13
Batagram	9.72	1.21	7.35	12.09	0.76
Buner	10.41	0.67	9.09	11.73	0.64
Charsadda	10.33	1.28	7.82	12.84	1.36
Chitral	8.96	0.68	7.63	10.30	0.68
Dera Ismail Khan	8.33	0.81	6.74	9.92	1.15
Hangu	10.78	1.37	8.10	13.47	1.49
Haripur	13.89	0.90	12.12	15.65	0.90
Karak	14.54	1.79	11.04	18.05	1.38
Khyber	5.32	0.38	4.57	6.07	0.89
Kohat	13.58	1.00	11.62	15.55	1.07
Kohistan	6.12	0.33	5.47	6.77	0.75
Kurram	8.57	0.51	7.57	9.57	0.56
Lakki Marwat	11.96	0.81	10.38	13.55	1.21
Lower Dir	5.99	0.30	5.40	6.58	0.56
Malakand Protected Area	8.76	0.70	7.40	10.12	0.81
Mansehra	9.99	0.63	8.77	11.22	1.20
Mardan	10.54	0.52	9.52	11.56	0.90
Mohmand	9.41	0.71	8.02	10.80	0.47
North Waziristan	7.89	0.84	6.24	9.53	0.95
Nowshera	10.17	0.71	8.78	11.55	0.87
Orakzai	8.37	0.97	6.47	10.27	0.54
Peshawar	9.29	0.46	8.39	10.18	1.23
Shangla	8.87	0.48	7.93	9.80	1.09
South Waziristan	8.26	0.91	6.46	10.05	1.02
Swabi	8.13	0.49	7.17	9.08	0.94
Swat	6.88	0.42	6.05	7.70	1.89
Tank	7.02	0.98	5.09	8.95	1.31
Torghar	8.89	1.23	6.48	11.30	0.32
Upper Dir	9.27	0.65	7.99	10.55	0.52

CONFIDENCE INTERVAL AND DEFF 2019-20

Province/District	Ratio	Standard Error	Confidence Interval		Deff
			Min	Max	
Balochistan	9.00	0.31	8.39	9.60	
Awaran	5.27	0.73	3.83	6.70	0.36
Barkhan	10.99	0.88	9.27	12.72	0.39
Dera Bugti	1.97	0.48	1.03	2.91	0.77
Duki	5.72	0.91	3.94	7.50	0.70
Gwadar	17.08	2.39	12.39	21.77	0.68
Harnai	11.48	1.36	8.81	14.15	0.15
Jaffarabad	5.19	0.54	4.12	6.25	0.84
Kachhi	10.02	1.49	7.10	12.94	0.38
Kalat	9.78	1.69	6.48	13.09	0.20
Kech	10.89	1.47	8.01	13.77	1.52
Kharan	5.52	0.82	3.92	7.12	0.27
Khuzdar	6.28	0.64	5.03	7.52	0.54
Qilla Abdullah	5.93	0.40	5.14	6.72	1.09
Qilla Saifullah	6.19	0.82	4.58	7.81	0.36
Kohlu	30.92	4.27	22.55	39.28	0.66
Lasbela	11.59	1.69	8.28	14.89	2.61
Loralai	8.76	0.76	7.27	10.26	0.47
Mastung	7.37	1.09	5.24	9.50	1.05
Nasirabad	3.86	0.84	2.22	5.49	2.17
Nushki	4.75	0.52	3.73	5.76	0.32
Pishin	8.70	0.60	7.53	9.87	0.56
Quetta	11.45	0.89	9.71	13.20	1.29
Shaheed Sikandar Abad	14.50	2.52	9.57	19.43	0.56
Sherani	4.19	0.52	3.17	5.22	0.48
Sibi	9.74	0.79	8.19	11.29	0.69
Sohbatpur	4.76	0.69	3.41	6.11	1.16
Washuk	10.66	1.60	7.53	13.79	0.27
Ziarat	9.14	1.68	5.85	12.43	0.28

Situation Analysis 2019-20

Situation analysis is subjective approach used by PSLM Section of PBS to potray/depict the situation at district level within provinces by considering the **16 indicators** from dimensions of Education(5), Health(3), Living Stndards(5) and Information Communication and Technology (ICT)(3). This approach is used for first time, to analyze PSLM District Level Survey 2019-20 data. It identifies the districts which are performing well and also highlights the district which require government's interventions regarding development plans & resource allocation . It also provides comparison between districts by which one could easily identify the reason of non-development in a specific district and also helps policy makers to change the policies and activities in place to overcome the problem. Weights has been assigned subjectively to Dimensions with respect to their relative importance, which can be ameded / modified by users/policy makers according to their needs.The description of indicators and their relative weights are as below:

Dimensions	Indicators	Indicator Weights	Dimension Weight
Education	Literacy	0.15	30%
	Completed Primary or Higher	0.25	
	Youth Literacy 15-24 years	0.15	
	Attending School (5-16)	0.3	
	Gender Parity Index	0.15	
Health	Full Immunization Record Based	0.3	30%
	Pre Natal Consultation	0.3	
	Skill Birth Attendant	0.4	
Living Standards	Roof & Wall	0.1	30%
	Electricity as Source of Lighting	0.25	
	Gas as Fuel For Cooking	0.25	
	Improved Drinking Water Source	0.2	
	Improved Toilet Facility	0.2	
ICT	Computer/Laptop/Tablet	0.2	10%
	Mobile	0.4	
	Internet	0.4	
Overall			**100**

Education Score 2019-20

Education score has been computed by combining five indicators:

- Literacy,
- Completed Primary or higher age (10 years & above),
- Youth Literacy Age (15-24 yrs),
- Attending School
- Gender Parity Index

Weights has been assigned accordingly in order to capture the true situation of districts in education .By combining these five indicators education score has been calculated. Situation of districts with respect to education is depicted in the maps below.

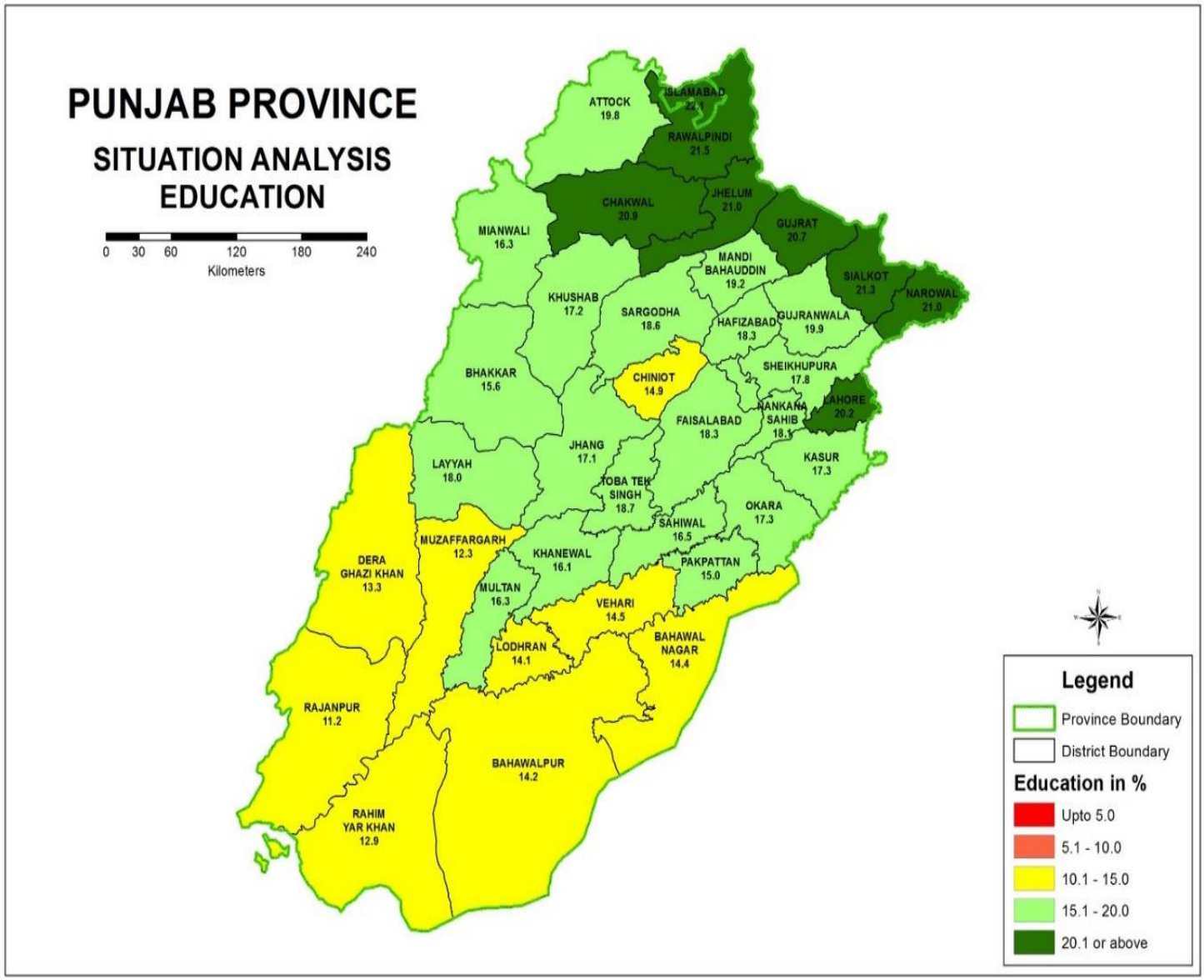

Education Score 2019-20

This situation Analysis depicts that situation within Punjab are better than other three provinces, however there are stark difference between districts of central, northern and southern Punjab in Education. Avergare score of Districts of Punjab is 17.26 out of 30 and 19 distrcts fall below average and 17 above avargae out of 36 districts which clearly indicates the districts needed interventions.

Punjab	
Average	17.26
Total Districts	**36**
Above Average	17
Below Average	19

Score	Grade	Colour	Districts
20.1 or Above	A		7
15.1-20.0	B		20
10.1-15.0	C		9
5.1-10.0	D		Nil
upto 5	E		Nil
Total Districts			36

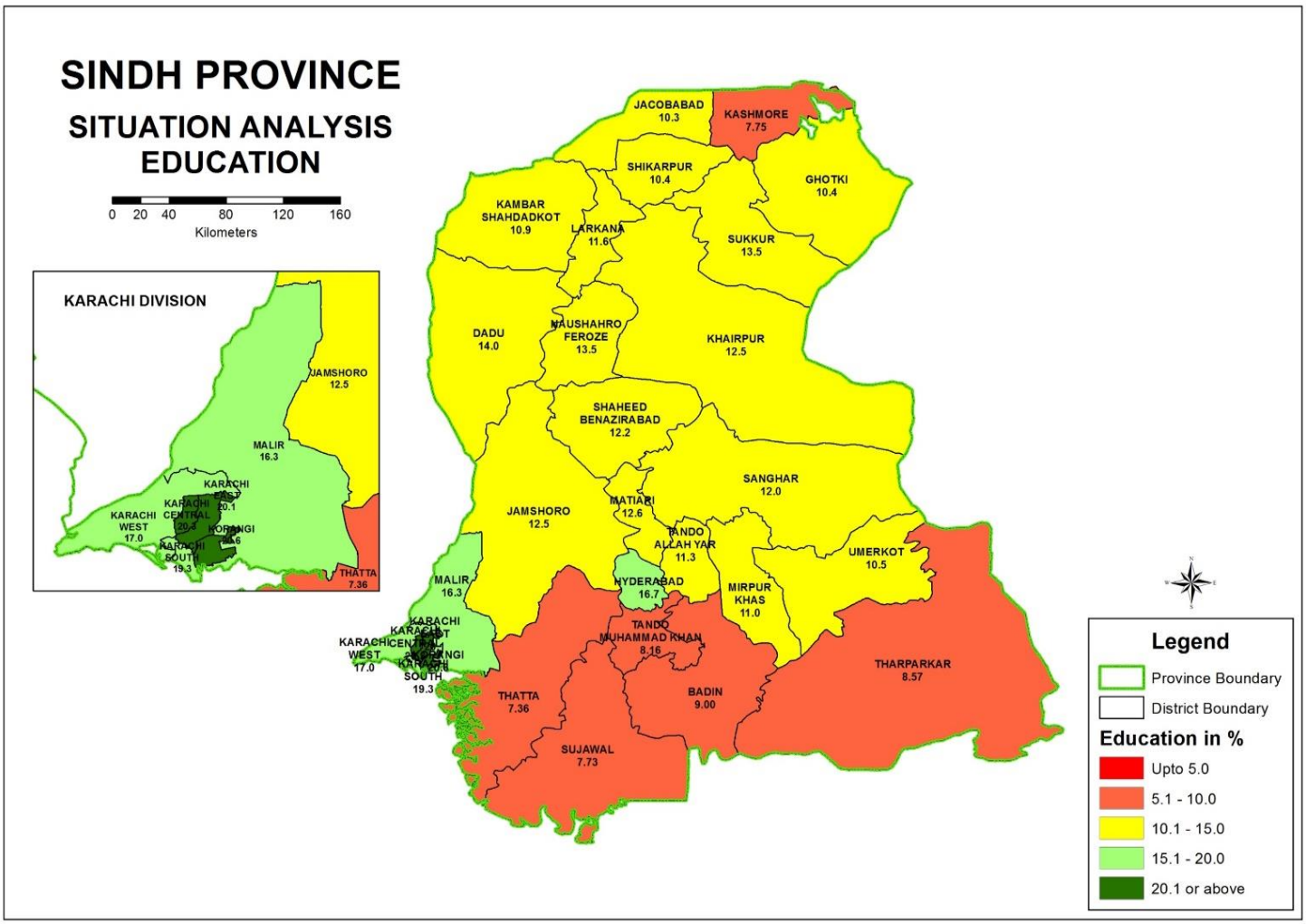

Education Score 2019-20

Situation analysis of Education within Sindh province depicts alarming picture. Overall only 10 districts out of 29 districts are above average i.e 12.85 however, 19 districts are below average.There is dire need of improvement in Sindh as its condition is quite vulnerable. Government must put serious efforts to improve the situation of Education for improving Human Development Indicators.

Sindh	
Average	12.85
Total Districts	**29**
Above Average	10
Below Average	19

Score	Grade	Colour	Districts
20.1 or Above	A		3
15.1-20.0	B		4
10.1-15.0	C		16
5.1-10.0	D		6
upto 5	E		Nil
Total Districts			**29**

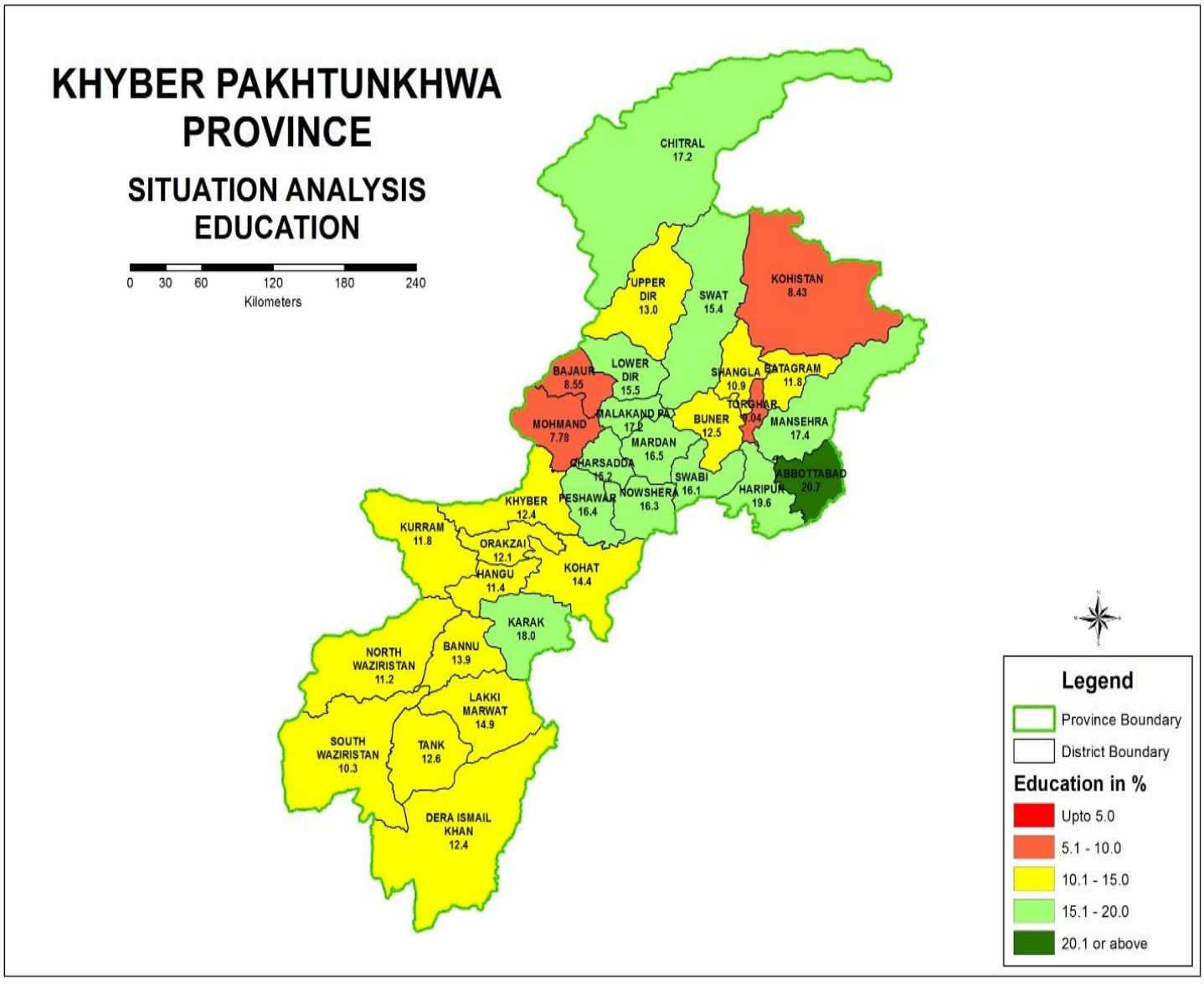

Education Score 2019-20

In Khyber Pakhtunkhwa, it is observed that situation of Education is quite worrisome in southern districts of Khyber Pakhtnunkhwa except Karak and the newly merged districts . Half of the districts are above average i.e 13.8, however half of the districts fall are below average. This is evident that districts of Erstwhile Fata and Southern Khyber Paktunkhwa need immediate attention alonmgwith Kohistan & Torgarh to improve the overll ranking of the Province

Khyber Pakhtunkhwa	
Average	13.88
Total Districts	**32**
Above Average	16
Below Average	16

Score	Grade	Colour	Districts
20.1 or Above	A		1
15.1-20.0	B		12
10.1-15.0	C		15
5.1-10.0	D		4
upto 5	E		Nil
Total Districts			**32**

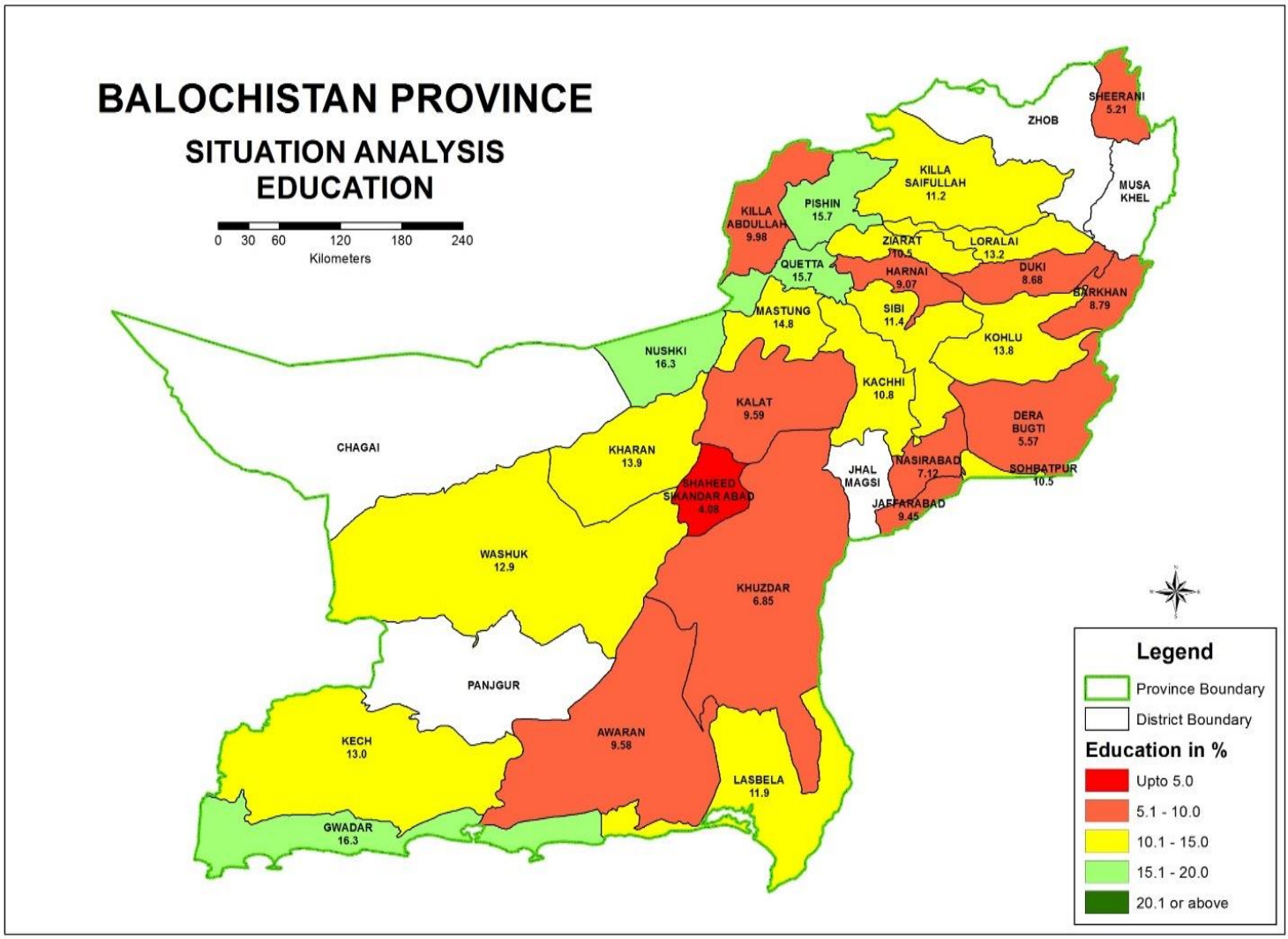

Education Score 2019-20

In Balochistan, the situation of Education is extremely dismal as compared to other Provinces as not a single district fall in very good grade A i.e score 20& above and only 4 districts fall in category B i.e Good. It is observed with great concern that 23 districts out of 28 districts portray the worse situation in terms of Education and needs immediate interventions to bring improvement in education.

Balochistan	
Average	11.02
Total Districts	**28**
Above Average	13
Below Average	15

Score	Grade	Colour	Districts
20.1 or Above	A		Nil
15.1-20.0	B		4
10.1-15.0	C		12
5.1-10.0	D		11
upto 5	E		1
Total Districts			**28**

Health Score 2019-20

After the comprehensive study of health indicators PSLM team has combined following indicators and assigned weights accordingly in order to capture the true situation of districts health situation.

1. Child full immunization level during first year of birth
2. Delivery's assisted by skilled birth attendant
3. Pre-Natal consultation during last pregnancy.

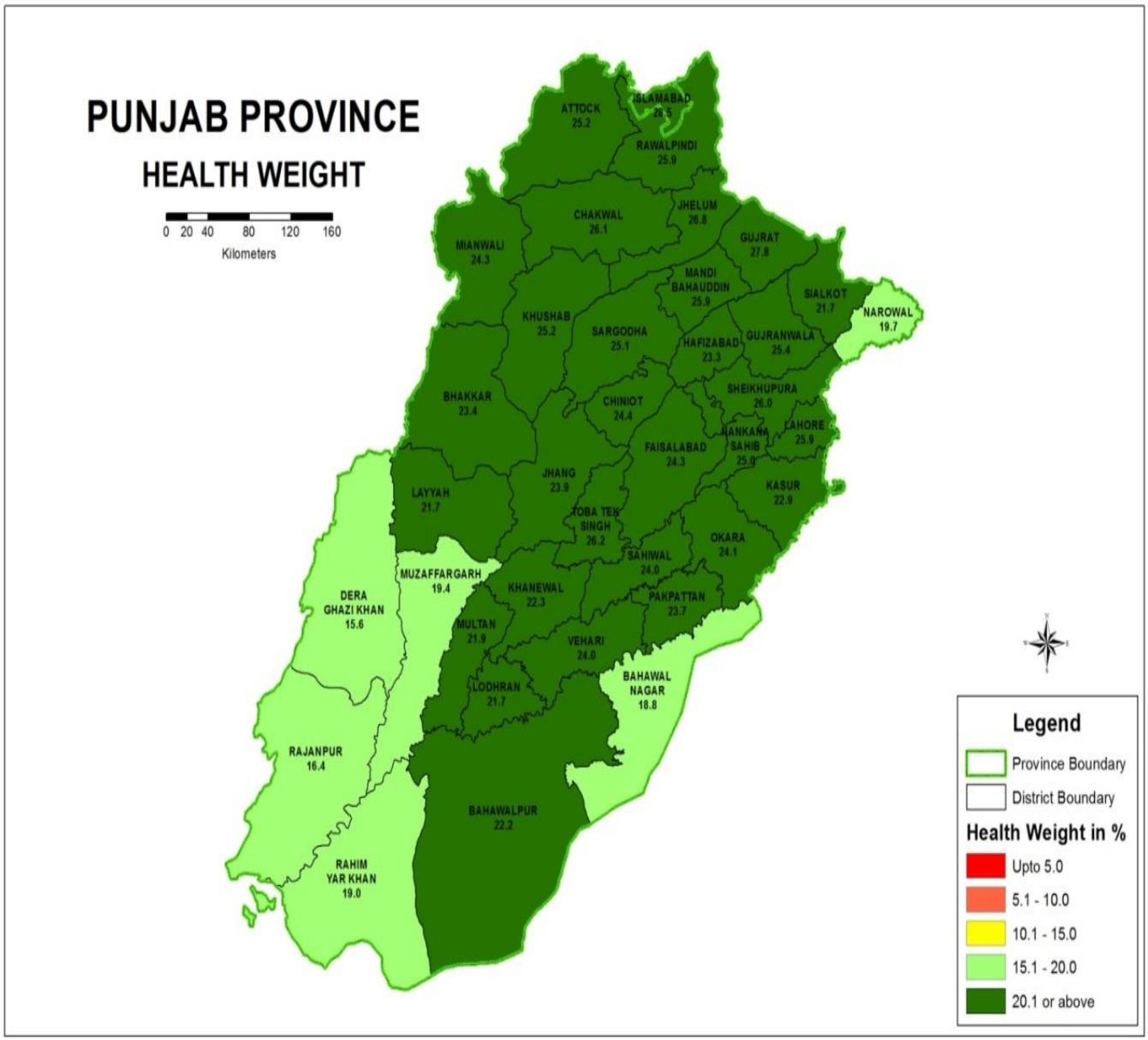

Health Score 2019-20

According to health scores, situation in Punjab seems quite satisfactory in terms of selected undicators as thirty districts presents good condition and securing grade A, 6 districts lies in category B and none of the district shows worst condition or C category. Overall in Punjab 18 districts are above average however 18 districts are

below average. This situation Analysis depicts that Punjab is performing well as there is no district which has less than 15 out of 30, however there stll need to work on districts of southern Punjab for bringing it to levl of other districts of province

Punjab	
Average	23.41
Total Districts	**36**
Above Average	18
Below Average	18

Score	Grade	Colour	Districts
20.1 or Above	A		30
15.1-20.0	B		6
10.1-15.0	C		0
5.1-10.0	D		0
upto 5	E		0
Total Districts			36

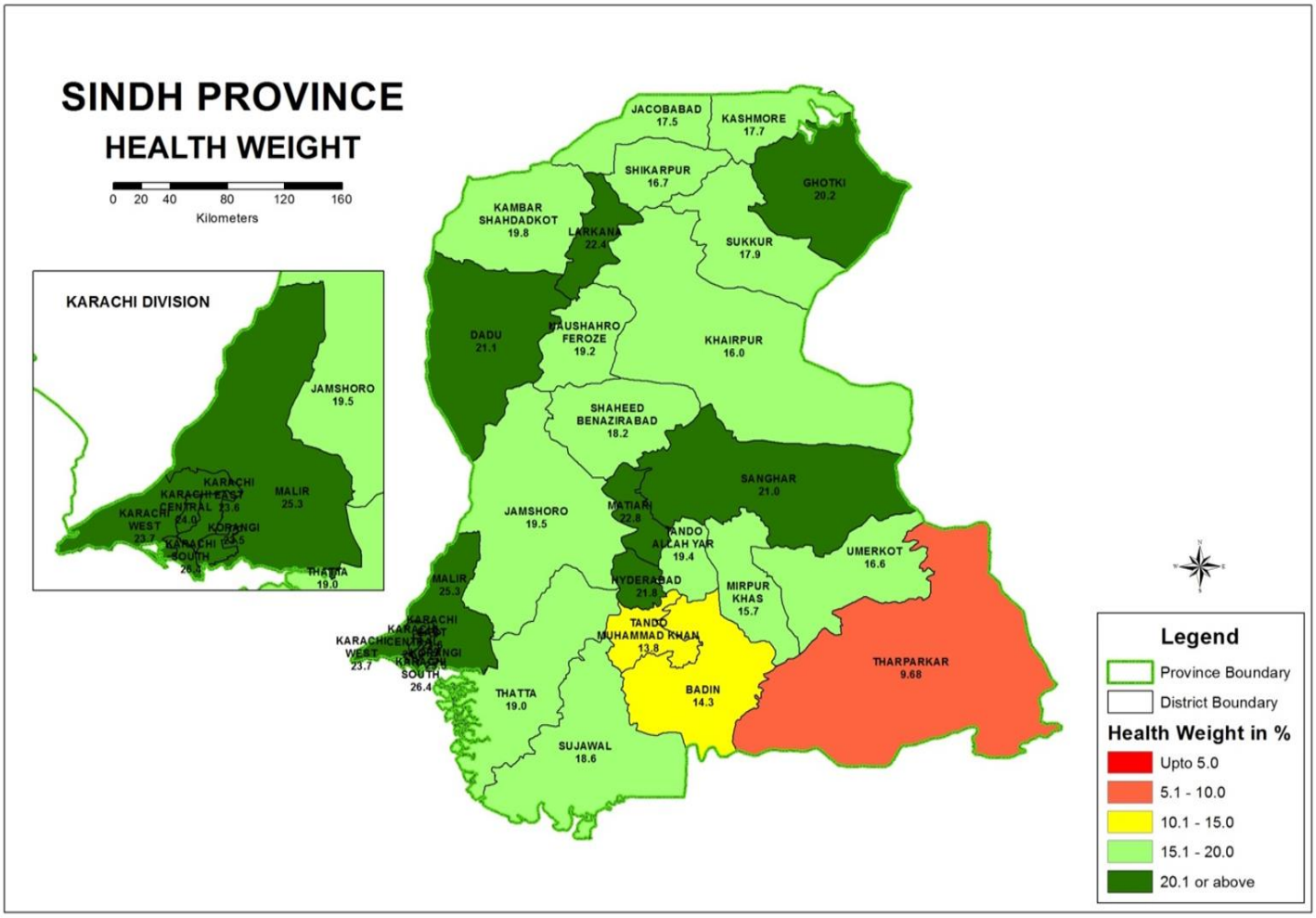

Health Score 2019-20

It is worth mention that unlike Education satiuation, the Health indicators situation in terms of reproductive health & immunization is quite encouraging and depicts that extensive work has been done by Governmnt in the selected indicators. Out of 29 districts only 3 presents the poor situation and needs governmmt attention and

planning interventions. Improvement is still required in Sindh as 18 districts have their score less than 15 out of 30 , these districts require serious efforts by government and stake holders to improve the situation of Sindh.

Sindh	
Average	19.54
Total Districts	**29**
Above Average	14
Below Average	15

Score	Grade	Colour	Districts
20.1 or Above	A		11
15.1-20.0	B		15
10.1-15.0	C		2
5.1-10.0	D		1
upto 5	E		0
Total Districts			29

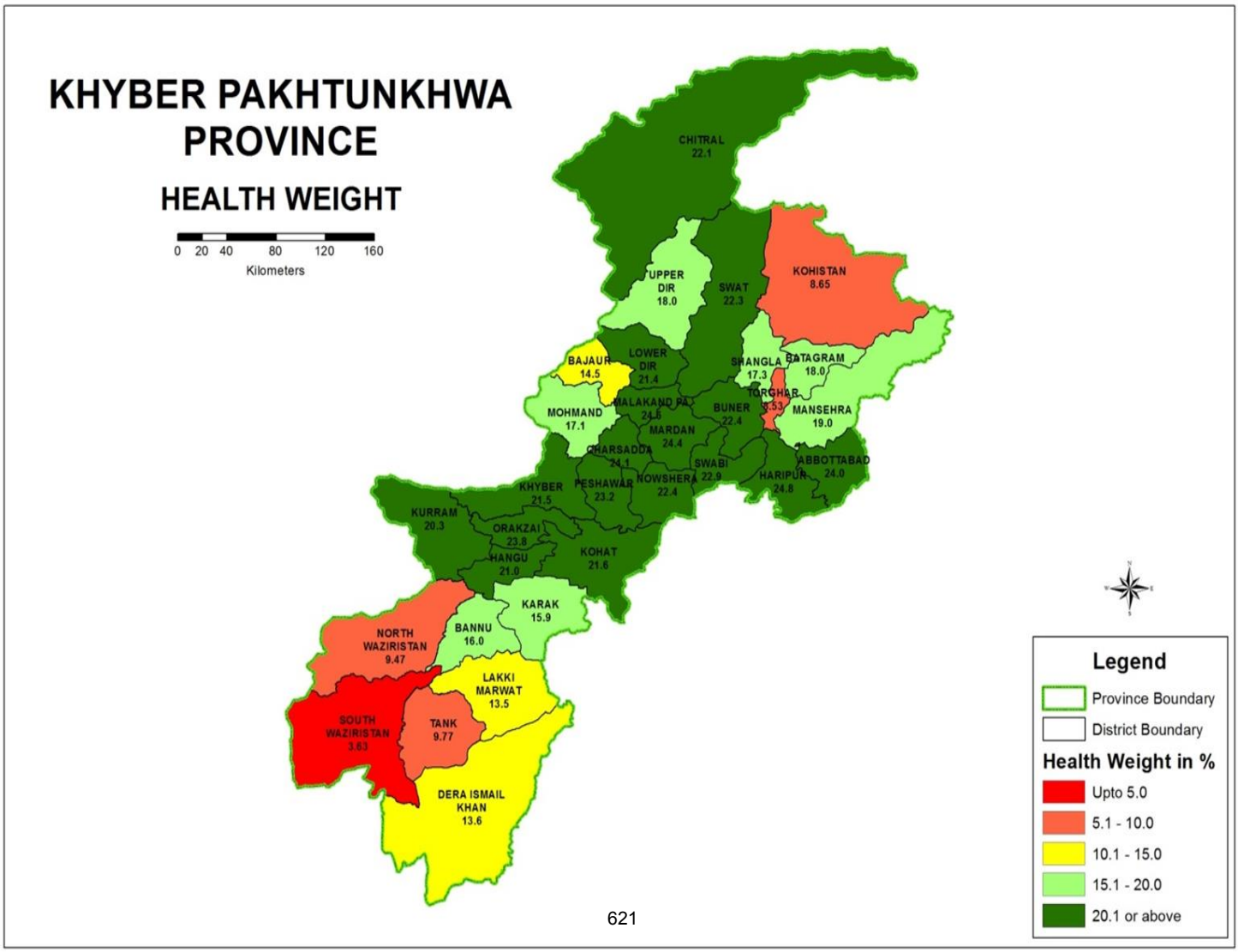

Like Education, the situation of selected health indicators is ppor in southern districts of KP and newely merged areas except Karak & Bannu. Out of 32 districts 15 districts lies in poor category c, i.e. score less than or equal to 15. Overall 18 districts out of 32 districts of KP province are above average however, 14 districts are below average.There are positive signs show in KP as above average districts are more than below average districts but a lot of work is required in those districts which are now including in KP after FATA merger.

KP	
Average	18.48
Total Districts	**32**
Above Average	18
Below Average	14

Score	Grade	Colour	Districts
20.1 or Above	A		17
15.1-20.0	B		7
10.1-15.0	C		3
5.1-10.0	D		4
upto 5	E		1
Total Districts			32

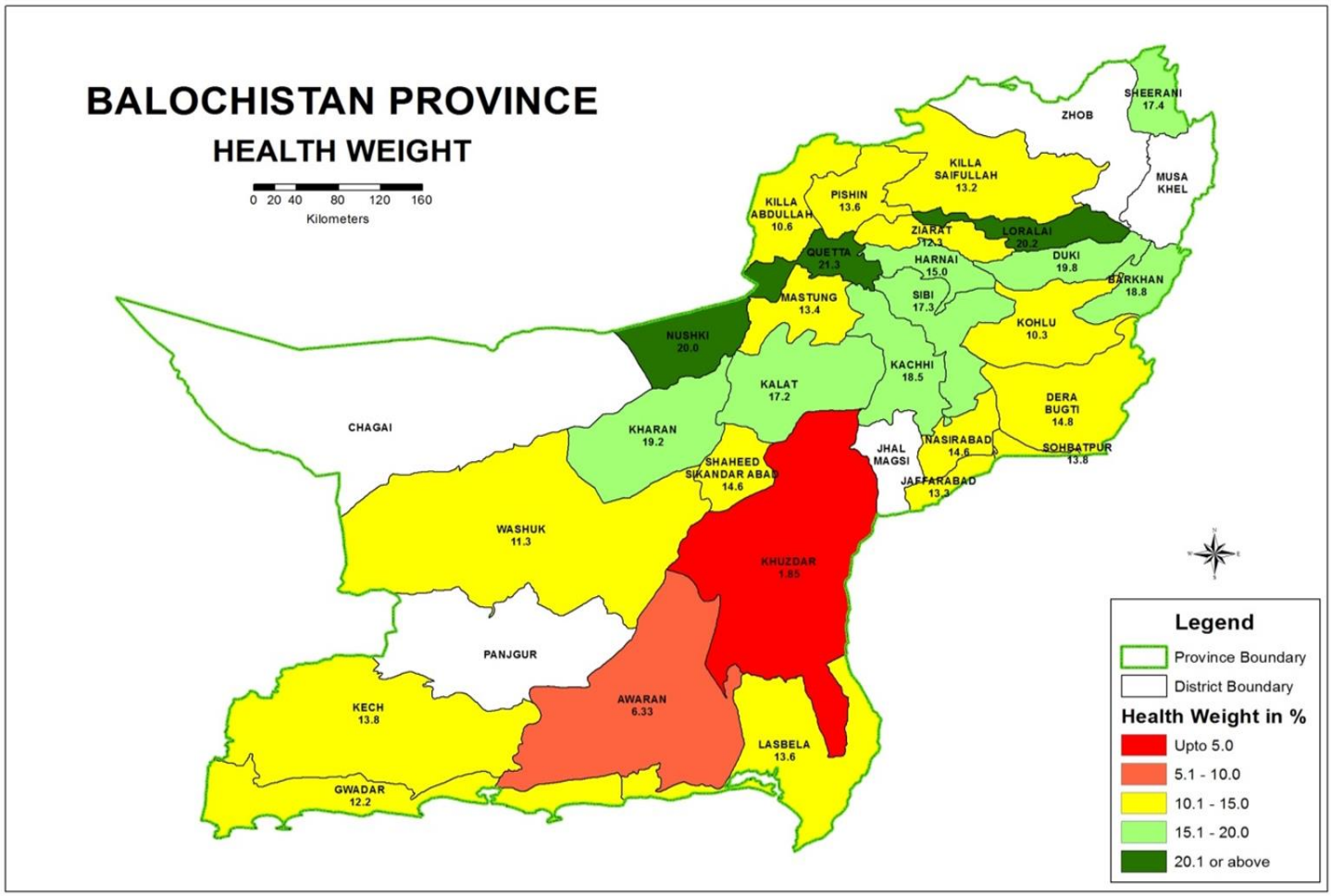

Health Score 2019-20

In Balochistan, the situation is extremely poor as only 3 districts lies in category A and 8 lies in catergory B however 17 districts out of 28 districts shows the impoverished condition. Quetta is at top with 21.3 score and Khuzdar with 1.85 score is the bottom district of Balochistan which shows that the condition of the district is highly susceptible and needs special attention. Although the results of Balochistan are not satisfactory but overall Quetta, Nushki and Loralai performed better than other distrcits during 2019-20.

Balochistan	
Average	14.63
Total Districts	**28**
Above Average	14
Below Average	14

Score	Grade	Colour	Districts
20.1 or Above	A		3
15.1-20.0	B		8
10.1-15.0	C		15
5.1-10.0	D		1
upto 5	E		1
Total Districts			28

Living Standards Score 2019-20

To monitor the situation of district and on the recommendation of technical experts, following five indicators of living Standards (LS) has been included in situation analysis .

- Roof & Wall
- Source of Lighting; Electricity
- Fuel used for Cooking; Gas
- Drinking water from Improed Source
- Improved toilet facility

Weights has been assigned accordingly in order to capture the true situation of districts by combining these five indicators LS score has been calculated. Situation of districts with respect to LS is depicted in the maps below:

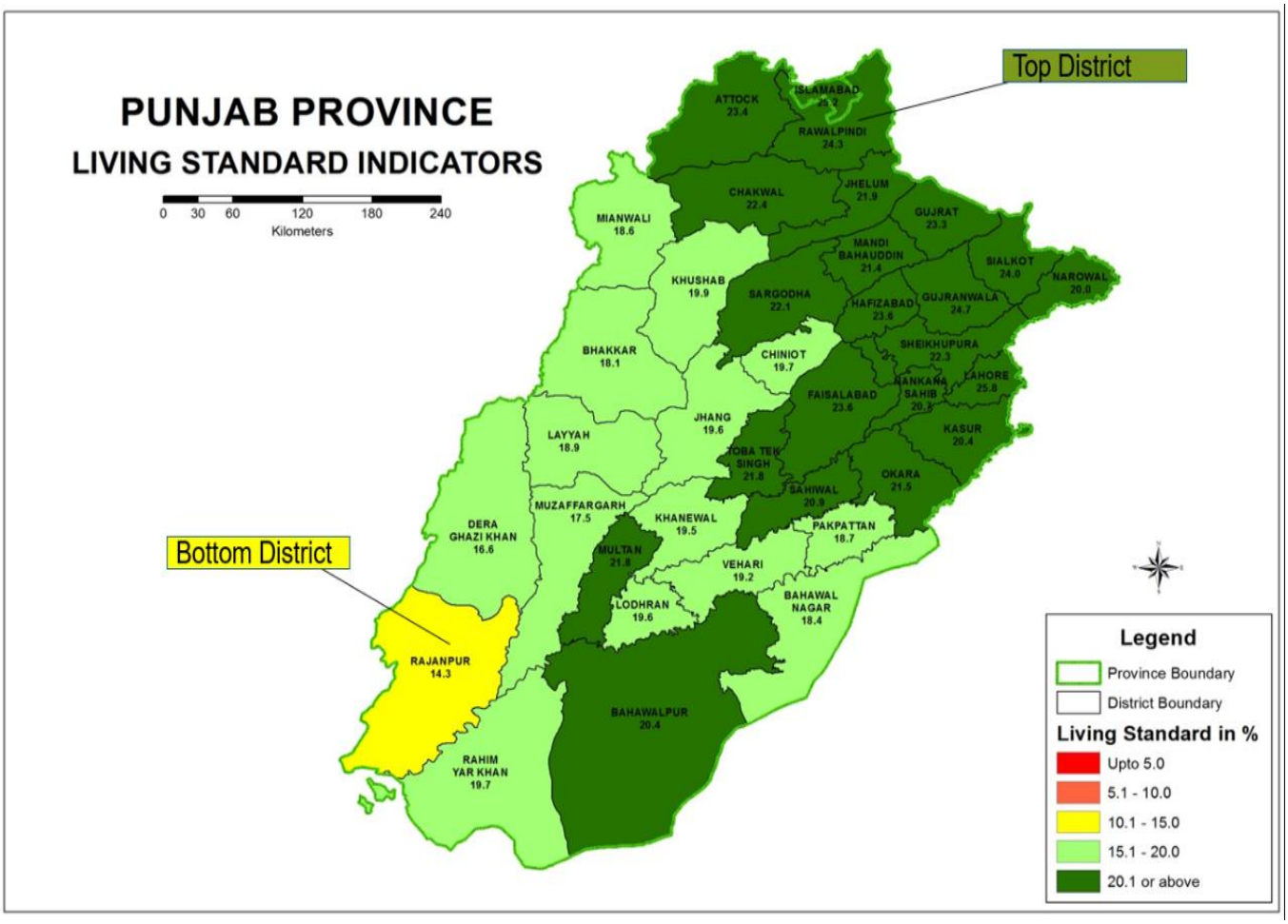

Situation Analysis of province Punjab about the standard of living shows average of 20.83 out of 30 and 31 district are above average and 19 district are below average. While 21 district out of 36 district present good condition with dark green colour, however situation of Dstrict Rjanpur is quite alarming

Living Standards Score 2019-20

Punjab	
Average	20.83
Total Districts	36
Above Average	31
Below Average	19

Score	Grade	Colour	Districts
20.1 or Above	A		21
15.1-20.0	B		14
10.1-15.0	C		1
5.1-10.0	D		0
upto 5	E		0
Total Districts			36

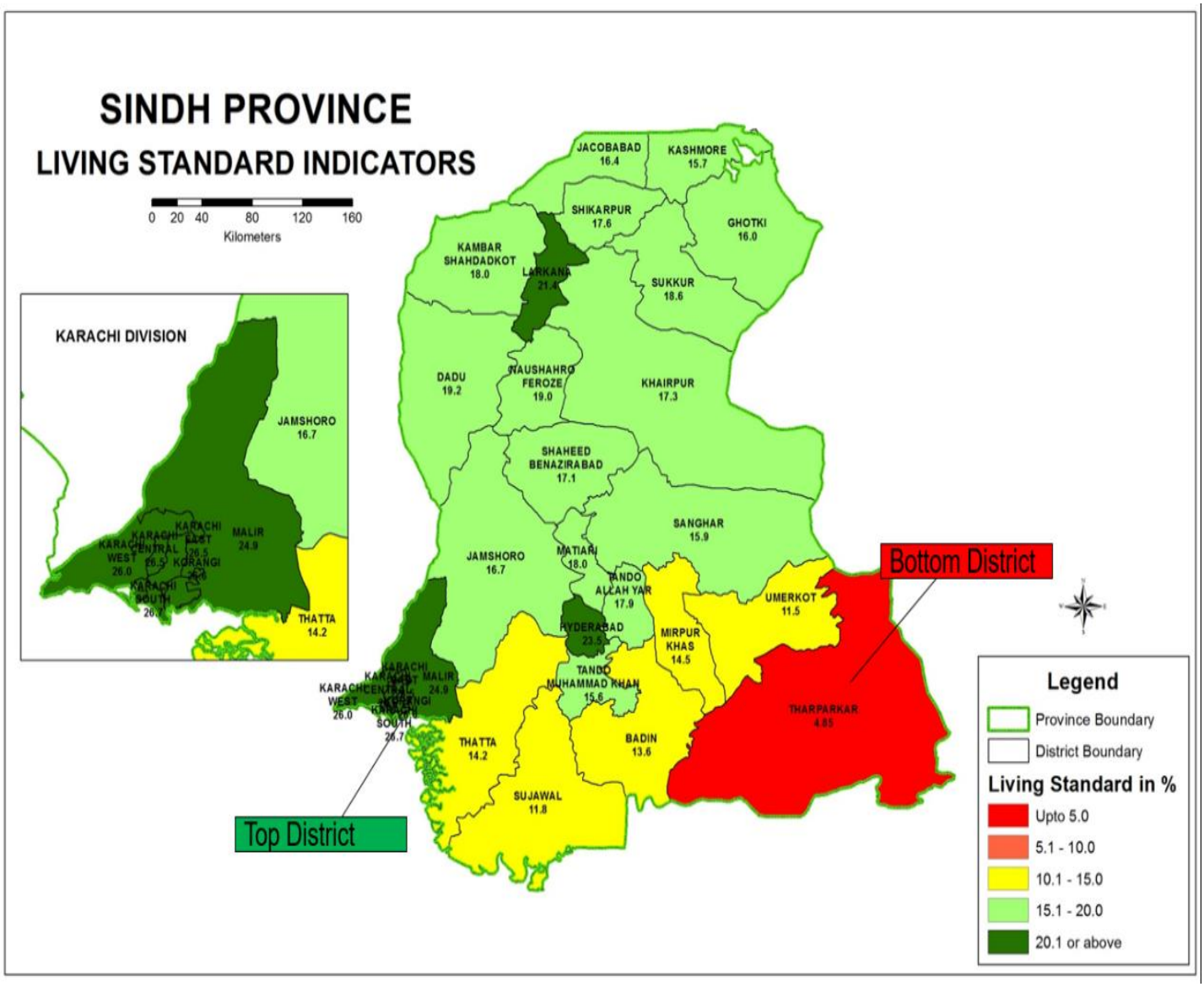

Living Standards Score 2019-20

Situation Analysis of province Sindh about the living standard shows average of 18.32 out of 30 and 11 district are above average and 18 district are below average which need immediate interventions . While Analysis of Score reveals only 8 district out of 29 district fall in the Grade A (majority belongs to Karachi Division) ,

however districts of Tharparkar, Mirput khas , Umar kot , Badin , Sujjawal & Thatta are worst permong districts and required govermnt attention and proper planning & allocations.

Score	Grade	Colour	Districts
20.1 or Above	A		8
15.1-20.0	B		15
10.1-15.0	C		5
5.1-10.0	D		0
upto 5	E		1
Total Districts			29

Sindh	
Average	18.32
Total Districts	**29**
Above Average	11
Below Average	18

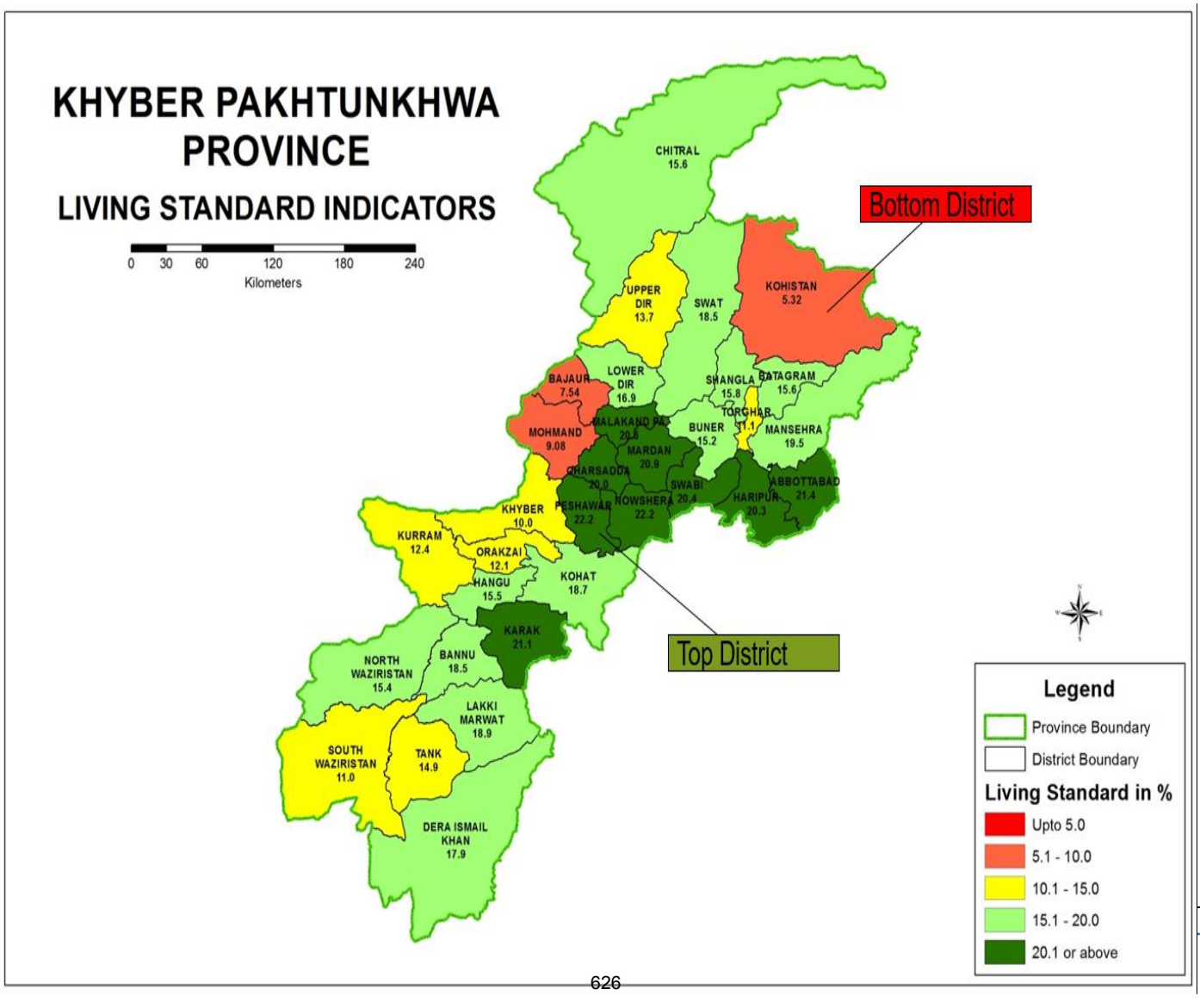

Living Standards Score 2019-20

Situation Analysis of Living standard of province Khyber Pakhtunkhwa shows average score 16.25 out of 30 and 16 district are above and 16 are also below average. Score Analysis of Living standard shows 9 district among all district lies in category which shows better condition. While 10 district including six districts if errwhile Fata fall in poor category and consistent efforts are required with proper planning to bring these districts in the national stream

Score	Grade	Colour	Districts
20.1 or Above	A		9
15.1-20.0	B		13
10.1-15.0	C		7
5.1-10.0	D		3
upto 5	E		0
Total Districts			32

Khyber Pakhtunkhwa	
Average	16.25
Total Districts	**32**
Above Average	16
Below Average	16

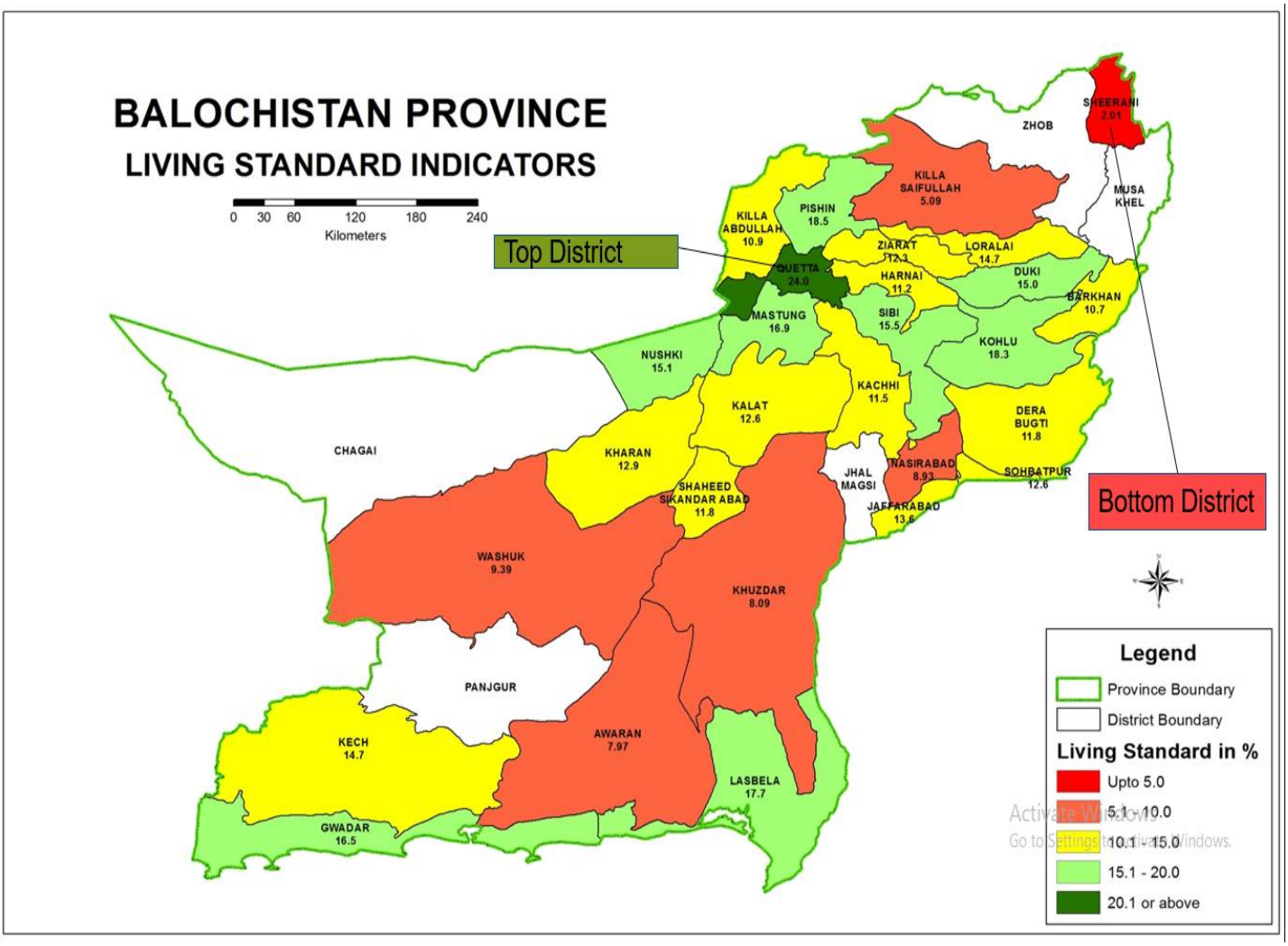

Living Standards Score 2019-20

Living standard scores of province Balochistan shows average 12.89 out of 30 , which is lowest among all provinces.14 districts areabove average and 14 are below average among district.s This analysis depicts that living condotions are quite poor in majority of the districrts and extensive efforts are required for improving the living conditions with respect to selected indicators.

Score	Grade	Colour	Districts
20.1 or Above	A		1
15.1-20.0	B		8
10.1-15.0	C		13
5.1-10.0	D		5
upto 5	E		1
Total Districts			28

Punjab	
Average	5.11
Total Districts	**36**
Above Average	19
Below Average	17

The term Information , Communication & Technology (ICT) refers to the coverage of audiovisual and telephone network with computer through a single cabling or link system. For Situation Analysis following three indicators of ICT has been recommended to include in analysis.

- Household with Computer/Laptop/Tablet
- Household with Mobile Phone
- Household with Internet

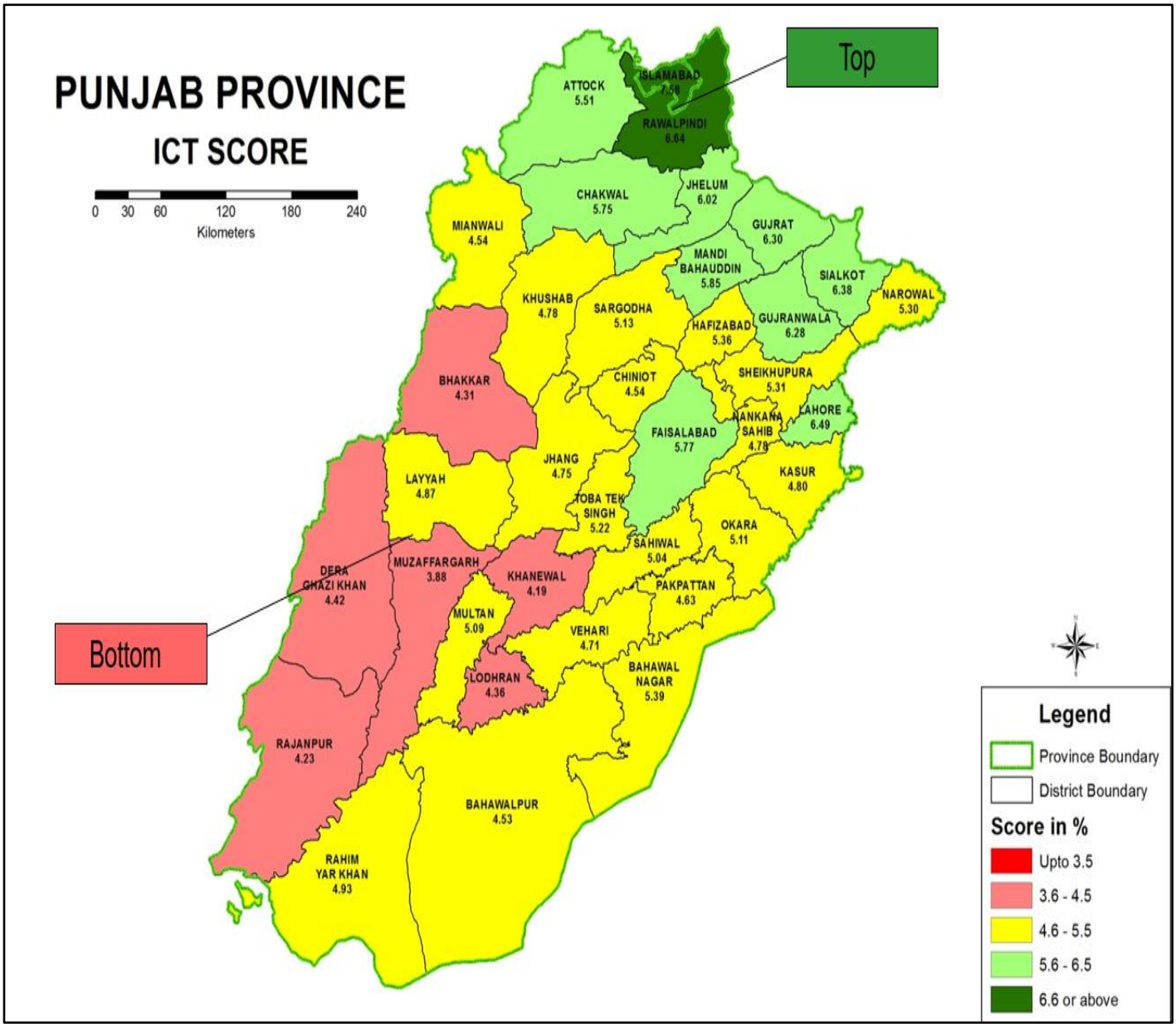

Punjab shows average of 5.11 out of score of 10 and there are 19 district in Punjab which are above average and 17 district are below average, depicting lower access to ICT facilities. Score Analysis revealed that only 1 district shows excellent condition to access ICT facilities, and 30 districts lies in either category B or

C and 5 district in D category . this situation is quite worrisome as if Punjab Province is facing the problem , then the other samller provinces may be facing extreme problems.

Score	Grade	Colour	District
6.6 or Above	A		1
5.6- 6.5	B		9
4.6-5.5	C		21
3.6-4.5	D		5
upto 3.5	E		0
Total Districts			36

Balochistan	
Average	12.89
Total Districts	**28**
Above Average	14
Below Average	14

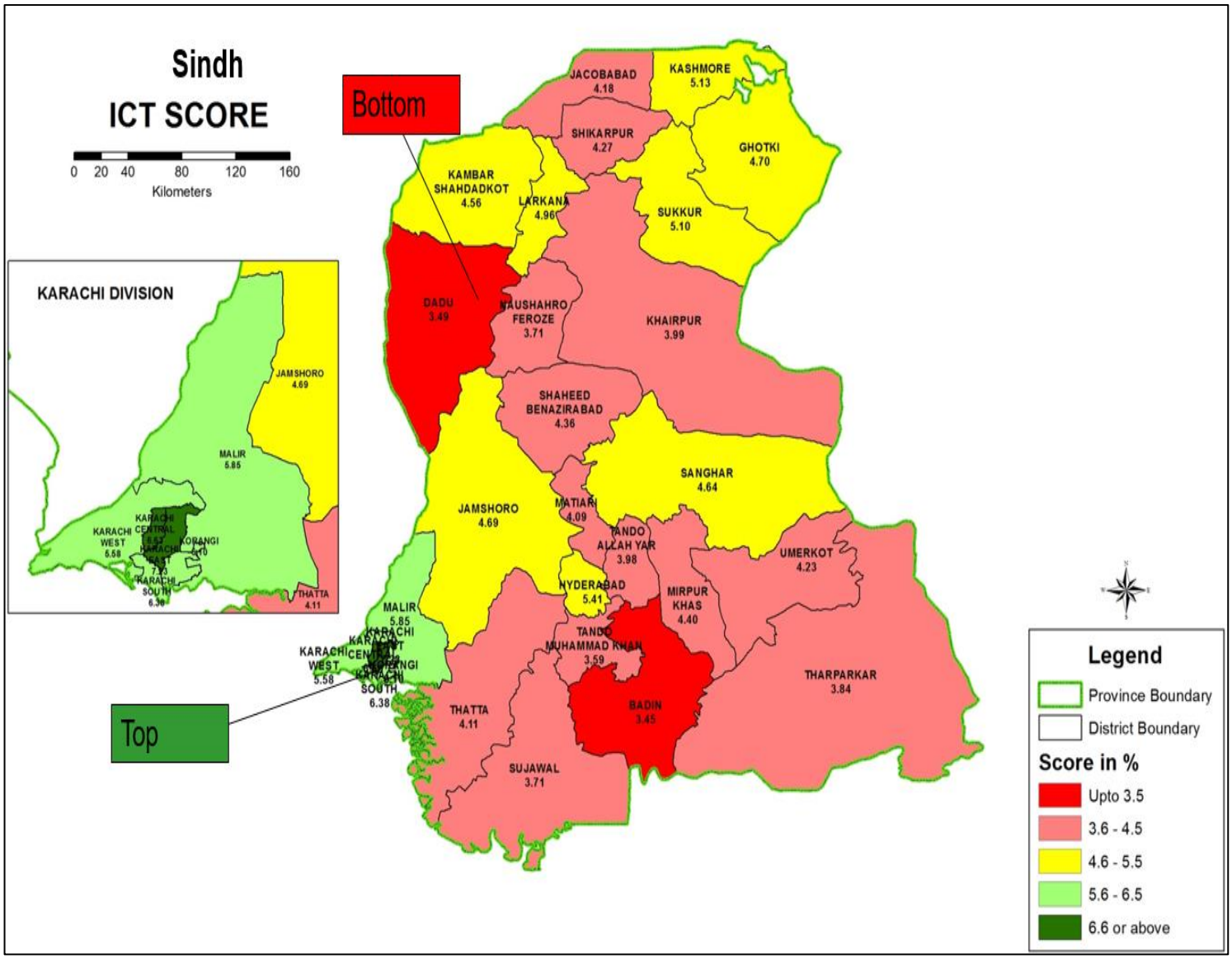

ICT Score 2019-20

Situation Analysis of Sindh to access communication Technology shows average 4.71 and shows 11 district lies above average and 18 district below average. By analyzing score, it is observed that 23 districts situation is very poor with respect to selected indicatiors and required immediate policy/ interventiosn for provision of ICT services which is need of the day.

Score	Grade	Colour	Districts
6.6 or Above	A		2
5.6- 6.5	B		4
4.6-5.5	C		8
3.6-4.5	D		13
upto 3.5	E		2
Total Districts			29

Sindh	
Average	4.71
Total Districts	**29**
Above Average	11
Below Average	18

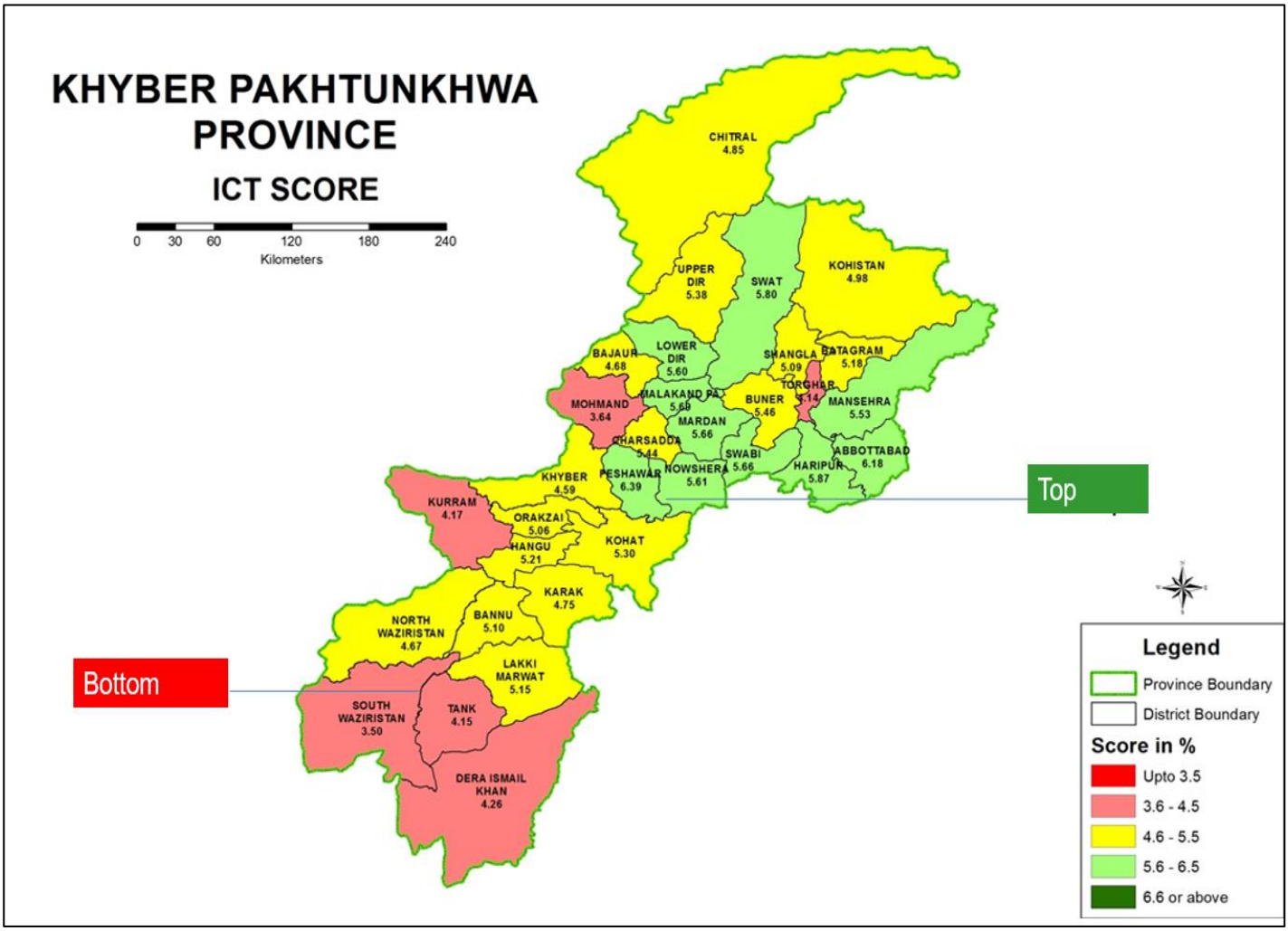

Khyber Pakhtunkhwa shows better average of 5.09 out of 10 than Sindh , however still there 12 district below average. By Analyzing score none of the district lie in categories in category A, 10 district potray somehow better picture but situation of remaining districts lies in C&D category need immediate attention. Spcifically situation of districts of erstwhile fata is vulnerable

Score	Grade	Colour	District
6.6 or Above	A		0
5.6- 6.5	B		10
4.6-5.5	C		16
3.6-4.5	D		6
upto 3.5	E		0
Total Districts			32

Khyber Pakhtunkhwa	
Average	5.09
Total Districts	**32**
Above Average	20
Below Average	12

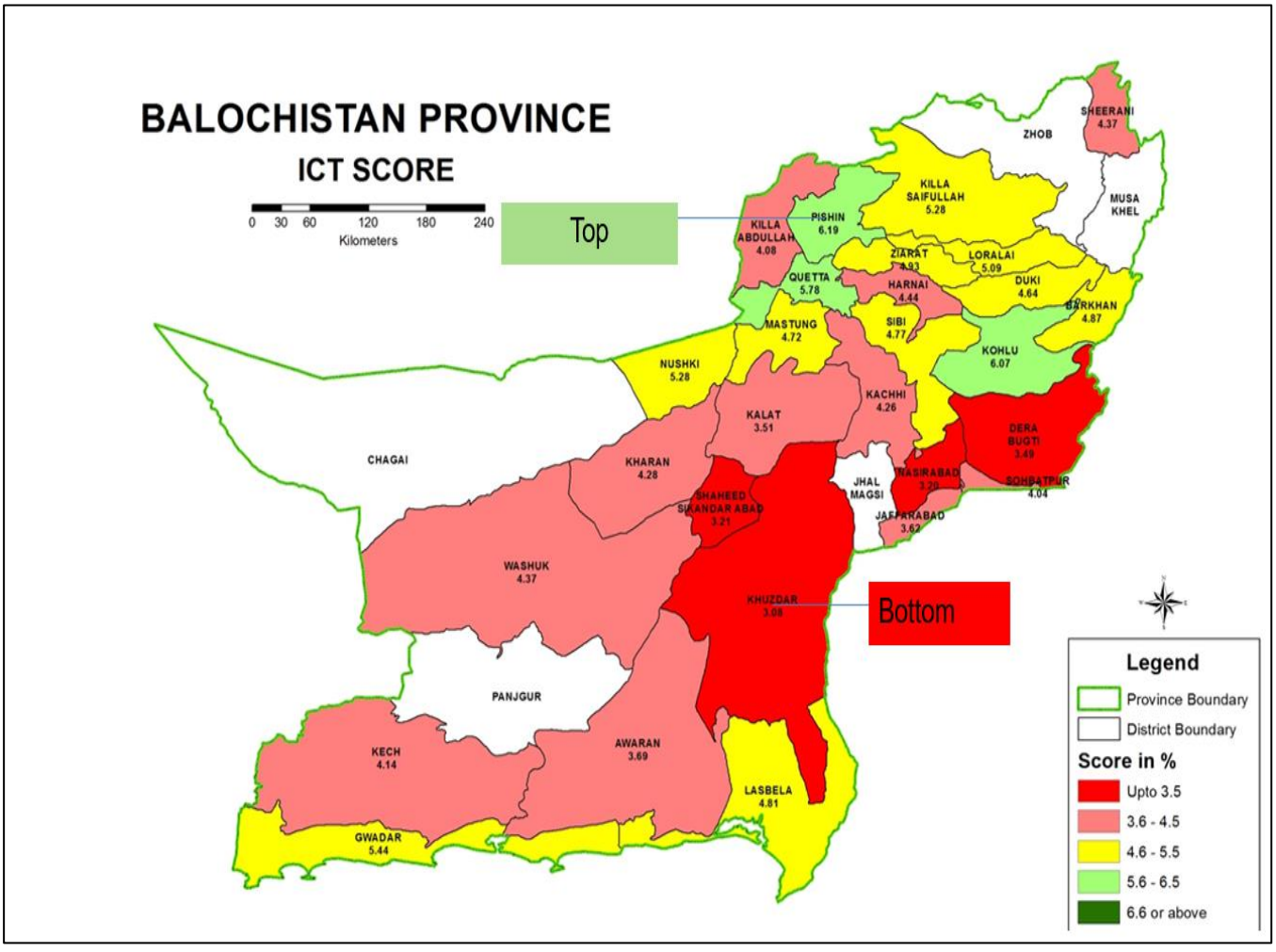

ICT Score 2019-20

Balochistan with respect to access to technology on the average is 4.49 and among all there are 13 district above average and 15 are below average. ICT access of almost all districts including Quetta is alarming. Mostly districts lie in D & E category i.e less than 3.6 score. Immedite Policy interventions are required for provision of access of ICT services to the districts if Balochistan.

Score	Grade	Colour	Districts
6.6 or Above	A		0
5.6- 6.5	B		3
4.6-5.5	C		9
3.6-4.5	D		12
upto 3.5	E		4
Total Districts			28

Balochistan	
Average	4.49
Total Districts	**28**
Above Average	13
Below Average	15

Situation analysis is subjective approach to show the situation of districts of all four provinces of Pakistan by considering Four Dimensions i.e. Education, Health, Living Standards and ICT. After showing the districts situation under each dimension the maps below are representing the overall situation of districts by combining the scores of all the four dimensions by assingnings weights of 30 percent to Education, Health and Living Standards and 10 percent to ICT.

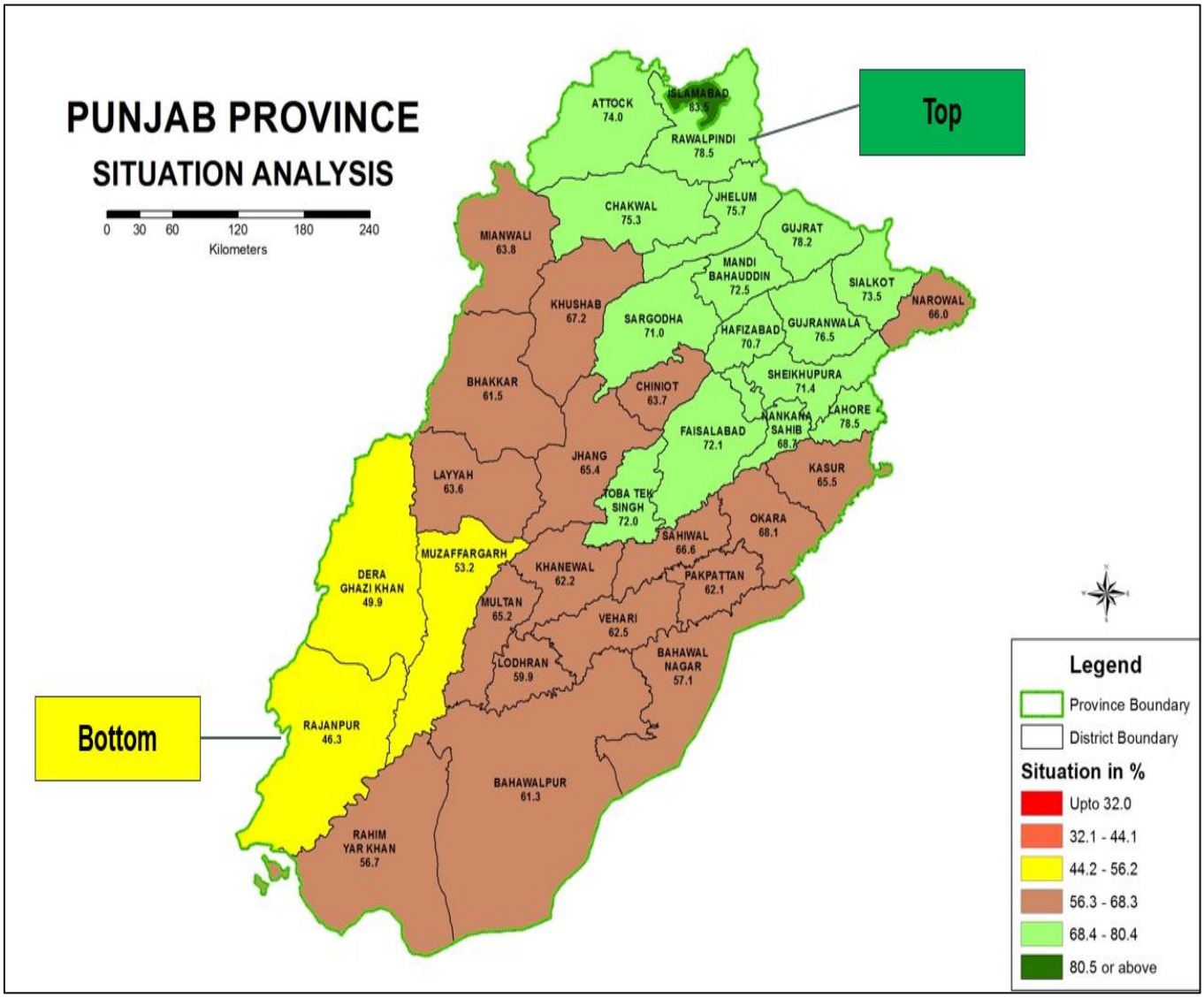

Comparitively situation of disticts of Punjab is better than the situation of other provinces but still not satisfactory with the average of 68.9 out of 100 , where 15 districts out of 36 are above avaeage and 21 percent are below average. None of the district lie in Category A i.e. 80. Considrring the scores of all the four dimensuions 15 districts fall in Category B, 18 in C and 3 in D. Situation Analysis scores of Punjab reveal that

attention of government is required to improve the Human Development and Living Standards situation in Punjab specillay in southern Punjab

Score	Grade	Colour	Districts
80.5 or Above	A		Nil
68.4-80.4	B		15
56.3-68.3	C		18
44.2-56.2	D		3
32.1-44.1	E		Nil
Up to 32	F		Nil
Total Districts			36

Punjab	
Average	68.9
Total Districts	36
Above Average	15
Below Average	21

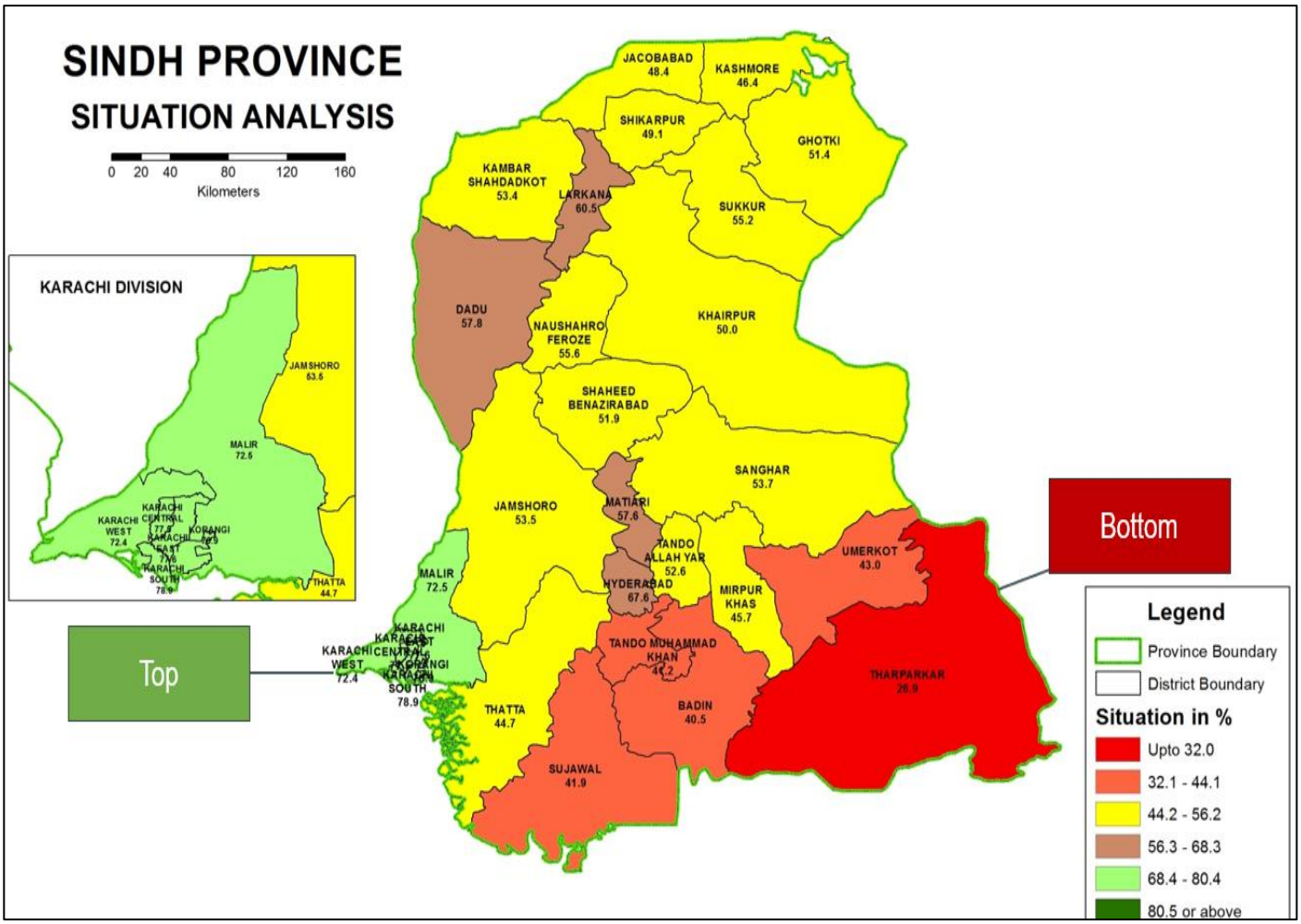

Score	Grade	Colour	Districts
80.5 or Above	A		Nil
68.4-80.4	B		6
56.3-68.3	C		4
44.2-56.2	D		14
32.1-44.1	E		4
upto 32	F		1
Total Districts			29

Sindh	
Average	55.4
Total Districts	29
Above Average	11
Below Average	18

In Sindh the avegare of the districts by condering all the dimensions is 55 out of 100. Where the score of 11 districts is above average and 18 are below average. None of the district lie in Category A, wheras 18 distrcit fall in fall in C & D category , with the score lie between 44.2-56.2. Maps reveal that all the districts of Sindh including Karachi required policy intervention to improve the situation of Province and situation of Tharprkar is poorest of all.

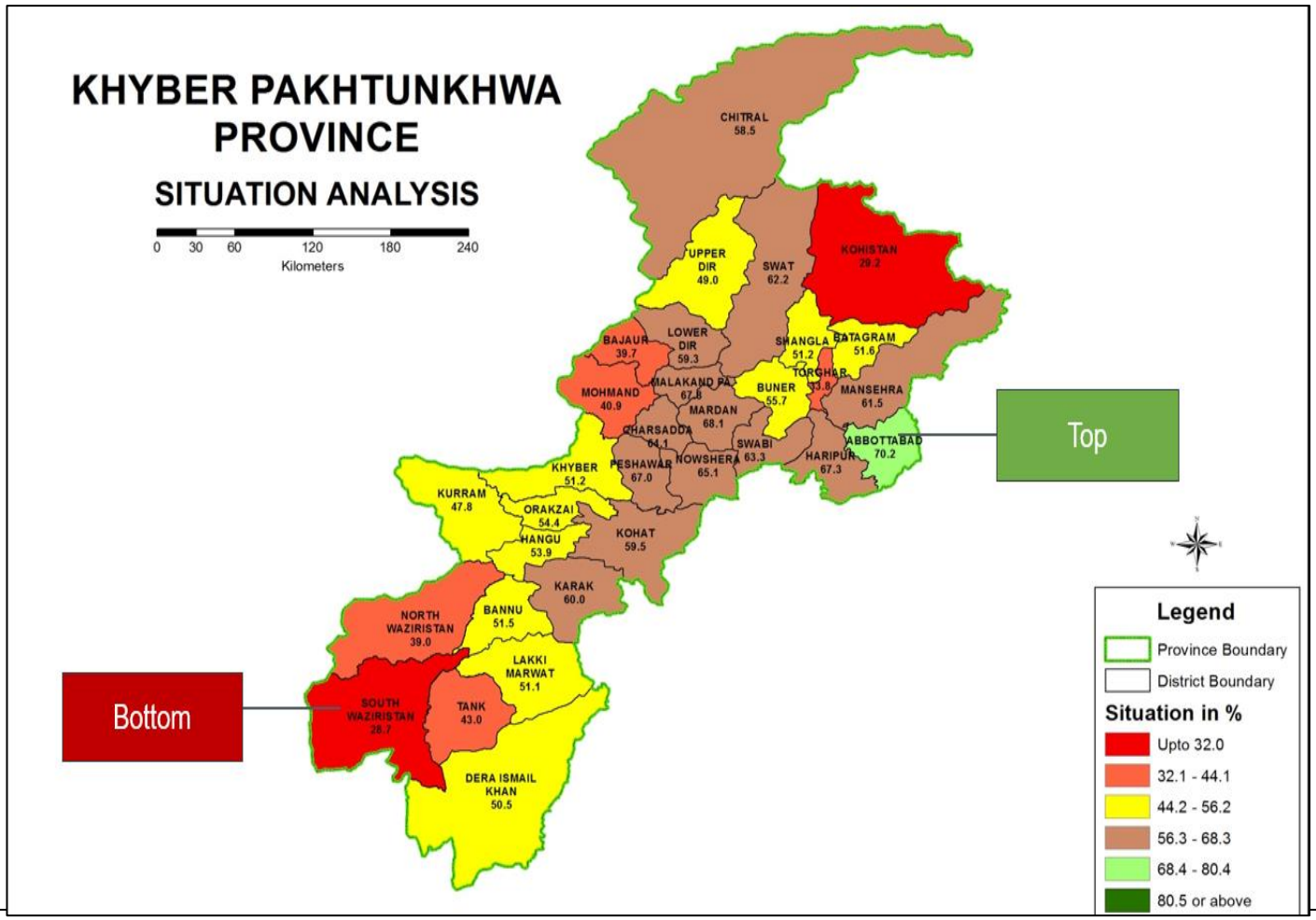

Score	Grade	Colour	Districts
80.5 or Above	A		Nil
68.4-80.4	B		3
56.3-68.3	C		11
44.2-56.2	D		11
32.1-44.1	E		5
upto 32	F		2
Total Districts			32

Khyber Pakhtunkhwa	
Average	53.7
Total Districts	32
Above Average	15
Below Average	17

Map of situation analysis of Khyber Pakhtunkhwa reveals the overall picture of districts of KP by considering all the four dimensions of Education, Health, Living Standards and ICT. Average score of Khyber Pakhtunkhwa with respct to situation analysis is 53.7 out of 100 where 15 districts score is above average and score of 17 districts is below average. Scores of all districts except 3 are less than 56 percent. Kohistan and South Waziristan are bottom performing districts.

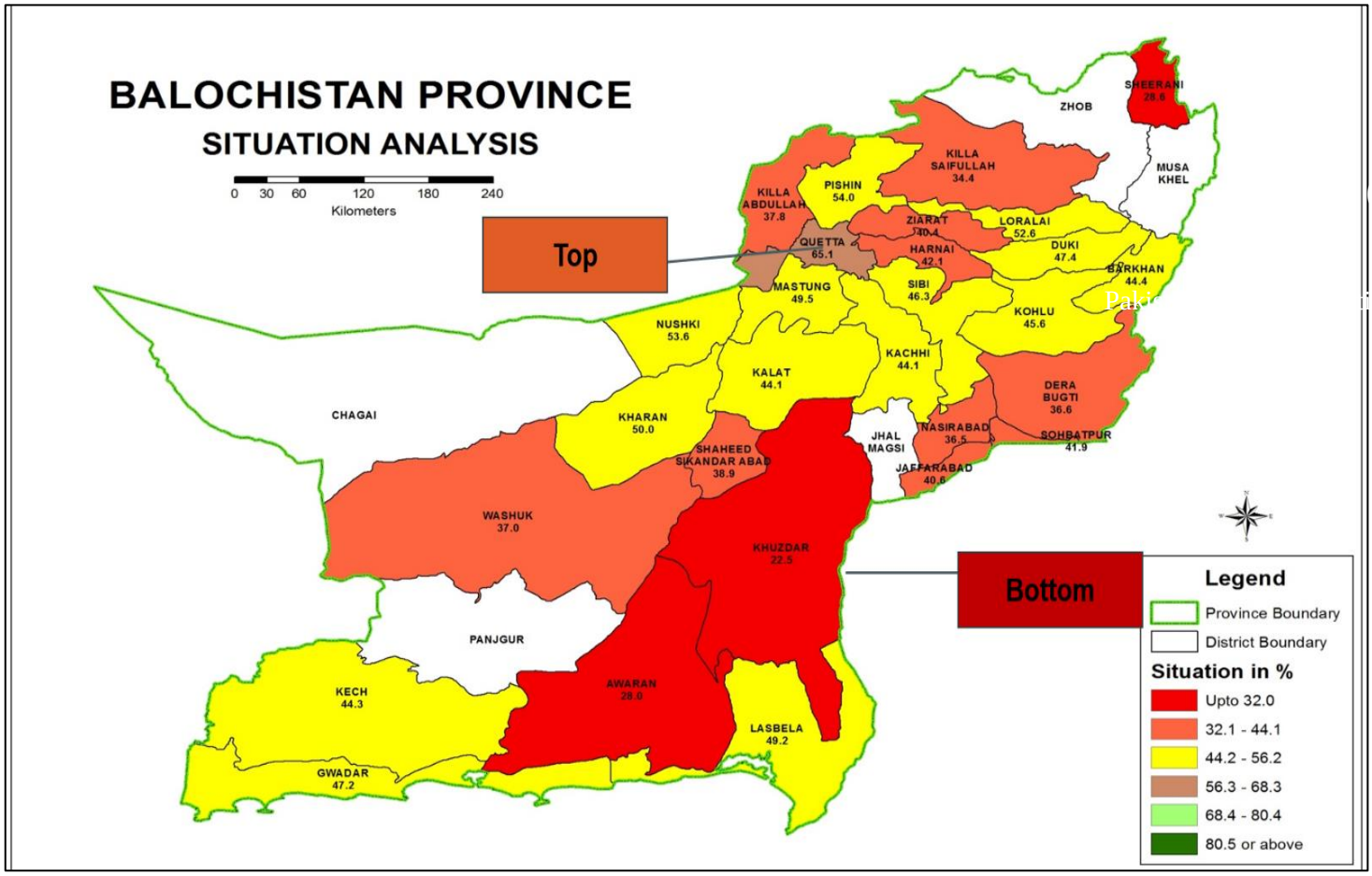

Score	Grade	Colour	Districts
80.5 or Above	A		Nil
68.4-80.4	B		Nil
56.3-68.3	C		2
44.2-56.2	D		11
32.1-44.1	E		12
upto 32	F		3
Total Districts			28

Balochistan	
Average	43
Total Districts	28
Above Average	15
Below Average	13

Avergare score of disticts of Baochistan which is less than all the three provinces i.e. 43. Where 15 districts are above average and 13 are below average. None of the district lie in A & B category and Mosly districts lie D & E category that is less tha 44 percent. Khuzdar, Awaran and Sheerani are the worst performing districts of Balochistan. Immediate Policy interventions are required in Balochistan in all the dimensions.

Annexure

Allocation plan for PSLM 2019-20 and information of covered PSUs

S.No	Province/Districts	SAMPLE PSU			COVERED PSU		
		URBAN BLOCKS	RURAL BLOCKS	TOTAL	URBAN BLOCKS	RURAL BLOCKS	TOTAL
	KHYBER PAKHTUNKHWA	**127**	**903**	**1030**	**123**	**877**	**1000**
1	ABBOTTABAD	7	33	40	4	30	34
2	BAJAUR	0	30	30		30	30
3	BANNU	2	28	30	2	26	28
4	BATAGRAM	0	30	30		20	20
5	BUNER	0	22	22		22	22
6	CHARSADDA	7	38	45	7	38	45
7	CHITRAL	2	22	24	2	22	24
8	DERA ISMAIL KHAN	8	32	40	8	32	40
9	HANGU	5	20	25	5	20	25
10	HARIPUR	4	33	37	4	33	37
11	KARAK	1	21	22	1	21	22
12	KHYBER	1	26	27	1	26	27
13	KOHAT	6	21	27	6	21	27
14	KOHISTAN	0	56	56		54	54
15	KURRAM	0	18	18		18	18
16	LAKKI MARWAT	2	19	21	2	19	21
17	LOWER DIR	1	49	50	1	48	49
18	MALAKAND PROTECTED AREA	1	16	17	1	16	17
19	MANSEHRA	3	37	40	3	37	40
20	MARDAN	9	41	50	9	41	50
21	MOHMAND	0	17	17		17	17
22	NORTH WAZIRISTAN	0	30	30		22	22
23	NOWSHERA	8	32	40	8	32	40
24	ORAKZAI	0	15	15		15	15
25	PESHAWAR	39	51	90	39	51	90
26	SHANGLA	0	16	16		16	16
27	SOUTH WAZIRISTAN	0	18	18		18	18
28	SWABI	6	39	45	6	39	45
29	SWAT	13	27	40	12	27	39
30	TANK	1	14	15	1	14	15
31	TORGHAR	0	15	15		15	15
32	UPPER DIR	**1**	37	38	**1**	**37**	38

S.No	PUNJAB	932	2035	2967	901	1878	2779
1	ATTOCK	14	46	60	14	46	60
2	BAHAWALNAGAR	15	67	82	15	67	82
3	BAHAWALPUR	26	82	108	26	82	108
4	BHAKKAR	7	48	55	7	48	55
5	CHAKWAL	7	43	50	7	43	50
6	CHINIOT	11	34	45	11	34	45
7	DERA GHAZI KHAN	12	67	79	10	43	53
8	FAISALABAD	80	95	175	80	95	175
9	GUJRANWALA	58	54	112	58	54	112
10	GUJRAT	19	60	79	19	59	78
11	HAFIZABAD	12	33	45	12	33	45
12	Islamabad	24	26	50	24	26	50
13	JHANG	15	60	75	15	60	75
14	JHELUM	9	36	45	9	36	45
15	KASUR	21	74	95	21	74	95
16	KHANEWAL	15	60	75	15	60	75
17	KHUSHAB	10	35	45	10	35	45
18	LAHORE	225	0	225	225		225
19	LAYYAH	9	41	50	3	19	22
20	LODHRAN	7	38	45	7	38	45
21	MANDI BAHAUDDIN	8	35	43	8	35	43
22	MIANWALI	10	40	50	10	40	50
23	MULTAN	50	70	120	50	70	120
24	MUZAFFARGARH	17	91	108	17	91	108
25	NANKANA SAHIB	6	36	42	6	36	42
26	NAROWAL	6	52	58	6	47	53
27	OKARA	19	66	85	7	44	51
28	PAKPATTAN	8	48	56	8	48	56
29	RAHIM YAR KHAN	23	100	123	18	65	83
30	RAJANPUR	8	41	49	7	37	44
31	RAWALPINDI	74	83	157	74	83	157
32	SAHIWAL	13	56	69	13	56	69
33	SARGODHA	24	71	95	24	71	95
34	SHEIKHUPURA	26	66	92	26	66	92
35	SIALKOT	21	69	90	18	47	65
36	TOBA TEK SINGH	10	47	57	10	47	57
37	VEHARI	**13**	65	78	**11**	**43**	54

S.No	SINDH	802	654	1456	720	622	1342
1	BADIN	13	34	47	13	34	47
2	DADU	13	35	48	9	20	29
3	GHOTKI	10	40	50	10	40	50
4	HYDERABAD	68	11	79	60	11	71
5	JACOBABAD	10	25	35	9	25	34
6	JAMSHORO	11	16	27	9	16	25
7	KAMBAR SHAHDAD KOT	14	27	41	9	26	35
8	KARACHI CENTRAL	120	0	120	117		117
9	KARACHI EAST	100	0	100	94		94
10	KARACHI SOUTH	73	0	73	70		70
11	KARACHI WEST	91	9	100	79	4	83
12	KASHMOR	10	20	30	8	17	25
13	KHAIRPUR	22	43	65	22	43	65
14	KORANGI	75	0	75	54		54
15	LARKANA	23	28	51	18	28	46
16	MALIR	28	27	55	24	26	50
17	MATIARI	5	18	23	5	18	23
18	MIRPUR KHAS	14	31	45	14	31	45
19	NAUSHAHRO FEROZE	10	35	45	7	31	38
20	SANGHAR	15	31	46	15	31	46
21	SHAHEED BENAZIRABAD	13	33	46	13	33	46
22	SHIKARPUR	10	23	33	10	23	33
23	SUJAWAL	3	26	29	2	24	26
24	SUKKUR	20	18	38	20	18	38
25	TANDO ALLAHYAR	8	18	26	8	18	26
26	TANDO MUHAMMAD KHAN	6	24	30	6	24	30
27	THARPARKAR	4	34	38	2	34	36
28	THATTA	7	28	35	7	27	34
29	UMER KOT	6	20	26	6	20	26

S.No	BALOCHISTAN	144	639	783	104	448	552
1	AWARAN	4	16	20	1	12	13
2	BARKHAN	1	17	18	1	17	18
3	CHAGAI	2	13	15			0
4	DERA BUGTI	3	17	20	3	16	19
5	DUKI	1	9	10	1	9	10
6	GWADAR	9	11	20	6	8	14
7	HARNAI	3	13	16	3	13	16
8	JAFFARABAD	5	17	22	5	17	22
9	JHAL MAGSI	1	19	20	0		0
10	KACHHI	3	32	35	2	18	20
11	KALAT	1	26	27	0	26	26
12	KECH	8	32	40	4	22	26
13	KHARAN	3	17	20	3	17	20
14	KHUZDAR	4	46	50	0	27	27
15	KILLA ABDULLAH	6	18	24	6	18	24
16	KILLA SAIFULLAH	4	21	25	0	17	17
17	KOHLU	1	19	20	1	5	6
18	LASBELA	10	20	30	7	5	12
19	LORALAI	4	17	21	4	15	19
20	MASTUNG	2	20	22	2	20	22
21	MUSAKHEL	3	14	17			0
22	NASIRABAD	5	20	25	5	17	22
23	NUSHKI	3	12	15	3	12	15
24	PANJGUR	1	9	10			0
25	PISHIN	6	45	51	6	34	40
26	QUETTA	37	36	73	32	30	62
27	SHAHEED SIKANDAR ABAD	1	12	13	0	12	12
28	SHERANI	0	18	18	0	7	7
29	SIBI	5	18	23	5	17	22
30	SOHBATPUR	1	7	8	1	6	7
31	WASHUK	2	18	20	2	17	19
32	ZHOB	4	16	20			0
33	ZIARAT	**1**	14	15	1	14	15
	Grand Total	**2005**	**4231**	**6236**	**1848**	**3825**	**5673**

Pakistan Bureau of Statistics
H.Q.Islamabad